THE LANCET

Supplementary appendix

This appendix formed part of the original submission and has been peer reviewed. We post it as supplied by the authors.

Supplement to: Wang Y, Li X, Zhou M, et al. Under-5 mortality in 2851 Chinese counties, 1996–2012: a subnational assessment of achieving MDG 4 goals in China. *Lancet* 2015; published online Oct 26. http://dx.doi.org/10.1016/S0140-6736(15)00554-1.

Web Appendix to Child Mortality in 2851 Chinese counties, 1996-2012: Rapid progress but remaining inequality

This appendix provides further methodological detail, supplemental tables and figures, and more detailed results for under-5 mortality estimates in China.

Table of Contents

Appendix……3

1. Correction for under registration of under-5 mortality rate in the ARMCH..... 3

1.1 Estimating U5MR completeness at the provincial level……..3

1.2 Predicting U5MR completeness at the county level……4

2 Estimation of country-level U5MR: Small are model, Spatio-temporal and Gaussian Process Regression……..4

2.1 Estimation of mean function……5

2.1a Estimation of mean function: Small area mortality estimation……..5

2.1b Estimation of mean function: Spatio-temporal Regression……...5

2.2 Defining the covariates for Gaussian Process Regression……...8

2.3 Prediction using Gaussian Process Regression……8

2.4 Rescaling county-level estimates from GPR to provincial level U5MR……9

2.5 Adding excess mortality due to natural disasters……9

3 Under-5 mortality rate: An Econometric Model……9

4 Inequality measurement: Gini coefficient of U5MR ……9

Web Table 1……...……..11

Web Figure 1……..100

Web Figure 2……..102

Web Figure 3……..104

Web Figure 4a……106

Web Figure 4b……108

Web Figure 5a……110

Web Figure 5b……112

Web Figure 6…….....114

Appendix

1. Correction for under registration of under-5 mortality rate in the Annual Report System on Maternal and Child Health

As with most civil registration and surveillance systems in developing countries, it is important to assess the completeness of the reported live births and deaths in the under-5 age groups from the Annual Report System on Maternal and Child Health (ARMCH). Since our goal is to properly adjust the raw under-5 mortality rate (U5MR) from reported live birth and deaths in the under-5 age group in ARMCH, there are two different approaches: 1. Adjusting the completeness of live birth registration, and then assessing the completeness of U5MR using adjusted live birth and reported deaths; 2. Assessing the completeness of U5MR from ARMCH directly, without first adjusting for completeness of the live birth registration. We have tested both strategies and opted to use the latter as the results from both approaches were very similar with a correlation coefficient at 0.97, and estimating U5MR completeness directly is more parsimonious.

1.1 Estimating U5MR completeness at the provincial level

We computed the completeness of U5MR in the ARMCH at the province level by comparing the live birth weighted U5MR to the province level U5MR estimates obtained using multiple sources based on the methodology used in the global U5MR analysis in the Global Burden of Disease (GBD) Study 2013 (Wang et al 2014). [1]

We then explored the relationship between provincial completeness and several variables. Based on the out-of-sample validity testing described below in Equation 1, we selected the following model:

$$logit(r_{pt}) = \beta_0 + (\beta_1 + \varphi_p)N_{pt} + \beta_2 T + \gamma_p + \varepsilon_{pt} \qquad 1$$

Where r_{pt} is the completeness of the U5MR in province p and year t from ARMCH. N_{pt} is the neonatal checkup rate in province p at time t, and T is time. We also included province-specific random effects as indicated by γ_p, and a province level random slope on the neonatal checkup rate indicated by φ_p. ε_{pt} is the error term. Alternative specifications with other independent variables were also tested.

The model selection process involved three criteria: 1. Face validity - whether the models generate sensible coefficients; 2. In-sample goodness of fit; and 3. Root mean squared error from an out-of-sample validation process. First, from our available covariates (hospital delivery rate, neonatal check-up rate, management rate during pregnancy, visits for children under age 7, and pregnancy wellness check-up rate), we tested models in which a single or a combination of covariates was included. Of these, we selected models that exhibited logical relationships. For example, we excluded a model that predicted hospital delivery rates associated with a lower completeness estimate because if more deliveries are in-facility, we would expect the system to have a higher completeness. Second, in-sample goodness of fit criterion as measured by coefficient of determination was computed for each model. Finally, among the remaining models, we performed out-of-sample validation. Two sets of hold-out procedures were used. In the first set of cross-validation, we held out 20% of the data from each province. In the second set, we systematically held out the entire province one by one. Root mean squared prediction error for holdout

samples was then calculated. The final selected model performed well on both holdout tests and the first two criteria.

1.2 Predicting U5MR completeness at the county level

The fitted model shown in Equation 1 above was used to predict completeness of U5MR at the county level using county level values of neonatal check-up rate and the random effects that correspond to the province to which a given county belongs.

The estimated completeness of U5MR at the county level is then used to adjust the raw U5MR from ARMCH using Equation 2 below:

$$q_{c,t}^{adj.} = \frac{D_{c,t}/B_{c,t}}{\hat{r}_{c,t}} \qquad 2$$

In Equation 2 above, $D_{c,t}$ and $B_{c,t}$ are the reported under-5 deaths and number of live births from ARMCH system in county *c* and year *t*. The adjusted county level U5MR, $q_{c,t}^{adj.}$, are used in the small area mortality estimation model, spatial-temporal regression and Gaussian Process Regression (GPR) discussed in the following sections.

2. Estimation of county-level Under-5 mortality rate: Small area model, Spatio-temporal and Gaussian Process regressions

We estimate the county-level U5MR using a Bayesian approach, namely the GPR. GPR is a flexible modeling technique which is able to get consistent time series estimates of a metric while taking into account stochastic variations for each raw data point. Different from most other regression models that specify a definitive functional form between the metric of interest and other covariates, GPR instead assumes that there is a family of functional forms implied between the quantity of interest and the covariates used. More specially, GPR is regulated by a mean function m(·) and a covariance function cov(·).

For our current study, the GPR is defined by Equations 3, 4 and 5 below:

$$\mathrm{logit}\left(q_{c,t}^{adj.}\right) = \mathrm{g_c(t)} + \epsilon_{\mathrm{c,t}} \qquad 3$$

where

$$\epsilon_{\mathrm{c,t}} \sim \mathrm{Normal}\left(0, \sigma_{\mathrm{q}}^2\right), \qquad 4$$

$$\mathrm{g_c(t)} \sim \mathrm{GP}\left(\mathrm{m_c(t)}, \mathrm{cov}\left(\mathrm{g_c(t)}\right)\right). \qquad 5$$

In Equations 3, 4 and 5 above, $q_{c,t}^{adj.}$ is the completeness adjusted probability of death from birth to age 5 [U5MR] in county *c* and year *t*, σ_{q}^2 is the variance of the error term, $\epsilon_{\mathrm{c,t}}$. Essentially, we assume that there is a family of functional forms that center around the mean function, $\mathrm{m_c(t)}$, and the deviation from the mean function is governed by the covariance term, $cov\left(\mathrm{g_c(t)}\right)$. In the following sections, we define how the mean and covariance functions are derived.

2.1 Estimation of mean function

The mean function for the GPR is estimated using Equation 6,

$$m_c(t) = F_c(t) + h(\tau_{c,t}) \qquad 6$$

Where $F_c(t)$ is a mixed effects linear model and $h(\tau_{c,t})$ is a smoothing function for residuals $\tau_{c,t}$ derived from $F_c(t)$. Estimation of mean function is a two-step process that involves a small area mortality estimation model and a spatio-temporal regression.

2.1a Estimation of mean function: Small area mortality estimation

We use a time tested small area estimation model for $F_c(t)$. More specifically, $F_c(t)$ is defined by:

$$D_{c,t} \sim NB(\mu_{c,t}, \kappa) \qquad 7$$

where $D_{c,t}$ is deaths for county c in year t assumed to have a negative binomial distribution with dispersion parameter κ and

$$\ln(\mu_{c,t}) = \ln(B_{c,t}) + \beta_1 E_{c,t} + \beta_2 L_{c,t} + (\beta_3 + \theta_p + \theta_s + \theta_c)T + \gamma_p + \gamma_s + \gamma_c + \beta_4 \left(\frac{\sum_{n=1}^{l} \psi_n}{l}\right) \qquad 8$$

Essentially, we employ a mixed effects model with negative binomial distribution to estimate the U5MR at the county level while borrowing strength from neighboring counties and adjacent years. In Equation 8 above, $\mu_{c,t}$ is mean deaths for county c in year t, $B_{c,t}$ is births in county c in year t, E_{ct} is mean years of education for women in the maternal age group 15-49 in county c in year t, and L_{ct} is lag distributed Gross Domestic Product equivalent for county c in year t in international dollars in logarithmic scale. T is year, Θ_p is a random slope by province, Θ_s is a random slope by city, Θ_c is a random slope by county, γ_p is a random intercept by province, γ_s is a random intercept by city, γ_c is a random intercept by county, and $\frac{\sum_{n=1}^{l} \psi_n}{l}$ is the average of the sum of the city and county random intercepts of the neighbors of county c. it's worth noting that county is nest within cities in Chinese administrative hierarchy. For computational efficiency reasons, Equation 9 is estimated in two stages.

First, Equation 8 above is estimated without the last term (average neighbor random effects). In the second stage, the average of the random intercepts of neighboring counties from the first regression is included, and the full equation is estimated. In predicting U5MR for a given calendar year, we use data from the year of interest and data from the surrounding 4 years to estimate the mixed effects negative binomial model. By re-estimating the equation for each year in this manner, we do not force a linear relationship between U5MR and year over the entire period. Including the average random intercept of the neighbors as a term in the model helps the model smooth over geography.

2.1b Estimation of mean function: Spatio-temporal Regression

We then employed a spatial-temporal regression to smooth residuals from the mixed effects small area mortality estimation model to generate $h(\tau_{c,t})$ in the mean function. The goal of this step is to capture variability in county-level U5MR that is not fully accounted for by the small area mortality estimation

method. This is particularly true when data is relatively sparse for certain counties. This strategy has been described in the estimation process for under-5 mortality in Wang et.al (2014) and has been modified slightly for these purposes.

First, predictions from the small-area model were obtained without adding the county random intercepts. The predictions from the small-area estimation model were converted into logit space. Then, residuals were calculated in logit space by Equation 9 for each county-year point with data:

$$\tau_{c,t} = \log it(q_{c,t}^{adj.}) - \log it(e^{\hat{\beta}_1 E_{c,t} + \hat{\beta}_2 L_{c,t} + (\hat{\beta}_3 + \hat{\theta}_p + \hat{\theta}_s + \hat{\theta}_c)T + \hat{\gamma}_p + \hat{\gamma}_s + \hat{\beta}_4 (\frac{\sum_{n=1}^{l} \hat{\psi}_n}{l})}) \qquad 9$$

$q_{c,t}^{adj.}$ is the completeness adjusted U5MR at the county level from ARMCH, and the residual, $\tau_{c,t}$ is computed as the difference between $q_{c,t}^{adj.}$ and the estimated U5MR using the small area mortality estimation model without the county level random effects as show in Equation 9 above.

To further derive $h(\tau_{c,t})$, residuals from other county-years are weighted using their distance from a given prediction county-year in weight and time. The weighting function in the time dimension, similar to what is commonly used in LOWESS regression, is defined by Equation 10 below:

$$\mathrm{W_{c.t}} = \left(1 - \left(\frac{|\mathrm{t} - t_0|}{1 + \mathrm{argmax}|\mathrm{t} - t_0|}\right)^{\lambda}\right)^3 \qquad 10$$

The preliminary weight, $\mathrm{W_{c.t}}$, as defined by the function above, smoothes the residuals over time within the same county. Effectively, it is based on a scaled distance between two computed residuals at time t and time t_0 which is the focal observation of residual τ_{c_0,t_0}. $\mathrm{argmax}|\mathrm{t} - t_0|$ term defines the maximum distance in time between the year of interest and a residual from any year within the same county. In the above equation, λ regulates how quickly the weights diminish along the time dimension.

Then, the weights for residuals for any time point within the county of interest are further modified to account for the variation of residuals across geographic units, or spatial pattern of the residuals. Specifically for the county level space weights, we specify the spatial relationship among counties based on the following categories: a) observations from the same county, b) observations from a different county within the same city and urban/rural classification, c) observations from a different county within the same city but not the same urban/rural group, d) observations from a different county within the same province, and e) observations from different provinces. The parameter ζ regulates the degree to which in-county versus out-of-county data points are weighted. The final weights are defined as follows for the four categories:

a) For county c_0, the weight is defined as

$$\frac{\zeta W_{c,t}}{\sum_{c=c_0} W_{c,t}} \qquad \forall\, c = c_0 \qquad 11a$$

b) For other counties within the same city and urban/rural category, defined as region R_1, but not the county of interest itself, the weight is defined as

$$\frac{(1-\zeta)W_{c,t}}{\sum_{c\neq c_0} W_{c,t}} \qquad \forall\, c \neq c_0 \cap\ R_1[c] = R_1[c_0] \qquad 11b$$

a) For other counties within the same city but not the same urban/rural category, defined as region R_2, but not the county of interest itself, the weight is defined as

$$\frac{(1-\zeta)W_{c,t}}{\sum_{c\neq c_0} W_{c,t}} \qquad \forall\, c \neq c_0 \cap\ R_2[c] = R_2[c_0] \qquad 11c$$

d) For other counties within the same province defined as region R_3, but not the county of interest itself, the weight is defined as

$$\frac{(1-\zeta)W_{c,t}}{\sum_{c\neq c_0} W_{c,t}} \qquad \forall\, c \neq c_0 \cap\ R_2[c] = R_2[c_0] \qquad 11d$$

e) For counties outside of the province that county c belongs to, the weight is simply zero.

Of note, we only use space weighted residuals from other counties within the province as defined in d) if there is no other county is the same city and urban/rural category as county C_0. We set λ to 0.99 and ζ to 0.6 as ARMCH covers most county-years, and we want to maximize the information captured from the county itself and within close temporal proximity.

Two methods are then to smooth the weighted residuals. First, the smoothed residual for a given county-year is estimated using a linear fit for each county-year using weights and subset of data described above. The functional form for this model is described below:

$$\tau^{l}_{c,t} = \beta_0 + \beta_1 t + \beta_2 c_o + \epsilon_{c,t} \qquad 12$$

In Equation 12 above, t is time and c_o is a dummy variable indicating if the residual is from the focal county of interest. This method is similar to a locally weighted scatterplot smoothing (LOESS). Then, the smoothed residual for a given county-year is estimated again by simply calculating the weighted average of the space-and time-weighted residuals. A combination of these two different smoothed residual estimates is used, based on the data density in a given county. If a county has more data, then the linear estimate is weighted more heavily. This relationship is described in Equations 13 and 14 below:

$$h(\tau_{c,t}) = k \cdot \hat{\tau}^{l}_{c,t} + (1-k) \cdot \hat{\tau}^{w}_{c,t} \qquad 13$$

$$\text{where } k = \frac{N_{c=c_o}}{N_{1996-2012}} \qquad 14$$

In Equations 13 and 14 above, $\hat{\tau}_{c,t}^{l}$ is the estimated residual using the linear model and $\hat{\tau}_{c,t}^{w}$ is the simple space and time weighted residuals. $N_{c=c_o}$ is the number of data points from within the county of interest, and $N_{1996-2012}$ is the maximum number of data points a county can have. This weighting scheme allows the smoothed residuals to follow the data more closely when more data is present in the county of interest. Then, these smoothed residuals are added back to the predictions without the county random effects from the small-area model. These final predictions are then used as the mean function in GPR.

2.2 Defining the covariance for the Gaussian Process Regression

To define the shape and distribution of the estimated U5MR, or in other words, how draw level estimates deviate from the mean function, we use the Matérn covariance function defined below:

$$\mathrm{M}(\mathrm{t},\mathrm{t}') = \sigma^2 \frac{2^{1-\nu}}{\Gamma(\nu)} \left(\frac{\mathrm{d}(\mathrm{t},\mathrm{t}')\sqrt{2\nu}}{\mathrm{l}}\right)^{\nu} \mathrm{K}_{\nu}\left(\frac{\mathrm{d}(\mathrm{t},\mathrm{t}')\sqrt{2\nu}}{\mathrm{l}}\right) \quad 15$$

where $\mathrm{d}(\cdot)$ is a distance function; σ^2 is the marginal variance; ν is the differentiability parameter that regulates how the estimates should be; l is the scale parameter that defines above what distance two points become uncorrelated; and K_{ν} is the Bessel function.

The data variance, σ^2, is assumed from a binomial distribution, making the variance for a data point in a given county-year:

$$\sigma_{c,t}^2 = B_{c,t} q_{c,t}(1 - q_{c,t}) \quad 16$$

Where $B_{c,t}$ is the number of live births in county *c* at time *t*. To allow GPR to more closely follow data in counties with less variable data, we added an additional component of data variance obtained by finding the median absolute deviation of the data points from the mean function described above, following Wang et al. (2014). In a normal distribution, the median absolute deviation is related to variance in the following way:

$$M\sigma_{c,t}^2 = (M_{C,t} \cdot 1.4826)^2 \quad 17$$

where $M_{C,t}$ is the median absolute deviation. This component of variance was added to the data variance of each point derived above. Then, the total data variance is converted to logit space using the delta method before it is incorporated into the likelihood estimation.

2.3 Prediction using Gaussian Process Regression

Using the specified mean and covariance functions, to predict U5MR at the county level, we integrated over $\mathrm{g_c}(t_*)$ to obtain the following:

$$logit(q_{c,t_*}) \sim N\left(m_c(t_*), \sigma_q^2 I + Cov(g_c(t_*))\right) \quad 18$$

We used Markov Chain Monte Carlo (MCMC) to draw 1000 samples from the posterior distribution given by the GPR. The mean value is used as our estimate, and the 2.5 and 97.5 percentiles are used as

the lower and upper confidence intervals respectively. Finally we back-transform the predicted values from GPR to the original scale as GPR produces U5MR in logit space.

2.4 Rescaling county-level estimates from GPR to provincial level U5MR

We separately estimated provincial level U5MR, with and without external mortality shocks such as earthquake, using the same methodology documented in Wang et al 2014 and multiple data sources on U5MR at the province level including censuses, intercensal population surveys, Disease Surveillance Points system, Annual Survey on Population Change, and other surveys that include Summary Birth History modules. County level estimates of U5MR using methods described in steps 2.1-2.3, which are without shock, are rescaled using numbers of live birth as weights so that the weighted average of provincial level U5MR from our county level analysis matches independently estimated provincial level without shock U5MR.

2.5 Adding excess mortality due to natural disasters

Applying steps described in section 1 and sections 2.1 through 2.4, we get estimated U5MR excluding shocks due to natural disasters such as earthquake and flood as only non-shock raw U5MR data are included in the aforementioned steps. To add excess mortality due to natural disasters, we apply a two-step process. We first use an age/sex splitting method developed by Lozano et al (2012)[2] to get number of deaths due to natural disasters in the under-5 age groups using reported overall deaths due to such mortality shocks for all age groups combined from the International Disaster Database (EM-DAT). Since data from EM-DAT is at the national level, we have further identified all disasters that caused a crude death rate of over 0.001% to the county level.

In the next step, we add excess mortality due to natural disasters to the estimated from steps 1 to 2.4 using Equations 19, 20 and 21 below:

$$q_{c,t} = \frac{D_{c,t}^{GA} + D_{c,t}^{Shock}}{B_{c,t}} \qquad 19$$

$$where\ D_{c,t}^{GA} = q_{c,t}^{GA} \cdot B_{c,t} \qquad 20$$

In Equations 19, and 20 above, $q_{c,t}$ is the with-shock all-cause probability of death at the county level calculated as the ratio between total deaths in under-5 age group and live births. $D_{c,t}^{GA}$ is the implied number of death in the under-5 age group based on estimated and rescaled probability of death, $q_{c,t}^{GA}$, and reported live birth numbers at the county level. $D_{c,t}^{Shock}$ is the number of deaths due to natural disaster estimated using the age/sex split method.[2] County level $q_{c,t}$ estimates are also rescaled so that the weighted average of county-level $q_{c,t}$estimates within a province equals the separately estimated provincial level U5MR with mortality shocks.

3. Under-5 mortality rate: An Econometric Model

We apply a parsimonious functional form to examine the relationship between U5MR and its correlates including Lag-distributed income, maternal education level, crude death rate due to HIV/AIDS, and secular trend as represented by a year variable together with country level random effect.

$$\ln({}_5q_{0\ i,t}) = \beta_0 + \beta_1 \cdot L_{i,t} + \beta_2 \cdot E_{i,t} + \sum_{k=1971}^{2013} \theta_k . I_k + \gamma_i + \varepsilon_{i,t} \qquad 21$$

Where *i* is country, *t* is year, γ_i is a random effect on country, *L* is lagged distributed income per capita in log scale for country *i* in year *t*, *E* is the average years of educational attainment in maternal age groups, and ${}_5q_{0\ i,t}$ is the estimated probability of death before the age of five estimated by Wang et al 2014.[1] We also added a secular trend variable, year [as categorical variable] as indicted by *I*. The model is based on country level estimates of U5MR for 188 countries between 1970 and 2013. Although with a simple specification, this model can explain 93.7% of the variation in U5MR during the aforementioned time period.

4. Inequality measurement: Gini coefficient of U5MR

To assess the inequality of both income and U5MR across counties, we computed the population weighted inter-county Gini coefficient of U5MR using the formula:

$$Gini = \frac{\sum_{i=1}^{2851} \sum_{j=1}^{2851} (|x_i - x_j|) p_i p_j}{2 (\sum_{j=1}^{N} p_j)^2 \mu} \qquad 3$$

x is under-5 mortality rate, *p* is the under-5 population at the county level, and *i* and *j* indicate counties. As equation 3 shows, the Gini coefficient can be interpreted as the average relative differences between all pairs of counties.

References

1 Wang H, Liddell CA, Coates MM, *et al.* Global, regional, and national levels of neonatal, infant, and under-5 mortality during 1990–2013: a systematic analysis for the Global Burden of Disease Study 2013. *Lancet* 2014; **384**: 957–79.

2 Lozano R, Naghavi M, Foreman K, *et al.* Global and regional mortality from 235 causes of death for 20 age groups in 1990 and 2010: a systematic analysis for the Global Burden of Disease Study 2010. *Lancet* 2012; **380**: 2095–128.

Web Table 1: Under-five mortality rate (per 100,000 live births) by county in 1996 and 2012

Web Table 1 – Under-5 mortality rate (per 1,000 births) by county from 1996 to 2012

Province	County	County Code (2012)	Under-5 Mortality Rate (per 1000 births)																
			1996	1997	1998	1999	2000	2001	2002	2003	2004	2005	2006	2007	2008	2009	2010	2011	2012
Anhui	Bagongshan Qi	340405	33.4	29.7	27.3	26	23.9	22.8	22.3	19.4	18.3	16.7	15.2	14.5	15	14.2	14.1	14.1	13.6
			27.0-40.1	24.7-35.1	23.3-31.5	22.7-29.5	20.9-26.8	19.9-25.7	19.0-25.3	16.5-22.4	15.3-21.5	14.1-19.7	12.8-18.0	12.4-17.1	13.0-17.3	12.4-16.1	12.4-15.9	12.5-15.8	11.9-15.5
	Bangshan District	340303	48.9	49.2	48.4	44.1	38.7	40.9	39.6	37.8	33.3	29.5	24.4	20.8	16.1	15.9	14.2	14.3	14.5
			42.1-55.7	42.4-56.2	41.7-55.1	38.3-50.0	33.5-43.9	35.6-46.2	34.5-44.7	33.2-42.6	29.4-37.1	26.3-32.6	22.0-27.0	18.7-23.1	14.4-17.9	14.2-17.8	12.7-15.9	12.7-16.1	12.7-16.6
	Baohe District	340111	20	17.9	17	15.7	13.2	12.9	12.4	13.1	12.3	12.9	13.4	13.7	13.7	13.6	12.2	12	11.5
			15.4-25.5	14.0-22.6	13.4-21.2	12.6-19.4	10.7-16.1	10.6-15.3	10.5-14.3	11.4-14.7	11.0-13.5	11.5-14.2	11.8-15.2	11.4-16.0	11.1-16.5	10.6-16.9	9.2-15.5	8.7-15.7	8.1-15.4
	Bowang District	340506	20.2	19.3	18	15.3	13.4	13.4	12.5	11.8	14.2	14.3	15	16.4	14.8	13.6	11.8	10.8	9.8
			16.5-23.9	15.8-22.9	14.7-21.4	12.5-18.4	11.0-16.2	11.0-16.1	10.4-14.8	10.1-13.8	12.5-16.1	12.7-16.2	13.3-16.9	14.3-18.6	12.8-16.8	11.8-15.4	10.3-13.3	9.4-12.2	8.6-11.3
	Changfeng County	340121	73.2	64.5	61.3	51.8	44.2	37.6	29.2	22.5	18.8	18.9	17.3	18	17.8	18.3	16.8	15.7	14.6
			59.6-87.7	53.8-76.0	52.4-70.9	45.2-58.6	38.8-49.3	32.9-42.3	25.0-33.3	18.9-26.1	15.6-22.3	15.6-22.7	14.2-20.6	15.2-21.3	15.3-20.6	16.0-20.9	14.8-18.9	13.8-17.7	12.7-16.7
	Chizhou City	341702	33.6	32.4	29.1	24.5	21.4	18.1	17.8	16.3	14.7	13.7	14.9	14.6	13.1	12.3	12.1	11.1	10
			28.3-39.1	27.0-37.7	24.1-34.2	20.1-29.0	17.7-25.5	15.1-21.3	15.0-20.9	14.0-18.6	13.0-16.5	12.2-15.3	13.2-16.6	12.8-16.5	11.3-14.9	10.6-14.0	10.5-13.8	9.6-12.6	8.7-11.4
	Daguan District	340803	29.6	29	27.8	25.6	21.7	22	21.6	18.7	17.6	15.9	15.4	14.1	12.6	12.3	10.9	10.2	9.5
			24.7-34.8	24.4-33.7	23.8-32.1	22.1-29.2	18.9-24.5	19.2-24.5	19.1-24.1	16.7-20.8	15.7-19.4	14.4-17.6	13.8-17.0	12.6-15.6	11.3-14.1	10.9-13.8	9.7-12.2	9.0-11.5	8.3-10.9
	Dangshan County	341321	41.5	39.9	39.5	38.5	38.4	36.5	35.9	33.4	31.2	29	25.8	21.8	20.3	17.7	16	14.6	13.8
			35.6-47.3	34.4-45.3	34.4-44.5	33.6-43.2	33.6-43.1	32.2-40.8	31.8-40.1	29.7-37.1	27.9-34.4	26.2-31.9	23.3-28.4	19.7-24.1	18.2-22.6	15.7-19.8	14.2-18.0	13.0-16.5	12.1-15.8
	Dangtu County	340521	44.3	42.7	41.7	38.2	35.6	35.3	35.1	32.6	31.2	29.7	27.6	25.4	24.2	20.9	20	17.9	16.5
			37.8-51.0	36.6-48.5	36.3-47.3	33.3-42.9	31.1-39.7	31.1-39.3	31.2-39.1	29.0-36.1	27.9-34.3	26.9-32.7	25.0-30.3	22.9-28.0	21.7-26.9	18.6-23.4	17.8-22.4	15.9-20.2	14.4-18.8
	Datong District	340402	33.4	29.7	27.3	26	23.9	22.8	22.3	19.4	18.3	16.7	15.2	14.5	15	14.2	14.1	14.1	13.6
			27.0-40.1	24.7-35.1	23.3-31.5	22.7-29.5	20.9-26.8	19.9-25.7	19.0-25.3	16.5-22.4	15.3-21.5	14.1-19.7	12.8-18.0	12.4-17.1	13.0-17.3	12.4-16.1	12.4-15.9	12.5-15.8	11.9-15.5
	Dingyuan County	341125	63.5	67.1	68	62.8	59.9	50.8	42	33.1	31.8	30.4	28.2	27.3	23.7	20.6	17.9	15.7	14.1
			51.6-76.0	55.8-79.5	57.6-79.2	54.0-71.9	51.8-68.1	44.1-57.6	35.8-47.9	28.1-38.4	26.9-37.3	25.7-35.8	23.9-33.0	23.5-31.8	20.6-27.3	18.1-23.3	15.8-20.1	13.9-17.7	12.3-16.1
	Dongzhi County	341721	38.2	38.2	36.1	34.4	33.2	31.2	30.1	27.5	25.4	22.2	20.9	19.2	18	17	15.1	13.7	12.5
			32.7-43.7	33.0-43.6	31.1-41.2	29.7-39.3	28.7-37.9	27.1-35.4	26.1-34.0	24.1-31.0	22.3-28.3	19.7-24.7	18.7-23.3	17.1-21.4	16.0-20.2	15.1-19.1	13.4-17.0	12.0-15.4	10.9-14.3
	Duji District	340602	30.5	29.9	27.6	25.6	20.6	18.4	13.4	12.4	10.6	9.5	8.7	9	8.6	9.4	8.9	9.1	9.4
			25.9-35.3	25.5-34.2	23.9-31.4	22.3-29.0	17.9-23.1	16.1-20.6	11.8-15.1	11.0-13.9	9.4-11.7	8.5-10.6	7.7-9.7	8.0-10.1	7.7-9.7	8.3-10.5	7.9-10.0	8.0-10.2	8.2-10.8
	Fangchang County	340222	46.3	42.6	39.8	36.8	34.4	32.1	29.5	28.1	24.9	25	23.2	20.9	18.9	19.1	18.4	17.1	16
			37.6-55.5	35.6-50.6	34.0-46.1	32.1-41.7	30.1-38.7	28.0-36.2	25.2-33.6	23.8-32.4	20.9-29.2	21.2-29.5	19.7-27.4	17.9-24.5	16.4-21.8	16.7-21.6	16.2-20.7	15.2-19.2	14.0-18.3
	Feidong County	340122	59.2	52.9	48.9	41.3	36.3	32.6	26.7	20.5	16.4	15.6	14.3	13.7	13.1	12.3	11.4	10.2	9.5
			48.4-70.8	44.3-62.5	42.0-56.3	36.2-46.7	31.7-40.6	28.5-36.8	22.7-30.3	17.3-23.7	13.7-19.3	13.0-18.5	11.9-17.0	11.7-16.2	11.3-15.2	10.7-14.0	10.0-12.8	9.0-11.6	8.3-10.9
	Feixi County	340123	38.7	37.4	34.6	33.4	31.3	28	25.6	22.8	18.9	17.1	16.1	15.9	15.6	15.6	14.6	14	13.1
			33.1-44.2	32.0-42.7	29.9-39.3	28.9-37.8	27.1-35.6	24.2-31.6	22.3-28.9	20.0-25.7	16.6-21.1	15.2-19.0	14.4-17.9	14.1-17.7	13.8-17.5	13.8-17.6	12.9-16.5	12.3-15.8	11.5-15.0
	Fengtai County	340421	53.4	49.1	44.5	42.8	38.1	35.7	34.4	31.4	30.1	28.1	25.8	26.1	24.9	22.4	21.3	20.2	18.7
			43.5-63.9	41.2-58.0	38.1-51.5	37.3-48.8	33.2-43.0	31.0-40.4	29.4-39.4	26.6-36.3	25.4-35.1	23.7-33.2	21.8-30.4	22.3-30.7	21.5-28.8	19.6-25.6	18.8-24.1	17.8-22.7	16.4-21.3
	Fengyang County	341126	44.3	44	41.6	39.2	37.7	34.3	30.7	25.8	22.8	20.7	19	16.7	16.4	15.4	15.3	14.7	14.5
			37.0-51.9	37.1-51.0	35.7-47.9	34.1-44.5	32.9-42.2	30.3-38.1	27.3-34.2	23.0-28.6	20.3-25.1	18.4-23.0	16.9-21.2	14.9-18.7	14.5-18.4	13.6-17.3	13.5-17.1	13.0-16.7	12.7-16.7
	Funan County	341225	54.6	51.7	49.8	47.8	48.9	45.9	46.5	42	38.4	33.4	26.6	21.8	19.8	17.6	15.9	15.2	14.7
			46.5-63.0	44.2-58.8	43.3-56.6	41.6-53.7	42.9-54.6	40.4-51.1	41.3-51.7	37.4-46.3	34.5-42.3	30.0-36.8	23.9-29.4	19.4-24.3	17.6-22.1	15.6-19.8	14.0-17.9	13.3-17.3	12.7-16.9
	Gejiang District	340203	25.5	22.5	20.5	17.2	14.9	16.2	14	13.7	14.2	15.4	15.6	17.6	16.8	15.4	14.2	13.1	12.1
			21.7-29.6	19.1-25.7	17.7-23.4	15.0-19.6	13.0-16.7	14.2-18.1	12.3-15.7	12.1-15.3	12.7-15.7	13.8-17.0	13.8-17.3	15.7-19.7	14.9-18.8	13.7-17.3	12.6-16.0	11.6-14.6	10.6-13.8
	Guangde County	341822	34.1	30.5	28	25.1	22.2	20.3	18.2	16.5	14.3	12.2	11.4	11.4	11.6	12.2	13.5	13	13.3
			27.6-41.1	25.4-36.0	23.9-32.5	21.8-28.4	19.4-24.8	17.7-22.8	15.5-20.7	13.9-19.3	11.9-17.0	10.1-14.6	9.4-13.6	9.6-13.5	10.0-13.4	10.7-13.9	11.9-15.1	11.5-14.6	11.7-15.3
	Guoyang County	341621	79.4	75.1	69.8	68.1	60.6	41.6	27.4	22.7	18.7	15.3	12.8	11.9	11.1	10.8	11	10.7	10.6
			64.8-95.2	62.5-88.8	59.4-80.9	58.7-78.0	52.5-68.9	35.8-47.6	23.3-31.8	19.0-26.7	15.6-22.1	12.8-18.2	10.8-15.1	10.1-13.9	9.6-12.7	9.5-12.2	9.6-12.3	9.4-12.0	9.3-12.2
	Guzhen County	340323	44.2	42	40	38.1	38.4	36.6	38.4	37.3	36.3	32	30.6	25.9	24	21.1	20.3	19.3	18.7
			37.9-50.5	36.1-47.6	34.9-45.3	33.2-42.9	33.6-42.9	32.2-40.7	34.1-42.7	33.2-41.2	32.6-39.9	28.9-35.1	27.7-33.5	23.3-28.5	21.5-26.8	18.8-23.6	18.1-22.7	17.1-21.7	16.4-21.4
	Hanshan County	340522	37.7	36.8	34.2	32.1	28.5	29.1	27.4	27	25.7	26.6	26	28	27	26.7	25.9	23.2	21.5
			28.8-48.4	29.0-46.1	27.9-41.6	26.7-38.5	24.2-33.4	25.2-33.2	24.1-30.8	23.9-30.0	22.9-28.5	23.6-29.8	22.7-29.6	23.8-32.6	22.1-32.4	21.2-33.0	19.6-32.8	16.9-30.3	15.1-28.9
	He County	340523	41.6	39.6	37	35.8	34.3	33.7	33.2	31.6	32	28.8	26.9	24.1	21.9	21.5	20.6	18.7	18
			35.7-47.6	34.1-45.2	31.9-42.0	31.1-40.3	29.9-38.8	29.3-37.8	29.1-37.4	27.8-35.4	28.3-35.6	25.8-31.9	24.1-29.9	21.7-26.8	19.5-24.4	19.1-24.2	18.3-23.1	16.5-21.1	15.7-20.5
	Huaining County	340822	49.3	49	49	47.2	43.9	39.5	38.4	35.8	30.2	28.5	24.2	20.2	16.7	17.6	17.2	17.2	17.4
			42.2-56.3	42.4-55.6	42.8-55.3	41.2-53.0	38.5-49.0	34.7-44.0	34.0-42.8	31.8-39.7	27.0-33.4	25.5-31.6	21.8-26.8	18.0-22.5	14.9-18.7	15.6-19.8	15.2-19.2	15.2-19.4	15.2-20.0
	Huaishang District	340311	48.9	49.2	48.4	44.1	38.7	40.9	39.6	37.8	33.3	29.5	24.4	20.8	16.1	15.9	14.2	14.3	14.5
			42.1-55.7	42.4-56.2	41.7-55.1	38.3-50.0	33.5-43.9	35.6-46.2	34.5-44.7	33.2-42.6	29.4-37.1	26.3-32.6	22.0-27.0	18.7-23.1	14.4-17.9	14.2-17.8	12.7-15.9	12.7-16.1	12.7-16.6
	Huaiyuan County	340321	56.4	52.2	50.1	46.5	49.4	55.2	56.5	56.9	56.7	51.6	41.6	33	28.4	22.9	19.5	18	16.9
			47.8-65.5	44.0-60.0	43.0-57.8	40.2-53.1	42.9-56.0	48.3-61.8	50.1-62.8	50.9-63.1	51.0-62.6	46.4-56.8	37.7-46.2	29.5-36.9	25.3-32.0	20.2-25.8	17.2-22.1	15.7-20.6	14.6-19.5
	Huangshan District	341003	27.1	26.8	26.4	26.2	23.1	24	22.3	19.6	17.5	14.5	14.7	15.3	14.2	13.7	12.6	11.3	10.2
			22.8-31.6	22.5-31.1	22.1-30.8	21.8-30.8	19.2-27.3	20.2-28.3	18.9-26.0	17.0-22.5	15.5-19.7	12.9-16.3	12.9-16.6	13.3-17.4	12.2-16.3	11.7-15.7	10.9-14.4	9.9-12.9	8.8-11.7
	Huashan District	340503	20.2	19.3	18	15.3	13.4	13.4	12.5	11.8	14.2	14.3	15	16.4	14.8	13.6	11.8	10.8	9.8
			16.5-23.9	15.8-22.9	14.7-21.4	12.5-18.4	11.0-16.2	11.0-16.1	10.4-14.8	10.1-13.8	12.5-16.1	12.7-16.2	13.3-16.9	14.3-18.6	12.8-16.8	11.8-15.4	10.3-13.3	9.4-12.2	8.6-11.3
	Huizhou District	341004	27.1	26.8	26.4	26.2	23.1	24	22.3	19.6	17.5	14.5	14.7	15.3	14.2	13.7	12.6	11.3	10.2
			22.8-31.6	22.5-31.1	22.1-30.8	21.8-30.8	19.2-27.3	20.2-28.3	18.9-26.0	17.0-22.5	15.5-19.7	12.9-16.3	12.9-16.6	13.3-17.4	12.2-16.3	11.7-15.7	10.9-14.4	9.9-12.9	8.8-11.7
	Huoqiu County	341522	59.8	57.4	50.3	47.1	45.9	47.7	48.7	48.1	41.1	34.7	28.2	23.5	18.7	18.2	17.6	16.6	15.6
			48.8-71.5	47.8-68.0	42.6-58.7	40.4-54.3	39.6-52.3	41.3-54.3	41.7-55.8	41.0-55.5	34.8-47.7	29.5-40.4	24.0-32.8	20.2-27.5	16.3-21.5	16.0-20.6	15.5-19.7	14.7-18.6	13.6-17.8

Province	County	County Code (2012)	Under-5 Mortality Rate (per 1000 births)																
			1996	1997	1998	1999	2000	2001	2002	2003	2004	2005	2006	2007	2008	2009	2010	2011	2012
	Huoshan County	341525	41.3	37.8	36.2	35.2	31.6	30.1	25.4	21.8	18.7	16.5	13.6	13.3	15.5	13.8	14.9	14.6	14.4
			33.7-49.3	30.8-45.3	29.5-43.4	28.5-42.5	25.6-38.3	24.5-36.2	21.0-30.2	18.5-25.6	16.1-21.7	14.2-19.1	11.5-15.6	11.3-15.5	13.1-18.0	11.6-16.0	12.6-17.1	12.5-16.8	12.3-16.7
	Jiao District	340711	23.2	21	19.3	18.1	15.3	15.5	16.1	14.4	13.7	12.2	12	12.6	11.1	11.7	12.6	11.8	11.3
			19.1-27.4	17.3-24.8	16.0-22.8	15.0-21.5	12.7-18.3	13.0-18.3	13.8-18.7	12.5-16.3	12.2-15.2	11.0-13.4	10.7-13.3	11.0-14.2	9.6-12.5	10.1-13.2	11.1-14.3	10.3-13.3	9.9-12.9
	Jieshou City	341282	42.4	40.3	39.4	37.4	36.2	34.5	34.9	34.4	31.9	30.1	27.1	24.6	21.8	20.2	18.9	17.1	15.4
			36.0-48.9	34.3-45.9	34.2-44.8	32.6-42.1	31.7-40.4	30.4-38.3	31.0-38.8	30.6-38.0	28.6-35.1	27.2-33.1	24.5-29.7	22.1-27.1	19.5-24.3	17.9-22.6	16.8-21.2	15.1-19.3	13.4-17.6
	Jin'an District	341502	25.1	23.1	21.9	19.9	17.1	15.1	13.9	11.6	11.5	11.9	12.3	12.5	12.2	11	10.4	9.7	9.2
			21.3-28.9	19.7-26.3	19.0-24.8	17.3-22.3	15.0-19.1	13.3-16.9	12.3-15.6	10.2-12.9	10.2-12.8	10.7-13.2	11.0-13.7	11.2-13.9	10.9-13.7	9.7-12.3	9.3-11.7	8.5-10.9	8.1-10.5
	Jing County	341823	32.2	29.4	26.7	25.5	26	25.1	24.7	24.5	23.2	19.7	17.9	15.5	14	12.7	12.5	11.9	12
			27.3-37.3	24.9-33.8	22.5-31.1	21.3-29.8	21.6-30.5	21.1-29.5	21.1-28.5	21.4-27.8	20.6-25.8	17.7-21.9	16.0-20.0	13.5-17.4	12.0-15.9	10.9-14.4	10.8-14.2	10.4-13.6	10.4-13.8
	Jingde County	341825	37.4	34.4	31.9	30	30	28.7	28	24	23.3	21.7	19.4	17.5	17	17	15.9	15.1	15
			26.1-53.3	24.3-47.8	23.0-43.2	22.2-40.2	22.6-39.0	22.2-36.3	22.2-34.8	19.7-28.9	19.6-27.6	18.6-25.5	16.3-23.1	14.5-21.3	13.6-21.3	12.9-22.1	11.4-21.4	10.5-21.0	10.2-21.4
	Jinghu District	340202	25.5	22.5	20.5	17.2	14.9	16.2	14	13.7	14.2	15.4	15.6	17.6	16.8	15.4	14.2	13.1	12.1
			21.7-29.6	19.1-25.7	17.7-23.4	15.0-19.6	13.0-16.7	14.2-18.1	12.3-15.7	12.1-15.3	12.7-15.7	13.8-17.0	13.8-17.3	15.7-19.7	14.9-18.8	13.7-17.3	12.6-16.0	11.6-14.6	10.6-13.8
	Jinzhai County	341524	36.8	34.5	33.3	30.9	27.1	25.4	23.8	21.7	19.7	19.5	18	17.4	16.5	16.1	15.1	14.2	13.8
			30.0-44.1	28.7-40.9	28.2-38.9	26.5-35.4	23.4-30.9	22.0-29.0	20.3-27.3	18.4-25.2	16.5-23.0	16.6-22.8	15.3-21.2	14.9-20.4	14.3-19.1	14.1-18.3	13.3-17.0	12.7-16.0	12.1-15.8
	Jiujiang District	340207	25.5	22.5	20.5	17.2	14.9	16.2	14	13.7	14.2	15.4	15.6	17.6	16.8	15.4	14.2	13.1	12.1
			21.7-29.6	19.1-25.7	17.7-23.4	15.0-19.6	13.0-16.7	14.2-18.1	12.3-15.7	12.1-15.3	12.7-15.7	13.8-17.0	13.8-17.3	15.7-19.7	14.9-18.8	13.7-17.3	12.6-16.0	11.6-14.6	10.6-13.8
	Jixi County	341824	34.1	32.2	30.5	26.1	23.5	22.3	20.6	18	17.3	15.5	15.7	14.1	14.7	14	13.8	13.2	13.2
			28.0-40.3	26.4-38.1	25.1-36.2	21.3-31.1	19.3-28.3	18.4-26.5	17.2-24.2	15.5-20.9	15.1-19.7	13.6-17.4	13.7-17.7	12.2-16.0	12.6-16.8	12.0-16.0	11.9-15.7	11.5-15.0	11.4-15.1
	Juchao District	340181	40.6	38.1	36.2	34.7	31	27.2	22.8	21.4	19.5	19.1	20.8	24	26.4	25.9	24.3	21.4	19.3
			34.0-47.4	31.9-44.4	30.1-42.5	28.6-41.1	25.5-37.0	22.5-32.4	19.1-26.9	18.3-24.7	17.0-22.3	16.8-21.5	18.2-23.5	20.9-27.3	22.8-30.2	22.4-29.5	21.0-27.6	18.7-24.3	16.8-22.2
	Lai'an County	341122	41.4	39.8	39.5	35.9	33.4	30.4	27.4	24.8	23.2	22.5	21.4	19.3	19.9	18	17.8	16.4	15.6
			34.8-48.3	33.5-46.1	33.1-46.0	29.9-42.0	27.8-39.3	25.6-35.8	23.4-31.9	21.6-28.4	20.5-25.9	20.1-25.2	18.9-24.0	16.9-21.9	17.1-22.6	15.5-20.5	15.4-20.2	14.3-18.7	13.6-18.0
	Langxi County	341821	30.1	29	27.3	24.4	21.5	21.6	20.6	16.8	16.6	15.5	13.3	10.9	10.9	10.8	12.4	12.2	12.4
			25.3-35.1	24.3-33.6	22.8-32.0	20.1-28.8	17.6-25.5	17.9-25.6	17.3-24.3	14.5-19.5	14.4-19.0	13.6-17.7	11.4-15.1	9.3-12.6	9.3-12.6	9.1-12.4	10.6-14.1	10.5-13.9	10.7-14.4
	Langya District	341102	32.5	31.5	31.1	29.8	26.6	25.9	22	19	18	15.8	15.5	16.8	15.8	13.6	13.1	12.2	11.1
			27.5-37.7	26.6-36.1	26.7-35.5	25.9-33.9	23.2-29.7	22.7-28.9	19.5-24.6	16.9-21.0	16.1-19.9	14.2-17.4	13.9-17.1	15.0-18.7	14.1-17.6	12.0-15.2	11.6-14.7	10.7-13.7	9.7-12.8
	Lieshan District	340604	30.5	29.9	27.6	25.6	20.6	18.4	13.4	12.4	10.6	9.5	8.7	9	8.6	9.4	8.9	9.1	9.4
			25.9-35.3	25.5-34.2	23.9-31.4	22.3-29.0	17.9-23.1	16.1-20.6	11.8-15.1	11.0-13.9	9.4-11.7	8.5-10.6	7.7-9.7	8.0-10.1	7.7-9.7	8.3-10.5	7.9-10.0	8.0-10.2	8.2-10.8
	Lingbi County	341323	34.2	32	29.8	26.5	23.8	22.5	20.6	20.2	20.3	19.9	19.2	16.8	18.1	16.6	15.6	14.2	13.2
			29.2-39.3	27.4-36.4	25.5-34.4	22.4-30.7	20.0-27.9	19.0-26.4	17.6-23.7	17.6-23.0	18.1-22.5	18.0-22.0	17.2-21.3	14.7-18.9	15.7-20.5	14.3-18.8	13.6-17.7	12.5-16.1	11.5-15.1
	Linquan County	341221	43.3	40.9	39.7	36.2	35.2	33.5	32.7	29.2	27.2	25.7	23.8	21.3	18.8	17	15.1	13.6	12.3
			29.7-62.4	28.3-57.8	27.8-54.9	25.9-49.9	25.8-47.5	25.2-43.4	25.3-41.1	23.3-35.9	22.8-32.2	22.4-29.6	21.0-26.9	18.6-24.3	15.9-22.1	13.7-20.9	11.5-19.2	9.9-18.0	8.6-16.7
	Lixin County	341623	67	62.4	58.6	57.5	53.7	46.4	44	36.4	34.3	29.7	27.1	25.1	23.3	17.1	16.2	15.2	14.4
			56.6-77.8	53.0-71.8	50.3-67.3	49.7-65.9	46.4-61.0	40.2-52.8	38.3-50.0	31.4-41.7	29.5-39.4	25.6-34.4	23.3-31.7	21.3-29.4	19.8-27.4	14.5-19.9	13.6-18.9	12.8-17.8	12.2-17.0
	Longzihu District	340302	48.9	49.2	48.4	44.1	38.7	40.9	39.6	37.8	33.3	29.5	24.4	20.8	16.1	15.9	14.2	14.3	14.5
			42.1-55.7	42.4-56.2	41.7-55.1	38.3-50.0	33.5-43.9	35.6-46.2	34.5-44.7	33.2-42.6	29.4-37.1	26.3-32.6	22.0-27.0	18.7-23.1	14.4-17.9	14.2-17.8	12.7-15.9	12.7-16.1	12.7-16.6
	Lujiang County	340124	33.8	32.3	32.3	31.5	31.8	31.1	28.6	27.4	25.4	23.2	24.9	25.5	24	21.9	21	18.3	16.4
			28.7-39.2	27.4-37.2	27.4-37.7	26.4-36.7	26.6-37.3	26.2-36.3	24.5-33.0	23.9-30.9	22.7-28.1	20.9-25.6	22.4-27.6	22.4-28.6	20.7-27.0	19.0-24.9	18.3-23.7	16.1-20.8	14.4-18.8
	Luyang District	340103	20	17.9	17	15.7	13.2	12.9	12.4	13.1	12.3	12.9	13.4	13.7	13.7	13.6	12.2	12	11.5
			15.4-25.5	14.0-22.6	13.4-21.2	12.6-19.4	10.7-16.1	10.6-15.3	10.5-14.3	11.4-14.7	11.0-13.5	11.5-14.2	11.8-15.2	11.4-16.0	11.1-16.5	10.6-16.9	9.2-15.5	8.7-15.7	8.1-15.4
	Mengcheng County	341622	33.7	28.7	24.9	23.2	20	19.3	19	17.1	16.8	14.5	13	13	14.6	13.4	13.2	12.4	12.2
			27.6-40.1	23.4-34.2	20.3-30.0	18.7-28.2	16.1-24.5	15.6-23.5	15.5-22.7	14.4-20.3	14.3-19.6	12.3-16.8	11.0-15.0	11.0-15.1	12.3-17.0	11.2-15.5	11.2-15.2	10.6-14.3	10.5-14.2
	Mingguang City	341182	26.2	25.7	25.1	23.2	24.6	25.8	22.9	22.7	19.9	18.7	16	12.8	12.6	11.9	11.6	11.1	11.2
			22.2-30.4	21.7-29.4	21.7-28.8	20.2-26.4	21.5-27.8	22.5-28.8	20.3-25.6	20.3-25.2	17.8-22.0	16.7-20.6	14.3-17.7	11.4-14.3	11.2-14.1	10.6-13.4	10.2-13.0	9.8-12.6	9.7-12.8
	Nanling County	340223	34.1	32.1	30.3	29.9	28.8	27.6	25.3	23.4	20.6	20.4	19.1	18.7	18.6	19.3	19	18.3	17.6
			29.3-38.8	27.7-36.4	26.4-34.2	26.1-33.6	25.2-32.4	24.2-30.8	22.4-28.4	20.7-26.0	18.5-22.9	18.3-22.6	17.1-21.2	16.7-20.8	16.6-20.8	17.2-21.7	16.9-21.2	16.2-20.6	15.4-20.1
	Nanqiao District	341103	32.5	31.5	31.1	29.8	26.6	25.9	22	19	18	15.8	15.5	16.8	15.8	13.6	13.1	12.2	11.1
			27.5-37.7	26.6-36.1	26.7-35.5	25.9-33.9	23.2-29.7	22.7-28.9	19.5-24.6	16.9-21.0	16.1-19.9	14.2-17.4	13.9-17.1	15.0-18.7	14.1-17.6	12.0-15.2	11.6-14.7	10.7-13.7	9.7-12.8
	Ningguo City	341881	37.9	35.4	32.9	30.6	29.7	29	26.7	23.8	21.6	19.1	16.6	15.2	14.6	13.7	13.1	12.6	12.9
			30.6-45.6	29.4-41.9	28.1-38.0	26.7-34.8	26.0-33.2	25.4-32.7	22.9-30.3	20.2-27.5	18.2-25.3	16.2-22.5	14.0-19.6	13.0-17.7	12.6-16.8	12.1-15.6	11.6-14.6	11.2-14.2	11.3-14.7
	Panji District	340406	33.4	29.7	27.3	26	23.9	22.8	22.3	19.4	18.3	16.7	15.2	14.5	15	14.2	14.1	14.1	13.6
			27.0-40.1	24.7-35.1	23.3-31.5	22.7-29.5	20.9-26.8	19.9-25.7	19.0-25.3	16.5-22.4	15.3-21.5	14.1-19.7	12.8-18.0	12.4-17.1	13.0-17.3	12.4-16.1	12.4-15.9	12.5-15.8	11.9-15.5
	Qianshan County	340824	43.8	42.5	39.6	37.5	35.5	31.3	30.5	30.1	25.7	22.1	18.7	15.4	11.9	12.5	12.7	12.2	12.4
			37.5-50.1	36.6-48.1	34.6-44.9	32.7-42.1	31.0-39.6	27.5-35.0	27.0-34.2	26.8-33.5	22.8-28.5	19.8-24.6	16.7-20.9	13.7-17.3	10.5-13.4	11.0-14.0	11.2-14.3	10.6-13.8	10.7-14.2
	Qiaocheng District	341602	33.3	31.6	29.3	27.7	26.4	24.5	21.2	20.1	18.7	18.3	17.1	16.7	15	13.3	12	11.3	10.3
			27.2-39.7	26.3-37.4	24.9-34.3	23.8-31.9	22.7-30.2	21.1-28.1	18.1-24.5	17.0-23.4	15.6-21.9	15.5-21.4	14.4-20.1	14.2-19.6	12.9-17.5	11.6-15.2	10.5-13.6	9.9-12.8	9.1-11.8
	Qimen County	341024	42.5	41	39.6	36.8	33.5	31	27	27.9	26	22.8	20.3	19.2	16.9	15.4	16	15.1	14.5
			36.1-49.1	34.9-46.7	34.3-44.9	32.1-41.5	29.3-37.3	27.2-34.6	24.0-30.1	24.9-30.9	23.4-28.7	20.5-25.1	18.3-22.3	17.1-21.2	15.1-18.8	13.7-17.3	14.3-18.0	13.4-17.0	12.7-16.6
	Qingyang County	341723	26	24.5	23.2	23	23	23	22.9	22.5	20.2	18	16.7	15.7	15.1	13.7	14.3	12.8	12.3
			22.2-29.9	21.0-27.8	20.2-26.3	20.0-25.9	20.1-25.7	20.3-25.5	20.4-25.5	20.1-24.9	18.1-22.3	16.3-19.8	15.1-18.4	14.1-17.3	13.5-16.8	12.1-15.3	12.7-16.0	11.4-14.5	10.7-14.0
	Quanjiao County	341124	26.1	24.5	22.9	21.2	18.9	18.8	18.3	16.7	15.6	15.6	15.2	14.4	14.3	13.5	13.1	12.5	12.2
			22.0-30.5	20.6-28.3	19.2-26.7	17.7-24.9	15.8-22.3	15.7-22.1	15.7-21.2	14.5-18.9	13.9-17.4	14.1-17.3	13.5-16.9	12.6-16.2	12.4-16.2	11.7-15.3	11.5-14.9	10.9-14.2	10.7-14.0
	Samshan District	340208	25.5	22.5	20.5	17.2	14.9	16.2	14	13.7	14.2	15.4	15.6	17.6	16.8	15.4	14.2	13.1	12.1

Province	County	County Code (2012)	Under-5 Mortality Rate (per 1000 births)																
			1996	1997	1998	1999	2000	2001	2002	2003	2004	2005	2006	2007	2008	2009	2010	2011	2012
			21.7-29.6	19.1-25.7	17.7-23.4	15.0-19.6	13.0-16.7	14.2-18.1	12.3-15.7	12.1-15.3	12.7-15.7	13.8-17.0	13.8-17.3	15.7-19.7	14.9-18.8	13.7-17.3	12.6-16.0	11.6-14.6	10.6-13.8
	She County	341021	39.9	38.5	36.8	35.4	32.7	29.5	27.3	24.7	24.7	23.1	21.9	20.7	20.6	18.5	18	16.9	16.4
			34.2-45.6	33.2-43.7	32.1-41.6	30.9-39.7	28.7-36.5	26.0-32.9	24.2-30.4	22.1-27.4	22.1-27.2	20.8-25.4	19.7-24.0	18.6-22.8	18.4-22.9	16.5-20.7	16.0-20.2	15.0-19.0	14.3-18.7
	Shitai County	341722	35.8	35.2	35.3	33.4	31.3	31.8	30.9	25.7	24.8	24.6	23.4	20.9	20.7	18.6	17.9	16	14.7
			29.9-42.1	29.4-41.1	29.4-41.7	27.4-39.6	25.7-37.3	26.4-37.7	26.0-36.4	22.1-29.7	21.7-28.1	21.7-27.8	20.4-26.4	18.1-23.8	17.7-23.6	15.9-21.3	15.4-20.4	13.9-18.3	12.7-17.0
	Shizishan District	340703	23.2	21	19.3	18.1	15.3	15.5	16.1	14.4	13.7	12.2	12	12.6	11.1	11.7	12.6	11.8	11.3
			19.1-27.4	17.3-24.8	16.0-22.8	15.0-21.5	12.7-18.3	13.0-18.3	13.8-18.7	12.5-16.3	12.2-15.2	11.0-13.4	10.7-13.3	11.0-14.2	9.6-12.5	10.1-13.2	11.1-14.3	10.3-13.3	9.9-12.9
	Shou County	341521	37.3	35.8	32.4	29	23.6	22.1	22.1	18.6	17	16.3	14.7	15.9	13.8	13.3	12.1	11	10.3
			31.8-42.9	30.6-40.7	28.2-36.7	25.3-32.8	20.6-26.4	19.4-24.7	19.6-24.8	16.6-20.8	15.2-18.9	14.6-18.0	13.2-16.3	14.2-17.6	12.3-15.5	11.8-15.0	10.8-13.6	9.8-12.5	9.0-11.8
	Shucheng County	341523	34.8	33.5	32.9	31.5	28.3	26.9	22.3	19.4	17.3	16.1	14.9	15.2	14.5	14.2	13.9	12.8	12
			28.2-41.6	27.8-39.7	27.9-38.5	27.1-36.1	24.5-32.2	23.4-30.6	19.0-25.6	16.4-22.5	14.5-20.2	13.6-19.0	12.6-17.6	12.9-17.8	12.5-16.8	12.4-16.2	12.2-15.6	11.3-14.4	10.5-13.7
	Shushan District	340104	20	17.9	17	15.7	13.2	12.9	12.4	13.1	12.3	12.9	13.4	13.7	13.7	13.6	12.2	12	11.5
			15.4-25.5	14.0-22.6	13.4-21.2	12.6-19.4	10.7-16.1	10.6-15.3	10.5-14.3	11.4-14.7	11.0-13.5	11.5-14.2	11.8-15.2	11.4-16.0	11.1-16.5	10.6-16.9	9.2-15.5	8.7-15.7	8.1-15.4
	Si County	341324	28.1	25.7	25.9	25.4	26.1	25.5	24.9	24.5	23.4	23.7	24.7	23.4	22.9	21.1	18.1	16.1	14.2
			23.9-32.5	21.9-29.4	22.0-30.0	21.5-29.5	22.0-30.5	21.7-29.7	21.4-28.4	21.4-27.6	20.8-25.7	21.4-26.0	22.2-27.3	20.6-26.2	19.9-25.9	18.3-23.8	15.9-20.4	14.2-18.1	12.5-16.3
	Suixi County	340621	42.2	42.8	41	40.4	38.7	34.1	30.6	29.1	26.3	25.3	23.4	22.6	19.9	18.2	16.9	16.3	15.6
			36.2-48.1	37.0-48.6	35.7-46.2	35.3-45.4	34.0-43.4	30.0-38.1	27.1-34.1	25.9-32.4	23.5-29.0	22.8-27.8	21.0-25.7	20.3-24.9	17.8-22.2	16.2-20.3	15.0-19.0	14.4-18.4	13.7-17.9
	Susong County	340826	57	54.7	54.8	48	44.7	40	37.9	34.8	33.4	29.7	27.6	25.8	23.6	22	20.5	18.5	16.8
			48.0-66.6	46.1-63.1	47.0-63.1	41.6-54.8	38.9-50.3	35.0-44.6	33.6-42.3	31.2-38.6	29.9-36.8	26.9-32.6	24.9-30.4	23.1-28.5	21.0-26.3	19.5-24.6	18.2-23.0	16.3-20.9	14.7-19.3
	Taihe County	341222	51.3	48.5	45.2	44.3	42.8	38.4	34.9	32.7	31.6	27.7	27	24.9	22.1	19.2	18	16.7	15.6
			43.6-59.3	41.3-55.4	39.1-51.3	38.6-49.9	37.5-47.8	33.9-42.7	30.9-38.8	29.0-36.2	28.2-34.8	25.0-30.5	24.3-29.7	22.4-27.5	19.8-24.6	17.1-21.5	16.1-20.2	14.8-18.9	13.6-17.8
	Taihu County	340825	47.2	47.2	46.9	45.8	44.4	42.6	44.3	42.2	36.8	31	26.5	22.7	18.1	19	19.2	18.4	17.6
			40.2-54.4	40.4-54.1	40.4-53.2	39.8-51.4	38.7-49.9	37.4-47.6	38.9-49.6	37.3-46.9	32.8-40.8	27.9-34.0	23.9-29.1	20.4-25.1	16.2-20.2	16.9-21.3	17.0-21.7	16.2-20.8	15.4-20.1
	Tianchang City	341181	29.6	29.4	29.3	27.9	26.8	27.4	25.7	24.3	24.4	23	19.8	18	17.2	14.4	13.7	12.4	11.7
			25.3-34.1	25.2-33.4	25.5-33.3	24.4-31.4	23.5-29.9	24.1-30.5	22.8-28.6	21.7-26.8	21.9-26.8	20.8-25.3	17.9-21.8	16.2-19.9	15.4-19.2	12.8-16.1	12.1-15.4	10.9-14.0	10.3-13.4
	Tianjia'an District	340403	33.4	29.7	27.3	26	23.9	22.8	22.3	19.4	18.3	16.7	15.2	14.5	15	14.2	14.1	14.1	13.6
			27.0-40.1	24.7-35.1	23.3-31.5	22.7-29.5	20.9-26.8	19.9-25.7	19.0-25.3	16.5-22.4	15.3-21.5	14.1-19.7	12.8-18.0	12.4-17.1	13.0-17.3	12.4-16.1	12.4-15.9	12.5-15.8	11.9-15.5
	Tongcheng City	340881	35.6	35.1	34.4	33.1	31.3	29.7	29.8	27.8	24.7	22.6	19.6	16	13.5	13.8	12.5	11.9	11.6
			30.3-41.2	29.9-40.3	29.6-39.1	28.7-37.4	27.4-35.2	26.0-33.3	26.1-33.3	24.5-31.1	21.9-27.4	20.3-24.9	17.7-21.6	14.4-17.7	12.0-15.0	12.3-15.5	11.1-14.0	10.5-13.5	10.2-13.2
	Tongguanshan District	340702	23.2	21	19.3	18.1	15.3	15.5	16.1	14.4	13.7	12.2	12	12.6	11.1	11.7	12.6	11.8	11.3
			19.1-27.4	17.3-24.8	16.0-22.8	15.0-21.5	12.7-18.3	13.0-18.3	13.8-18.7	12.5-16.3	12.2-15.2	11.0-13.4	10.7-13.3	11.0-14.2	9.6-12.5	10.1-13.2	11.1-14.3	10.3-13.3	9.9-12.9
	Tongling County	340721	42.1	38.3	35.4	32.5	26.6	25.3	23	21.1	18.9	19	18.2	18.5	17.1	16.7	16.4	14.9	14
			34.2-50.5	31.9-45.3	30.3-40.8	28.4-36.8	23.3-29.7	22.1-28.6	19.6-26.1	17.7-24.4	15.8-22.2	16.0-22.5	15.4-21.6	15.8-21.8	14.8-19.8	14.6-19.0	14.5-18.6	13.2-16.7	12.3-16.0
	Tunxi District	341002	27.1	26.8	26.4	26.2	23.1	24	22.3	19.6	17.5	14.5	14.7	15.3	14.2	13.7	12.6	11.3	10.2
			22.8-31.6	22.5-31.1	22.1-30.8	21.8-30.8	19.2-27.3	20.2-28.3	18.9-26.0	17.0-22.5	15.5-19.7	12.9-16.3	12.9-16.6	13.3-17.4	12.2-16.3	11.7-15.7	10.9-14.4	9.9-12.9	8.8-11.7
	Wangjiang County	340827	43.2	41.1	40.5	40.3	39.4	38.1	38.3	39.8	35.5	33.5	31.1	25.4	20.9	18.2	16.4	14.6	13.3
			37.2-49.2	35.4-46.9	34.8-45.9	35.0-45.7	34.2-44.7	33.1-42.9	33.4-43.2	35.0-44.6	31.5-39.5	29.9-37.0	28.0-34.3	22.9-28.2	18.7-23.2	16.2-20.4	14.5-18.3	12.9-16.4	11.7-15.2
	Wuhe County	340322	52	50.7	51.1	49.2	47	43.8	41.3	37.9	34.4	30.5	26.1	21.7	20.8	17	16.3	15.8	15.7
			44.1-60.3	43.1-58.0	44.2-58.1	42.8-55.2	41.3-52.5	38.6-48.6	36.7-45.9	33.8-41.8	30.9-37.9	27.5-33.6	23.6-28.8	19.5-24.1	18.5-23.2	15.0-19.1	14.5-18.3	14.0-17.9	13.7-17.9
	Wuhu County	340221	43.6	40.8	38.6	36.2	35.9	32.2	30.3	29.3	27.2	25.6	27.1	27.1	25.9	24.1	22.3	20	18.2
			33.2-57.1	31.7-51.6	31.2-47.6	30.1-43.7	30.3-42.0	27.9-36.8	26.7-34.1	25.9-32.5	24.2-30.2	22.7-28.7	23.7-31.1	22.9-31.7	21.1-31.2	19.0-30.0	16.7-28.5	14.4-26.4	12.6-24.8
	Wuwei County	340225	39.4	36.2	35	30.8	28.5	28	24.8	26.3	25.9	28	27.1	25.9	23.1	21.3	18.4	16.6	15.4
			33.8-45.0	31.2-41.1	30.5-39.5	26.8-34.5	24.8-32.1	24.5-31.4	21.8-27.8	23.2-29.4	23.1-29.0	25.1-31.2	24.1-30.2	23.1-29.0	20.5-25.8	18.9-23.9	16.3-20.6	14.7-18.7	13.4-17.5
	Xiangshan District	340603	30.5	29.9	27.6	25.6	20.6	18.4	13.4	12.4	10.6	9.5	8.7	9	8.6	9.4	8.9	9.1	9.4
			25.9-35.3	25.5-34.2	23.9-31.4	22.3-29.0	17.9-23.1	16.1-20.6	11.8-15.1	11.0-13.9	9.4-11.7	8.5-10.6	7.7-9.7	8.0-10.1	7.7-9.7	8.3-10.5	7.9-10.0	8.0-10.2	8.2-10.8
	Xiao County	341322	32.9	29.5	28.6	26.9	24.4	22.2	21.6	19.7	17.2	16.1	16.5	16.3	16.6	17.3	16.5	14.7	13.6
			27.8-38.2	24.9-34.0	24.0-33.3	22.3-31.5	20.2-29.0	18.6-26.2	18.3-25.3	17.0-22.7	15.1-19.4	14.2-18.1	14.5-18.5	14.2-18.5	14.3-19.0	14.9-19.7	14.2-18.7	12.8-16.7	11.8-15.6
	Xiejiaji District	340404	33.4	29.7	27.3	26	23.9	22.8	22.3	19.4	18.3	16.7	15.2	14.5	15	14.2	14.1	14.1	13.6
			27.0-40.1	24.7-35.1	23.3-31.5	22.7-29.5	20.9-26.8	19.9-25.7	19.0-25.3	16.5-22.4	15.3-21.5	14.1-19.7	12.8-18.0	12.4-17.1	13.0-17.3	12.4-16.1	12.4-15.9	12.5-15.8	11.9-15.5
	Xiuning County	341022	38.1	35.1	34.2	33.3	31.1	31.2	29.1	27.6	26.2	23.9	20.2	17.9	16.3	14.8	15	14.4	13.8
			31.6-45.0	29.5-41.0	29.0-39.8	28.5-38.2	26.8-35.2	27.4-35.1	25.8-32.3	24.8-30.6	23.5-28.8	21.7-26.2	18.3-22.1	16.0-19.8	14.6-18.2	13.1-16.6	13.3-16.9	12.7-16.3	12.1-15.8
	Xuanzhou District	341802	38.4	36.1	34.4	34	30.5	29.6	25.9	22.6	20.1	17.1	16.1	14.5	12.2	11	10.3	9.4	8.9
			30.9-46.3	29.9-42.7	29.4-39.8	29.7-38.6	26.7-34.1	25.9-33.3	22.1-29.3	19.1-26.0	16.8-23.5	14.4-20.3	13.5-19.1	12.3-17.0	10.6-14.1	9.6-12.4	9.1-11.6	8.3-10.7	7.7-10.2
	Yaohai District	340102	20	17.9	17	15.7	13.2	12.9	12.4	13.1	12.3	12.9	13.4	13.7	13.7	13.6	12.2	12	11.5
			15.4-25.5	14.0-22.6	13.4-21.2	12.6-19.4	10.7-16.1	10.6-15.3	10.5-14.3	11.4-14.7	11.0-13.5	11.5-14.2	11.8-15.2	11.4-16.0	11.1-16.5	10.6-16.9	9.2-15.5	8.7-15.7	8.1-15.4
	Yi County	341023	35.2	33.8	32.5	34.1	29.7	28.1	29.7	25.6	20.5	20.3	18.6	19.6	17.9	16.9	17	15.6	14.6
			28.6-42.4	27.3-40.8	26.3-39.6	27.4-42.1	23.9-36.8	22.5-34.6	24.0-36.1	21.1-30.9	17.1-24.2	17.1-24.0	15.5-21.7	16.4-23.1	14.8-21.0	14.0-19.9	14.3-19.8	13.3-18.1	12.5-17.2
	Yingdong District	341203	33.1	32.8	33.1	33.2	30.7	32.4	31	31.6	32.7	33.1	30.9	28	25.7	24	20.4	18.7	16.7
			28.1-38.4	27.8-37.7	28.1-38.4	28.0-38.6	25.7-35.9	27.5-37.9	26.6-35.8	27.7-35.7	29.2-36.0	30.0-36.4	27.7-34.2	24.6-31.3	22.3-29.1	20.8-27.1	17.9-23.1	16.4-21.1	14.6-19.1
	Yingjiang District	340802	29.6	29	27.8	25.6	21.7	22	21.6	18.7	17.6	15.9	15.4	14.1	12.6	12.3	10.9	10.2	9.5
			24.7-34.8	24.4-33.7	23.8-32.1	22.1-29.2	18.9-24.5	19.2-24.5	19.1-24.1	16.7-20.8	15.7-19.4	14.4-17.6	13.8-17.0	12.6-15.6	11.3-14.1	10.9-13.8	9.7-12.2	9.0-11.5	8.3-10.9
	Yingquan District	341204	33.1	32.8	33.1	33.2	30.7	32.4	31	31.6	32.7	33.1	30.9	28	25.7	24	20.4	18.7	16.7
			28.1-38.4	27.8-37.7	28.1-38.4	28.0-38.6	25.7-35.9	27.5-37.9	26.6-35.8	27.7-35.7	29.2-36.0	30.0-36.4	27.7-34.2	24.6-31.3	22.3-29.1	20.8-27.1	17.9-23.1	16.4-21.1	14.6-19.1
	Yingshang County	341226	36.4	34.1	31.9	30.3	33.8	33.6	36.3	31.9	30.2	21.8	19.5	17.5	15.6	14.2	12.6	11.3	10.1
			30.4-42.5	28.8-39.5	27.3-36.9	26.0-34.6	29.3-38.4	29.4-37.8	32.1-40.8	28.3-35.9	26.7-33.9	19.3-24.5	17.3-22.0	15.4-19.9	13.7-17.7	12.4-16.1	11.0-14.4	9.8-12.9	8.7-11.7

Province	County	County Code (2012)	Under-5 Mortality Rate (per 1000 births)																
			1996	1997	1998	1999	2000	2001	2002	2003	2004	2005	2006	2007	2008	2009	2010	2011	2012
	Yingzhou District	341202	33.1	32.8	33.1	33.2	30.7	32.4	31	31.6	32.7	33.1	30.9	28	25.7	24	20.4	18.7	16.7
			28.1-38.4	27.8-37.7	28.1-38.4	28.0-38.6	25.7-35.9	27.5-37.9	26.6-35.8	27.7-35.7	29.2-36.0	30.0-36.4	27.7-34.2	24.6-31.3	22.3-29.1	20.8-27.1	17.9-23.1	16.4-21.1	14.6-19.1
	Yixiu District	340811	29.6	29	27.8	25.6	21.7	22	21.6	18.7	17.6	15.9	15.4	14.1	12.6	12.3	10.9	10.2	9.5
			24.7-34.8	24.4-33.7	23.8-32.1	22.1-29.2	18.9-24.5	19.2-24.5	19.1-24.1	16.7-20.8	15.7-19.4	14.4-17.6	13.8-17.0	12.6-15.6	11.3-14.1	10.9-13.8	9.7-12.2	9.0-11.5	8.3-10.9
	Yongqiao District	341302	29	28.4	26.9	27.6	25	23.5	22.2	19.1	17.7	17.9	17.3	17.6	20.1	19.2	17.2	15.7	13.4
			21.2-39.1	21.2-37.5	20.8-34.7	22.0-34.5	20.4-30.3	19.8-27.6	19.3-25.2	17.1-21.3	16.0-19.6	16.0-19.9	15.1-19.8	14.8-20.8	16.2-24.6	14.7-24.2	12.6-22.6	10.9-21.3	9.0-18.8
	Yu'an District	341503	25.1	23.1	21.9	19.9	17.1	15.1	13.9	11.6	11.5	11.9	12.3	12.5	12.2	11	10.4	9.7	9.2
			21.3-28.9	19.7-26.3	19.0-24.8	17.3-22.3	15.0-19.1	13.3-16.9	12.3-15.6	10.2-12.9	10.2-12.8	10.7-13.2	11.0-13.7	11.2-13.9	10.9-13.7	9.7-12.3	9.3-11.7	8.5-10.9	8.1-10.5
	Yuexi County	340828	51.1	52.8	49.8	49.7	45.9	43	40.1	40.5	36.4	31.6	25.5	21.5	17.9	16.3	15.8	15	15.1
			44.0-58.1	45.5-60.2	43.0-56.4	43.2-56.1	40.2-51.9	37.5-48.2	35.3-45.0	35.8-45.1	32.4-40.4	28.5-34.7	23.0-28.1	19.3-23.8	16.0-19.9	14.5-18.3	14.0-17.8	13.2-17.0	13.2-17.3
	Yuhui District	340304	48.9	49.2	48.4	44.1	38.7	40.9	39.6	37.8	33.3	29.5	24.4	20.8	16.1	15.9	14.2	14.3	14.5
			42.1-55.7	42.4-56.2	41.7-55.1	38.3-50.0	33.5-43.9	35.6-46.2	34.5-44.7	33.2-42.6	29.4-37.1	26.3-32.6	22.0-27.0	18.7-23.1	14.4-17.9	14.2-17.8	12.7-15.9	12.7-16.1	12.7-16.6
	Yushan District	340504	20.2	19.3	18	15.3	13.4	13.4	12.5	11.8	14.2	14.3	15	16.4	14.8	13.6	11.8	10.8	9.8
			16.5-23.9	15.8-22.9	14.7-21.4	12.5-18.4	11.0-16.2	11.0-16.1	10.4-14.8	10.1-13.8	12.5-16.1	12.7-16.2	13.3-16.9	14.3-18.6	12.8-16.8	11.8-15.4	10.3-13.3	9.4-12.2	8.6-11.3
	Zongyang County	340823	52.3	51.3	49.9	49.1	47.2	39.2	36.1	37.2	32.5	29.3	25.8	21.2	15.4	13	12.6	11.7	11.2
			42.6-62.8	42.5-60.8	42.3-58.2	42.4-56.2	40.9-53.8	34.2-44.4	30.9-41.2	31.7-43.1	27.5-37.9	24.8-34.2	21.9-30.2	18.3-24.7	13.3-17.7	11.4-14.7	11.2-14.2	10.3-13.2	9.8-12.8
Beijing	Changping District	110114	14.4	13.8	13	14.7	14.7	13.9	12.2	11.4	9.3	8.3	7.7	7.5	6.9	6.6	6.2	5.7	5.3
			9.9-19.8	9.8-18.6	9.6-17.2	11.2-18.9	11.6-18.4	11.5-16.6	10.5-14.0	10.2-12.6	8.4-10.2	7.3-9.4	6.5-9.2	5.9-9.3	5.3-8.9	4.8-8.7	4.3-8.4	3.8-7.9	3.5-7.6
	Chaoyang District	110105	11.9	11.2	10.7	9.7	8.8	8.2	7.5	6.6	6.5	6.2	5.8	5.7	5.4	5.1	5.1	4.9	4.8
			10.3-13.7	9.7-12.9	9.3-12.4	8.4-11.1	7.6-10.0	7.2-9.3	6.6-8.4	6.0-7.3	6.0-7.1	5.7-6.7	5.3-6.2	5.3-6.2	5.0-5.9	4.7-5.7	4.6-5.6	4.5-5.5	4.3-5.3
	Daxing District	110115	13.3	12.4	12	11.3	11.6	11.1	10.7	9.8	9.1	9.5	8.5	7.2	6.5	6.1	5.4	4.9	4.6
			11.5-15.4	10.8-14.3	10.5-13.8	9.8-13.0	10.1-13.3	9.7-12.6	9.5-12.1	8.7-10.8	8.3-10.0	8.7-10.3	7.8-9.3	6.6-7.9	5.9-7.1	5.6-6.7	4.9-5.9	4.5-5.5	4.1-5.1
	Dongcheng District	110101	12.5	11.3	10.8	9.7	8.8	9.6	9.3	7.8	7.3	6.7	5.7	5.4	5.3	5.2	4.8	4.7	4.5
			10.8-14.6	9.8-13.1	9.3-12.4	8.3-11.1	7.6-10.0	8.4-10.8	8.3-10.4	7.0-8.6	6.7-8.0	6.2-7.3	5.2-6.2	4.9-5.9	4.8-5.9	4.7-5.9	4.2-5.4	4.2-5.3	4.0-5.1
	Fangshan District	110111	15	14	13.2	12.9	12.1	10.8	9.4	9	8.3	7.6	7.7	7.4	7	6.9	6.2	5.9	5.8
			13.0-17.4	12.1-16.3	11.3-15.4	11.1-15.2	10.4-14.2	9.3-12.6	8.2-10.7	8.0-10.0	7.6-9.1	6.9-8.3	6.9-8.6	6.5-8.4	6.2-8.0	6.1-7.8	5.5-7.0	5.3-6.6	5.2-6.4
	Fengtai District	110106	13.2	13.2	12.6	11.5	10.5	10.3	9.4	9.8	9.8	8.9	8.6	7.6	6.9	6.3	5.4	5	4.6
			8.9-18.6	9.1-18.2	8.9-17.0	8.5-15.3	8.0-13.6	8.2-12.8	7.8-11.1	8.6-11.1	8.9-10.6	8.1-9.7	7.7-9.7	6.6-8.8	5.7-8.3	5.0-7.9	4.1-7.0	3.6-6.7	3.2-6.3
	Haidian District	110108	13.8	13.2	12	11.1	9.6	9.4	8.6	7.5	7	6.2	5.6	5.1	4.9	5	4.7	4.6	4.4
			11.8-16.1	11.2-15.4	10.2-14.1	9.4-12.9	8.2-11.3	8.2-11.0	7.6-9.8	6.8-8.3	6.4-7.6	5.7-6.7	5.1-6.2	4.5-5.8	4.3-5.6	4.3-5.7	4.1-5.3	4.0-5.2	3.9-5.0
	Huairou District	110116	13.5	12.9	12.8	12	12.3	11.3	10.4	9.8	9.9	9.1	8.3	8.3	8	7	6.4	5.9	5.3
			11.4-15.9	11.0-15.2	10.9-14.9	10.3-13.9	10.5-14.2	9.8-13.0	9.2-11.7	8.8-11.0	9.0-10.9	8.3-9.9	7.6-9.0	7.6-9.1	7.2-8.8	6.4-7.8	5.7-7.1	5.2-6.6	4.7-5.9
	Mentougou District	110109	16.9	16	15.2	14.6	13.7	12.7	13	12.4	11.4	10.8	10.8	9.9	9	8.3	7.5	6.7	6.3
			14.0-20.0	13.4-18.9	12.8-17.8	12.5-17.1	11.6-15.9	10.9-14.6	11.3-14.8	11.0-13.8	10.4-12.5	9.9-11.7	9.9-11.7	9.1-10.7	8.3-9.9	7.6-9.2	6.8-8.3	6.1-7.5	5.7-7.0
	Miyun County	110228	14.4	14.4	14.2	14.2	14.5	13.2	12.5	10.9	9.1	7.8	7.9	7.5	7.1	6.6	7	6.3	5.9
			12.4-16.7	12.5-16.7	12.2-16.5	12.1-16.5	12.4-16.8	11.4-15.3	11.0-14.2	9.8-12.1	8.4-9.9	7.2-8.5	7.2-8.7	6.7-8.5	6.2-8.0	5.8-7.5	6.3-7.9	5.6-6.9	5.3-6.5
	Pinggu District	110117	16	15.8	15	14.7	15.9	13.2	11.3	10.8	10.6	10.4	9.3	9	9.2	8.3	8.7	8.1	8.1
			13.7-18.7	13.5-18.3	12.8-17.4	12.6-17.0	13.7-18.3	11.5-15.0	10.0-12.6	9.7-11.9	9.7-11.6	9.6-11.3	8.6-10.1	8.3-9.8	8.4-10.1	7.6-9.2	7.9-9.7	7.3-9.0	7.3-9.0
	Shijingshan District	110107	13.1	12.5	11.7	11	10.1	10.6	12.1	12.4	12	11.5	8.5	7.2	6.8	6.7	6.3	6	5.9
			11.1-15.5	10.6-14.7	10.0-13.7	9.4-12.8	8.6-11.7	9.2-12.2	10.6-13.6	11.0-13.8	11.0-13.2	10.6-12.5	7.7-9.2	6.6-7.9	6.2-7.5	6.1-7.5	5.7-7.0	5.4-6.7	5.2-6.5
	Shunyi District	110113	10.4	10.1	9.2	9.2	9.2	8.4	7.5	7.5	7.1	7.1	7	6.9	7	6.9	6.5	6	5.7
			9.0-12.1	8.7-11.7	8.0-10.6	7.9-10.5	8.0-10.5	7.4-9.5	6.6-8.4	6.8-8.3	6.5-7.7	6.6-7.7	6.5-7.5	6.4-7.5	6.5-7.7	6.3-7.5	6.0-7.2	5.4-6.7	5.1-6.3
	Tongzhou District	110112	13.8	13.4	13.3	12	12.1	10.3	10.1	9.2	9.5	8.9	8.2	7.5	7.3	6.5	6.8	6.5	6.4
			11.9-16.1	11.6-15.5	11.5-15.3	10.3-13.7	10.5-13.8	9.0-11.6	9.0-11.3	8.3-10.2	8.7-10.3	8.2-9.7	7.6-8.9	6.9-8.1	6.8-8.0	6.0-7.2	6.2-7.5	5.9-7.2	5.7-7.0
	Xicheng District	110102	10.6	10	10.3	10.1	9.1	9.3	9.6	8.6	7.3	7.1	6.4	5.9	5.1	4.7	4.7	4.5	4.2
			9.1-12.4	8.6-11.6	8.9-11.9	8.7-11.6	7.9-10.4	8.2-10.5	8.6-10.7	7.7-9.4	6.7-8.0	6.6-7.7	5.9-6.9	5.4-6.4	4.7-5.7	4.2-5.2	4.2-5.3	4.0-5.1	3.7-4.7
	Yanqing County	110229	19.2	18	16.1	14	12	10.9	10.2	9.7	9.3	8.4	8.1	7.9	6.7	6.6	6.2	5.6	5.1
			16.5-22.4	15.5-20.7	13.8-18.6	12.1-16.2	10.3-13.7	9.5-12.4	8.9-11.4	8.7-10.8	8.4-10.2	7.6-9.2	7.4-8.9	7.2-8.8	6.0-7.4	5.9-7.5	5.5-7.0	4.9-6.3	4.5-5.8
Chongqing	Banan District	500113	30.8	30.4	26.3	29.1	28.6	26.4	24.2	22.8	20.3	16.5	14.8	13.1	11.3	10	10.1	9.7	9.4
			27.0-34.9	26.6-34.4	23.3-29.6	25.9-32.6	25.6-31.8	23.9-29.3	22.0-26.5	21.0-24.8	18.7-21.9	15.2-17.8	13.6-16.0	11.9-14.2	10.2-12.4	9.0-11.1	9.1-11.3	8.6-11.0	8.2-10.7
	Beibei District	500109	31	30.1	27.1	29.7	27.4	27.1	22.6	19.9	19.1	17.7	15.8	15.6	14.3	12.4	11	10.3	9.7
			27.2-35.2	26.5-34.1	24.0-30.6	26.4-33.3	24.6-30.6	24.5-30.0	20.7-24.9	18.3-21.6	17.6-20.6	16.4-19.2	14.5-17.0	14.2-16.9	13.0-15.7	11.2-13.7	9.9-12.3	9.1-11.6	8.5-11.0
	Bishan County	500227	32.4	32	28.4	31.2	29.9	27.6	28	25.4	23.2	22.7	21.7	20.3	20.6	19.8	19.5	17.7	16.5
			28.0-37.5	27.5-36.8	24.3-32.9	26.4-36.3	25.3-34.8	23.6-32.0	24.2-32.0	22.5-28.6	21.0-25.5	20.5-24.9	19.5-24.0	17.8-22.8	18.0-23.3	17.2-22.2	17.1-21.9	15.6-19.8	14.4-18.8
	Changshou District	500115	28.7	28.3	26.2	27.7	26.4	25.8	22.1	18.8	16.9	16.7	15.7	15.3	14.8	14.6	13.4	12.1	11.2
			25.1-32.6	24.9-32.2	23.1-29.5	24.6-31.1	23.7-29.5	23.3-28.5	20.1-24.3	17.3-20.4	15.6-18.2	15.4-18.1	14.4-17.0	14.0-16.7	13.4-16.2	13.2-16.1	12.0-15.0	10.7-13.6	9.8-12.7
	Chengkou County	500229	60.8	56.7	51.4	50.7	48.3	45.2	46	43.4	43.9	41.7	39.2	38.7	38.2	35.7	33.8	31.7	30.4
			42.9-84.0	40.4-77.7	37.3-69.8	38.0-67.0	37.1-61.9	36.3-56.0	38.7-54.8	38.3-48.9	40.3-47.7	38.4-45.3	35.0-43.8	33.3-44.7	31.5-45.7	27.9-44.7	25.3-43.3	22.8-42.0	21.3-41.5
	Dadukou District	500104	25.4	22.7	20	19.5	18.3	14.4	12.7	11.3	9.5	8.4	8.3	7.1	6.3	6.1	5.9	5.9	5.7
			21.1-30.4	18.8-27.2	16.4-24.2	15.8-23.8	14.6-22.5	11.5-17.6	10.4-15.4	9.3-13.6	7.9-11.4	7.0-10.1	6.9-10.0	5.7-8.6	5.1-7.6	5.0-7.2	4.9-7.1	5.0-7.0	4.8-6.8
	Dianjiang County	500231	52.3	48.9	41.4	40.6	34.8	29.3	24.6	21.5	21	21.3	22.1	22.9	22.1	20.8	20.2	18.6	17.4
			42.3-63.4	41.2-58.0	35.6-48.4	35.1-47.1	30.0-40.4	25.3-34.0	21.1-29.1	18.2-25.6	17.7-25.1	17.9-25.5	18.7-26.4	19.6-27.2	18.9-25.7	18.0-23.9	17.7-22.9	16.5-21.0	15.3-19.9
	Fengdu County	500230	52.6	49.4	43.4	45.6	41.7	36.9	35.7	32.1	30.8	30.2	26.1	22.8	19.9	17.2	16	15.6	14.7
			46.2-59.4	43.2-56.0	37.9-49.5	39.8-51.7	36.7-47.0	32.8-41.2	31.8-39.6	29.0-35.3	28.1-33.7	27.7-32.6	24.1-28.3	20.9-24.9	18.0-21.7	15.5-19.0	14.3-17.9	13.8-17.5	13.0-16.8
	Fengjie County	500236	84.6	76.1	70.3	55.1	43.2	36.3	29.4	25.5	22.7	21.3	22.2	24.6	25.1	24.6	23	21.4	20.3

Province	County	County Code (2012)	Under-5 Mortality Rate (per 1000 births)																
			1996	1997	1998	1999	2000	2001	2002	2003	2004	2005	2006	2007	2008	2009	2010	2011	2012
			69.3-101.2	64.5-89.9	60.5-81.8	47.7-63.7	37.2-50.2	31.3-42.2	25.1-34.7	21.5-30.6	19.0-27.5	17.7-25.7	18.5-26.7	20.7-29.4	21.2-29.4	21.3-28.3	20.2-26.0	19.0-24.1	17.8-23.1
	Fuling District	500102	49.4	47.7	48.5	44	41.3	38.9	35.1	30	28.3	24.9	21.4	22.2	20.6	18.5	18.2	17.2	16.1
			43.4-56.0	41.9-54.1	42.9-54.5	39.1-49.3	37.2-46.1	35.2-43.1	32.0-38.5	27.6-32.6	26.2-30.5	23.0-26.9	19.7-23.2	20.3-24.2	18.8-22.7	16.8-20.5	16.3-20.4	15.3-19.4	14.2-18.3
	Hechuan District	500117	29	28.3	25.9	27.1	28.2	26.8	26.6	25.8	23.6	21.6	18.9	17.9	16.3	15	14.3	13.8	13
			25.3-32.9	24.9-32.2	22.9-29.3	24.0-30.5	25.3-31.6	24.2-29.8	24.3-29.2	23.7-28.1	21.7-25.6	19.9-23.3	17.3-20.5	16.3-19.5	14.8-17.9	13.6-16.7	12.8-16.0	12.2-15.5	11.4-14.9
	Jiangbei District	500105	22.7	22.1	19.1	19.3	18.7	17.7	16.3	15.1	14.8	12.6	12.6	12.4	10.7	8.8	7.9	7.3	6.6
			19.5-26.3	19.0-25.7	16.3-22.2	16.4-22.5	15.8-21.8	15.2-20.5	14.1-18.6	13.3-16.9	13.3-16.3	11.4-13.9	11.3-14.0	10.8-14.0	9.3-12.2	7.6-10.0	6.9-8.9	6.4-8.3	5.8-7.6
	Jiangjin District	500116	31.4	31.6	27.3	28.7	28.2	27.2	27.2	26.7	27.1	26.4	24.2	22.4	20.2	17.9	16.9	15.5	14.4
			27.5-35.7	27.7-36.0	23.9-31.1	25.3-32.7	24.9-31.8	24.2-30.5	24.1-30.4	24.0-29.9	24.4-30.0	23.9-29.0	21.9-26.7	20.2-24.9	18.1-22.6	15.9-20.1	14.9-19.2	13.6-17.7	12.6-16.5
	Jiulongpo District	500107	22.3	21.3	19.9	21.2	19.9	18.2	17.2	16.3	15.5	14.7	15	13.4	11.7	10.6	9	8.5	8
			19.5-25.6	18.5-24.3	17.1-22.8	18.2-24.6	17.0-23.1	15.7-21.0	15.0-19.5	14.5-18.1	14.2-16.9	13.5-16.1	13.6-16.4	11.9-14.9	10.3-13.2	9.3-11.9	8.0-10.2	7.5-9.6	7.0-9.1
	Kai County	500234	61.4	56.4	56.3	52.6	52.4	49.3	47.8	47.1	41.3	37.6	34.1	30	25.6	23.9	20.9	19	17.4
			53.2-70.8	48.8-64.6	49.2-64.5	46.1-59.6	46.6-58.8	44.3-54.8	43.7-52.5	43.5-51.0	38.3-44.4	34.8-40.5	31.5-36.8	27.4-32.6	23.3-28.1	21.7-26.5	18.7-23.4	16.8-21.4	15.3-19.8
	Liangping County	500228	45.4	43	38	39	47.3	44.6	41.1	34.7	27.5	20	18	16.1	15.4	16.4	16.4	16	15.5
			39.5-52.0	37.6-48.8	33.4-43.4	34.5-44.1	42.1-52.9	40.3-49.5	37.3-45.1	31.8-37.8	25.3-29.8	18.3-21.8	16.4-19.8	14.5-17.9	13.8-17.1	14.6-18.4	14.6-18.4	14.2-18.1	13.6-17.8
	Nan'an District	500108	26.8	25.2	21.2	19.7	16.5	14.2	11.8	9.5	8.6	8.7	8.2	7.9	7.1	6.5	5.8	5.5	5
			23.2-30.9	21.7-29.0	18.1-24.5	16.6-23.0	13.8-19.3	11.9-16.6	10.0-13.8	8.2-10.9	7.5-9.8	7.6-10.0	7.1-9.4	6.7-9.1	6.0-8.3	5.5-7.5	4.9-6.7	4.7-6.3	4.4-5.9
	Nanchuan District	500119	45.7	46.8	41.1	45.1	44.6	40	33.6	28.4	24.9	20.2	18.9	18.5	15.7	14	13.4	12.3	11.1
			39.7-52.5	40.9-53.1	36.1-46.8	39.8-50.8	39.7-49.9	36.1-44.3	30.7-36.8	26.2-30.8	23.0-26.8	18.7-21.8	17.4-20.5	16.9-20.2	14.3-17.3	12.7-15.5	12.0-15.0	10.9-13.9	9.7-12.6
	Tujiazu Zizhixian	500243	97.9	101.1	110.4	96.1	94.5	83.7	73	58.6	57.4	52.2	47.4	43.3	39.9	34.1	27.4	25.1	23.1
			85.9-111.3	88.8-115.0	96.4-125.6	84.0-109.7	82.6-107.1	73.4-94.4	64.0-82.1	52.2-65.6	51.5-63.4	47.2-57.2	43.2-51.7	39.7-47.4	36.2-43.8	30.9-37.8	24.5-30.7	22.3-28.3	20.4-26.4
	Qianjiang District	500114	45.9	46	42.6	45	43.3	41.1	38.8	33.6	32.1	29.6	26.5	24.3	21.8	19.6	18.4	17.1	16.2
			40.3-51.9	40.3-51.8	37.6-47.8	39.9-50.4	38.6-48.3	37.0-45.7	35.3-42.7	30.8-36.5	29.5-34.7	27.3-32.0	24.4-28.8	22.2-26.4	19.8-23.9	17.7-21.7	16.5-20.6	15.1-19.2	14.2-18.4
	Rongchang County	500226	30.7	31.1	27.7	29.9	28.1	26.1	24.6	20.8	19.2	18	16.8	15.6	14.8	14.4	14.8	14.6	14.4
			27.0-34.7	27.2-34.9	24.3-31.2	26.3-33.7	24.9-31.6	23.2-29.1	22.2-27.2	18.9-22.8	17.5-21.1	16.4-19.7	15.2-18.5	14.0-17.2	13.2-16.4	12.8-16.2	13.0-16.8	12.8-16.6	12.5-16.5
	Shapingba District	500106	22.9	22.4	19.8	21.1	19.6	19	17.7	16.1	13.7	14.3	13.2	12.8	11.4	11.3	9.3	9.4	8.9
			19.8-26.3	19.4-25.6	17.0-22.8	18.1-24.5	16.7-22.8	16.3-21.9	15.3-20.2	14.3-18.1	12.4-15.0	13.0-15.7	11.9-14.6	11.2-14.4	10.0-12.9	9.8-12.7	8.2-10.5	8.3-10.6	7.8-10.2
	Zizhixian	500240	65	62.9	63.8	57.6	52.2	47.9	43.2	38.8	34.7	35.2	29.9	29	27.4	24.3	21	19.8	18.3
			46.3-89.0	45.3-84.9	47.0-84.0	43.9-74.2	41.4-65.4	39.6-58.1	37.1-50.4	34.2-44.1	30.9-38.7	31.1-39.8	25.6-34.5	23.8-35.0	21.6-34.5	18.1-31.9	15.0-28.7	13.6-28.2	12.1-26.5
	Shuangqiao District	500111	53.6	51.3	44.3	44.2	39.8	34.6	31	27.4	24.2	19	16.7	13.9	12.8	12.4	12.3	11.7	11
			43.5-65.2	42.7-61.2	38.3-51.3	39.0-50.0	35.5-44.4	30.8-38.6	27.4-35.1	23.8-31.5	20.5-28.4	16.0-22.8	14.1-20.1	11.7-16.6	10.9-15.2	10.7-14.4	10.7-14.1	10.2-13.4	9.6-12.6
	Tongliang County	500224	30.6	30.2	26.1	27.9	27.5	25.5	23.3	21.6	19.5	16.1	15.2	14.6	13.9	14.1	15.1	14	13.7
			26.8-34.8	26.5-34.2	22.9-29.5	24.7-31.3	24.6-30.7	23.0-28.3	21.2-25.6	19.8-23.5	18.0-21.1	14.8-17.4	14.0-16.5	13.3-15.9	12.6-15.2	12.8-15.7	13.5-16.9	12.5-15.8	12.0-15.6
	Tongnan County	500223	39.9	39.2	35.2	36.2	36.4	34.4	30.9	24.6	21.2	18.2	15.2	13.8	13.7	12.5	11.7	11.2	10.9
			34.9-45.4	34.4-44.5	31.0-39.7	32.1-40.6	32.7-40.7	31.1-38.0	28.2-33.8	22.6-26.8	19.5-22.9	16.7-19.8	13.9-16.5	12.5-15.1	12.3-15.0	11.2-13.9	10.4-13.1	9.9-12.6	9.5-12.4
	Wansheng District	500110	34.2	32.8	29.5	29.8	29.3	26.9	27.7	28.3	24.6	23.6	22.2	19.8	19	17.9	18	17.7	16.9
			30.0-38.9	28.8-37.2	25.8-33.3	25.9-34.0	25.7-33.3	23.7-30.4	24.8-31.0	25.6-31.3	22.7-26.7	21.8-25.5	20.2-24.3	18.0-21.9	17.1-21.0	16.1-20.1	16.1-20.2	15.7-19.9	14.9-19.3
	Wanzhou District	500101	37.9	38.1	31.3	31.2	30.3	29.4	27.7	26.6	26.8	24.8	23.5	23.6	22	19.4	17.9	16.5	15.6
			33.3-42.8	33.5-43.1	27.6-35.2	27.6-35.0	26.9-34.1	26.3-32.9	25.0-30.7	24.2-29.2	24.4-29.5	22.5-27.3	21.2-26.0	21.2-26.2	19.7-24.5	17.2-21.8	15.8-20.4	14.5-18.8	13.6-17.9
	Wulong County	500232	75.5	72.9	63	62.5	58.4	50.3	43.8	37.9	35	29.2	25.9	24.6	23.8	21.5	21.4	19.9	19.2
			66.3-85.5	64.1-82.4	55.8-70.9	55.4-69.9	52.3-65.0	45.4-55.7	39.9-48.0	34.9-41.2	32.2-37.8	26.9-31.6	23.7-28.0	22.4-26.9	21.6-26.2	19.5-23.8	19.2-23.9	17.6-22.4	16.9-22.0
	Wushan County	500237	73	70.8	67.4	57.6	50.9	47.7	41.9	37.9	35.3	31	26.8	25	19.6	18	16.5	15.5	15.1
			64.2-82.4	62.2-79.9	59.6-75.6	51.2-64.5	45.6-56.8	43.2-52.9	38.2-45.9	34.8-41.2	32.6-38.1	28.6-33.6	24.6-29.1	22.7-27.3	17.7-21.6	16.1-20.0	14.7-18.4	13.8-17.5	13.2-17.2
	Wuxi County	500238	65.7	63	63.9	61.3	63.4	61	61.6	59	53.4	52.7	47.3	39.4	36.2	30.7	25.9	23.1	21.2
			56.7-76.0	54.2-72.7	54.5-74.2	52.1-71.4	53.9-73.9	52.6-70.6	53.9-69.8	53.0-65.6	49.1-58.1	48.6-57.2	42.9-51.5	35.0-43.7	31.9-40.6	27.0-34.5	22.8-29.2	20.3-26.0	18.5-24.2
	Zizhixian	500241	73.7	69.4	67.4	58.1	53.4	47.9	42.7	38.4	37.7	33.5	32.3	27.6	25.3	22.5	22	21.8	21.2
			55.8-94.3	53.7-87.3	53.6-83.1	47.8-69.9	44.9-62.5	41.6-54.4	37.6-48.1	34.1-43.0	33.6-42.0	29.8-37.6	28.4-36.7	23.7-31.9	21.1-30.2	18.1-27.6	16.9-28.0	16.1-28.6	15.1-28.3
	Yongchuan District	500118	33.5	32.8	29.4	30.6	28.7	25.5	22.9	19.1	17.8	16.8	15	14.2	13.2	12.8	12.7	12.3	11.8
			27.0-40.7	27.2-39.1	25.2-34.2	26.8-35.0	25.4-32.1	22.6-28.5	20.1-25.7	16.5-21.8	15.2-20.9	14.3-20.0	12.8-17.8	12.2-16.7	11.5-15.3	11.2-14.5	11.2-14.3	10.9-13.9	10.3-13.4
	Miaozu Zizhixian	500242	96.2	94.9	88.4	73.5	64.8	55.4	47.5	39.4	35.9	33.7	34.4	29.8	27.9	25	23.6	22.3	21.2
			83.9-110.0	83.0-107.7	77.7-100.3	64.9-82.8	57.7-72.6	49.4-61.5	42.6-52.5	35.4-43.7	32.3-40.0	29.9-38.1	30.0-38.9	25.8-34.3	24.0-32.0	21.6-28.7	20.3-27.2	19.3-25.9	18.2-24.8
	Yubei District	500112	27.1	26.1	23.7	23.3	23.5	23.2	20.4	18.3	17.1	15.6	12.8	11.6	9.7	8.9	8.4	8.2	8.1
			23.7-30.7	22.9-29.6	20.8-26.7	20.6-26.1	21.0-26.2	20.9-25.7	18.5-22.4	16.8-20.0	15.8-18.5	14.3-16.9	11.7-14.0	10.5-12.8	8.7-10.7	8.0-9.9	7.5-9.4	7.2-9.2	7.1-9.2
	Yunyang County	500235	67.4	61.4	57.1	42.2	41.5	36.9	35.2	31.2	26.6	21	19.4	14	15	16.6	18.3	18	18.1
			58.8-76.9	53.4-69.9	49.2-65.6	36.0-49.2	35.1-48.4	31.3-42.8	30.2-40.5	27.2-35.6	23.5-30.0	18.5-23.8	17.0-22.1	11.9-16.0	12.7-17.2	14.2-19.1	15.6-20.9	15.6-20.6	15.6-20.8
	Yuzhong District	500103	24.4	22.7	19.8	20.6	17.7	15.8	15	13.1	11.1	11.2	9.4	8.3	7.3	6.3	5.7	5.3	4.9
			21.3-27.9	19.7-25.9	17.1-22.8	17.7-23.9	15.1-20.5	13.6-18.3	13.1-17.0	11.7-14.7	10.1-12.1	10.2-12.2	8.4-10.3	7.3-9.2	6.3-8.2	5.5-7.2	5.0-6.4	4.7-6.0	4.3-5.6
	Zhong County	500233	65.1	63.6	61.5	54.3	45.7	39.9	35.6	31.2	29	27.6	26.1	23.8	22.9	21.7	21.4	20.1	19
			52.6-79.1	53.1-75.7	53.1-71.2	48.0-61.5	41.0-51.0	35.5-44.3	31.3-40.3	26.9-35.8	24.7-34.2	23.4-33.0	22.3-31.4	20.3-28.1	19.9-26.6	19.1-24.7	18.9-24.0	17.8-22.7	16.7-21.6
Fujian	Anxi County	350524	65.2	59	55.7	49.1	40.1	35.7	32.6	27.6	24.9	22.7	20.4	17.4	14.4	12.7	11.6	10.9	10.3
			53.2-79.7	48.9-70.7	47.1-65.2	42.3-56.6	34.7-45.6	31.1-40.5	28.3-37.0	23.8-31.7	21.2-28.7	19.4-26.2	17.6-23.7	15.1-20.1	12.7-16.4	11.4-14.2	10.5-12.8	9.9-12.0	9.3-11.4
	Cangshan District	350104	16.3	15.5	14.3	12.8	10.9	11.5	11.3	9.8	9.3	10.6	9.5	8.7	8.3	8.2	7.8	7.8	7.6
			12.2-21.3	11.8-19.8	11.2-18.1	10.2-15.9	8.9-13.1	9.7-13.3	9.8-12.8	8.7-10.9	8.4-10.3	9.5-11.7	8.4-10.7	7.5-10.1	6.9-9.8	6.7-9.9	6.1-9.7	5.9-10.0	5.6-9.9
	Changle City	350182	27	24.8	22.9	19.9	18.5	16.8	15.6	14.9	13.5	12.7	12.5	11.8	10.9	10.2	9.5	8.8	8.3
			21.7-33.0	20.5-29.7	19.3-26.8	17.3-22.7	16.1-20.9	14.7-18.8	13.5-17.8	12.7-17.3	11.5-15.7	10.9-14.9	10.6-14.6	10.3-13.7	9.6-12.4	9.2-11.4	8.7-10.5	8.0-9.7	7.5-9.1

Province	County	County Code (2012)	Under-5 Mortality Rate (per 1000 births)																
			1996	1997	1998	1999	2000	2001	2002	2003	2004	2005	2006	2007	2008	2009	2010	2011	2012
	Changtai County	350625	35.9	33.4	31.9	30	26.9	22.2	20.9	20.2	18.7	17.6	16.3	14.5	12.7	11.7	11	10.1	9.3
			30.4-41.8	28.3-38.6	27.2-36.7	25.5-34.4	23.0-30.9	19.0-25.3	18.2-23.6	18.0-22.5	16.9-20.6	16.1-19.3	14.8-18.0	13.0-16.2	11.2-14.3	10.4-13.2	9.8-12.4	8.9-11.3	8.3-10.3
	Changting County	350821	47.5	46.2	43.9	40.8	38.5	33.6	29.8	26.3	24	21.7	19	16.7	15.3	13.9	12.7	11.9	11
			40.2-55.1	39.3-53.0	37.8-50.4	35.3-46.5	33.3-43.9	29.4-37.9	26.4-33.5	23.5-29.4	21.5-26.6	19.7-23.8	17.3-20.8	15.3-18.4	14.0-17.0	12.7-15.5	11.6-14.1	10.8-13.1	10.0-12.1
	Chengxiang District	350302	21.2	21.8	22.2	22.3	20.4	20.7	19.2	18	17.4	16.1	15.5	15	14.1	13.1	12.3	11.2	10.5
			18.0-24.5	18.6-25.1	19.0-25.7	19.2-25.6	17.6-23.4	18.1-23.5	16.9-21.7	15.9-20.2	15.6-19.3	14.5-17.8	14.0-17.2	13.5-16.6	12.7-15.7	11.8-14.6	11.1-13.8	10.1-12.4	9.5-11.6
	Datian County	350425	69.2	62.6	56.5	52.9	46.6	39.8	36.6	33.9	30.3	25.4	24.1	23.6	22.3	19.2	18.5	16.9	15.7
			58.6-80.4	53.1-72.1	48.0-64.7	45.1-60.7	39.9-53.6	34.3-45.5	32.0-41.2	30.1-37.9	27.5-33.5	23.0-27.9	21.6-26.7	20.9-26.4	19.6-25.0	16.9-21.9	16.4-20.9	14.9-19.1	13.9-17.5
	Dehua County	350526	47.9	46.2	41.7	39.3	35.2	30.2	27.7	26.1	24.8	22.9	20.9	19.2	16.8	13.5	11.8	10.5	9.6
			40.6-55.8	39.4-53.1	35.5-47.5	33.8-44.4	30.8-39.6	26.8-33.7	24.9-30.8	23.5-28.6	22.6-27.2	20.8-25.1	19.0-23.1	17.4-21.4	15.1-18.9	12.1-15.1	10.6-13.2	9.4-11.8	8.6-10.8
	Dongshan County	350626	41.4	40.1	35.8	33.7	32.7	29.5	27.2	27.1	22.9	21.3	17.7	16.1	14.6	13.8	11.7	10.9	10.3
			35.1-48.3	34.0-46.3	30.4-41.1	28.7-38.8	27.9-37.6	25.3-33.7	23.8-30.7	24.2-30.4	20.7-25.2	19.3-23.3	15.9-19.6	14.2-18.0	12.8-16.4	12.1-15.7	10.3-13.2	9.6-12.4	9.1-11.6
	Fengze District	350503	18.4	17.8	18.2	16.4	16.6	15.9	15.5	14.4	15.5	12.9	11.7	11.5	10.8	10.8	10.1	9.9	9.5
			15.3-21.9	14.8-21.1	15.1-21.6	13.6-19.5	13.9-19.7	13.4-18.6	13.2-17.8	12.6-16.4	13.9-17.3	11.6-14.3	10.4-13.0	10.2-12.9	9.6-12.2	9.6-12.2	9.0-11.4	8.9-11.1	8.5-10.6
	Fu'an City	350981	31.2	29.4	26.3	25.2	24.1	21.6	19.5	20.9	20	17.1	16	15.5	13.6	13.2	13.2	13	12.4
			26.5-36.2	25.1-33.8	22.6-30.0	21.7-28.5	21.0-27.2	19.1-24.2	17.4-21.7	18.8-23.0	18.2-21.9	15.6-18.6	14.6-17.6	14.1-17.1	12.3-15.0	12.1-14.6	12.1-14.6	11.7-14.1	11.2-13.6
	Fuding City	350982	24.1	23.5	22.5	23.1	24.3	23.1	23.1	20.6	17.4	16.2	14	12.9	12.4	12	11.2	10.8	10.3
			20.4-28.0	20.0-27.1	19.2-25.7	19.9-26.1	21.2-27.4	20.5-25.9	20.8-25.6	18.6-22.6	15.9-18.9	14.9-17.6	12.9-15.4	11.8-14.2	11.3-13.7	10.9-13.2	10.2-12.4	9.7-11.9	9.2-11.3
	Fuqing City	350181	23.7	22.3	21.3	19.7	18.1	16.9	14.7	13.1	12.5	11.8	10.6	10	9.6	8.7	8.1	7.7	7.4
			19.1-29.0	18.4-26.8	18.0-25.0	17.1-22.4	15.8-20.4	14.7-19.0	12.7-16.7	11.2-15.1	10.6-14.5	10.0-13.8	9.0-12.3	8.7-11.5	8.6-11.0	7.9-9.7	7.4-8.9	7.0-8.5	6.6-8.1
	Guangze County	350723	28.3	27.1	26.5	26.5	25.9	23.6	23.1	20.9	20.1	18.8	18.1	17.3	15.7	14.6	14	13.1	12.5
			23.9-33.0	22.8-31.5	22.5-30.8	22.5-30.7	22.1-29.9	20.1-27.0	20.2-26.1	18.5-23.2	18.2-22.1	17.2-20.6	16.4-19.9	15.5-19.3	14.0-17.6	13.0-16.4	12.5-15.7	11.7-14.7	11.2-13.8
	Gulou District	350102	12.8	13.5	12	11.8	14.9	15.7	17.2	16.1	15.6	13.7	12.6	11.1	10.8	10	8.6	8.8	7.9
			9.3-17.1	10.0-17.8	9.0-15.6	9.2-15.1	12.0-18.3	12.9-18.7	14.5-20.0	14.0-18.2	13.9-17.3	12.2-15.3	11.1-14.3	9.5-13.0	9.0-13.0	8.0-12.4	6.6-10.8	6.5-11.3	5.8-10.4
	Gutian County	350922	41	37.5	34.5	34	31.4	29	26.2	23.3	19.2	17.8	16.5	15.1	15.1	14.6	13.9	13.4	12.9
			34.8-47.5	32.0-43.1	29.6-39.3	29.3-38.4	27.3-35.3	25.6-32.6	23.4-29.3	21.0-25.7	17.4-20.9	16.3-19.4	15.1-18.2	13.8-16.7	13.7-16.7	13.3-16.1	12.7-15.3	12.2-14.7	11.7-14.1
	Haicang District	350205	17.5	16.8	16.3	18.9	18	20.7	17.8	16.4	12.1	10.1	8.6	8.3	7.2	7.1	6.6	6.2	5.6
			14.4-20.9	13.7-20.1	13.4-19.8	15.4-23.0	14.7-22.0	17.1-24.9	14.9-21.1	13.9-19.0	10.5-13.8	8.8-11.4	7.4-9.8	7.1-9.6	6.2-8.4	6.1-8.2	5.7-7.6	5.4-7.1	4.9-6.4
	Hanjiang District	350303	21.2	21.8	22.2	22.3	20.4	20.7	19.2	18	17.4	16.1	15.5	15	14.1	13.1	12.3	11.2	10.5
			18.0-24.5	18.6-25.1	19.0-25.7	19.2-25.6	17.6-23.4	18.1-23.5	16.9-21.7	15.9-20.2	15.6-19.3	14.5-17.8	14.0-17.2	13.5-16.6	12.7-15.7	11.8-14.6	11.1-13.8	10.1-12.4	9.5-11.6
	Hua'an County	350629	43.2	41.8	39.6	34.5	29.6	27.5	24.2	22.1	20.5	17.2	16.6	14.7	13.5	13.1	12.9	11.3	10.3
			36.4-50.3	35.1-48.5	33.5-45.9	29.1-40.2	24.9-34.3	23.3-31.7	20.8-27.7	19.4-25.1	18.1-23.0	15.2-19.3	14.6-18.8	12.7-16.8	11.7-15.5	11.3-15.1	11.2-14.9	9.9-13.0	9.0-11.7
	Hui'an County	350521	26.1	23.9	21.8	20	19	18.2	17.5	17	16.2	15.3	14.8	13.4	12.2	10.9	10.2	9.3	8.5
			22.2-30.4	20.4-27.6	18.7-24.8	17.2-22.6	16.6-21.5	16.0-20.5	15.5-19.5	15.3-18.7	14.7-17.7	14.0-16.7	13.5-16.3	12.1-14.8	11.1-13.5	9.9-12.0	9.3-11.2	8.4-10.1	7.7-9.3
	Huli District	350206	13.7	14	13	11.2	11.1	10.9	9	8.6	9.5	9.2	9	10.4	10.6	10	8.4	7.5	6.8
			10.0-18.3	10.4-18.4	9.9-17.0	8.7-14.3	8.7-13.8	8.8-13.3	7.4-10.8	7.2-10.1	8.1-11.0	7.9-10.7	7.6-10.5	8.7-12.4	8.7-13.1	7.8-12.5	6.4-10.9	5.6-9.9	4.9-9.1
	Jian'ou City	350783	29.3	28	26.6	25.3	23.6	21.5	19.4	17.1	15.8	16	15.5	14.5	15.1	14.3	13.5	12.4	11.9
			24.8-34.1	23.8-32.4	22.7-30.4	21.9-28.6	20.5-26.5	18.9-24.1	17.3-21.7	15.4-18.9	14.3-17.3	14.6-17.5	14.1-17.1	13.1-16.0	13.6-16.8	13.0-15.9	12.3-14.9	11.2-13.6	10.8-13.0
	Jiangle County	350428	37.2	35.6	33.4	30.3	29	27.4	26.4	25.4	23.9	23.9	21.7	19.3	18.1	16.5	14.7	13.3	12.7
			31.5-43.2	30.1-41.2	28.4-38.5	25.8-34.9	24.8-33.3	23.5-31.3	23.2-29.8	22.6-28.2	21.6-26.1	22.0-26.1	19.8-23.8	17.3-21.3	16.2-20.2	14.8-18.5	13.2-16.4	12.0-14.8	11.4-14.0
	Jianning County	350430	41.8	39	36.3	36.3	34.3	31.1	28.2	27.9	25.4	24.1	22.2	20	18.4	16.3	14.1	12.8	12
			35.3-48.8	32.7-45.3	30.7-42.0	30.9-41.8	29.3-39.4	26.8-35.5	24.7-31.8	24.9-31.1	23.0-27.8	22.1-26.4	20.1-24.4	17.9-22.2	16.3-20.6	14.4-18.4	12.6-15.9	11.4-14.4	10.7-13.4
	Jianyang City	350784	24.6	24.6	24	23.4	21.7	21	20.3	18.1	18.4	18.2	17.6	16.8	17	15.8	15.1	14.3	13.7
			20.6-28.7	20.6-28.7	20.2-28.0	19.9-27.3	18.5-25.1	18.0-24.2	17.6-23.1	15.9-20.1	16.7-20.2	16.6-19.9	16.0-19.4	15.0-18.6	15.2-18.9	14.1-17.8	13.6-17.0	12.9-15.9	12.3-15.0
	Jiaocheng District	350902	29.4	29.4	26.7	27.1	26.9	25	22.4	18.9	16.6	14.5	12.4	11.7	10.9	10.6	9.8	9.9	9.5
			24.6-34.3	24.7-34.1	22.5-30.8	23.3-30.8	23.4-30.3	21.9-28.1	19.9-24.8	17.0-20.8	15.1-18.2	13.2-16.0	11.2-13.7	10.5-13.0	9.8-12.3	9.5-12.0	8.8-11.0	8.8-11.0	8.5-10.7
	Jimei District	350211	20.8	20	19	17.5	17.4	15.8	14.2	13.7	11.4	8.9	7.5	6.6	5.8	5.3	4.9	4.8	4.4
			14.7-28.6	14.3-27.2	13.8-25.6	13.0-23.2	13.1-22.5	12.1-20.0	11.2-17.8	11.0-16.6	9.4-13.5	7.4-10.5	6.3-8.8	5.5-7.9	4.8-7.1	4.3-6.6	3.8-6.2	3.6-6.1	3.2-5.8
	Jin'an District	350111	17	15.9	14.7	13.3	11.1	10.8	10.6	9.9	9.6	8.9	9	8	8.1	7.5	7.4	7.2	6.9
			12.6-22.3	12.0-20.8	11.4-18.8	10.5-16.7	9.0-13.6	8.9-12.8	9.0-12.3	8.6-11.2	8.6-10.7	8.0-10.0	8.0-10.2	6.9-9.4	6.8-9.7	6.0-9.2	5.8-9.3	5.4-9.2	5.0-9.0
	Jinjiang City	350582	25.6	24	22.7	21.5	20.5	19	17.4	16.8	14.9	13.9	12.4	11.2	10	9.7	9.1	8.7	8.4
			21.7-29.7	20.5-27.7	19.4-25.8	18.5-24.3	17.8-23.0	16.8-21.2	15.6-19.4	15.1-18.4	13.6-16.3	12.7-15.1	11.3-13.6	10.2-12.4	9.1-11.1	8.8-10.8	8.3-10.1	7.9-9.6	7.5-9.2
	Jinmen County	350527	25.4	24	23.2	23.2	21.3	20.9	18.5	17.5	15.9	14.8	14.4	13.4	12.4	11.2	10.3	9.8	9.3
			17.7-35.4	17.0-33.0	16.7-31.6	16.8-31.2	15.6-28.0	15.6-27.1	14.1-23.8	13.5-22.4	12.5-19.9	11.7-18.5	11.4-18.2	10.4-17.0	9.6-16.0	8.6-14.6	7.8-13.6	7.2-13.0	6.7-12.6
	Liancheng County	350825	53.3	51.4	48.8	45.5	40	34.2	29.3	24.4	20.7	18.1	15.2	13.2	13.2	13.2	12.1	11.3	10.4
			42.5-65.2	42.3-61.5	41.3-57.1	38.7-52.7	34.0-46.0	29.0-39.8	24.6-34.5	20.6-28.8	17.3-24.7	15.1-21.6	12.7-18.0	11.1-15.6	11.3-15.5	11.4-15.3	10.6-13.8	10.0-12.9	9.1-11.8
	Lianjiang County	350122	21.7	21.2	20.1	19	18.7	17.3	16.7	14.8	13.6	13.1	11.2	10.7	9.6	9.2	8.9	8.6	8.4
			18.4-25.2	18.1-24.5	17.2-22.9	16.4-21.5	16.3-21.1	15.3-19.3	15.0-18.6	13.3-16.2	12.4-14.8	12.0-14.2	10.3-12.3	9.8-11.8	8.8-10.7	8.4-10.2	8.1-9.8	7.8-9.5	7.6-9.2
	Licheng District	350304	21.2	21.8	22.2	22.3	20.4	20.7	19.2	18	17.4	16.1	15.5	15	14.1	13.1	12.3	11.2	10.5
			18.0-24.5	18.6-25.1	19.0-25.7	19.2-25.6	17.6-23.4	18.1-23.5	16.9-21.7	15.9-20.2	15.6-19.3	14.5-17.8	14.0-17.2	13.5-16.6	12.7-15.7	11.8-14.6	11.1-13.8	10.1-12.4	9.5-11.6
	Licheng District	350502	18	17.8	14.7	13.3	13.1	13.5	12	12.3	12.6	11.5	10.3	10.2	8.6	7.8	7.5	7.5	7.3
			15.0-21.3	14.7-21.1	12.2-17.6	11.0-15.9	10.8-15.8	11.2-16.1	10.0-14.1	10.5-14.2	10.9-14.5	9.9-13.1	8.9-11.8	8.7-11.8	7.3-9.9	6.7-9.0	6.5-8.8	6.5-8.7	6.4-8.4
	Longhai City	350681	26	25.3	23.7	22.5	22.6	21.7	21.3	20	18.2	17.1	14.7	13.6	12.1	11.1	9.7	8.9	8.3
			22.0-30.3	21.6-29.2	20.3-27.0	19.4-25.4	19.7-25.5	19.1-24.4	19.1-23.8	18.1-22.1	16.5-19.8	15.7-18.6	13.4-16.2	12.4-15.0	11.0-13.4	10.2-12.3	8.9-10.7	8.1-9.7	7.5-9.1
	Longwen District	350603	23.7	22.7	23.2	21.7	20.7	17.7	17.7	16.9	16.1	15.2	15	13.8	12.5	11.3	10.2	9	8.1

Province	County	County Code (2012)	Under-5 Mortality Rate (per 1000 births)																
			1996	1997	1998	1999	2000	2001	2002	2003	2004	2005	2006	2007	2008	2009	2010	2011	2012
			19.7-28.0	18.9-26.8	19.4-27.3	18.2-25.5	17.5-24.2	15.0-20.5	15.2-20.2	14.8-19.0	14.4-17.8	13.8-16.7	13.5-16.6	12.3-15.3	11.1-14.0	10.1-12.8	9.1-11.5	8.0-10.1	7.2-9.0
	Luojiang District	350504	25	25.1	25.9	24.5	22.9	21.9	19.5	18.7	19.2	16.1	14.5	13.4	11.9	10.9	10	9.5	8.7
			21.0-29.3	21.1-29.1	21.9-29.8	21.1-27.9	20.0-25.7	19.3-24.5	17.4-21.6	17.0-20.6	17.5-20.9	14.8-17.6	13.3-16.0	12.2-14.9	10.8-13.3	9.9-12.1	9.0-11.0	8.5-10.5	7.8-9.6
	Luoyuan County	350123	35.3	32.6	30.1	26	25.1	23.1	20.7	19	16.2	14.7	14.3	13	12	11.9	11.2	10.2	9.4
			29.9-41.1	27.5-37.9	25.5-35.0	22.1-30.1	21.4-29.0	19.8-26.5	18.0-23.6	16.9-21.4	14.6-18.0	13.2-16.3	12.7-16.0	11.4-14.6	10.6-13.6	10.5-13.6	9.8-12.7	9.0-11.6	8.3-10.6
	Mawei District	350105	18.5	18	16.3	14.2	12.7	12	11.1	10.2	10	8.5	8.5	8.1	8	7.7	7.3	7	6.4
			15.4-21.7	15.0-21.1	13.6-19.1	11.9-16.7	10.7-15.0	10.0-13.9	9.4-12.7	8.9-11.7	8.8-11.2	7.6-9.6	7.5-9.6	7.0-9.2	7.0-9.2	6.6-8.8	6.4-8.4	6.1-8.0	5.6-7.3
	Meilie District	350402	22.4	21.6	20.2	18.7	16.4	16.6	14	14.3	13.6	11.3	11.1	11.8	12.5	12.3	11.9	11.2	10.6
			16.1-30.5	15.8-28.9	15.0-26.7	14.3-24.4	12.8-20.7	13.2-20.5	11.4-16.9	12.0-16.7	11.7-15.5	9.8-12.9	9.6-12.7	10.1-13.8	10.5-15.0	9.9-15.2	9.2-14.9	8.4-14.2	7.8-13.7
	Mingxi County	350421	43.5	40.9	37.4	36.5	30.5	29.2	26.5	25.6	25.1	22.1	20	18.7	17.2	16.1	15.9	14.6	13.4
			36.8-50.7	34.4-47.4	31.6-43.3	31.0-42.3	26.0-35.3	25.0-33.5	23.1-30.1	22.8-28.7	22.7-27.7	20.1-24.3	18.0-22.1	16.6-20.9	15.2-19.4	14.2-18.3	14.1-17.9	12.9-16.4	11.9-15.0
	Minhou County	350121	23.6	22.4	20.7	19.6	18.9	17.4	15.7	14.6	14	13.2	12.5	11.4	11.3	10.1	9.4	9.1	8.6
			20.0-27.4	19.1-25.9	17.6-23.7	16.9-22.1	16.5-21.3	15.4-19.5	14.0-17.5	13.2-16.0	12.8-15.3	12.1-14.4	11.4-13.7	10.4-12.6	10.2-12.5	9.2-11.1	8.6-10.3	8.2-9.9	7.8-9.5
	Minqing County	350124	35.8	33.5	31.9	29.5	26.6	24.8	21.7	18.7	17.6	17.5	16.6	15.7	14	13.1	11.5	11	10.4
			30.0-41.8	28.2-39.0	27.0-36.6	25.4-33.5	23.2-29.9	21.9-27.7	19.5-24.1	16.9-20.6	16.0-19.3	16.0-19.1	15.2-18.2	14.3-17.4	12.7-15.5	11.8-14.6	10.4-12.8	9.8-12.1	9.3-11.5
	Nan'an City	350583	35.7	34.8	32.2	29.5	26.9	24.2	21.5	20.5	18.9	17.8	15.8	14.5	12.7	11.3	10.9	10.4	9.8
			30.4-41.4	29.5-39.9	27.7-37.0	25.6-33.8	23.2-30.5	21.2-27.4	19.1-24.1	18.4-22.8	17.0-20.7	16.2-19.5	14.4-17.2	13.3-16.0	11.6-14.1	10.3-12.4	9.9-12.0	9.4-11.4	8.9-10.8
	Nanjing County	350627	33.3	32.1	30.1	29.1	28.2	27	24.9	24.2	22.5	21	19.8	17.3	15.8	14	12.5	11.4	10.5
			28.2-38.7	27.4-37.1	25.7-34.2	25.0-32.9	24.6-31.9	23.8-30.3	22.1-27.8	21.8-26.6	20.4-24.5	19.2-22.9	18.0-21.7	15.7-19.1	14.3-17.5	12.8-15.5	11.5-13.8	10.4-12.5	9.5-11.5
	Ninghua County	350424	53.8	48.8	44.4	40.3	39.1	36.5	32	27.9	24.6	21.9	19.5	17.9	17.3	16.6	15.2	14	12.9
			43.0-65.8	40.2-58.5	37.4-52.1	35.0-45.8	34.0-44.0	31.8-40.8	27.7-36.4	23.8-32.2	20.9-28.7	18.5-25.7	16.6-22.7	15.5-20.8	15.2-19.8	14.8-18.7	13.7-16.9	12.7-15.5	11.6-14.3
	Pinghe County	350628	36.4	35.7	33.5	33.7	32.5	32.3	30	27.4	26.4	23.1	21.2	19.2	17.3	15.4	13.5	11.8	10.6
			30.9-42.3	30.4-40.9	28.7-38.4	29.1-38.4	28.1-37.0	28.3-36.4	26.6-33.5	24.4-30.4	23.7-29.0	21.0-25.3	19.4-23.2	17.6-21.1	15.8-19.1	14.1-17.1	12.3-14.9	10.7-13.0	9.5-11.6
	Pingnan County	350923	43.5	40.4	37.4	36.2	34.2	33.4	33.9	31.1	27.7	23	19.4	15	14.7	13.2	13.2	12.8	12.3
			36.8-50.6	34.3-46.6	31.7-42.8	31.2-41.1	29.8-38.4	29.5-37.4	30.2-37.6	28.0-34.2	25.1-30.3	20.8-25.2	17.6-21.5	13.5-16.7	13.2-16.5	11.9-14.9	11.8-14.9	11.4-14.4	10.9-13.8
	Pingtan County	350128	26.3	23.5	22.1	21.3	21.5	19.9	20.5	19.7	16.7	15.5	14.5	12.1	11.9	13.3	12.5	12.1	11.9
			21.9-30.9	19.6-27.6	18.6-25.9	17.9-24.9	18.2-25.0	17.0-22.9	17.8-23.3	17.4-21.9	15.1-18.4	14.1-16.9	13.1-15.9	10.9-13.5	10.5-13.3	11.8-15.0	11.2-14.1	10.9-13.5	10.6-13.1
	Pucheng County	350722	24	25.3	24.9	24.9	23.9	25.5	24.2	20.9	20.1	18.4	17.4	15.7	15.3	15.2	15.2	14.2	13.7
			20.1-28.1	21.2-29.5	21.0-29.0	21.0-29.0	20.3-27.6	21.7-29.4	20.9-27.5	18.5-23.4	18.2-22.2	16.6-20.2	15.6-19.3	14.0-17.6	13.5-17.2	13.4-17.2	13.5-17.2	12.6-16.1	12.2-15.3
	Qingliu County	350423	39.5	39.2	36.9	35.8	36.4	34.7	31.9	29.6	24.6	22.3	19.7	20	18.3	18.3	17	15.7	14.8
			33.2-46.2	32.8-45.6	31.2-42.9	30.3-41.7	30.9-42.2	29.5-40.0	27.5-36.3	26.1-33.3	22.1-27.4	20.0-24.7	17.5-22.0	17.5-22.5	16.1-20.8	16.0-21.0	14.9-19.3	13.8-17.9	13.1-16.7
	Quangang District	350505	26.6	27.4	28.5	27.7	26	23.9	20.8	18.7	16.8	15.8	15.4	14.7	13.9	12.6	11	9.9	9.1
			22.3-31.0	23.0-31.8	24.1-33.0	23.5-31.9	22.3-29.9	20.7-27.3	18.2-23.4	16.7-20.8	15.3-18.3	14.5-17.2	14.1-16.9	13.3-16.3	12.5-15.5	11.3-14.0	10.0-12.3	9.0-11.0	8.2-9.9
	Sanyuan District	350403	25.6	24.7	22.1	19.2	17.3	18.4	16.8	17.6	19	18	17	15.7	15.1	13.3	11.8	11.1	10.4
			19.0-33.6	18.7-32.3	17.1-28.3	15.1-24.1	13.9-21.1	15.2-21.8	14.2-19.6	15.3-19.9	16.9-21.1	16.1-20.1	15.1-19.3	13.5-18.3	12.6-18.1	10.7-16.3	9.2-14.9	8.3-14.3	7.6-13.6
	Sha County	350427	29.6	29.1	26.7	24.8	22.7	20.3	20.4	19.2	19.2	18.3	17.3	16	16.3	14.8	14.2	13.4	12.8
			25.0-34.5	24.5-33.8	22.6-31.0	21.0-28.8	19.4-26.3	17.4-23.4	17.7-23.2	17.1-21.4	17.3-21.1	16.6-20.0	15.6-19.1	14.2-17.8	14.4-18.2	13.1-16.6	12.7-16.0	12.0-15.0	11.4-14.2
	Shanghang County	350823	35.6	35.7	35.8	35.7	36.3	32.8	31.8	28.1	25.5	22.6	20.6	17.7	17.4	15.7	13.9	12.8	11.7
			30.2-41.3	30.5-41.2	30.7-40.7	30.7-40.3	31.6-40.8	29.0-36.6	28.4-35.5	25.4-30.9	23.2-27.8	20.7-24.6	18.8-22.7	16.2-19.7	15.8-19.4	14.2-17.6	12.5-15.5	11.3-14.2	10.4-13.0
	Shaowu City	350781	25.1	24.8	23.6	22.7	22.1	20.6	19.9	19.7	18.6	17.6	17.5	16.2	16	14.1	13.3	12.3	11.5
			21.2-29.3	20.8-28.8	20.0-27.3	19.3-26.2	19.0-25.4	17.7-23.5	17.5-22.4	17.6-21.8	16.9-20.3	16.1-19.2	16.0-19.2	14.6-17.9	14.3-17.8	12.6-15.7	12.1-14.9	11.2-13.6	10.4-12.6
	Shishi City	350581	26.7	26.3	23.5	23	22	20.7	18.6	17.3	16.1	14.9	13.7	12.4	11	10.3	9.4	8.8	8.4
			18.7-37.3	18.7-36.1	17.0-32.0	16.6-30.9	16.1-28.9	15.4-26.9	14.1-23.9	13.4-22.2	12.6-20.2	11.8-18.6	10.8-17.2	9.6-15.8	8.5-14.2	7.9-13.5	7.1-12.5	6.5-11.6	6.0-11.3
	Shouning County	350924	35	33	31.8	30.4	27.8	26.6	24.5	21	17.1	16.1	13.5	13.1	14.3	13.9	13.3	12.8	12.4
			29.3-40.8	27.7-38.5	26.9-37.1	25.8-35.4	23.7-32.1	22.8-30.5	21.4-27.9	18.7-23.4	15.5-18.9	14.6-17.6	12.2-14.9	11.7-14.6	12.7-16.0	12.3-15.6	11.9-15.0	11.4-14.3	11.1-13.7
	Shunchang County	350721	31.9	30.8	30.2	28.9	27.5	26.4	25	22.4	23.3	20.7	19.1	17.7	17.3	14.2	13.4	12.3	11.3
			27.1-37.2	26.2-35.5	25.7-34.5	24.8-32.7	24.0-30.9	23.5-29.5	22.5-27.7	20.3-24.6	21.3-25.4	19.0-22.5	17.5-21.0	16.1-19.5	15.7-19.1	12.9-15.8	12.1-14.9	11.1-13.6	10.2-12.5
	Siming District	350203	15.4	13.3	12.8	11.6	12	11.3	11	10.4	9.8	9.2	9	9.1	8.7	8.1	7.3	7.3	6.8
			11.2-20.5	9.8-17.6	9.7-16.8	9.0-14.9	9.5-14.8	9.2-13.7	9.2-12.9	9.1-11.8	8.9-10.8	8.4-10.1	8.1-10.0	8.0-10.3	7.4-10.0	6.7-9.6	5.9-8.9	5.7-9.0	5.2-8.6
	Songxi County	350724	34.7	34.2	30.7	32.5	31.1	28	25.9	24.3	23.1	21.1	19.6	18.5	17.3	15.5	14.9	13.8	13.2
			26.5-44.5	26.9-43.2	24.3-38.2	26.3-39.5	25.7-36.9	23.6-32.2	22.5-29.2	21.8-27.1	21.0-25.2	19.4-23.2	17.5-21.9	16.0-21.1	14.5-20.2	12.6-18.8	11.8-18.4	10.6-17.4	9.8-16.8
	Taijiang District	350103	12.9	13.3	12.6	11.3	10.8	11.3	11.6	11	11	10.8	10.1	9.2	8.7	8	7.4	7.5	7.1
			10.8-15.1	11.1-15.5	10.6-14.8	9.5-13.2	9.1-12.6	9.7-13.1	10.0-13.2	9.7-12.3	9.9-12.1	9.8-11.8	9.2-11.1	8.2-10.2	7.7-9.7	7.1-9.0	6.7-8.4	6.7-8.4	6.3-7.8
	Taining County	350429	34	32	30.7	30.9	30.9	28.9	24.9	24.9	21.6	18.8	17.7	14.9	13.8	13.1	12.1	11.4	10.8
			28.3-39.9	26.9-37.5	25.9-35.8	25.9-36.2	26.0-36.1	24.5-33.5	21.2-28.5	21.7-28.3	19.1-24.3	16.5-21.1	15.4-20.0	12.8-17.1	11.8-15.9	11.3-15.1	10.5-14.1	9.9-13.1	9.4-12.3
	Tongan District	350212	26.5	26	24.9	23.5	22	20	18.3	16.4	14.3	13.1	11.9	11.4	11.2	11	10.3	9.8	9.2
			22.4-30.7	22.2-29.9	21.4-28.4	20.2-26.5	19.2-24.8	17.7-22.4	16.4-20.4	14.8-18.0	13.0-15.5	12.0-14.3	10.9-13.0	10.4-12.6	10.2-12.5	10.0-12.1	9.3-11.4	8.9-10.8	8.3-10.1
	Wiyishan City	350782	26.7	25.8	26	25.9	26.2	25	22.7	21.6	20.4	17	17.2	17.1	15.2	15	14.2	13.2	12
			22.6-31.2	21.7-30.0	22.1-30.2	22.0-30.0	22.4-30.3	21.4-28.6	19.8-25.7	19.1-24.0	18.5-22.4	15.6-18.6	15.6-18.9	15.3-19.0	13.5-17.0	13.3-16.9	12.7-16.0	11.8-14.7	10.7-13.2
	Wuping County	350824	34.7	34.9	34.4	34.9	33.8	29.9	26.2	22.9	20.1	18.9	18.8	17.7	16.5	15.1	13.9	12.8	11.7
			29.4-40.3	29.8-40.3	29.5-39.2	30.0-39.4	29.5-38.0	26.5-33.3	23.5-29.1	20.7-25.1	18.3-22.0	17.3-20.7	17.1-20.7	16.1-19.6	15.0-18.4	13.6-16.9	12.5-15.5	11.4-14.2	10.4-13.0
	Xiang'an District	350213	20.2	20.3	19.3	19.4	17.7	17.9	20.5	18.3	17	15.1	13.3	11.5	10.8	9.8	9.1	8	7.4
			14.6-27.2	14.9-27.1	14.5-25.5	14.9-24.9	13.8-22.1	14.3-21.7	17.0-24.2	15.9-20.8	15.3-18.8	13.8-16.6	11.9-14.9	9.9-13.1	9.1-12.7	8.0-11.8	7.2-11.3	6.1-10.1	5.4-9.5
	Xiangcheng District	350602	20.7	20.3	19.6	17.7	15.9	14.6	13.7	12.6	12.6	10.8	10.9	10.2	9.3	9.4	9.7	9.6	9.5
			17.5-24.1	17.1-23.5	16.6-22.7	15.1-20.5	13.6-18.4	12.5-16.7	11.9-15.5	11.2-14.1	11.4-13.9	9.8-11.8	9.8-12.0	9.1-11.4	8.2-10.4	8.3-10.5	8.7-10.9	8.6-10.8	8.5-10.5

Province	County	County Code (2012)	Under-5 Mortality Rate (per 1000 births)																
			1996	1997	1998	1999	2000	2001	2002	2003	2004	2005	2006	2007	2008	2009	2010	2011	2012
	Xianyou County	350322	37.8	37.2	34.3	32.7	30.4	28.1	25.9	24	21.7	21.5	19.3	17.3	16.1	14.7	12.7	11.8	11.1
			32.1-43.9	31.9-42.8	29.4-39.1	28.3-37.0	26.5-34.4	24.8-31.6	23.0-29.0	21.6-26.5	19.7-23.7	19.7-23.5	17.6-21.2	15.7-19.2	14.6-17.9	13.4-16.3	11.6-14.0	10.7-12.9	10.1-12.2
	Xiapu County	350921	41.6	38.5	35.6	33.8	32.8	30.1	28.8	26.1	22.4	19.5	17.5	15.9	14.9	13.9	13	12.2	11.1
			35.3-48.2	32.8-44.1	30.5-40.8	29.2-38.7	28.4-37.2	26.3-33.9	25.5-32.1	23.4-28.9	20.2-24.6	17.8-21.3	16.0-19.2	14.5-17.5	13.6-16.5	12.7-15.4	11.8-14.3	11.0-13.3	10.1-12.2
	Xinluo District	350802	25.5	24.8	22.6	22.7	21.7	20.3	20.2	18.8	17.7	16.3	15.6	14.1	13.2	13.1	11.6	11	10.2
			21.6-29.7	21.0-28.6	19.3-25.9	19.6-25.7	18.8-24.5	18.0-22.7	18.1-22.4	17.0-20.7	16.1-19.4	14.9-17.7	14.2-17.2	12.8-15.5	12.0-14.7	12.0-14.6	10.6-12.8	10.0-12.0	9.3-11.2
	Xiuyu District	350305	21.2	21.8	22.2	22.3	20.4	20.7	19.2	18	17.4	16.1	15.5	15	14.1	13.1	12.3	11.2	10.5
			18.0-24.5	18.6-25.1	19.0-25.7	19.2-25.6	17.6-23.4	18.1-23.5	16.9-21.7	15.9-20.2	15.6-19.3	14.5-17.8	14.0-17.2	13.5-16.6	12.7-15.7	11.8-14.6	11.1-13.8	10.1-12.4	9.5-11.6
	Yanping District	350702	21.6	20.5	19.8	18.7	17.4	17.6	16.3	17.5	17.9	17.6	18.5	17.2	16.3	14.3	12.9	11.7	10.5
			16.6-27.5	16.1-25.7	16.0-24.2	15.5-22.4	14.8-20.4	15.2-20.0	14.4-18.2	15.7-19.2	16.2-19.6	15.9-19.4	16.4-20.8	15.0-19.8	13.9-19.2	11.9-17.1	10.4-15.7	9.2-14.5	8.0-13.2
	Yong'an City	350481	31.7	31.4	28.4	28	26.7	25.9	24.8	23.3	21.6	20.5	20.6	19.3	18.8	18.1	16.5	14.9	13.6
			26.9-37.0	26.7-36.2	24.2-32.5	24.1-31.6	23.3-30.1	23.0-29.0	22.3-27.5	21.0-25.5	19.7-23.5	18.8-22.3	18.8-22.6	17.5-21.3	17.1-20.8	16.5-20.0	15.1-18.2	13.5-16.3	12.3-15.0
	Yongchun County	350525	33.5	33.3	33.9	32.8	33.1	32.6	28.3	27.5	23.3	22.1	20.2	18.6	15.9	13.9	11.6	10.6	9.9
			28.4-38.9	28.5-38.3	29.1-38.6	28.3-37.1	28.8-37.4	28.8-36.7	25.3-31.7	24.9-30.5	21.2-25.3	20.2-24.0	18.5-22.2	16.9-20.5	14.5-17.6	12.6-15.4	10.5-12.8	9.6-11.7	8.9-10.8
	Yongding County	350822	29.4	29.8	29.4	30.1	29.9	28.5	27.8	25.7	21.1	19	17.7	16.4	14.7	13.8	12.6	11.2	10
			24.9-34.1	25.5-34.4	25.2-33.5	25.9-34.0	26.1-33.7	25.2-31.9	24.9-30.9	23.2-28.4	19.2-23.0	17.5-20.7	16.2-19.4	15.0-18.1	13.4-16.3	12.6-15.3	11.4-13.9	10.2-12.3	9.0-11.0
	Yongtai County	350125	36.7	34.6	31.9	29.6	27.9	26.1	24.4	23.4	21.5	19.9	18.5	16.4	15.4	13.9	13.3	12.3	11.4
			31.1-42.7	29.4-39.9	27.2-36.4	25.5-33.4	24.3-31.4	23.1-29.2	21.9-27.0	21.2-25.7	19.6-23.4	18.3-21.7	16.9-20.3	15.0-18.1	14.1-17.1	12.6-15.3	12.1-14.7	11.2-13.5	10.3-12.5
	Youxi County	350426	48.7	43.6	39.9	36	33.7	30.5	29.3	28.4	27.6	26.3	24.1	21.5	18.7	16.2	14.4	13.2	12.4
			41.3-56.5	37.3-50.2	34.3-45.8	31.1-40.9	29.3-38.3	26.8-34.3	26.0-32.8	25.5-31.3	25.0-30.1	24.1-28.7	22.0-26.5	19.5-23.8	17.0-20.7	14.8-18.0	13.2-15.9	12.0-14.5	11.2-13.6
	Yunxiao County	350622	27.9	27.1	26.2	24.1	24.4	23.9	22.6	20.6	19.9	19.2	18.4	18	15.5	14.8	13.1	11.5	10.2
			23.6-32.3	23.1-31.3	22.5-29.9	20.8-27.2	21.2-27.5	21.2-26.7	20.3-25.2	18.6-22.7	18.2-21.7	17.6-20.9	16.9-20.2	16.4-19.9	14.2-17.2	13.5-16.4	11.9-14.5	10.4-12.6	9.2-11.2
	Zhangping City	350881	47.8	46.1	43.1	41.5	40.9	35.8	31.4	28.4	25.4	19.6	17	15	13.6	11.8	12.3	11.5	10.8
			40.5-55.5	39.3-53.1	36.8-49.1	35.8-46.9	35.6-45.8	31.8-39.9	28.2-34.9	25.7-31.3	23.1-27.8	17.8-21.5	15.4-18.7	13.6-16.8	12.2-15.2	10.5-13.2	11.0-13.8	10.2-12.8	9.6-12.1
	Zhangpu County	350623	33.4	32.4	30.8	28.4	27.4	26.1	23.6	22.5	20.9	18.3	16.3	14.7	14.2	14.1	12.8	12	11.4
			28.3-38.9	27.6-37.3	26.3-35.1	24.4-32.1	24.0-30.8	23.2-29.1	21.2-26.2	20.4-24.7	19.0-22.8	16.7-20.0	14.9-18.0	13.3-16.3	12.8-15.7	12.7-15.7	11.5-14.3	10.7-13.3	10.2-12.6
	Zhao'an County	350624	32.5	31.7	29.7	26.8	27.4	25.9	25	23.9	22	21	19.3	17.1	16.1	14.7	13.3	12.4	11.5
			24.5-42.0	24.5-40.3	23.5-37.2	21.6-32.8	22.7-32.4	22.1-29.9	21.9-28.0	21.5-26.3	19.8-24.2	18.7-23.4	16.7-21.9	14.6-19.7	13.4-18.9	12.2-17.5	10.8-16.1	9.8-15.4	8.9-14.4
	Zhenghe County	350725	38.6	37.9	37.1	35.3	34.1	33.9	30.9	28	26.8	24.6	21.1	19.6	17.7	15	14.1	13.1	12.3
			32.7-45.0	32.2-43.7	31.5-42.4	30.3-39.9	29.8-38.4	30.1-37.8	27.7-34.3	25.4-30.8	24.4-29.3	22.5-27.0	19.3-23.2	17.7-21.7	16.0-19.7	13.5-16.8	12.6-15.7	11.7-14.5	11.0-13.6
	Zherong County	350926	41.5	38.5	33.1	32	30.4	29.7	27.2	22.5	22.5	20.6	17.9	16.5	16.1	13.8	12.1	11.2	10.2
			34.6-48.7	32.2-45.1	27.9-38.7	26.8-37.5	25.5-35.7	25.0-34.5	23.2-31.2	19.5-25.6	20.0-25.3	18.3-23.1	15.7-20.1	14.3-18.8	13.9-18.3	12.0-15.9	10.6-13.9	9.8-12.8	9.0-11.6
	Zhouning County	350925	37.1	34.3	33.1	30.3	30	27.4	27.6	27.5	23.9	19.8	16.1	12.9	11.5	10.5	10.6	10.6	10.6
			31.0-43.5	28.8-39.9	27.9-38.2	26.0-34.5	26.0-33.8	24.0-30.6	24.6-30.7	24.9-30.3	21.9-26.1	18.1-21.6	14.7-17.7	11.7-14.3	10.4-12.9	9.5-11.8	9.5-11.8	9.4-11.8	9.4-11.8
Gansu	Zizhixian	620924	74.3	69.3	68.8	56.3	53.5	50.9	44	37.9	36.7	31.4	31.4	33.4	33.6	32.1	29.8	28.3	26.2
			58.4-92.8	54.1-86.7	53.4-87.5	43.3-71.7	41.5-67.3	40.2-63.9	35.4-54.8	30.5-46.5	29.7-44.1	25.5-37.9	25.7-37.8	27.6-40.1	28.1-39.9	27.0-37.7	25.3-34.9	24.2-32.9	22.5-30.2
	Anding District	621102	70.3	74.6	71.6	61.7	55.1	48.4	42.4	35.7	37.7	35.9	33.6	34.9	35.3	33.6	33.8	33.8	34.3
			56.8-84.5	62.3-88.5	61.3-83.8	53.6-71.3	47.7-63.0	41.8-56.1	36.1-49.9	30.2-42.4	31.4-45.5	29.9-43.0	28.0-40.1	29.3-41.6	30.1-41.5	29.2-38.8	30.0-38.2	30.4-37.6	30.8-37.8
	Anning District	620105	35.5	36.7	36.1	34.4	31.1	30.3	30.7	25.7	25.1	22.1	19.8	17.8	16.7	16.6	15.6	16.3	15.5
			25.6-49.2	27.4-49.3	27.8-47.6	27.1-44.1	25.3-38.3	25.2-36.3	26.4-35.5	22.8-28.8	22.6-27.6	19.8-24.7	17.0-23.0	14.6-21.5	12.9-21.0	12.2-21.8	10.8-21.2	10.7-22.6	9.9-22.3
	Baiyin District	620402	51.1	54.7	49.6	43.2	32.2	32.2	24.7	26.3	29.8	25.7	21.8	22	21.7	21.5	22.1	20.7	20
			43.9-59.0	47.2-62.8	43.0-57.0	37.3-50.4	27.5-37.4	27.4-37.0	21.2-28.5	23.0-29.9	26.4-33.4	22.8-28.9	19.2-24.8	19.0-25.2	18.8-25.0	18.6-24.8	19.4-25.2	18.3-23.5	17.7-22.3
	Cheng County	621221	89.8	92.1	87.7	81	87.9	76.5	61.5	54.9	49.1	45.7	43.2	48.8	46	46.4	43	41.3	38.8
			77.4-103.4	79.9-105.9	75.9-100.7	70.2-93.6	75.9-101.7	65.9-87.9	53.4-70.2	48.5-61.9	43.9-55.0	41.1-51.0	38.3-48.8	42.5-55.5	39.9-52.6	40.4-53.2	38.0-49.0	36.6-46.8	34.4-43.2
	Chengguan District	620102	30.8	31.2	30.5	27.3	25.9	22.8	20.7	18.2	16.4	17.4	18	19.4	17.2	16	14.4	14.5	13.5
			23.8-39.1	24.4-39.2	23.8-38.6	21.4-34.5	20.6-32.3	18.4-28.2	17.1-25.3	15.2-21.8	13.8-19.3	14.6-20.4	15.1-21.1	16.5-22.6	14.8-20.0	13.8-18.5	12.4-16.6	12.6-16.6	11.8-15.4
	Chongxin County	620823	126.4	103.6	79.1	50.9	45.3	40.8	38	30.2	26.2	24.9	23.8	23.9	29.5	32	30.3	29.3	28.9
			105.3-149.4	88.2-121.3	68.0-92.0	44.1-59.3	38.7-53.1	34.4-48.2	31.4-45.8	24.6-37.0	21.2-32.5	20.1-30.9	19.2-29.2	19.3-29.1	24.3-35.4	27.1-37.8	26.3-35.0	25.9-33.4	25.5-32.6
	Dangchang County	621223	88.1	81.5	74.5	69.9	62.9	60.8	58.2	57.7	51.4	41.4	34.6	26	23.1	22.5	25.5	24.3	24.7
			75.0-102.5	69.6-94.5	64.1-86.4	60.1-81.4	53.8-73.3	52.0-69.8	50.3-66.6	51.0-65.1	45.9-57.5	36.9-46.4	30.3-39.3	22.4-30.0	19.8-26.8	19.3-26.1	22.2-29.3	21.2-27.9	21.7-28.1
	Dongxiangzu Zizhixian	622926	83.5	85.4	81.9	95.3	102.5	88.6	88.5	83.4	77.3	73.8	71.6	65.1	64.7	58.3	51.4	45.9	41.8
			62.7-110.9	66.5-110.4	65.6-102.0	78.2-116.2	86.4-121.5	76.6-102.1	77.9-100.3	74.4-93.4	69.2-86.4	65.3-83.8	61.9-82.6	54.6-77.1	52.3-79.0	44.8-73.6	38.0-66.9	32.5-61.2	28.3-56.6
	Dunhuang City	620982	60.6	55.4	51.3	49	44.7	37.4	37.6	31	31.8	34	31.8	32.1	33.4	32.2	27.8	26.8	25.5
			49.9-72.5	45.8-66.5	42.5-61.8	40.8-59.0	37.1-53.5	31.0-44.6	31.6-44.3	26.4-36.1	27.4-36.4	29.2-38.9	27.3-36.6	27.2-37.4	28.2-39.1	27.6-37.6	24.1-32.3	23.3-30.8	22.3-29.0
	Gan'gu County	620523	52.6	52.5	49.3	44.7	41.7	42.6	41.9	37.7	37.6	37.4	35.2	33.5	29.7	28.5	26.9	25.3	25
			43.8-62.5	44.2-62.1	42.0-57.8	38.6-51.8	36.5-47.6	37.9-47.9	37.8-46.5	34.1-41.6	34.2-41.3	33.9-41.5	31.7-39.4	29.9-37.8	26.4-33.6	25.4-32.1	24.1-30.3	22.7-28.2	22.4-27.6
	Ganzhou District	620702	56.8	56.5	52.8	51	49.5	48.1	47	43	45	42.7	42.9	40.5	38.7	35.2	31.5	29.3	27.7
			49.4-65.2	49.4-64.9	46.6-60.5	45.1-57.9	43.8-56.2	43.1-54.2	42.3-52.4	38.6-47.6	40.5-49.8	38.2-47.7	38.3-48.2	36.0-45.8	34.3-43.9	31.3-39.8	28.4-35.2	26.6-32.3	25.1-30.4
	Gaolan County	620122	56.8	57.6	55.9	55.1	57.9	54.4	43.3	40.2	33.5	27.3	24.1	23.6	22.7	25.8	23.9	22.9	22.1
			48.4-66.0	49.6-66.9	48.2-64.6	48.2-63.2	51.0-65.8	48.5-61.2	38.5-48.7	35.6-45.1	29.5-37.7	23.9-30.9	21.0-27.7	20.4-27.1	19.6-26.2	22.4-29.8	20.7-27.4	19.9-26.1	19.4-25.1
	Gaotai County	620724	57.8	57	57.1	50.3	52.1	52.8	49.7	45.5	45.2	36.3	34.2	31.5	33.9	33.6	36	33.6	31.3
			48.7-68.1	48.5-66.7	48.5-66.7	42.8-59.3	44.2-61.2	45.0-61.3	42.6-57.2	39.8-51.7	40.1-50.7	32.1-40.7	30.1-39.0	27.1-36.3	29.2-39.2	29.0-38.8	31.5-41.2	29.5-38.3	27.6-35.3
	Guanghe County	622924	84.9	86.1	84.9	94.9	103	91.5	84.4	71.6	70.8	64.8	56.8	55.6	55.3	49.5	43.9	37.6	32.9
			73.3-97.7	74.6-99.4	74.0-97.5	83.5-108.0	91.5-116.3	82.7-102.0	76.7-93.2	65.5-78.5	64.6-77.3	58.7-71.4	51.3-63.5	49.7-62.3	49.4-62.3	44.4-55.4	39.8-48.7	34.0-41.4	29.7-36.0
	Guazhou County	620922	52.1	51.4	51.4	48.6	50.2	49.7	48.7	40.7	41.4	38.5	39.3	39.3	42.4	38	36.8	32.9	30.1

Province	County	County Code (2012)	Under-5 Mortality Rate (per 1000 births)																
			1996	1997	1998	1999	2000	2001	2002	2003	2004	2005	2006	2007	2008	2009	2010	2011	2012
			38.6-70.5	39.2-67.9	40.3-66.2	39.0-61.0	41.4-61.1	42.1-58.7	42.1-55.8	36.4-45.5	37.6-45.7	34.5-43.1	34.0-45.3	32.3-46.9	33.1-52.6	28.3-49.2	26.0-49.6	22.1-45.2	19.6-42.7
	Gulang County	620622	69.4	68.1	63.1	61.4	57.8	60.6	57.7	51	48.6	39.6	35.5	30.2	27	25.6	24.3	22.1	20.4
			60.9-79.5	60.0-77.9	55.5-72.3	54.2-70.0	51.3-65.4	54.0-68.0	51.8-64.4	45.9-56.6	44.0-53.2	35.9-43.7	32.1-39.6	27.0-34.0	24.2-30.3	23.0-28.7	21.9-27.1	19.9-24.4	18.3-22.4
	Heshui County	621024	73.9	73.6	71	72.6	62	57.5	47.9	43.4	38.7	38	32.3	34	30.9	27.1	26	24.3	23.5
			63.4-85.5	63.5-85.0	61.8-81.8	64.2-82.9	55.1-69.7	51.7-64.2	43.3-53.1	39.3-48.0	34.9-42.9	34.1-42.6	28.7-36.6	30.1-38.7	27.1-35.3	23.8-30.9	22.9-29.6	21.4-27.3	20.8-26.4
	Hezheng County	622925	69.7	72.2	78.4	84.6	94.5	84.1	80	70.4	63.1	56.8	52.5	52	50.1	44.3	39.5	34.8	31
			59.9-80.7	62.3-83.4	68.4-90.5	74.9-96.6	84.3-106.3	75.9-93.9	73.1-88.1	64.2-77.0	57.5-69.0	51.4-62.7	47.2-58.7	46.5-58.6	44.6-56.6	39.6-49.9	35.4-44.2	31.0-38.5	27.8-34.3
	Hezuo City	623001	55.6	52.8	52.1	63.6	65.3	64.9	63.6	61.8	69.3	70	71	70.8	67.7	64	57.7	55.8	52
			38.4-80.6	37.0-74.5	37.0-72.3	46.5-86.2	49.1-86.6	50.0-83.7	50.8-78.7	51.6-73.5	60.6-78.1	62.9-78.0	62.7-79.9	60.1-82.5	55.1-82.0	49.1-81.5	41.5-76.0	38.2-75.6	34.4-73.3
	Honggu District	620111	47.4	46.9	46.9	49.1	42.8	40.4	36.9	33.6	33	31.1	26.6	23.8	21.7	18.6	17.5	16.8	16.9
			39.8-56.0	39.8-55.0	39.9-55.2	41.8-57.7	36.5-50.1	34.8-46.6	32.2-41.9	29.9-37.6	29.9-36.3	28.4-34.1	24.0-29.6	21.1-26.8	19.0-24.6	16.3-21.0	15.5-19.8	15.1-18.8	15.1-18.7
	Huachi County	621023	60.9	59.1	58.3	53.9	47.6	44	38.8	35.6	34.1	29	24.8	23.8	22.8	21.7	23.9	22.7	22.3
			51.5-71.7	50.3-68.8	50.0-67.8	46.2-63.0	40.6-55.6	37.6-50.8	33.5-44.5	31.2-40.3	30.3-38.3	25.7-32.5	21.6-28.2	20.5-27.4	19.5-26.3	18.7-25.1	20.8-27.4	19.8-26.0	19.6-25.3
	Huan County	621022	54.5	58.3	57	59.8	61.4	59.2	57.4	53.6	47.7	45	41	34.8	32.5	30.5	28.4	25.9	24
			47.8-62.4	51.4-66.7	50.1-65.4	52.8-68.3	54.4-69.9	52.7-66.7	51.3-64.2	47.9-59.7	43.0-52.6	40.5-50.0	37.0-45.8	31.3-39.1	29.2-36.6	27.3-34.1	25.6-31.5	23.5-28.4	21.7-26.3
	Huating County	620824	127.3	102.6	82.5	58.3	53.6	47.4	40.8	37	34.9	32.1	28.5	26.7	21.1	21.1	20.5	20.5	20.1
			105.6-150.7	87.5-120.2	71.5-95.1	51.7-66.4	47.6-60.3	42.1-53.3	35.7-46.3	31.8-42.7	29.6-41.0	26.9-38.2	24.0-34.0	22.6-31.9	18.1-24.7	18.5-24.1	18.3-23.0	18.5-22.9	17.9-22.2
	Hui County	621227	78.7	71.9	66.9	77.4	65.8	59.7	53.4	47.3	39.9	37.6	34.6	31.2	29.3	31.1	31.1	30.4	28.5
			62.5-97.4	57.3-88.9	53.1-82.7	62.3-94.7	53.8-80.0	49.2-72.1	44.4-63.4	40.1-55.1	34.2-45.8	32.2-43.1	29.6-40.2	26.2-36.6	24.5-34.7	26.3-36.7	26.5-36.5	26.1-35.5	24.6-32.9
	Huining County	620422	68.9	71.3	77.8	79.4	75	67.9	56.4	43.8	37.2	31.4	29.2	28.8	28.9	29.3	28	27	26.1
			56.1-82.9	59.3-85.0	66.6-91.8	69.0-92.7	65.9-85.9	59.8-77.1	49.0-64.1	37.9-50.2	32.0-43.2	26.7-37.0	24.8-34.3	24.7-33.6	25.1-33.4	26.0-33.2	25.2-31.2	24.6-29.6	23.6-28.5
	Jinchuan District	620302	36	34.3	32.9	35.7	30	27.6	24.8	23	16.2	14.3	14.4	13.1	12.5	12.9	14	13.6	13.3
			28.8-44.5	27.7-42.2	26.5-40.3	29.0-43.4	24.7-36.3	22.8-33.4	20.6-29.5	19.4-27.0	13.8-18.8	12.1-16.8	12.2-16.9	10.9-15.5	10.3-14.9	10.8-15.3	11.8-16.6	11.6-16.0	11.4-15.4
	Jingchuan County	620821	91.6	77.8	68.1	60.4	53.6	50.5	53.8	49.1	42.9	42	42.6	37.5	35.2	33.8	33.5	31.7	29.5
			77.8-106.9	66.3-90.6	57.9-79.8	51.3-71.4	45.1-63.6	42.4-59.6	45.6-62.9	42.0-56.6	37.2-49.0	36.1-47.9	36.5-49.1	31.6-43.8	29.5-41.3	28.8-39.6	28.9-39.0	27.5-36.7	25.7-33.7
	Jingtai County	620423	80.4	79.6	76.3	76.4	72.5	72.3	73.9	68.7	60	56.3	50	46.7	41.9	36.8	36.3	33.1	31.8
			70.0-92.3	69.3-91.5	66.8-87.4	67.6-86.9	64.5-81.4	65.4-80.9	67.3-81.5	62.8-75.3	54.7-65.7	51.2-62.1	45.1-55.7	41.8-52.5	37.4-47.2	33.0-41.3	32.7-40.6	29.7-36.6	28.6-35.0
	Jingyuan County	620421	53.9	53.5	52.3	49.5	43.6	39.8	38.4	37.4	36.4	37.6	38.9	37.1	35.4	33.9	31.7	29.5	27.4
			47.1-61.7	47.0-61.3	46.1-59.7	43.8-56.2	38.9-49.3	35.7-44.7	34.7-42.7	34.0-41.3	33.1-40.1	34.1-41.6	35.0-43.6	33.1-41.7	31.6-39.8	30.5-38.0	28.8-35.3	26.7-32.4	24.7-30.0
	Jinta County	620921	64.3	56.2	56.9	51.7	46	46.4	45	41.6	44	44.1	43.7	43.1	41.2	38.5	35.9	31.9	29.5
			53.9-76.3	47.4-66.3	48.1-66.8	43.9-61.1	39.1-54.5	39.5-53.7	38.8-51.3	36.3-46.9	39.3-49.0	39.6-49.1	38.8-49.4	37.7-49.0	35.9-46.9	33.7-44.1	31.7-40.9	28.2-36.1	26.1-33.0
	Dongxiangzu Salarzu	622927	61.4	60.8	59.2	54.9	58.5	52.7	52	56	54.4	50.9	43.9	41	36.2	29.9	28.4	25.7	23.3
			53.1-70.6	52.8-70.2	51.6-67.9	48.5-62.7	52.0-66.1	47.4-58.9	47.3-57.3	51.2-61.4	49.7-59.5	46.4-55.9	39.6-48.9	36.7-46.0	32.5-40.9	26.8-33.5	25.6-31.7	23.1-28.5	20.9-25.6
	Jonee County	623022	108.7	106.4	101	103.2	105.2	93	92	85	84.9	83.2	81.4	82.3	82.3	84.1	80.3	77.2	74.4
			85.6-138.5	85.3-133.9	83.3-124.9	85.8-125.0	89.1-124.3	80.3-107.6	81.0-103.5	76.3-94.4	76.3-94.0	73.4-94.4	68.9-94.9	68.2-97.8	65.8-100.3	64.7-105.5	60.3-103.6	56.6-101.6	52.5-99.5
	Kang County	621224	98.4	92.5	83.5	73.3	71.5	64.4	63.1	58.4	54.9	48.8	46.4	37.5	33.5	30.1	28.2	26.6	25.4
			78.6-121.4	73.5-114.2	66.2-103.0	58.4-90.2	58.1-86.9	53.2-77.5	52.9-74.4	50.3-67.2	48.2-62.0	42.9-54.5	40.6-52.5	32.4-43.2	28.6-38.7	25.9-34.9	24.5-32.5	23.3-30.4	22.2-28.8
	Kangle County	622922	68.3	64.9	63.9	60.6	59	52.2	46.2	48.4	49.6	47.7	47.7	50	49.4	44.8	42.8	36.2	31
			59.4-78.4	56.4-74.3	55.5-72.9	52.4-69.8	51.2-68.2	45.3-59.7	40.4-52.6	43.1-54.2	45.0-54.6	43.5-52.5	43.3-53.0	44.4-55.9	43.5-55.5	39.8-50.5	38.6-47.9	32.7-40.2	28.0-33.9
	Kongtong District	620802	45.8	37.7	34.6	29.5	30.1	30.2	30	28.9	29.7	28.3	26.9	34.8	35.1	34	32.6	31.1	30
			38.8-53.5	32.3-43.9	29.9-40.4	25.8-33.8	26.7-34.1	27.2-33.8	27.3-33.2	26.3-31.8	27.0-32.6	25.6-31.3	24.1-30.1	30.9-39.1	31.1-39.5	30.4-38.2	29.5-36.3	28.2-34.3	27.1-32.9
	Li County	621226	78.9	70.5	62.1	53.5	51.8	49.9	51.1	54.5	48.9	45.1	41.2	35.5	33.9	31.4	31.4	29.8	28.5
			68.5-90.5	61.1-80.6	54.0-71.4	46.4-62.0	44.5-60.0	42.9-57.3	44.4-58.2	48.4-61.2	44.1-54.4	40.8-50.1	36.7-46.4	31.0-40.4	29.3-38.8	27.2-36.1	27.5-35.9	26.2-34.0	25.1-32.1
	Liangdang County	621228	60.3	57.6	54.2	53.9	48.9	47.2	44.8	39.2	37.1	38.4	35.9	34.5	34.1	34.9	35.9	35.3	34.1
			49.0-73.4	46.8-70.6	43.5-67.0	43.2-66.9	39.4-60.7	37.7-58.5	36.1-55.3	31.4-48.0	29.8-45.1	30.8-46.6	28.7-43.7	27.6-42.1	27.2-41.9	28.2-42.7	29.6-43.4	29.5-42.2	28.8-40.2
	Liangzhou District	620602	56.2	54.4	53.7	50.1	47.7	47.6	38.3	41.6	44.4	42.8	41.3	40.4	35.1	32	28.5	26.7	24.8
			47.1-66.4	46.2-64.0	45.5-62.9	42.6-59.2	40.4-56.2	40.4-55.3	32.8-44.1	36.2-47.3	39.5-49.7	38.0-47.8	36.3-46.8	35.1-46.3	30.4-40.2	27.8-36.8	25.1-32.6	23.5-30.3	22.0-27.9
	Lingtai County	620822	117.2	97.9	77.4	68.7	63.1	52.4	50.6	51	42.1	39.3	36.2	35.9	33.6	31	29.4	28.3	26.6
			96.5-139.8	82.9-115.0	66.4-90.4	59.7-79.1	54.6-72.3	45.0-61.0	43.0-59.4	43.0-60.9	34.9-50.7	32.6-47.5	30.0-43.6	29.7-43.0	28.3-39.8	26.6-36.4	25.7-33.7	25.1-32.1	23.6-29.9
	Lintan County	623021	90.9	88.9	86.9	76.5	74.1	64.5	55.3	61.7	60.3	56.6	54.9	54.1	47.2	47.2	47.5	46	45.1
			76.6-106.8	75.6-104.0	74.6-101.3	66.6-88.2	65.4-84.0	57.8-72.3	50.2-60.9	56.6-67.7	55.2-66.0	51.6-62.3	49.4-61.2	48.3-60.8	42.1-53.2	42.2-53.1	43.0-52.9	41.6-50.6	40.8-49.3
	Lintao County	621124	75.8	74.1	76.2	73	69.7	66.5	63.2	54.7	51.4	49.1	43	40.1	42	40	37.8	36	34.3
			66.8-86.8	65.3-84.8	67.1-87.7	64.5-83.3	61.7-79.3	59.1-75.1	56.3-70.8	48.9-61.0	46.3-56.9	44.0-54.6	38.8-48.0	36.0-45.3	37.7-47.4	35.9-45.1	34.0-42.2	32.6-39.6	31.0-37.6
	Linxia City	622901	50.9	52.3	51.4	59.9	56.4	53.9	49.8	39.4	37.6	35.8	35.1	36.2	35.5	32.6	28.4	26.1	23.7
			43.1-59.4	44.7-60.6	44.2-59.6	51.6-69.7	48.3-65.5	46.4-62.0	43.3-56.8	34.7-44.4	33.7-41.9	32.3-39.8	31.3-39.6	31.7-41.2	30.9-40.5	28.4-37.4	25.1-32.3	23.2-29.6	21.0-26.4
	Linxia County	622921	62.5	63.2	61.5	59.6	60.4	53.7	51.1	48.1	48.2	47.9	48.6	47.1	43.3	38.9	33.7	29.8	26.8
			54.2-71.8	54.9-72.9	53.7-70.5	52.6-68.0	53.7-68.0	48.5-60.1	46.5-56.6	43.9-52.8	44.0-52.8	43.5-52.8	43.8-54.2	42.1-52.8	38.7-48.8	34.9-43.5	30.6-37.4	27.0-32.8	24.2-29.4
	Linze County	620723	57.1	54.5	51.8	45.6	41.3	39.7	37.6	31.9	29.4	30.2	29.7	31.1	35.7	35.8	35.1	33.5	31.3
			46.3-69.0	45.6-64.9	44.3-60.9	39.3-52.9	35.6-47.5	34.1-46.2	32.1-44.3	26.9-37.9	24.5-35.5	25.2-36.2	24.8-35.5	26.4-37.0	30.7-41.9	31.3-41.2	31.4-39.7	30.3-37.1	28.3-34.3
	Longxi County	621122	65.3	68.7	68.1	65.7	61.7	55.8	50.7	43.1	38.2	35.7	30.2	26.6	25.2	26.1	25.5	25.3	24.7
			53.4-78.5	57.4-81.7	58.2-80.0	57.3-76.2	54.5-70.5	49.2-62.9	44.2-57.5	37.4-49.3	32.9-44.1	30.3-41.8	25.7-35.5	22.8-31.1	21.9-29.1	23.2-29.6	23.0-28.4	23.1-27.8	22.3-27.0
	Luqu County	623026	104.4	105.9	107	111.3	131.3	140.1	147.4	131.6	137.3	113.3	112.1	109.8	93.2	86	84.2	77.1	72.6
			88.6-121.8	90.4-123.4	91.8-124.4	97.0-127.9	116.4-148.7	126.1-156.8	133.4-162.6	119.3-144.7	124.8-150.3	102.2-126.1	100.3-125.7	97.5-123.8	82.1-106.0	75.8-97.6	74.3-94.9	68.1-86.3	64.4-81.1
	Maiji District	620503	51.2	54	53	50.4	47.3	47.3	44.8	44.1	42.1	35.7	33	31	26.2	26	25.5	24.5	24.1
			43.7-59.4	46.5-62.5	45.7-61.4	44.0-57.7	41.7-53.5	42.4-52.8	40.6-49.6	39.9-48.8	38.1-46.2	32.3-39.4	29.9-36.8	27.9-34.8	23.6-29.6	23.4-29.1	23.0-28.3	22.1-26.9	21.8-26.4

Province	County	County Code (2012)	Under-5 Mortality Rate (per 1000 births)																
			1996	1997	1998	1999	2000	2001	2002	2003	2004	2005	2006	2007	2008	2009	2010	2011	2012
	Maqu County	623025	94.9	96.9	90.8	84.3	91	83.9	81.4	86.1	91.2	91.1	91.5	97.4	89.5	85.1	79.8	75.7	70.2
			81.2-110.2	83.0-112.1	78.1-105.2	73.6-96.7	80.4-103.0	75.7-94.4	74.0-89.8	78.7-94.4	83.3-100.5	82.3-100.9	81.1-102.6	85.7-110.6	79.2-102.1	75.3-96.3	71.0-89.6	67.9-83.9	63.5-77.3
	Min County	621126	62.2	60.8	55.8	53.7	54.3	49.7	46.5	48.5	46.1	43.6	40.7	37.4	35.1	31.8	28.6	26	23.6
			53.7-71.4	52.8-70.2	48.8-64.1	47.4-61.2	48.2-61.2	44.8-55.6	42.3-51.4	44.2-53.3	42.0-50.4	39.5-48.1	36.7-45.6	33.4-42.0	31.3-39.6	28.6-35.7	25.9-31.8	23.5-28.7	21.3-25.9
	Minle County	620722	56.8	55.6	55.2	55	52.3	46.8	43.9	36.6	36.2	32.3	27.4	27.8	27.2	28.2	30	29.8	29.5
			50.0-64.8	49.0-63.5	48.6-63.5	48.5-62.7	46.2-59.4	41.6-52.7	39.2-49.2	32.7-40.9	32.6-40.1	29.0-36.0	24.6-30.7	24.9-31.4	24.3-30.8	25.2-31.8	26.8-33.7	26.8-33.0	26.6-32.4
	Minqin County	620621	48.6	45.8	42.8	38.3	33.5	32.1	31.2	29.7	29.6	29.5	31.1	30.9	27.6	29.2	31	28.8	28.6
			42.1-55.8	39.8-52.7	37.5-49.1	33.8-43.5	29.8-37.8	28.9-36.0	28.3-34.6	27.1-32.7	26.9-32.5	26.7-32.6	28.1-34.9	27.5-34.7	24.6-31.1	26.2-32.7	28.1-34.5	26.1-31.7	25.8-31.3
	Ning County	621026	58.1	65.8	71.2	70.9	69.9	71.7	67.8	52.5	49.6	39.9	31.6	25.1	23.7	21.4	21.1	20.5	20.1
			50.1-67.0	57.2-76.0	62.2-81.4	62.9-80.7	62.4-78.4	64.9-80.2	61.7-74.8	47.6-57.7	44.8-54.7	35.8-44.6	28.0-35.8	22.2-28.7	20.8-27.2	18.7-24.4	18.5-24.0	18.0-23.2	17.8-22.7
	Pingchuan District	620403	65.4	64.9	64.1	69.2	64.1	64.4	59.4	52.1	45.5	42.7	37.1	31.9	26.7	22.4	20.4	18.8	17.2
			54.7-77.3	55.0-76.5	54.8-75.2	60.1-80.0	56.6-72.8	57.8-72.1	54.1-65.5	47.7-57.0	41.6-49.6	38.9-46.9	33.5-41.3	28.6-35.8	23.8-30.2	20.0-25.2	18.3-22.8	16.8-20.8	15.4-19.0
	Qilihe District	620103	42.5	44	45.3	43.6	43.5	39.8	36.3	28.8	25.3	20.3	18.7	18.4	17.9	17.8	17.9	18.9	18.4
			35.4-50.6	37.1-51.9	38.5-53.2	37.6-50.8	38.0-49.6	35.2-45.1	32.1-41.1	25.4-32.4	22.1-28.7	17.7-23.1	16.2-21.5	15.9-21.2	15.5-20.8	15.3-20.6	15.5-20.6	16.4-21.6	16.1-21.0
	Qin'an County	620522	57.1	56	55.7	54	52.4	50.1	47.2	42.4	37.7	33.8	28.8	25.2	23.1	21.9	21.4	21	21.4
			46.2-69.0	46.4-66.8	47.5-65.4	46.9-62.6	46.3-59.6	44.4-56.4	41.3-53.3	37.1-48.3	32.6-43.4	28.8-39.5	24.6-33.9	21.4-29.5	20.1-26.7	19.4-24.8	19.3-23.8	19.2-23.1	19.3-23.5
	Qingcheng County	621021	70.4	72.4	68.3	68.8	63.5	58.2	54.4	50.7	44.6	41	40.8	39.4	37.3	34.3	37	35.6	34.2
			61.5-80.6	63.6-82.9	60.1-78.1	60.9-78.0	56.6-71.6	52.4-65.2	49.4-60.2	46.1-55.8	40.5-49.1	37.2-45.3	36.7-45.7	35.1-44.3	33.3-42.1	30.9-38.4	33.5-41.1	32.2-39.2	30.9-37.4
	Qingshui County	620521	59.3	56.8	52.8	49.7	46.9	41.9	40.2	37.9	32.2	29	27.8	25.1	24.3	23.6	25.7	24.3	23.8
			51.0-68.4	49.2-65.6	46.0-60.9	43.9-56.7	41.7-52.7	37.6-46.8	36.4-44.5	34.4-41.7	29.2-35.5	26.1-32.2	24.9-31.3	22.3-28.4	21.5-27.5	21.0-26.7	23.0-29.0	21.7-27.0	21.3-26.3
	Qinzhou District	620502	68.2	68.3	67.6	67.3	66	65.3	62	52.3	48.7	41.1	32	28.6	23.6	22.8	22.8	23.4	23.5
			55.9-81.8	56.8-81.3	57.6-79.6	58.4-78.6	58.0-75.8	57.1-73.9	54.1-70.5	45.3-59.9	41.8-56.1	35.0-47.9	27.2-37.3	24.5-33.3	20.6-27.2	20.3-25.8	20.6-25.4	21.4-25.7	21.2-25.7
	Shandan County	620725	66.2	61.4	59	56.6	53.4	50.3	48.2	42.2	42.6	41.9	36.6	31.4	29.6	26.6	25.1	23.3	22.5
			57.6-76.0	53.7-70.3	52.0-67.7	49.8-64.7	47.5-60.4	45.0-56.5	43.2-54.0	37.8-46.9	38.4-46.9	37.7-46.3	33.1-40.9	28.3-35.2	26.6-33.4	23.8-29.8	22.6-27.8	21.1-25.6	20.3-24.6
	Shixia District	620201	43.6	40.9	38.8	36.5	31	29.6	29.1	23.4	16.2	17.7	17.2	17.7	20	26.2	23.6	22.5	22.7
			33.0-56.8	30.9-53.7	29.1-51.1	27.7-47.9	23.6-40.5	22.8-38.4	22.6-37.4	18.1-29.9	12.5-20.4	13.8-22.1	13.5-21.6	14.0-22.2	15.8-25.0	21.0-32.2	19.3-28.7	18.7-27.0	19.1-26.9
	Zizhixian	620923	65.7	63.2	64.2	57.7	51.5	48	43.8	37.8	37	40.1	37.6	38	34.9	34	30.2	25.7	23.8
			51.0-83.0	49.1-80.7	49.5-82.1	44.6-74.0	40.4-65.6	38.0-60.6	34.9-54.6	30.4-46.5	29.9-44.7	32.6-48.1	30.6-45.2	31.1-45.9	28.4-42.1	28.1-40.8	25.3-35.9	21.7-30.3	20.4-27.7
	Zizhixian	620721	57.6	58.3	54	49.7	46.1	41.7	39.1	32.3	33.6	31.2	29	28.4	33.7	33.7	31.1	29.4	27
			46.7-70.2	47.5-71.0	43.8-66.0	40.2-60.8	37.8-56.3	34.1-50.8	32.1-47.0	27.0-38.2	28.3-39.2	26.3-36.3	24.6-34.0	23.7-33.5	28.1-39.9	28.4-39.6	26.6-36.4	25.4-34.2	23.5-31.0
	Suzhou District	620902	44	44.7	44.6	45.5	48.8	49.5	49.7	36.3	35.8	37.5	36.9	34.6	36.6	32	27.8	23.2	20.1
			37.0-52.0	37.9-52.3	38.1-52.1	39.0-53.5	41.6-57.1	42.5-57.1	43.0-56.8	32.0-41.0	32.1-39.8	33.8-41.6	32.9-41.5	30.3-39.3	31.9-41.8	28.0-36.7	24.6-31.6	20.6-26.3	17.8-22.4
	Teewo County	623024	102.3	106.1	104.2	103.5	97.2	92.9	93.7	84	89.5	80.4	67.7	55.4	48.5	39.5	38.3	36.7	35.9
			81.9-125.6	85.5-129.5	84.0-127.8	83.4-126.6	80.0-117.3	77.3-111.2	78.7-110.2	71.8-96.9	78.0-101.2	70.1-90.6	58.6-77.1	47.3-64.1	41.1-56.6	33.8-46.1	33.0-44.5	31.8-42.3	31.3-41.0
	Zizhixian	620623	88.9	81.1	71.4	68.6	52.8	51.3	49.6	46.3	46.2	40.8	40.5	42.7	39.9	41.3	46.2	43.5	42.8
			75.0-104.4	68.8-95.1	60.4-84.1	58.1-81.2	44.2-62.8	43.0-60.6	42.1-58.1	39.6-53.3	40.2-52.4	35.2-46.2	35.0-46.4	36.6-49.6	34.0-46.2	35.6-47.9	40.4-53.0	38.3-49.6	37.8-48.1
	Tongwei County	621121	66.3	67.7	67.9	63.2	64.1	57.3	55.3	49.1	41.9	34.9	30.2	26	24.8	22.5	23.4	22.1	21.6
			53.7-80.0	56.2-80.7	58.1-79.8	55.0-73.2	56.7-73.1	50.6-64.2	48.3-62.5	43.0-55.9	36.2-48.3	29.7-40.8	25.7-35.5	22.1-30.6	21.6-28.6	19.9-25.4	21.0-25.9	20.1-24.2	19.4-23.7
	Weiyuan County	621123	143.2	141	124.8	121	107.9	99.5	91.1	81.9	74.5	65	58.5	49.6	45.3	41.1	36.4	33.2	30.1
			119.1-171.1	118.9-167.5	107.2-147.0	105.2-140.9	94.7-123.6	87.6-112.8	79.4-103.5	70.9-94.0	64.0-85.8	55.4-75.9	49.9-68.2	42.5-57.7	39.5-52.2	36.5-46.4	32.9-40.5	30.2-36.4	27.2-33.0
	Wen County	621222	70.2	67.8	62	54	53.6	50.4	46.8	48.2	47.1	46.7	45	43.4	41.6	40.1	39.6	37.7	36.1
			59.3-82.2	58.1-79.1	53.5-72.2	47.2-62.0	47.5-60.8	45.4-56.4	42.7-51.6	44.2-52.8	43.0-51.5	42.6-51.4	40.7-50.3	38.9-48.8	37.2-47.0	36.0-45.0	35.7-44.2	33.8-41.7	32.4-39.8
	Wudu District	621202	101.5	87.1	83.8	73.5	63	54.8	49.6	48.2	45.1	43.2	39.9	37	34.6	31.4	27.8	24.3	21.9
			83.0-121.4	73.7-102.6	72.2-96.9	64.9-84.2	55.7-71.1	48.5-61.6	43.4-56.4	41.5-55.4	38.3-52.6	36.5-51.1	34.1-47.2	31.7-43.7	29.9-40.1	27.8-35.5	25.1-31.0	22.1-26.8	19.7-24.0
	Wushan County	620524	81.6	77.1	74.7	67.1	64.9	61.3	55.8	52.4	47.8	44.2	40.4	37.1	35	33.5	32.5	31.3	30.1
			67.9-97.2	65.0-91.1	64.0-87.4	57.6-77.8	56.2-74.9	53.0-70.4	47.8-63.9	44.7-60.4	40.4-55.2	37.3-51.6	33.9-47.6	31.2-43.8	29.6-41.1	28.7-39.0	28.2-37.2	27.9-35.7	26.9-34.0
	Xiahe County	623027	81	78.2	80.2	110.1	120.9	113.4	109.5	89.5	80.8	75.7	76.6	74.2	73.5	67.8	68.7	65.9	62.5
			56.6-115.8	56.0-109.1	58.5-109.6	81.9-146.6	91.5-156.3	87.7-144.5	86.9-134.9	72.4-108.6	66.7-95.7	62.8-89.7	62.9-92.5	58.9-93.1	56.3-95.2	49.9-90.7	47.8-95.5	44.2-94.0	40.6-90.9
	Xifeng District	621002	54.1	54.5	51.6	46.7	43.7	41	36.3	33.6	33.9	31.1	28.4	28.8	25.4	20.6	19.3	17.7	15.5
			45.5-63.7	46.4-63.6	44.1-60.2	40.0-54.8	37.3-51.4	35.0-47.5	31.2-41.6	29.4-38.1	30.1-37.8	27.7-34.8	25.0-32.1	25.0-33.0	21.9-29.2	17.8-23.8	16.9-22.2	15.5-20.3	13.6-17.5
	Xigu District	620104	33.7	35.3	34	31	27.6	25.6	22.8	18.3	17.2	15.3	12.3	11.7	12.8	12.4	12.5	12.9	12.8
			28.5-39.4	30.2-41.0	29.4-39.4	27.3-35.5	24.5-31.1	23.0-28.6	20.6-25.2	16.6-20.1	15.5-18.9	13.7-17.0	11.0-13.8	10.4-13.2	11.3-14.5	11.0-13.9	11.2-14.1	11.5-14.2	11.5-14.1
	Xihe County	621225	82.9	81.4	74.2	71.6	69.5	60.3	55.8	54	46.7	41.7	34.6	27.1	25.2	27.5	25.7	26.5	28.2
			58.2-117.8	58.1-111.7	54.7-100.8	53.7-94.9	53.3-89.9	47.2-75.3	45.1-67.6	45.0-63.3	40.1-53.8	35.5-48.5	28.9-41.0	21.7-33.8	19.4-32.5	20.2-36.8	18.0-35.6	17.6-37.5	18.1-41.0
	Yongchang County	620321	55	54.5	49.8	46.2	37.8	36.1	33.4	29.6	28	30.5	28.1	25.4	24.1	23	21.9	21.1	20.5
			47.4-63.3	47.3-62.6	43.1-57.3	40.0-53.7	32.3-43.8	30.9-41.6	28.8-38.4	26.0-33.5	25.0-31.5	27.2-34.2	24.7-31.9	21.9-29.1	20.7-27.8	19.8-26.6	19.1-25.2	18.4-24.1	18.0-23.2
	Yongdeng County	620121	55.9	58	59.2	58.3	53.2	50.5	49.9	47.2	43.8	43.4	39.8	35.2	32.5	30.4	28.3	26.7	25.5
			49.2-64.1	51.1-66.7	51.9-68.5	51.1-67.0	46.7-61.0	44.4-57.5	44.0-56.4	41.9-52.9	39.0-49.0	38.6-48.6	35.3-44.6	31.4-39.9	28.9-37.0	27.1-34.5	25.3-32.0	24.0-29.6	23.1-28.1
	Yongjing County	622923	77.3	76.6	68.2	63.4	61.6	55.8	62.2	58.2	56.1	58.8	57.6	56.2	55.4	50.8	42.7	37.8	33.2
			66.8-88.9	66.5-88.0	59.1-78.4	54.9-73.4	53.1-71.2	48.1-64.0	54.1-70.5	51.8-65.1	50.9-61.8	53.8-64.7	52.4-63.9	50.0-62.9	49.0-62.5	45.1-57.3	38.2-48.0	34.0-41.9	29.8-36.5
	Yumen City	620981	55.3	56.7	52.6	49	45.8	47.3	41.9	39.6	35.9	36.8	35.5	34.6	32.9	30.9	29.2	25.6	23.4
			46.6-64.8	48.4-66.2	45.3-61.4	42.9-56.2	40.5-51.8	42.4-52.8	38.1-46.3	36.1-43.5	32.7-39.3	33.4-40.5	32.0-39.7	30.9-38.9	29.5-37.2	27.7-34.7	26.3-32.5	23.0-28.3	21.0-25.8
	Yuzhong County	620123	61.6	68.3	67.5	64.9	64	63.3	58	57.3	55	51.3	50.6	48	44	40.2	35	33.8	32.1
			53.6-70.6	59.8-78.4	59.3-77.8	57.2-74.3	56.7-73.1	55.6-71.9	51.0-65.6	50.7-64.3	48.7-61.6	45.5-57.6	44.7-57.1	42.6-54.5	39.0-50.0	35.8-45.6	31.4-39.4	30.5-37.4	29.0-35.2
	Zhang County	621125	70.8	70	66.9	68.2	69.8	65.2	63.3	60.9	60.5	54.9	52.7	50.1	42.8	40.7	40	39.3	37.8

Province	County	County Code (2012)	Under-5 Mortality Rate (per 1000 births)																
			1996	1997	1998	1999	2000	2001	2002	2003	2004	2005	2006	2007	2008	2009	2010	2011	2012
			61.7-81.3	61.1-80.5	58.8-76.8	60.4-77.5	61.8-78.5	58.8-72.8	57.5-70.2	55.5-67.0	55.0-66.4	49.6-60.8	47.5-59.1	44.6-56.2	38.2-48.3	36.4-45.8	36.2-44.6	35.6-43.2	34.2-41.4
	Zizhixian	620525	69.1	70.5	65.3	59.7	63.7	59.6	57.6	53.2	53.7	46.5	42.1	39.7	38.2	34.9	32.6	30.3	30
			51.9-92.0	54.8-91.0	52.6-81.6	49.2-73.0	54.1-75.2	52.1-68.3	51.8-64.2	48.6-58.2	49.1-59.2	41.5-52.1	36.2-49.1	32.7-47.6	30.0-47.4	26.0-44.9	23.1-43.5	20.7-41.3	19.6-42.1
	Zhengning County	621025	69.4	64.7	55.2	45	41.1	38.1	36	39.8	40.4	35.4	33.2	31.6	27.3	22.2	22.2	19.8	18
			56.7-84.2	54.1-76.8	46.9-64.9	38.5-52.9	34.7-48.6	31.6-45.8	29.5-43.8	32.2-49.1	32.6-50.2	28.4-44.0	26.7-41.1	25.5-38.7	22.5-33.1	18.7-26.5	19.2-26.0	17.2-22.5	15.7-20.5
	Zhenyuan County	621027	51.4	54.2	54.8	57.1	55.9	59.7	57.5	53.5	53.1	50.5	44.3	39.2	35.3	30.7	27.1	25.4	24.7
			44.9-58.8	47.7-62.1	48.2-63.0	50.3-65.1	49.5-63.5	53.0-67.2	51.4-64.4	47.7-59.7	47.8-58.8	45.4-56.2	39.8-49.4	35.3-44.1	31.8-39.8	27.5-34.4	24.5-30.1	23.1-27.9	22.3-27.1
	Zhuanglang County	620825	112.4	93	77.2	63.5	60.9	52.3	48.3	41.3	38.2	35.1	31.3	28.5	28	27.8	29.1	28.5	29.1
			93.5-134.1	78.4-110.3	66.2-90.5	55.2-73.5	53.9-69.4	46.0-58.7	42.1-54.7	36.0-47.2	32.9-44.1	29.8-41.1	26.6-36.9	24.4-33.3	24.3-32.3	24.6-31.5	26.2-32.4	26.0-31.3	26.3-31.8
	Zhugqu County	623023	80.6	80.7	78.2	76.2	82.5	74.2	71.7	69.8	74.5	71.7	73	70.5	65.2	59.3	54.2	50.9	46.6
			68.1-94.4	68.7-94.1	66.9-91.1	65.3-88.8	70.8-95.8	64.3-85.3	62.4-81.2	62.0-78.0	67.8-81.9	65.6-78.7	66.1-80.8	62.8-79.1	57.6-73.5	52.6-67.0	48.6-61.0	45.9-56.6	41.9-51.3
	jingning County	620826	99.5	87.3	74	63.6	62.9	55.7	50.9	48.5	45.3	43.9	40.7	39.8	37.4	34.1	31.9	29.8	28.2
			82.1-118.4	73.9-102.5	63.9-85.4	56.1-73.3	55.6-71.2	49.2-62.8	44.6-57.6	41.8-55.5	38.7-52.7	37.1-51.8	34.9-48.1	34.0-46.7	32.4-43.2	30.2-38.7	28.7-35.6	27.1-32.7	25.5-30.9
Guangdong	Baiyun District	440111	14.6	14.6	14	13.2	12.1	11.6	10.9	11.8	11.1	10.5	10.4	10	8.2	7.8	6.7	6.5	5.9
			12.2-17.2	12.4-17.1	11.9-16.3	11.1-15.3	10.2-14.1	9.9-13.3	9.5-12.4	10.4-13.2	9.9-12.2	9.5-11.6	9.3-11.5	8.9-11.1	7.3-9.2	6.8-8.7	5.9-7.5	5.8-7.2	5.3-6.5
	Baoan District	440306	20	14.9	14.3	10	8.9	8.1	7.2	6.6	5.7	5.2	4.7	4.3	4	3.9	3.9	3.9	3.8
			16.5-23.8	12.6-17.4	12.3-16.5	8.6-11.5	7.6-10.3	7.0-9.4	6.1-8.4	5.6-7.8	4.8-6.8	4.4-6.2	4.0-5.6	3.7-5.1	3.4-4.7	3.4-4.4	3.4-4.3	3.5-4.3	3.4-4.3
	Boluo County	441322	25.2	23.7	23.4	22.1	20.4	17.6	16	15.2	14.8	13.8	12	10.9	10.3	9.4	8.6	8	7.6
			20.3-30.8	19.1-29.0	18.9-28.7	17.6-27.1	16.3-25.4	14.1-21.9	12.9-19.6	12.4-18.5	12.2-17.8	11.3-16.6	9.9-14.4	9.0-13.1	8.5-12.3	7.8-11.2	7.2-10.2	6.8-9.4	6.5-8.9
	Chancheng District	440604	17.6	17.5	17.1	19.1	18.3	17.5	18.4	18.4	18.9	15.9	14.1	11.8	8.5	6.3	6.6	7	7.4
			14.2-21.2	14.6-20.9	14.4-20.2	16.0-22.3	15.3-21.2	15.0-20.0	16.0-20.8	16.3-20.4	17.1-20.7	14.5-17.4	12.7-15.5	10.5-13.1	7.5-9.5	5.5-7.0	5.8-7.4	6.3-7.8	6.6-8.1
	Chaoan County	445121	24.8	23.7	22.1	19.8	17.5	15.3	14.4	12.9	13.6	14.2	14.6	15.3	16.5	16.1	15.4	14.5	13.6
			21.0-28.9	20.3-27.4	19.0-25.4	17.0-22.7	14.9-19.9	13.2-17.3	12.5-16.3	11.4-14.5	12.1-15.2	12.5-15.9	12.7-16.6	13.2-17.5	14.3-19.0	14.0-18.4	13.5-17.4	12.9-16.4	12.2-15.2
	Chaonan District	440514	20.3	19	19	18.7	17.9	17.3	23.5	22.5	20.7	18	15	12.6	10.4	9.2	8	7.3	6.8
			14.2-28.0	13.6-25.8	13.9-25.3	14.1-24.4	14.1-23.0	14.0-21.4	19.8-27.7	20.0-25.2	19.0-22.5	16.4-19.8	13.1-17.2	10.4-15.0	8.1-13.0	6.7-12.0	5.6-10.9	4.9-10.3	4.4-9.9
	Chaoyang District	440513	21.3	20.7	20	18	17.2	16.2	16.6	17	14.9	12.7	10.9	9.7	8.9	8.2	7.4	6.5	6
			17.0-26.0	17.1-24.6	17.1-23.0	15.9-20.3	15.3-19.3	14.4-18.1	14.6-18.9	14.6-19.6	12.6-17.5	10.7-15.1	9.2-13.0	8.1-11.6	7.5-10.4	7.0-9.5	6.4-8.6	5.6-7.4	5.2-6.9
	Chenghai District	440515	21.6	20.3	19.2	17.1	16.3	15.1	14.8	14	12.9	11.7	10.9	10.7	10.2	9.6	9.1	8.5	8
			14.3-31.0	13.7-28.9	13.0-27.4	11.6-24.2	11.2-22.6	10.8-21.0	10.7-20.0	10.6-18.2	10.0-16.3	9.2-14.7	8.6-13.8	8.2-13.9	7.7-13.4	6.9-13.2	6.4-12.9	5.7-12.2	5.2-11.7
	Chengqu	441502	21.7	21.6	20	19.8	17.8	15.9	13.9	13.4	11.8	10.2	7.8	7	5.8	5.2	4.9	4.6	4.4
			17.6-26.4	17.9-25.8	16.9-23.5	17.1-22.8	15.7-20.2	14.3-17.8	12.6-15.4	12.2-14.7	10.7-13.0	9.2-11.3	7.0-8.7	6.2-7.9	5.1-6.5	4.6-5.8	4.4-5.5	4.1-5.1	4.0-4.8
	Chikan District	440802	14.1	13.7	12.9	13.9	13.2	14.3	14.8	14.3	12.9	12.1	12.2	11.2	10.7	9	8.1	7.6	6.8
			11.6-17.0	11.4-16.3	10.8-15.4	11.6-16.5	11.0-15.5	12.1-16.6	12.9-16.9	12.7-16.1	11.6-14.2	11.0-13.3	11.0-13.4	10.0-12.4	9.5-11.9	8.0-10.1	7.2-9.1	6.8-8.5	6.1-7.5
	Conghua City	440184	20.6	20.1	20.3	19.8	19.2	18.1	17.1	15.5	14.6	13.4	12.9	11.7	11.1	10.8	10.2	9.6	9.1
			17.8-23.7	17.6-23.0	17.8-23.1	17.5-22.4	17.2-21.5	16.2-20.2	15.3-19.0	14.0-17.1	13.1-16.1	12.1-14.8	11.6-14.4	10.4-13.2	9.8-12.7	9.5-12.2	9.1-11.4	8.6-10.6	8.2-10.0
	Dapu County	441422	29.1	28.4	27.3	26.6	25	22	19.2	17.2	14.7	12.3	11.2	10.8	10	9.5	9.9	9.4	9
			25.1-33.4	24.9-32.5	24.1-31.0	23.6-30.0	22.3-28.0	19.6-24.6	17.2-21.4	15.5-19.1	13.1-16.2	11.0-13.8	10.0-12.6	9.6-12.2	8.8-11.3	8.4-10.7	8.8-11.1	8.5-10.4	8.1-9.9
	Deqing County	441226	30.1	29	28.3	25.9	22.7	20.6	18.4	16.4	16.4	15.6	14.7	13	11.7	10.2	9.6	8.7	8.1
			24.5-36.1	24.3-34.0	24.5-32.7	22.8-29.3	20.4-25.4	18.5-23.1	16.3-20.8	14.4-18.8	14.2-19.0	13.4-18.3	12.6-17.5	11.2-15.3	10.2-13.5	9.0-11.6	8.5-10.7	7.8-9.6	7.3-9.0
	Dianbai County	440923	22.8	22.8	22.2	21.1	21.9	20.7	18.4	17.3	15.8	13.9	12.3	10.5	8.6	7.8	7.9	7.4	7.2
			19.8-26.1	20.0-26.0	19.6-25.3	18.6-23.7	19.5-24.6	18.4-23.2	16.4-20.4	15.5-19.2	14.2-17.5	12.4-15.4	10.9-13.7	9.4-11.9	7.6-9.8	6.9-8.8	7.0-8.8	6.7-8.2	6.5-7.9
	Dinghu District	441203	21.2	21.4	20.7	20.1	18.4	16.9	16.2	14	12.2	11.3	11.6	10.3	9.4	9.4	8.3	7.3	6.7
			17.5-25.4	17.9-25.4	17.5-24.4	16.9-23.7	15.4-21.5	14.5-19.8	14.0-18.6	12.2-15.9	10.8-13.8	10.0-12.6	10.3-13.1	9.0-11.6	8.2-10.6	8.1-10.6	7.3-9.4	6.5-8.3	5.9-7.5
	Dongguan City	441900	16.8	15.5	14.6	13.4	12.9	12.8	13.5	14.1	12.7	11.6	10.6	9.6	8.3	7.6	7.2	6.7	6.3
			14.2-19.6	13.4-17.9	12.7-16.8	11.8-15.3	11.5-14.6	11.4-14.3	12.0-15.0	12.7-15.6	11.4-14.1	10.4-13.0	9.4-11.9	8.5-10.9	7.2-9.4	6.7-8.6	6.4-8.1	6.0-7.4	5.7-7.0
	Dongyuan County	441625	27.4	27.2	27	27.9	27.9	25.6	23.7	20.9	18.5	15.2	13	11.7	10.5	9.9	8.9	8.4	8
			23.7-31.3	23.8-31.0	23.8-30.6	24.6-31.5	24.7-31.4	22.6-28.7	20.9-26.7	18.5-23.5	16.4-20.6	13.5-16.9	11.5-14.5	10.4-13.2	9.2-11.8	8.7-11.1	7.9-9.9	7.5-9.3	7.2-8.8
	Doumen District	440403	16.1	15.9	14.6	14.3	13.8	11.6	10.5	9.3	9.1	8.4	8.4	8.4	8.4	8.9	9	8.5	8.4
			13.2-19.5	13.2-18.9	12.2-17.3	12.0-16.9	11.6-16.1	9.8-13.3	9.2-12.0	8.2-10.4	8.2-10.1	7.6-9.2	7.5-9.3	7.5-9.3	7.4-9.4	7.9-10.0	8.0-10.0	7.6-9.5	7.5-9.2
	Duanzhou District	441202	15.9	16.2	14.3	15.4	13.5	13	11.2	10.7	9.3	9.5	8.9	8.3	7.7	7.1	6.7	6.8	6.6
			13.6-18.5	13.9-18.7	12.4-16.5	13.2-17.7	11.5-15.3	11.2-14.9	9.8-12.7	9.5-12.0	8.3-10.2	8.6-10.4	8.0-9.8	7.4-9.2	6.8-8.6	6.3-7.9	6.0-7.5	6.1-7.5	5.9-7.3
	Enping City	440785	20.3	19.5	19.4	20.4	20.7	19.5	18.7	16.6	14.5	13.1	11.9	11.1	10.6	9.7	10.1	9.6	9.2
			15.1-26.5	15.1-25.0	15.3-24.3	16.7-24.8	17.4-24.3	17.0-22.1	16.8-20.8	15.0-18.3	13.0-16.1	11.5-14.8	10.1-13.8	9.1-13.4	8.3-13.2	7.2-12.5	7.4-13.4	6.7-12.9	6.2-12.6
	Fengkai County	441225	28.6	28.5	28.6	27.1	25.5	23.1	21.9	21.2	21.7	20.5	18.2	15.9	13.6	10.7	9.4	8.3	7.7
			24.9-32.6	25.0-32.4	25.1-32.6	23.7-30.9	22.4-28.9	20.2-26.1	19.1-24.9	18.6-24.1	19.1-24.5	18.1-23.1	16.0-20.5	14.0-18.0	11.9-15.4	9.4-12.1	8.3-10.6	7.5-9.3	6.9-8.5
	Fengshun County	441423	32.3	30.4	29.5	28.2	27.5	26.8	25.9	23.5	22	19.5	17.6	12.9	12.3	9.6	9.1	8.3	7.6
			27.3-37.8	26.2-35.2	25.7-33.7	25.0-32.2	24.6-30.9	24.1-29.9	23.2-28.8	21.1-26.1	19.8-24.3	17.4-21.5	15.5-19.5	11.3-14.5	10.7-14.0	8.4-11.0	7.9-10.3	7.3-9.3	6.7-8.5
	Fogang County	441821	32.3	31.4	31.2	28.8	25.8	20	17.1	15.4	13.6	12.1	11.4	9.8	10.2	9.6	9.2	8.7	8.3
			26.3-39.0	26.3-36.9	26.8-36.0	24.9-33.0	22.2-29.8	17.1-23.2	14.6-20.0	13.1-18.4	11.4-16.3	10.1-14.5	9.5-13.5	8.3-11.6	8.7-11.8	8.4-11.0	8.0-10.3	7.8-9.7	7.3-9.3
	Futian District	440304	20.3	15.8	15	12.4	11.7	11.1	11.1	11.2	10.1	9.6	9.9	8.6	8	8.2	7.6	7.7	7.4
			17.0-23.8	13.4-18.3	12.8-17.4	10.4-14.4	9.9-13.6	9.5-12.8	9.7-12.7	10.0-12.6	9.1-11.2	8.7-10.5	8.9-10.9	7.6-9.5	7.1-8.9	7.2-9.1	6.8-8.5	6.9-8.6	6.7-8.1
	Gaoming District	440608	17.9	16	14.4	11.6	10	8.7	7.5	5.8	5.1	4.3	3.5	4.4	4.8	5.2	5.9	6.1	6
			14.7-21.4	13.4-18.8	12.2-16.8	9.8-13.6	8.4-12.0	7.2-10.4	6.2-9.2	4.7-7.1	4.1-6.2	3.5-5.2	2.8-4.3	3.6-5.4	4.0-5.7	4.5-6.1	5.1-6.7	5.4-6.9	5.3-6.8
	Gaoyao City	441283	25.7	24.5	22.8	20.1	18.2	16.2	14.6	12.6	11	10.9	10.6	9.7	9.6	9.5	9.6	9.1	9.2
			21.1-30.3	20.6-28.4	19.5-26.4	17.6-23.0	16.0-20.5	14.3-18.3	12.7-16.5	10.8-14.5	9.4-12.8	9.3-12.8	8.9-12.6	8.2-11.5	8.2-11.3	8.3-11.1	8.4-11.0	8.0-10.3	8.2-10.4

Province	County	County Code (2012)	Under-5 Mortality Rate (per 1000 births)																
			1996	1997	1998	1999	2000	2001	2002	2003	2004	2005	2006	2007	2008	2009	2010	2011	2012
	Gaozhou City	440981	16.6	15.9	14.7	13.4	11.7	10.1	8.8	7.9	6.9	6.6	6.4	5.9	5.8	5.4	5.7	5.4	5.2
			13.6-19.9	13.4-18.7	12.6-16.9	11.6-15.2	10.1-13.3	8.6-11.6	7.6-10.3	6.8-9.3	5.9-8.2	5.6-7.8	5.5-7.6	5.0-6.9	5.0-6.7	4.8-6.2	5.1-6.4	4.9-6.0	4.7-5.7
	Guangning County	441223	27	26.6	26.4	24.6	22.8	20.9	17	14.1	12.8	11.9	10.1	8.6	7.9	7.2	6.3	5.8	5.4
			22.0-32.4	22.2-31.2	22.7-30.5	21.6-27.9	20.4-25.5	18.6-23.3	15.1-19.3	12.3-16.1	11.1-14.8	10.2-13.9	8.6-11.9	7.4-10.0	6.8-9.0	6.3-8.1	5.6-7.0	5.2-6.4	4.8-5.9
	Haifeng County	441521	42.9	42.8	40.1	41.5	36	32.5	26.4	25	23.4	22.5	21.1	21.4	19.7	16.1	13.7	11.5	9.7
			37.2-49.1	37.6-48.8	35.3-45.4	36.9-46.8	32.1-40.3	29.0-36.3	23.7-29.4	22.5-27.6	21.0-25.8	20.2-24.9	18.9-23.5	19.1-24.1	17.5-22.3	14.2-18.1	12.2-15.2	10.3-12.8	8.7-10.7
	Haizhu District	440105	13.2	14.3	13.6	13	12.4	11.7	10.8	9.6	9.4	8.8	8.6	8.3	7.3	6.4	6	5.9	5.7
			9.2-18.2	10.2-19.4	10.0-18.2	9.8-17.0	9.7-15.9	9.4-14.5	9.0-12.8	8.4-10.8	8.6-10.3	8.1-9.7	7.6-9.7	7.0-9.7	5.9-8.8	4.9-8.1	4.3-7.8	4.1-8.0	3.8-7.9
	Haojiang District	440512	17	16.4	15.9	15.4	16.4	15.3	13.4	10.9	9.4	7.8	6.8	6.9	7.2	6.9	6.1	5.6	5.1
			14.5-19.6	14.3-18.8	13.9-18.1	13.6-17.4	14.6-18.4	13.7-17.0	11.9-14.8	9.8-12.1	8.4-10.4	7.0-8.6	6.1-7.6	6.2-7.8	6.4-8.2	6.1-7.8	5.4-6.8	5.0-6.2	4.6-5.6
	Heping County	441624	30.4	30.2	28.5	27.8	26.7	25.6	23.7	22.4	19.4	19.9	18.5	17.2	15.7	14.4	10.6	10	9.3
			25.8-35.5	26.1-34.9	24.9-32.6	24.5-31.5	23.8-29.8	23.0-28.3	21.3-26.3	20.2-24.6	17.4-21.4	17.8-22.1	16.4-20.7	15.1-19.3	13.8-17.9	12.6-16.3	9.3-12.0	8.9-11.2	8.3-10.4
	Heshan City	440784	18.4	17.7	17.4	16.7	15.2	13.3	11.9	11.3	10	10.2	10.3	10.1	10.1	10.4	9.8	9.4	9.2
			15.3-21.7	15.0-20.6	14.8-20.1	14.3-19.2	12.9-17.3	11.4-15.1	10.4-13.4	10.1-12.6	9.0-11.0	9.2-11.3	9.2-11.5	8.9-11.3	8.9-11.4	9.2-11.6	8.8-10.9	8.5-10.5	8.2-10.2
	Huadu District	440114	23.1	20.7	19.5	17.6	16.4	14.7	13.2	11.8	10.2	8.9	8.3	8.3	7.6	7.5	7.2	6.8	6.4
			19.0-27.6	17.4-24.3	16.8-22.5	15.5-20.0	14.6-18.4	13.1-16.5	11.6-14.9	10.3-13.5	8.8-11.8	7.6-10.5	7.1-9.8	7.1-9.8	6.6-8.8	6.5-8.5	6.5-8.1	6.2-7.5	5.8-7.0
	Huaiji County	441224	25.6	25.6	24.7	24.2	24	21.2	19.4	18.5	16.8	15.8	15.6	13.5	11.2	9.9	8.5	7.6	6.7
			22.3-29.2	22.5-29.1	21.6-28.1	21.3-27.5	21.2-27.2	18.7-24.0	17.0-22.1	16.3-20.9	14.8-18.9	14.0-17.8	13.8-17.6	11.9-15.1	9.9-12.7	8.7-11.2	7.5-9.5	6.8-8.4	6.0-7.4
	Huangpu District	440112	16.3	15.5	15.4	14.2	14.1	13.4	12.5	11.7	11.9	9.9	10.3	9.5	8.8	7.9	8.3	8.4	7.8
			12.8-20.3	12.3-19.2	12.4-19.0	11.5-17.3	11.5-17.1	11.1-16.0	10.6-14.7	10.0-13.4	10.4-13.5	8.8-11.1	9.1-11.5	8.3-10.7	7.7-10.0	6.9-8.9	7.4-9.4	7.4-9.4	6.9-8.7
	Huazhou City	440982	32.3	32.6	31.4	31.3	30.2	28.4	23.8	21.2	18.6	15.2	11.7	8.9	8.6	7.5	6.8	6.4	5.9
			26.3-38.7	27.2-38.4	27.0-36.2	27.5-35.5	27.0-33.8	25.4-31.6	21.2-26.8	18.6-24.1	16.1-21.4	13.1-17.8	10.0-13.7	7.7-10.4	7.5-10.0	6.6-8.4	6.0-7.5	5.7-7.1	5.2-6.5
	Huicheng District	441302	16.5	16	15.7	15	13.3	13.8	11.7	11.5	11.1	10.4	9.1	8.4	8.6	7.1	6.4	6.1	5.9
			13.6-20.0	13.2-19.2	13.1-18.8	12.4-18.0	11.0-15.9	11.5-16.4	9.9-13.7	9.9-13.2	9.7-12.5	9.2-11.6	8.0-10.2	7.4-9.4	7.5-9.7	6.2-8.0	5.6-7.2	5.4-6.9	5.2-6.6
	Huidong County	441323	16.9	15.9	15.3	14	13.2	14.2	16.6	15.2	14.5	14.1	12.3	11.6	10.9	9.5	8.7	8.1	7.6
			12.7-22.2	11.9-20.8	11.4-19.9	10.4-18.1	9.9-17.1	10.7-18.3	12.8-21.2	11.9-19.0	11.5-18.0	11.2-17.4	9.8-15.1	9.4-14.1	8.8-13.1	7.7-11.5	7.1-10.3	6.8-9.5	6.4-8.9
	Huilai County	445224	30.9	29.7	28.2	26.5	24.9	22.3	20.2	18.5	16.6	15.5	14.5	13.4	12.5	11.6	10.6	9.6	8.9
			26.9-35.3	26.0-33.8	24.7-32.0	23.1-30.2	21.7-28.3	19.4-25.4	17.5-23.0	16.0-21.3	14.3-19.0	13.5-17.7	12.6-16.4	11.8-15.3	10.9-14.2	10.3-13.2	9.4-11.9	8.7-10.7	8.0-9.8
	Huiyang District	441303	13.5	12.7	12.8	12.7	12.2	12.8	13.4	12.2	11.2	10.4	8.7	7.8	7.5	6.3	5.8	5.5	5.2
			11.2-15.9	10.8-14.8	11.0-14.8	10.8-14.7	10.3-14.5	10.7-15.5	11.0-16.4	9.8-15.0	8.9-13.8	8.2-12.9	6.9-10.8	6.2-9.6	6.1-9.1	5.3-7.5	4.9-6.8	4.7-6.4	4.5-6.1
	Jiangcheng District	441702	18.9	18.9	17.6	15.8	14.2	11.8	10.6	9.1	8.7	7.9	7.6	7.1	6.4	5.7	5.2	5.1	4.8
			16.4-21.7	16.5-21.5	15.5-20.0	13.9-17.7	12.7-16.0	10.5-13.3	9.4-11.9	8.1-10.1	7.8-9.7	7.0-8.9	6.7-8.5	6.3-8.1	5.6-7.3	5.0-6.4	4.6-5.9	4.6-5.6	4.4-5.3
	Jianghai District	440704	18.8	17.6	16.8	16.4	15.8	14.1	12.7	12.4	11.9	11	11	10.5	9.5	8.9	8	7.5	6.9
			14.1-24.4	13.6-22.3	13.5-20.8	13.4-19.9	13.2-18.8	12.0-16.5	11.1-14.4	11.0-13.8	10.7-13.2	9.8-12.4	9.4-12.6	8.6-12.5	7.5-11.8	6.7-11.3	5.7-10.5	5.2-10.1	4.6-9.5
	Jiaoling County	441427	27.4	26.3	25.5	24.7	22.2	19.1	15.2	12.8	11.5	9.1	9	10.5	10.2	9.4	9.2	8	7.3
			23.1-32.1	22.5-30.5	21.8-29.5	20.9-28.5	18.8-25.6	16.3-22.2	13.1-17.4	11.1-14.6	10.2-13.0	8.0-10.2	8.0-10.2	9.2-11.9	8.9-11.6	8.1-10.6	8.0-10.4	7.1-9.0	6.4-8.1
	Jiedong County	445221	30.1	29.7	29.7	30.3	26.9	27.2	22.7	21.6	18.7	18.5	15	14	12.2	10.7	9.9	9.1	8.3
			23.6-37.8	23.3-37.2	23.6-37.0	24.1-37.3	21.6-33.1	22.3-33.0	18.8-27.0	18.2-25.3	16.0-21.6	16.0-21.0	13.0-17.1	12.1-16.1	10.4-14.0	9.1-12.3	8.5-11.4	7.8-10.4	7.2-9.5
	Jiexi County	445222	27.4	25.1	23.4	19.9	17.2	14.2	12.6	11.3	10.5	10.4	10.6	10.6	9.8	8.8	8.2	7.8	7.3
			22.8-32.6	21.1-29.5	20.0-27.4	16.8-23.2	14.6-19.9	12.1-16.6	10.9-14.6	9.8-13.0	9.1-11.9	9.1-11.9	9.1-12.1	9.1-12.3	8.3-11.3	7.5-10.3	7.1-9.5	6.7-8.9	6.3-8.3
	Jinping District	440511	17	16.4	15.9	15.4	16.4	15.3	13.4	10.9	9.4	7.8	6.8	6.9	7.2	6.9	6.1	5.6	5.1
			14.5-19.6	14.3-18.8	13.9-18.1	13.6-17.4	14.6-18.4	13.7-17.0	11.9-14.8	9.8-12.1	8.4-10.4	7.0-8.6	6.1-7.6	6.2-7.8	6.4-8.2	6.1-7.8	5.4-6.8	5.0-6.2	4.6-5.6
	Jinwan District	440404	14.1	14	14.4	14.7	13.6	13.4	11.7	13.6	10.8	9.7	9.7	10.9	8.4	9.3	8.9	8.9	8.1
			9.5-19.9	9.5-19.6	10.0-19.9	10.4-19.9	9.8-18.2	9.9-17.3	9.0-14.8	10.9-16.6	8.9-12.8	8.1-11.5	8.0-11.7	8.9-13.5	6.6-10.8	6.9-12.3	6.3-12.1	6.0-12.5	5.3-11.7
	Kaiping City	440783	20	18.3	16.7	14.6	13.6	11.7	10.7	9	8.6	7.6	8.6	8.3	8.4	8.5	8.4	7.6	7
			16.5-23.9	15.5-21.5	14.3-19.1	12.6-16.6	11.7-15.6	10.0-13.5	9.2-12.5	7.6-10.6	7.3-10.2	6.5-9.0	7.3-10.0	7.0-9.6	7.3-9.8	7.4-9.6	7.5-9.4	6.8-8.4	6.4-7.7
	Lechang City	440281	29.1	26.3	24.4	22.7	21	18	17.1	16.1	15	14.1	14.2	13.9	13.3	12.9	12.7	11.5	10.4
			24.4-34.3	22.2-30.7	20.8-28.5	19.2-26.6	17.7-24.5	15.3-21.0	14.7-19.7	14.0-18.3	13.2-16.9	12.4-15.7	12.5-16.0	12.0-15.7	11.5-15.0	11.1-14.7	11.1-14.4	10.1-13.0	9.1-11.7
	Leizhou City	440882	45.2	40.6	37.2	31.8	28	22.8	18.1	14.6	12.5	11.1	7.7	5.9	5.1	4.7	4.5	4.4	4.2
			36.8-53.9	33.8-47.5	32.1-42.9	27.8-36.3	24.7-31.5	20.1-25.6	16.0-20.6	12.6-16.8	10.8-14.5	9.5-12.9	6.6-9.1	5.1-6.8	4.4-5.8	4.1-5.4	4.0-5.0	3.9-4.9	3.7-4.7
	Lianjiang City	440881	25	24.3	23.1	22.4	21.9	21.4	20.4	19.1	17.2	15.3	13.5	11.4	10.5	8.8	7.7	6.9	6.1
			21.3-29.1	21.1-28.0	20.2-26.3	19.8-25.6	19.4-24.7	19.1-24.0	18.1-22.9	16.9-21.3	15.3-19.2	13.6-17.1	12.0-15.1	10.1-12.8	9.3-11.9	7.8-9.9	6.8-8.6	6.1-7.5	5.5-6.7
	Zizhixian	441826	53.1	51.6	50.6	45.9	43.6	39.6	36.9	33.6	31.6	32.9	33.1	33.5	32.2	29.4	23.5	20.3	17.3
			46.4-60.7	45.2-58.6	44.3-57.3	40.0-52.0	37.6-49.5	34.2-45.1	32.1-41.8	29.5-38.1	27.9-35.4	29.0-36.9	29.0-37.3	29.1-38.1	27.8-36.8	25.6-33.4	20.7-26.4	18.1-22.8	15.5-19.3
	Lianping County	441623	30.1	29.1	28.3	27.5	25.5	24	22.6	19.1	17.2	14.6	13.3	12	12.3	11.9	11.8	10.9	10.3
			21.6-40.7	21.2-38.5	21.3-36.8	21.3-35.2	20.5-32.0	19.5-29.4	19.1-26.8	16.7-21.8	15.4-19.2	13.1-16.4	11.4-15.5	9.8-14.5	9.6-15.4	8.8-15.5	8.3-16.0	7.3-15.1	6.8-14.7
	Yaozu Zizhixian	441825	42.3	40.8	40	39.6	36.4	34.1	32.3	28.7	30.2	29.2	29.2	26.5	25.2	20.4	18	16	14.5
			35.6-49.6	34.6-47.5	34.4-46.2	33.8-45.5	31.2-41.5	29.5-38.9	28.3-36.4	25.6-31.9	27.2-33.3	26.2-32.2	25.9-32.5	23.4-29.7	22.1-28.3	18.1-22.8	16.0-20.0	14.4-17.7	13.1-15.9
	Lianzhou City	441882	47	46.5	45.2	41.5	36	29.1	26.8	22.3	19.6	17.5	16	13.6	12.4	11.5	11.1	10.1	9.3
			38.5-56.0	38.9-54.3	39.0-52.0	36.6-46.9	32.0-40.4	25.9-32.6	23.8-30.3	19.5-25.6	17.0-22.7	15.0-20.4	13.7-18.9	11.8-15.9	10.8-14.3	10.1-13.0	9.9-12.3	9.1-11.2	8.4-10.2
	Liwan District	440103	14.1	11.1	13.2	13.4	12.4	13	13.2	10.7	10.3	10.5	10.3	9.2	8.3	7.9	7.1	7	6.8
			11.8-16.8	9.3-13.0	11.1-15.4	11.2-15.6	10.5-14.4	11.2-15.0	11.6-15.1	9.5-12.1	9.3-11.5	9.5-11.6	9.2-11.4	8.2-10.3	7.4-9.3	6.9-8.8	6.3-7.9	6.3-7.8	6.1-7.5
	Longchuan County	441622	23.2	22.4	21.8	19.3	17.7	16.7	15.1	13.5	13.1	13.3	11.7	9.4	8.6	8.4	7.8	7.4	7.2
			19.1-27.5	18.8-26.0	18.8-25.0	16.9-22.0	15.6-20.0	14.8-18.8	13.2-17.1	11.7-15.6	11.2-15.2	11.4-15.5	10.1-13.7	8.1-11.0	7.5-9.9	7.4-9.5	7.0-8.6	6.7-8.2	6.5-8.0
	Longgang District	440307	25.6	22.8	21.2	20	17.4	16	15.6	13.6	11.9	10.4	9	7.9	7	5.9	5.1	5.1	4.8

Province	County	County Code (2012)	Under-5 Mortality Rate (per 1000 births)																
			1996	1997	1998	1999	2000	2001	2002	2003	2004	2005	2006	2007	2008	2009	2010	2011	2012
			21.0-30.6	19.1-26.8	18.3-24.5	17.5-22.6	15.5-19.5	14.3-17.9	13.9-17.7	11.9-15.5	10.3-13.7	8.9-12.2	7.7-10.7	6.8-9.3	6.1-8.1	5.2-6.6	4.6-5.7	4.6-5.5	4.3-5.2
	Longhu District	440507	17	16.4	15.9	15.4	16.4	15.3	13.4	10.9	9.4	7.8	6.8	6.9	7.2	6.9	6.1	5.6	5.1
			14.5-19.6	14.3-18.8	13.9-18.1	13.6-17.4	14.6-18.4	13.7-17.0	11.9-14.8	9.8-12.1	8.4-10.4	7.0-8.6	6.1-7.6	6.2-7.8	6.4-8.2	6.1-7.8	5.4-6.8	5.0-6.2	4.6-5.6
	Longmen County	441324	17	15.6	15.6	14	13.1	12.6	12.4	12.6	16.1	14.6	12.9	11.2	10.6	9.7	9.1	8.4	7.9
			13.5-20.9	12.4-19.2	12.5-19.3	11.2-17.3	10.4-16.4	10.1-15.7	10.0-15.2	10.2-15.2	13.3-19.2	12.0-17.3	10.7-15.3	9.2-13.3	8.8-12.6	8.0-11.5	7.6-10.6	7.1-9.9	6.8-9.3
	Lufeng City	441581	35.5	33	30.8	31.1	28.9	27.1	24.7	23.7	21.2	18.6	16	14.4	13	11.5	10.4	9.4	8.8
			28.6-43.3	26.9-40.0	25.2-37.3	25.6-37.3	23.9-35.0	22.5-32.4	20.8-29.3	20.0-28.0	18.0-24.6	15.9-21.5	13.6-18.5	12.1-16.8	10.9-15.2	9.7-13.4	8.8-12.1	8.0-10.9	7.6-10.1
	Luhe County	441523	37.1	34.2	31.2	29.4	25.9	22.1	20.7	18.7	16.4	14.6	13.2	10.7	9.1	8.2	7.5	7	6.5
			32.1-42.6	30.0-39.1	27.5-35.5	26.1-33.1	23.1-29.1	19.8-24.7	18.6-22.9	16.8-20.6	14.8-18.1	13.1-16.2	11.8-14.7	9.5-12.0	8.0-10.2	7.2-9.2	6.6-8.4	6.3-7.8	5.8-7.2
	Luoding City	445381	28.5	28.5	28.5	29	29.6	29.2	27.5	25.3	23.5	22	20	18.4	17.6	16.6	14.4	13.1	11.8
			24.7-32.6	25.0-32.6	25.1-32.5	25.5-32.8	26.2-33.3	25.9-32.8	24.4-30.7	22.6-28.2	20.8-26.2	19.5-24.7	17.6-22.6	16.1-20.9	15.4-20.2	14.6-19.0	12.8-16.4	11.6-14.5	10.6-13.1
	Luogang District	440116	14.3	14.2	14	12.8	12.2	12	11.9	11.5	13	11.2	11.3	10.3	8.9	8.1	7.5	7.5	7.3
			9.7-20.2	9.7-20.0	9.7-19.3	9.1-17.3	8.9-16.3	9.1-15.6	9.4-14.9	9.4-13.8	11.1-15.1	9.8-12.8	9.7-12.9	8.7-12.1	7.2-10.9	6.3-10.3	5.5-10.0	5.3-10.2	4.9-10.1
	Luohu District	440303	21.8	16.9	15.6	11.5	10.1	10	9.8	9.6	9.4	7.8	7.1	6.3	5.6	5.2	5	5	4.7
			18.7-25.3	14.5-19.5	13.5-17.9	9.8-13.2	8.6-11.6	8.6-11.5	8.6-11.2	8.5-10.8	8.5-10.4	7.1-8.6	6.4-7.8	5.6-7.0	4.9-6.2	4.5-5.8	4.4-5.6	4.4-5.5	4.2-5.2
	Maogang District	440903	15.8	15.3	14.4	15.2	13.1	12.2	12	10.1	8.8	8.4	8.3	7.9	7.3	6.6	6.3	5.9	5.4
			13.2-18.6	13.0-17.8	12.3-16.8	12.9-17.5	11.1-15.0	10.4-13.9	10.5-13.6	9.1-11.3	7.9-9.7	7.7-9.3	7.5-9.2	7.1-8.8	6.5-8.2	5.8-7.3	5.7-7.1	5.3-6.5	4.9-5.9
	Maonan District	440902	15.8	15.3	14.4	15.2	13.1	12.2	12	10.1	8.8	8.4	8.3	7.9	7.3	6.6	6.3	5.9	5.4
			13.2-18.6	13.0-17.8	12.3-16.8	12.9-17.5	11.1-15.0	10.4-13.9	10.5-13.6	9.1-11.3	7.9-9.7	7.7-9.3	7.5-9.2	7.1-8.8	6.5-8.2	5.8-7.3	5.7-7.1	5.3-6.5	4.9-5.9
	Mazhang District	440811	18.7	17.6	17.1	16.1	16.4	14	12.7	9.5	9.5	8.3	7.7	7	8.2	7.7	8.1	8.1	8
			15.9-21.7	15.1-20.3	14.7-19.6	13.8-18.5	13.9-18.7	12.0-16.1	11.0-14.4	8.4-10.7	8.5-10.5	7.4-9.1	6.9-8.5	6.2-7.7	7.3-9.2	6.9-8.6	7.2-9.0	7.3-8.9	7.2-8.8
	Mei County	441421	34.3	32.3	30.8	28.7	24.6	20.3	15.2	13.3	10.7	9.7	9.3	9	8.6	7.7	7.1	6.3	5.8
			29.6-39.6	28.3-37.0	27.1-34.9	25.3-32.4	21.9-27.6	18.1-22.8	13.5-16.9	11.9-14.8	9.5-11.8	8.6-10.8	8.3-10.5	8.0-10.2	7.5-9.8	6.8-8.7	6.3-7.9	5.7-7.0	5.2-6.4
	Meijiang District	441402	22.8	21.3	20	18.5	16.7	15.1	13.9	11.8	10.9	9.6	9.6	9.3	9	8.9	8.7	8.3	7.7
			18.6-27.6	17.7-25.3	16.7-23.7	15.5-21.9	14.0-19.4	12.9-17.4	12.1-15.8	10.4-13.2	9.8-12.0	8.7-10.5	8.6-10.6	8.2-10.3	7.9-10.0	7.8-9.9	7.7-9.7	7.4-9.2	6.9-8.5
	Nan'ao County	440523	26.6	25.3	25.1	23.4	22.8	19.9	19.9	16.8	14.5	13.7	12.3	11.3	11.1	10.3	8.7	8.1	7.6
			17.9-37.7	17.0-35.6	17.3-35.0	16.4-32.0	16.3-30.8	14.4-26.1	15.0-25.5	13.2-20.9	11.7-17.6	11.2-16.4	10.1-15.1	9.0-14.1	8.6-14.4	7.7-13.8	6.1-11.9	5.5-11.5	5.0-11.1
	Nanhai District	440605	12.7	12.3	11.9	12.2	12	11.4	10.9	10.2	8.8	8.7	7.6	7.3	6.3	6	5.8	6	6
			11.0-14.6	10.8-14.0	10.4-13.5	10.7-13.8	10.7-13.5	10.1-12.8	9.7-12.2	9.1-11.4	7.8-9.9	7.7-9.9	6.7-8.6	6.4-8.4	5.5-7.3	5.3-6.9	5.1-6.6	5.3-6.7	5.4-6.7
	Nansha District	440115	18.3	16.7	16.8	15.4	13.2	12.7	11.2	11.3	12.3	11.3	9.7	9.4	9.4	7.7	8	8	7.7
			12.4-25.9	11.3-23.4	11.7-23.3	10.8-20.9	9.5-17.8	9.2-16.5	8.5-14.3	9.0-13.9	10.0-14.7	9.4-13.4	8.0-11.7	7.7-11.7	7.4-12.1	5.7-10.1	5.7-10.9	5.5-11.3	5.1-11.1
	Nanshan District	440305	18.8	15.6	15.2	11	10.2	9.6	8.9	8.2	7.1	6.8	6.3	5.8	5.4	5.4	4.9	5.1	4.9
			12.4-27.0	10.4-22.3	10.3-21.7	7.4-15.6	7.0-14.2	6.8-13.4	6.4-12.1	6.2-10.7	5.5-9.0	5.4-8.6	5.0-8.0	4.4-7.5	4.0-7.1	3.9-7.4	3.4-6.9	3.4-7.3	3.2-7.2
	Nanxiong City	440282	43.4	39.7	37.5	32.4	26	20.2	16.8	14.4	13.9	14.4	14.5	13.8	13.8	13.4	13.2	12.1	11.7
			35.7-51.7	33.7-46.4	32.4-43.0	28.0-36.7	22.5-29.9	17.3-23.4	14.4-19.8	12.2-17.1	11.7-16.5	12.2-17.2	12.2-17.1	11.7-16.2	11.9-15.9	11.8-15.2	11.7-14.7	10.9-13.3	10.5-12.9
	Panyu District	440113	15.9	14.2	14	12.9	12.8	11.7	11.3	11	10.6	9.8	8.9	8.5	7.5	6.6	6.9	7.2	7.2
			13.0-19.0	12.0-16.8	12.0-16.0	11.1-14.6	11.1-14.6	10.1-13.4	9.7-13.1	9.4-12.9	9.0-12.5	8.3-11.4	7.6-10.4	7.2-9.8	6.5-8.7	5.8-7.5	6.1-7.7	6.5-8.0	6.5-7.9
	Pengjiang District	440703	15.3	15.3	14.8	15	14.2	12.6	11.7	10.8	9.5	8.3	8.1	7.6	7.5	7.3	7.4	7	6.5
			12.0-19.2	12.1-19.1	11.6-18.4	11.8-18.8	11.1-17.8	9.9-15.8	9.2-14.4	8.6-13.3	7.7-11.6	6.7-10.1	6.6-9.8	6.2-9.2	6.1-8.9	6.0-8.8	6.1-8.7	5.8-8.1	5.5-7.6
	Pingyuan County	441426	25.6	25	23.9	23.6	21.4	17.2	15.4	13.9	11.9	10.9	10.9	10.3	10.5	8.8	8.4	7.6	6.9
			21.3-30.5	20.9-29.6	20.1-28.2	19.8-27.9	18.0-25.4	14.5-20.4	13.1-18.2	11.8-16.3	10.2-13.7	9.4-12.6	9.4-12.6	8.8-12.0	8.9-12.2	7.5-10.3	7.2-9.7	6.5-8.8	6.0-7.9
	Potou District	440804	12.8	11.9	11.2	9.7	9.1	9.1	9.2	8.4	8.5	7.9	7.3	5.9	5.4	5	4.8	4.5	4.2
			10.9-14.8	10.4-13.7	9.8-12.8	8.6-11.1	8.0-10.2	8.0-10.1	8.2-10.2	7.5-9.4	7.7-9.5	7.0-8.9	6.4-8.3	5.1-6.8	4.6-6.3	4.3-5.8	4.1-5.5	3.9-5.2	3.7-4.8
	Puning City	445281	25.7	23.9	23.8	23.7	23.5	23.6	22.3	21	18.5	17.9	13.2	12.6	11.7	10.5	9.4	8.7	8
			20.8-31.0	19.8-28.1	20.3-27.6	20.5-27.1	20.6-26.6	20.7-26.5	19.5-25.3	18.3-24.0	16.1-21.1	15.5-20.5	11.4-15.3	10.8-14.4	10.1-13.3	9.2-11.9	8.3-10.5	7.6-9.7	7.1-9.1
	Qingcheng District	441802	23.6	21.9	20.7	17.9	17.7	15.5	12.8	12.2	10.9	10	10.3	10	9.9	9.8	9.2	8.5	7.9
			19.5-27.9	18.5-25.6	17.6-24.1	15.2-20.7	15.0-20.2	13.3-17.7	11.3-14.5	10.9-13.7	9.8-12.0	9.0-11.0	9.3-11.4	8.9-11.1	8.7-11.0	8.6-10.9	8.2-10.2	7.6-9.4	7.1-8.6
	Qingxin County	441827	32	30.3	29.5	28.6	26.3	23.4	20.4	17.4	16.5	15.1	14	14.1	14.2	13.6	12.3	11.4	10.5
			27.6-37.0	26.5-34.7	26.0-33.6	25.3-32.3	23.5-29.4	20.9-26.1	18.3-22.7	15.7-19.2	14.8-18.2	13.6-16.7	12.6-15.7	12.5-15.8	12.6-16.1	12.0-15.3	11.0-13.7	10.2-12.5	9.4-11.5
	Qujiang District	440205	28.5	26.8	25.8	23.3	20.4	17.6	14.8	11.8	10.7	9.7	9	9.2	8.3	8.3	8	7.7	7.4
			23.2-34.2	22.5-31.5	22.4-29.7	20.5-26.3	18.2-22.8	15.7-19.7	13.1-16.8	10.3-13.6	9.2-12.5	8.3-11.5	7.6-10.7	7.9-10.8	7.2-9.6	7.3-9.4	7.2-9.0	7.0-8.5	6.7-8.2
	Raoping County	445122	28	26.3	25.7	24.5	23.7	23.9	24.1	23.2	23.1	22.5	20.4	18.5	16.5	15.1	13.6	12.7	11.6
			23.3-33.1	22.4-30.6	22.3-29.6	21.5-28.1	20.8-26.9	21.1-26.8	21.2-27.1	20.4-26.2	20.5-26.0	19.9-25.4	17.9-23.1	16.2-21.0	14.4-18.8	13.3-17.2	12.0-15.4	11.3-14.1	10.4-12.8
	Renhua County	440224	31.8	29.5	27	26.7	25.9	23.8	22.7	20.9	19	15.2	13.5	12.1	9.8	8.8	8.7	7.8	7.2
			26.9-37.1	25.3-34.1	23.2-31.2	22.8-30.8	22.1-29.8	20.5-27.3	19.9-25.9	18.6-23.5	17.1-21.0	13.6-16.8	12.1-15.1	10.7-13.6	8.5-11.0	7.7-10.0	7.6-9.9	6.9-8.8	6.4-8.1
	Rongcheng District	445202	13.4	13	12.7	12.9	11.7	11.8	15	11.6	10.4	9.4	8.1	7.9	8	7.4	6.7	6.3	5.9
			10.1-17.6	9.8-17.1	9.5-16.5	9.6-16.8	8.7-15.1	8.9-15.3	11.6-19.0	9.0-14.5	8.2-12.9	7.5-11.4	6.5-9.9	6.4-9.6	6.5-9.6	6.1-8.9	5.5-7.9	5.3-7.4	5.0-6.9
	Ruyuan Yaozu Zizhixian	440232	38.5	34.7	32.1	28.1	26.3	21.6	20.2	18.7	17.3	15.4	15.3	14.1	13.2	12.8	12.2	11.1	10.4
			31.6-45.9	29.3-40.6	27.6-36.9	24.2-32.0	22.6-30.2	18.5-25.1	17.4-23.8	15.9-22.1	14.7-20.6	13.1-18.2	13.0-18.0	12.0-16.5	11.4-15.2	11.2-14.5	10.8-13.7	9.9-12.2	9.2-11.5
	Sanshui District	440607	16.5	15.8	15.7	14.5	13.5	12.1	10.4	10.4	10.9	10.4	10	9.9	8.7	8	7.6	7.6	7.6
			14.2-19.0	13.7-18.2	13.7-18.0	12.5-16.5	11.5-15.3	10.4-13.8	9.1-11.8	9.2-11.6	9.8-12.0	9.4-11.5	8.9-11.1	8.7-11.0	7.7-9.7	7.1-9.0	6.8-8.4	6.8-8.4	6.8-8.3
	Shixing County	440222	28	27.5	27.3	29.7	28.5	27	24.5	22.2	17.9	16.4	15.8	13.9	11.8	11.5	11.7	10.7	10
			23.3-33.0	23.4-32.2	23.4-31.7	25.8-34.0	25.2-32.3	24.0-30.1	22.1-27.2	20.1-24.4	16.3-19.7	14.8-18.1	14.2-17.5	12.3-15.6	10.4-13.4	10.1-13.0	10.4-13.2	9.5-11.9	8.9-11.1
	Shunde District	440606	13.5	12.8	12.5	11.8	11.5	11	10.6	8.8	8.7	7.7	7	6.6	6.6	6.3	6.3	6.8	7.3
			11.6-15.7	11.1-14.6	11.0-14.3	10.4-13.3	10.2-12.9	9.8-12.2	9.5-11.8	7.9-9.7	7.8-9.6	6.9-8.6	6.3-7.9	5.8-7.4	5.8-7.5	5.5-7.1	5.6-7.1	6.1-7.5	6.5-8.0

Province	County	County Code (2012)	Under-5 Mortality Rate (per 1000 births)																
			1996	1997	1998	1999	2000	2001	2002	2003	2004	2005	2006	2007	2008	2009	2010	2011	2012
	Sihui City	441284	21.6	21.5	20.9	20.1	18.8	16.7	14.8	13.4	12.5	11.9	11.1	9.9	8.6	7.8	7.9	7.4	7.1
			17.6-25.9	18.0-25.2	18.0-24.1	17.6-22.8	16.8-21.1	14.9-18.7	13.1-16.8	11.7-15.4	10.8-14.4	10.1-13.9	9.4-13.1	8.5-11.7	7.4-9.9	6.9-8.9	7.1-8.8	6.7-8.2	6.4-7.9
	Suixi County	440823	32.7	32	31.5	29.6	27.8	25	21.7	18.8	16.7	15.5	13.2	11	9.5	8.3	7.5	7.1	6.8
			28.5-37.3	27.8-36.3	27.5-35.9	25.7-33.8	24.1-31.7	21.7-28.5	18.8-24.8	16.2-21.6	14.5-19.2	13.4-17.6	11.5-15.0	9.6-12.5	8.3-11.0	7.2-9.5	6.6-8.5	6.4-8.0	6.1-7.6
	Taishan City	440781	15	14.8	14.5	13.9	14.1	13.7	13.1	12.3	11.7	10.5	10.3	10.8	10.3	10	9.5	9	8.4
			12.8-17.4	12.9-17.1	12.7-16.6	12.3-15.8	12.6-15.8	12.3-15.2	11.7-14.5	11.1-13.6	10.5-12.9	9.4-11.7	9.2-11.6	9.5-12.2	9.1-11.8	8.8-11.3	8.4-10.7	8.1-10.0	7.6-9.3
	Tianhe District	440106	16.2	14.9	14.7	12.7	11.9	11.3	10.4	9.7	10.8	9.9	9.9	9.1	8.5	7.3	6.5	6.5	6.1
			13.5-19.3	12.5-17.7	12.3-17.7	10.4-15.4	9.7-14.7	9.1-14.1	8.4-13.1	7.7-12.1	8.5-13.4	7.9-12.2	8.0-12.0	7.5-10.9	7.1-10.0	6.3-8.5	5.7-7.4	5.8-7.2	5.5-6.8
	Wengyuan County	440229	37.9	36	35.3	35.9	32.3	28	23.4	18.9	15.9	14	13.2	12.3	11.2	10.4	10.1	9.4	8.7
			31.0-45.4	30.0-42.3	30.4-40.7	31.5-40.6	28.8-36.2	25.0-31.3	20.8-26.3	16.5-21.6	13.7-18.3	12.0-16.4	11.3-15.6	10.6-14.3	9.8-12.9	9.2-11.7	9.0-11.2	8.5-10.4	7.8-9.6
	Wuchuan City	440883	15.4	13.9	12.4	10.7	8.5	7.4	6.8	6.8	6.8	6.8	7.5	5.6	5.6	5.3	5.4	5.3	5.4
			12.3-19.1	11.1-17.2	9.9-15.4	8.5-13.3	6.7-10.6	5.9-9.1	5.5-8.3	5.5-8.2	5.7-8.1	5.7-8.0	6.3-8.8	4.7-6.6	4.7-6.6	4.5-6.2	4.5-6.2	4.6-6.1	4.6-6.2
	Wuhua County	441424	31.5	28.7	26.5	22.4	20.9	18.1	16.1	13.8	12	10.7	10.1	8.9	8.6	8.7	7.8	7.1	6.6
			25.9-37.5	24.1-33.6	22.8-30.4	19.8-25.4	18.7-23.4	16.2-20.3	14.3-18.2	12.1-15.8	10.4-13.9	9.2-12.6	8.7-12.0	7.6-10.4	7.5-9.9	7.7-9.8	6.9-8.7	6.4-7.9	5.8-7.3
	Wujiang District	440203	20.7	19.3	18	17.2	15.6	13.9	12.9	12.4	11.6	10.7	11.1	10.8	9.8	9.3	8.7	8.3	7.7
			17.1-24.5	16.4-22.6	15.4-21.0	14.7-19.9	13.3-17.8	12.0-15.9	11.3-14.6	11.0-13.8	10.4-12.8	9.6-11.9	9.9-12.3	9.6-12.2	8.6-11.0	8.2-10.5	7.8-9.8	7.4-9.2	6.9-8.5
	Xiangqiao District	445102	29.4	29	29.2	27.3	31.3	30.2	25	24.7	17.7	9.5	9.5	8.7	7.9	7.3	7.6	7.5	7.3
			24.2-35.0	24.6-34.3	25.0-33.9	23.8-31.3	27.8-35.3	27.0-33.6	22.5-27.6	22.4-27.2	16.0-19.5	8.5-10.6	8.3-10.7	7.6-9.8	6.9-9.1	6.4-8.4	6.6-8.6	6.6-8.5	6.4-8.2
	Xiangzhou District	440402	13.6	13.8	12.6	12.8	12	11.5	10.8	9.5	8.5	8.4	7.9	7.9	7.2	6.9	6.1	6.1	5.9
			8.9-19.7	9.2-19.7	8.5-18.0	8.6-18.1	8.2-16.7	8.2-16.0	7.8-14.7	7.1-12.3	6.6-10.8	6.6-10.6	6.2-10.0	6.0-10.2	5.4-9.5	5.0-9.4	4.3-8.7	4.1-8.8	3.8-8.6
	Xiashan District	440803	15.2	14.3	13.5	12.9	11.7	12.5	11.4	10.9	10.2	10.2	8.9	7.4	6.6	5.9	5.8	5.6	5.4
			12.9-17.7	12.3-16.5	11.6-15.7	11.2-14.8	10.3-13.3	11.0-14.1	10.2-12.7	9.8-12.0	9.2-11.1	9.1-11.3	7.9-10.0	6.6-8.4	5.9-7.5	5.2-6.7	5.1-6.5	4.9-6.2	4.8-6.0
	Xinfeng County	440233	37.5	36.6	36.3	35.1	32.2	28.7	27	24.3	22.4	20.3	19	12.7	12	11.4	10.7	10	9.2
			32.0-43.4	31.8-42.2	31.6-41.5	30.9-39.8	28.4-36.1	25.4-32.0	24.1-30.1	21.7-27.0	20.0-24.9	18.0-22.8	16.6-21.5	11.0-14.6	10.3-13.9	9.8-13.3	9.2-12.3	8.7-11.5	8.0-10.5
	Xingning City	441481	26.6	25.5	25	23.1	19.9	18.5	17.2	15.2	14.4	13.5	12.8	11.7	11.4	10.9	9.7	9	8.1
			21.7-31.8	21.3-29.9	21.5-28.8	20.3-26.1	17.7-22.3	16.5-20.7	15.2-19.5	13.3-17.4	12.4-16.6	11.5-15.8	10.9-15.1	10.0-13.7	9.9-13.2	9.6-12.4	8.7-10.9	8.1-9.9	7.3-8.9
	Xinhui District	440705	15.4	15.9	16.2	16.3	16.3	14.6	14.1	11.9	9.5	8.5	8.5	7.4	8.4	7.9	8.7	8.3	8.4
			12.8-18.2	13.5-18.7	13.9-18.8	14.1-18.8	14.3-18.4	13.0-16.4	12.6-15.7	10.8-13.1	8.6-10.5	7.6-9.4	7.6-9.4	6.6-8.3	7.4-9.5	7.0-8.9	7.8-9.8	7.4-9.2	7.6-9.3
	Xinxing County	445321	18.7	18.5	17.2	16.3	16.3	15.1	14.5	13	12.1	11.6	11.1	10.9	10.8	10.5	10.2	9.4	9
			15.3-22.4	15.6-21.8	14.9-19.7	14.4-18.4	14.4-18.3	13.3-17.0	12.6-16.5	11.1-15.2	10.1-14.3	9.7-13.9	9.2-13.4	9.0-13.0	9.0-12.8	8.9-12.2	8.8-11.7	8.1-10.8	7.8-10.3
	Xinyi City	440983	37	33.8	31.5	28.3	26.9	24.2	21.1	16.9	16.6	13.9	12.1	12.1	11.8	10.8	9.7	8.8	8.1
			30.4-44.0	28.4-39.6	27.2-36.2	24.9-32.1	24.0-30.2	21.6-27.1	18.7-23.9	14.8-19.4	14.3-19.2	11.9-16.3	10.3-14.3	10.4-14.2	10.3-13.7	9.5-12.2	8.7-10.8	8.0-9.7	7.3-8.9
	Xuwen County	440825	38.1	35.8	33.7	32.6	32	30.4	26.3	22.7	19.5	15	13.2	10.1	8.9	7.6	6.8	5.9	5.3
			33.0-43.6	31.3-40.8	29.6-38.4	28.6-37.1	28.0-36.2	26.8-34.4	23.0-30.0	19.9-25.8	17.1-22.0	13.2-17.0	11.6-14.9	8.9-11.4	7.9-10.1	6.7-8.6	6.0-7.6	5.3-6.6	4.8-5.8
	Yangchun City	441781	16	16.3	15.5	15.5	15	14.7	14.6	13.2	13.5	15	14.2	13.3	12.4	11.8	11.2	10.3	9.6
			12.5-20.0	13.1-19.9	12.9-18.5	13.0-18.1	12.9-17.3	12.8-16.6	12.9-16.4	11.6-14.7	11.9-15.2	13.0-17.2	12.0-16.7	11.0-15.9	9.9-15.3	9.2-14.9	8.4-14.6	7.5-13.6	6.8-12.8
	Yangdong County	441723	24.7	24.2	24.8	23.8	23.5	20.8	19.8	15	13.7	13	11.9	11.7	10.9	10.1	9.7	9.1	8.4
			19.5-30.8	19.1-30.2	19.7-30.8	19.0-29.4	18.7-29.2	16.7-25.5	16.2-24.0	12.3-18.0	11.4-16.2	10.9-15.3	10.0-14.0	9.8-13.8	9.1-12.8	8.5-11.9	8.2-11.3	7.8-10.6	7.2-9.7
	Yangshan County	441823	47.4	46.3	44.5	44.9	44.1	39.7	34.6	30	25.6	21.6	19.5	17.4	15.6	14.1	13.2	11.9	10.8
			41.3-54.2	40.5-52.6	39.0-50.6	39.2-51.2	38.6-49.9	34.7-44.9	30.1-39.6	26.1-34.4	22.1-29.3	18.7-24.8	16.9-22.4	15.1-20.0	13.5-18.1	12.3-16.4	11.5-15.2	10.4-13.4	9.7-12.1
	Yangxi County	441721	30.5	31.2	30.5	28.8	27.1	24.7	21.8	18.2	17.2	16.7	12.7	12.2	12.2	11.6	11	10.3	9.6
			24.9-37.0	25.7-37.6	25.7-36.2	24.5-33.7	23.2-31.4	21.4-28.3	19.2-24.6	16.1-20.4	15.3-19.3	14.8-18.8	11.2-14.4	10.6-13.9	10.5-14.0	10.0-13.4	9.6-12.6	9.0-11.7	8.4-10.8
	Yantian District	440308	17.2	13.9	13.6	11.3	10.9	11.3	9.6	8.2	6.9	5.9	5.6	5.1	4.9	4.6	4.1	4.2	3.8
			13.0-22.5	10.4-18.1	10.2-17.7	8.5-14.6	8.2-14.1	8.7-14.5	7.5-12.1	6.5-10.3	5.5-8.4	4.7-7.1	4.6-6.8	4.2-6.2	4.0-5.8	3.8-5.5	3.5-4.9	3.5-4.9	3.2-4.4
	Yingde City	441881	24.5	23.6	23.1	20.8	18.9	19.3	17.3	16	15.8	14.7	13.4	12.6	11.9	11.4	11.3	10.2	9.4
			21.3-28.1	20.8-27.0	20.3-26.2	18.4-23.4	16.9-21.2	17.2-21.7	15.5-19.3	14.4-17.7	14.2-17.4	13.1-16.3	11.9-15.0	11.2-14.2	10.4-13.5	10.1-13.0	10.0-12.6	9.1-11.2	8.5-10.4
	Yu'nan County	445322	28.1	25.2	23.9	21	18.3	17.6	15.6	14.2	13.2	12.6	13.5	13.5	13.7	13.6	13.1	11.9	10.9
			23.1-33.6	21.3-29.6	20.5-27.5	18.0-23.9	15.8-21.1	15.0-20.3	13.4-18.2	12.1-16.7	11.2-15.6	10.7-14.8	11.4-15.8	11.5-15.7	11.8-15.8	11.9-15.4	11.6-14.6	10.6-13.1	9.7-12.1
	Yuancheng District	441602	22.3	22.1	21.9	18.4	15.9	14.7	12.6	10.2	9.5	9.3	8	7.7	7.1	7.1	6.4	6.2	5.7
			18.5-26.5	18.8-25.9	18.7-25.5	15.6-21.3	13.5-18.3	12.6-16.9	11.0-14.3	9.1-11.5	8.6-10.5	8.4-10.3	7.2-8.9	6.9-8.6	6.2-7.9	6.2-8.0	5.6-7.2	5.5-6.9	5.1-6.4
	Yuexiu District	440104	13.9	13.1	12.3	11.8	10.2	10.6	10	9.4	9.7	8.6	8	7.3	6.4	5.2	4.2	4	3.6
			9.8-18.9	9.4-17.5	9.2-16.2	9.0-15.2	8.1-13.1	8.5-13.3	8.3-12.0	8.1-10.8	8.6-10.9	7.7-9.7	7.0-9.3	6.1-8.7	5.0-7.9	4.0-6.7	3.0-5.6	2.7-5.5	2.4-5.1
	Yun'an County	445323	28.1	29.3	29.1	29.5	31.6	29.6	27.6	25.9	24.4	22.6	19.6	15.9	16.3	14.1	12	11.6	11.4
			22.9-34.3	23.8-35.4	24.0-35.2	24.2-35.5	26.2-37.8	24.8-35.0	23.7-32.0	22.5-29.7	21.5-27.5	20.1-25.2	17.3-21.9	14.0-18.0	14.2-18.4	12.3-16.0	10.6-13.6	10.2-13.1	10.1-12.8
	Yuncheng District	445302	24.2	21.5	20.3	17.4	16.8	16.9	16	14	13.7	12.8	13.6	12.6	12	10.9	9.8	8.6	8
			19.9-28.9	18.0-25.2	17.3-23.4	14.9-19.9	14.3-19.6	14.2-19.9	13.4-19.1	11.7-16.9	11.3-16.7	10.5-15.5	11.2-16.3	10.4-15.0	10.1-14.2	9.2-12.6	8.5-11.2	7.6-9.8	7.0-9.1
	Zengcheng City	440183	18.6	18.1	18	18	18.4	16.4	15.6	14.3	12.7	11.8	10.7	10.1	9.5	9.1	8.6	8.5	8.6
			15.7-21.7	15.5-20.9	15.5-20.7	15.4-20.7	15.7-21.0	14.1-18.8	13.6-17.7	12.7-16.0	11.4-14.0	10.7-13.1	9.6-11.8	8.9-11.2	8.4-10.7	8.0-10.2	7.7-9.7	7.6-9.5	7.7-9.5
	Zhenjiang District	440204	20.7	19.3	18	17.2	15.6	13.9	12.9	12.4	11.6	10.7	11.1	10.8	9.8	9.3	8.7	8.3	7.7
			17.1-24.5	16.4-22.6	15.4-21.0	14.7-19.9	13.3-17.8	12.0-15.9	11.3-14.6	11.0-13.8	10.4-12.8	9.6-11.9	9.9-12.3	9.6-12.2	8.6-11.0	8.2-10.5	7.8-9.8	7.4-9.2	6.9-8.5
	Zhongshan City	442000	13	12.7	12.3	11.8	11.7	11.2	9.9	8.6	8.1	7.2	6.6	6.4	6	5.7	5.6	5.2	5
			11.3-14.8	11.1-14.4	10.8-14.0	10.4-13.5	10.2-13.3	9.8-12.6	8.6-11.3	7.5-9.8	7.1-9.3	6.3-8.3	5.7-7.6	5.5-7.4	5.2-7.1	4.9-6.7	4.8-6.5	4.6-6.1	4.4-5.7
	Zijin County	441621	29.3	29.3	28.1	26.8	21.8	18.5	15.1	13.6	11.9	11.7	11.1	11.4	10.6	9.8	8.9	8.4	8
			23.9-35.0	24.5-34.4	24.2-32.4	23.7-30.3	19.6-24.4	16.5-20.7	13.3-17.1	11.8-15.5	10.3-13.9	10.0-13.8	9.5-13.1	9.8-13.3	9.2-12.3	8.6-11.1	7.9-10.0	7.5-9.4	7.1-8.9
Guangxi	Babu District	451102	46.6	46.6	46.7	45.5	46	44.1	40.7	36.6	35.5	30.3	27.2	24	21.9	19.4	17.8	16.7	15.6

Province	County	County Code (2012)	Under-5 Mortality Rate (per 1000 births)																
			1996	1997	1998	1999	2000	2001	2002	2003	2004	2005	2006	2007	2008	2009	2010	2011	2012
			41.1-52.7	41.2-52.5	41.2-52.8	40.1-51.4	40.8-51.8	39.3-49.2	36.5-45.2	33.0-40.4	32.4-38.7	27.8-32.8	25.1-29.5	21.9-26.2	19.9-24.1	17.5-21.4	15.9-19.8	14.8-18.8	13.7-17.7
	Bama Yaozu Zizhixian	451227	56.6	55.4	51.3	50.8	49.5	50.8	50.4	46.6	42.5	41.8	37.7	33.7	29.9	25	21.5	18.2	16.2
			49.4-64.6	48.5-63.2	45.0-58.5	44.6-57.9	43.8-56.3	45.3-57.5	45.3-56.5	42.3-51.3	39.1-46.1	38.8-44.9	34.8-40.6	30.7-36.8	26.9-32.9	22.4-27.8	19.1-24.0	16.0-20.4	14.0-18.5
	Beiliu City	450981	28.2	27.6	27.4	26	25.1	25.6	23.7	21.2	19.5	17.7	16.3	15.3	14.2	13.1	12.9	11.9	11.1
			24.4-32.3	24.1-31.4	24.1-31.1	23.0-29.3	22.4-28.1	23.1-28.3	21.5-26.0	19.4-23.1	18.0-21.1	16.3-19.2	14.9-17.9	13.8-17.0	12.7-15.9	11.6-14.7	11.4-14.6	10.4-13.6	9.6-12.8
	Binyang County	450126	27.1	25.7	25	24.5	24	23.5	23.8	23.5	22.2	21.8	20.2	18.8	17.5	16.7	15.9	15	14.6
			21.9-33.1	21.1-31.0	20.9-29.6	20.9-28.6	20.9-27.6	20.7-26.6	21.2-26.6	21.2-25.9	20.4-24.3	19.8-23.9	18.1-22.3	16.5-21.2	15.1-20.3	13.9-19.8	12.8-19.3	11.8-18.5	11.2-18.4
	Bobai County	450923	36.2	35.5	35	32.8	30.9	28.3	24.5	21.2	18.7	17.3	15.4	14.3	13.7	13.4	12.1	11.3	10.8
			27.5-47.2	27.2-45.9	27.3-44.5	26.2-40.8	25.7-37.2	24.2-33.0	21.6-27.7	19.2-23.4	17.2-20.3	15.7-18.8	13.7-17.3	12.2-16.6	11.3-16.5	10.7-16.7	9.2-15.6	8.4-15.0	7.8-14.5
	Cangwu County	450421	42.2	39.7	38	36.5	36.7	35.9	35.8	33.2	29.9	26.6	25.3	22.8	21	19.1	18.4	16.5	14.9
			36.0-49.4	33.8-45.9	32.4-44.1	31.5-42.4	31.9-42.1	31.4-40.9	31.6-40.4	29.8-36.9	27.2-32.6	24.4-28.8	23.0-27.7	20.5-25.2	18.8-23.4	16.9-21.4	16.2-20.6	14.5-18.7	12.9-17.1
	Cenxi City	450481	45.9	46.3	45.6	44.4	43	42.4	40.8	37.1	35	33.3	29	25.5	23.8	21.5	19.2	17.4	16.3
			40.3-51.9	40.8-52.3	40.3-51.4	39.0-50.0	37.7-48.5	37.3-47.6	35.9-46.1	32.7-41.8	31.0-39.2	29.8-37.0	26.0-32.1	22.9-28.4	21.3-26.8	19.0-24.1	16.9-21.7	15.3-19.7	14.2-18.6
	Changzhou District	450405	29.8	28.4	26.6	25.4	22.7	21	18.6	19.9	19.7	16.9	17.1	16.9	17	16.8	15.6	14.9	14
			22.4-39.2	21.5-37.3	20.3-34.3	19.8-32.2	18.4-27.9	17.2-25.0	15.7-21.7	17.2-22.7	17.4-22.1	15.0-19.0	14.9-19.5	14.4-19.7	14.1-20.5	13.5-20.8	12.0-20.0	11.0-19.4	10.2-18.5
	Chengzhong District	450202	25.2	25.4	24.5	23.4	21.5	21.6	19.4	20	20.3	18.8	17.1	16.5	13.2	12	10.7	10.3	9.6
			19.1-32.8	19.5-32.8	19.1-31.1	18.7-29.1	17.9-25.8	18.5-25.2	17.0-21.9	18.0-22.1	18.6-22.0	17.2-20.5	15.2-19.0	14.3-19.0	11.0-15.6	9.7-14.7	8.3-13.6	7.7-13.3	7.0-12.7
	Dahua Yaozu Zizhixian	451229	72.7	68.2	61.2	55.4	51.8	51	49.2	47.1	43.1	39.4	35.3	31	28.3	25.9	22.5	19.6	17.3
			63.4-82.9	59.6-77.8	53.4-70.0	48.5-63.3	45.4-59.0	44.8-57.7	43.6-55.6	42.2-52.4	39.0-47.4	35.8-43.0	31.9-38.9	27.7-34.5	25.0-31.8	22.8-29.2	19.7-25.4	17.1-22.3	14.9-20.1
	Daxin County	451424	52.9	50.9	48.9	49.9	45.8	45.7	43.8	41.2	38.7	33.6	29.2	26.1	22.3	19.7	18	16.3	15.3
			46.3-60.1	44.7-57.8	43.4-55.3	44.5-55.7	41.2-50.8	41.3-50.2	40.0-48.0	37.9-44.9	35.8-41.6	31.1-36.1	26.9-31.6	23.7-28.5	20.1-24.5	17.6-21.8	16.0-20.1	14.4-18.4	13.3-17.4
	Debao County	451024	61.6	60.9	53.7	49	46.1	41.2	36.9	36.8	34.5	31.7	29.4	25.8	22.4	18.7	16.4	14.7	13.5
			53.8-70.3	53.3-69.4	47.1-61.2	43.1-55.7	40.8-52.4	36.7-46.7	33.1-41.5	33.3-40.7	31.6-37.5	29.3-34.2	27.0-31.9	23.3-28.2	20.1-24.8	16.7-20.9	14.5-18.3	13.0-16.6	11.7-15.5
	Diecai District	450303	19.9	19.2	18.4	18.8	16.9	17	15.9	15.4	14.9	14.1	14.4	15.3	13.8	12.8	10.9	9.8	8.8
			17.1-22.9	16.7-22.1	16.1-21.1	16.4-21.5	14.9-19.3	15.1-19.2	14.3-17.9	14.0-17.0	13.8-16.2	13.1-15.1	13.3-15.5	14.0-16.6	12.5-15.1	11.5-14.1	9.7-12.1	8.7-11.0	7.7-10.0
	Dieshan District	450404	29.8	28.4	26.6	25.4	22.7	21	18.6	19.9	19.7	16.9	17.1	16.9	17	16.8	15.6	14.9	14
			22.4-39.2	21.5-37.3	20.3-34.3	19.8-32.2	18.4-27.9	17.2-25.0	15.7-21.7	17.2-22.7	17.4-22.1	15.0-19.0	14.9-19.5	14.4-19.7	14.1-20.5	13.5-20.8	12.0-20.0	11.0-19.4	10.2-18.5
	Donglan County	451224	88.1	82.4	74.6	72.5	66	57.7	52.3	47.5	43.5	40.6	38	35.7	31.3	26.6	24.7	20.9	19
			73.9-103.2	70.3-95.3	64.9-85.1	64.1-81.5	59.1-73.3	51.8-64.3	46.6-58.8	41.8-53.5	38.2-49.3	35.6-46.4	33.4-43.8	31.5-41.1	27.7-35.4	23.8-29.7	22.1-27.5	18.6-23.4	16.7-21.7
	Dongxing City	450681	52.2	47.6	42.7	40.5	36	32.2	27.5	26.6	22.4	19.3	16.8	15.7	13.9	13.1	12.4	11.7	11.3
			44.7-60.8	41.0-55.2	36.9-49.3	35.0-46.7	31.6-41.1	28.5-36.5	24.7-30.9	24.2-29.3	20.7-24.3	17.9-20.7	15.5-18.1	14.3-17.2	12.5-15.2	11.7-14.5	11.0-13.8	10.3-13.1	9.8-12.9
	Du'an Yaozu Zizhixian	451228	64.9	63.5	59.9	56.1	51.7	45.9	40.3	36.8	31.9	29.8	27.4	25.5	24.4	23	20.4	18.3	16.7
			55.4-75.7	54.2-73.6	51.2-69.6	48.5-64.6	45.1-59.2	40.5-52.2	36.1-45.2	33.5-40.6	29.5-34.5	27.6-31.9	25.4-29.5	23.2-27.7	22.1-26.8	20.6-25.6	18.1-22.8	16.1-20.6	14.5-19.1
	Fangcheng District	450603	52.1	51	45	41.3	36.9	33	30.6	27.9	25.2	21.8	19.2	16.3	14.5	12.6	11.9	11.2	10.8
			43.3-61.2	43.5-59.0	39.1-51.3	36.7-46.4	33.1-40.8	29.6-36.8	27.2-34.6	24.6-31.7	22.0-28.7	19.1-25.1	16.8-22.2	14.4-18.9	12.9-16.5	11.2-14.1	10.6-13.3	9.9-12.6	9.4-12.3
	Fengshan County	451223	82.7	79.3	70.7	67.5	59.3	53.4	49.2	47.8	44.7	42.5	35.5	30.5	25.2	20.1	17.9	15.8	14.6
			72.6-93.6	70.0-89.8	62.8-79.8	60.4-75.4	53.4-65.7	48.3-58.8	44.8-53.8	43.9-52.0	41.5-48.3	39.4-45.8	32.7-38.5	27.6-33.3	22.7-27.7	17.9-22.2	15.8-20.0	13.9-17.8	12.7-16.8
	Zizhixian	451123	59.5	59.9	57.4	57.7	55.5	53.2	46.8	45.2	40.6	34.1	30.1	28	25.2	23.6	23.6	21.6	21.1
			52.0-67.7	52.4-68.1	50.8-64.9	51.3-64.6	49.7-62.1	47.7-59.2	42.1-51.9	41.0-49.8	37.1-44.1	31.3-37.1	27.7-32.7	25.4-30.6	22.7-27.8	21.2-26.1	21.1-26.3	19.1-24.3	18.5-24.0
	Fusui County	451421	44.4	41.2	38.8	34.3	30.1	24.7	21.5	21.2	21	19.1	19.3	19	17.9	15.5	14.3	12.5	11.3
			38.8-50.5	36.3-46.9	34.0-44.2	30.3-38.9	26.7-34.3	21.9-27.9	19.0-24.1	19.0-23.5	19.2-22.9	17.5-20.8	17.6-21.2	17.1-21.0	16.1-19.9	13.8-17.3	12.6-16.0	11.0-14.1	9.8-13.0
	Gangbei District	450802	33.5	35.4	34.5	33.5	31.6	30.4	27.7	24.5	22.7	20.6	17.7	15.1	13.8	12.2	11.1	10	9.3
			26.4-41.8	28.4-43.6	28.0-41.6	28.1-39.5	27.2-36.4	26.6-34.5	24.5-31.0	21.9-27.3	20.3-25.1	18.5-22.9	15.8-19.7	13.3-17.0	11.8-16.0	10.2-14.5	8.8-13.5	7.8-12.5	7.1-11.9
	Gangkou District	450602	52.1	51	45	41.3	36.9	33	30.6	27.9	25.2	21.8	19.2	16.3	14.5	12.6	11.9	11.2	10.8
			43.3-61.2	43.5-59.0	39.1-51.3	36.7-46.4	33.1-40.8	29.6-36.8	27.2-34.6	24.6-31.7	22.0-28.7	19.1-25.1	16.8-22.2	14.4-18.9	12.9-16.5	11.2-14.1	10.6-13.3	9.9-12.6	9.4-12.3
	Gangnan District	450803	33.5	35.4	34.5	33.5	31.6	30.4	27.7	24.5	22.7	20.6	17.7	15.1	13.8	12.2	11.1	10	9.3
			26.4-41.8	28.4-43.6	28.0-41.6	28.1-39.5	27.2-36.4	26.6-34.5	24.5-31.0	21.9-27.3	20.3-25.1	18.5-22.9	15.8-19.7	13.3-17.0	11.8-16.0	10.2-14.5	8.8-13.5	7.8-12.5	7.1-11.9
	Zizhixian	450332	40.9	40.9	41.4	41.8	40.4	39.7	36.8	33.6	29.1	28.2	26.9	25.6	22.8	21.7	19.6	17.7	15.9
			35.7-46.7	35.9-46.5	36.4-47.1	36.7-47.5	35.8-45.8	35.4-44.9	33.0-41.1	30.7-37.0	26.9-31.6	26.2-30.3	24.9-29.0	23.4-27.8	20.6-25.0	19.4-23.9	17.5-21.7	15.7-19.8	13.9-18.0
	Guanyang County	450327	41.2	42.6	39.2	40.7	38.7	34.6	31.8	27.9	24.7	21.3	19.4	20.8	20.2	19.7	19.9	19	18.2
			35.0-48.4	36.3-49.6	33.4-45.7	34.9-47.3	33.3-44.8	29.9-39.7	27.9-36.4	24.8-31.3	22.2-27.3	19.3-23.3	17.5-21.5	18.5-23.2	17.9-22.6	17.4-22.2	17.4-22.4	16.5-21.5	15.7-21.0
	Guiping City	450881	51.2	51.4	50.7	51.5	49.8	46.4	43.5	39.7	35.7	33.8	32.1	29.2	25.5	21.8	18.4	16	14.2
			44.8-58.4	45.2-58.5	45.0-57.4	46.0-57.6	44.9-55.2	42.0-51.0	39.7-47.6	36.5-43.1	33.1-38.5	31.3-36.2	29.6-34.7	26.6-31.8	23.1-28.0	19.5-24.1	16.4-20.5	14.1-18.1	12.4-16.1
	Haicheng District	450502	18.7	18.3	17.7	16.7	14.7	17	15.5	14	12.8	11.2	9.5	9.8	10.4	10.1	10	9.5	9.1
			16.1-21.8	15.7-21.1	15.3-20.5	14.4-19.2	12.8-16.8	14.9-19.3	13.6-17.4	12.5-15.5	11.7-14.0	10.3-12.1	8.7-10.3	8.9-10.7	9.4-11.6	9.0-11.3	8.9-11.2	8.3-10.6	7.9-10.4
	Heng County	450127	31.5	30.3	29.6	28.5	26.7	27.7	26.1	25.4	24.6	23.4	22	20.5	18.2	17.2	15.8	15.1	14.7
			25.2-38.8	24.7-36.9	24.5-35.1	24.2-33.0	23.3-30.3	24.4-31.1	23.3-29.0	23.0-28.0	22.4-27.0	21.2-25.8	19.7-24.4	18.1-23.2	15.7-21.0	14.4-20.4	12.7-19.2	11.9-18.8	11.3-18.6
	Hepu County	450521	25.8	24.7	22.8	22.5	22.1	21.7	20.6	18.4	15.8	14.3	12.2	12.3	12.2	11.3	11.1	10.6	10
			22.5-29.5	21.6-28.2	20.0-26.0	19.8-25.7	19.6-25.1	19.3-24.6	18.4-23.2	16.7-20.4	14.5-17.2	13.2-15.5	11.2-13.2	11.2-13.4	11.0-13.4	10.1-12.5	9.9-12.4	9.4-11.9	8.7-11.4
	Heshan City	451381	50	43.7	40.3	36.5	32.6	34.6	34.9	32.2	29.2	26.2	24.9	21.8	20.4	19.1	19.9	19.7	20
			42.5-58.6	37.2-50.9	34.3-47.0	31.2-42.7	28.1-37.7	30.0-39.6	30.6-39.4	28.8-35.9	26.6-32.0	24.0-28.5	22.7-27.2	19.8-23.9	18.3-22.4	17.1-21.2	17.6-22.2	17.4-22.2	17.4-22.7
	Zizhixian	451226	85.3	79.2	74	65.4	57.3	49.7	43.6	38.7	34.7	31.2	29.3	26.9	23.8	21.8	19.8	17.5	15.9
			71.6-99.8	67.7-91.6	64.5-84.3	57.9-73.5	51.6-63.6	44.7-55.6	38.7-49.2	34.1-44.0	30.3-39.5	27.3-35.9	25.7-34.0	23.7-31.1	21.2-27.1	19.4-24.3	17.7-22.1	15.5-19.6	13.9-18.1
	Jiangnan District	450105	19.6	18.5	17.3	17	15.5	14.7	13.8	13.5	12.5	11.7	10.9	9.8	8.5	9.1	8.7	8.6	8.8
			16.4-23.3	15.6-21.8	14.5-20.3	14.4-19.9	13.3-18.1	12.7-17.0	12.0-15.9	11.9-15.3	11.2-13.8	10.5-12.9	9.8-12.0	8.7-11.0	7.5-9.6	8.0-10.3	7.6-9.8	7.5-9.8	7.6-10.2

Province	County	County Code (2012)	Under-5 Mortality Rate (per 1000 births)																
			1996	1997	1998	1999	2000	2001	2002	2003	2004	2005	2006	2007	2008	2009	2010	2011	2012
	Jiangzhou District	451402	47.6	44.2	42.2	38.9	36.7	31.8	28.9	26.4	25.9	23.9	21.3	21.1	20.1	18	17	15.8	14.7
			41.6-54.4	38.6-50.4	37.0-48.1	34.2-44.4	32.5-41.7	28.3-36.0	25.9-32.5	24.0-29.2	23.8-28.1	22.1-25.8	19.6-23.0	19.2-23.1	18.2-22.1	16.1-19.9	15.1-19.0	14.0-17.7	12.8-16.8
	Jinchengjiang District	451202	45.6	44.3	43.5	42.7	39.7	36.7	35.8	33.5	29.9	28.2	25.4	23.3	21.2	19.5	16.5	14.9	13.5
			39.9-51.9	39.0-50.4	38.6-49.2	38.1-47.7	35.7-44.0	33.2-40.4	32.6-39.1	30.8-36.4	27.8-32.2	26.2-30.4	23.5-27.4	21.3-25.4	19.1-23.2	17.5-21.6	14.7-18.4	13.2-16.8	11.8-15.4
	Jingxi County	451025	57	50.7	43.8	36.2	33.1	30.4	31.2	31.7	29.4	27.4	25.4	22.9	21.2	20.1	18.6	16.7	15.8
			49.9-64.8	44.6-57.4	38.7-49.7	31.7-41.1	29.4-37.5	27.1-34.4	28.1-35.0	28.9-35.0	27.2-31.8	25.5-29.4	23.5-27.3	20.9-24.9	19.2-23.3	18.0-22.1	16.6-20.6	14.8-18.8	13.8-18.0
	Jinxiu Yaozu Zizhixian	451324	61.8	55.9	50.9	44.8	41.2	37.2	30.3	28.1	25	22	18.4	16.7	15	14.9	14.7	14.7	15
			52.7-72.1	47.8-64.9	43.6-59.1	38.5-51.9	35.5-47.6	32.1-42.7	26.5-34.8	24.7-31.7	22.3-27.9	19.8-24.4	16.4-20.7	14.7-18.9	13.0-17.0	12.9-17.0	12.7-16.7	12.7-16.7	12.8-17.4
	Laibin District	451302	64.5	48.3	41.6	38.6	37.8	34.9	32.3	28.7	24.9	21.3	17.7	14.5	13	12.1	11.9	11.9	12.4
			54.1-75.5	41.1-56.2	35.8-47.7	33.7-43.8	33.6-42.5	31.1-39.3	28.6-36.4	25.2-32.3	21.9-28.0	18.7-24.2	15.6-20.2	12.8-16.6	11.6-14.8	10.9-13.6	10.7-13.2	10.6-13.4	10.9-14.1
	Leye County	451028	58.9	57.2	53.2	49.3	53.9	44.4	40	37.6	39	39	40.9	39.3	39	32	27.6	23.9	21
			51.2-67.4	49.7-65.4	46.5-60.8	43.1-56.3	47.5-61.4	39.3-50.4	35.5-44.8	33.8-41.5	35.8-42.5	36.0-42.1	37.5-44.5	35.7-43.0	35.3-42.9	28.6-35.4	24.5-30.8	21.1-26.8	18.2-24.0
	Liangqing District	450108	19.6	18.5	17.3	17	15.5	14.7	13.8	13.5	12.5	11.7	10.9	9.8	8.5	9.1	8.7	8.6	8.8
			16.4-23.3	15.6-21.8	14.5-20.3	14.4-19.9	13.3-18.1	12.7-17.0	12.0-15.9	11.9-15.3	11.2-13.8	10.5-12.9	9.8-12.0	8.7-11.0	7.5-9.6	8.0-10.3	7.6-9.8	7.5-9.8	7.6-10.2
	Lin'gui County	450322	29.9	28	26.5	24.4	21	18.6	16.8	16.2	16.1	15.5	15.1	14.1	13.2	11.9	11.5	10.9	10
			25.2-35.2	23.8-32.8	22.5-31.0	20.8-28.4	18.0-24.3	16.1-21.5	14.6-19.1	14.3-18.2	14.5-17.7	14.1-17.1	13.6-16.8	12.6-15.8	11.7-14.8	10.5-13.4	10.1-12.9	9.5-12.3	8.6-11.5
	Lingchuan County	450323	22.8	21.8	21.3	20.5	18.6	16.7	15.5	14.3	14.2	13.8	13.5	12.6	11.9	11.6	10.6	10.3	9.7
			19.5-26.6	18.7-25.4	18.2-24.7	17.7-23.8	16.0-21.5	14.5-19.2	13.5-17.6	12.7-16.1	12.8-15.6	12.6-15.2	12.1-14.9	11.3-14.1	10.6-13.3	10.2-13.0	9.3-11.9	9.0-11.6	8.4-11.2
	Lingshan County	450721	72.5	66.5	57.5	45.5	44.1	41.6	38.6	31.8	25.4	19.9	17.4	14.3	13.3	12.7	12.9	12.4	12.2
			60.8-84.7	56.9-76.8	50.1-65.4	40.4-50.9	39.6-48.8	37.4-46.5	34.2-43.7	27.9-36.2	22.1-29.0	17.3-23.1	15.1-20.3	12.4-16.6	11.6-15.1	11.2-14.4	11.4-14.5	10.8-14.0	10.6-14.0
	Lingyun County	451027	65.1	60	53.8	48.3	44.8	41.6	41.3	41.7	43.1	44.2	42.9	41.3	39.2	33.9	31.8	27.8	25
			56.9-74.3	52.5-68.4	47.0-61.4	42.5-55.3	39.6-51.0	36.8-47.0	36.6-46.3	37.7-46.2	39.6-46.7	40.9-47.6	39.5-46.4	37.7-45.0	35.4-42.9	30.3-37.4	28.3-35.4	24.7-31.1	21.8-28.4
	Lipu County	450331	37.5	39.4	35.6	34.7	31.1	29.4	26.7	25	24.5	22.2	21.8	19.4	17.5	15.8	16	15.2	14.4
			32.3-43.5	34.0-45.3	30.8-41.1	30.2-39.8	27.2-35.6	25.9-33.4	23.6-30.2	22.4-27.8	22.3-26.9	20.3-24.1	19.8-23.9	17.4-21.5	15.5-19.5	13.9-17.7	14.1-17.9	13.3-17.2	12.4-16.6
	Liubei District	450205	25.2	25.4	24.5	23.4	21.5	21.6	19.4	20	20.3	18.8	17.1	16.5	13.2	12	10.7	10.3	9.6
			19.1-32.8	19.5-32.8	19.1-31.1	18.7-29.1	17.9-25.8	18.5-25.2	17.0-21.9	18.0-22.1	18.6-22.0	17.2-20.5	15.2-19.0	14.3-19.0	11.0-15.6	9.7-14.7	8.3-13.6	7.7-13.3	7.0-12.7
	Liucheng County	450222	34.3	35.5	35.3	35.7	33.6	32.6	29.6	29.2	26	23.6	22.7	20.8	19.2	17.6	16	14	13
			30.1-38.9	31.4-40.2	31.3-39.9	31.9-40.0	30.1-37.3	29.4-35.9	26.8-32.4	26.9-32.0	24.0-28.1	21.7-25.5	20.9-24.6	19.0-22.7	17.3-21.1	15.8-19.5	14.3-17.8	12.4-15.7	11.3-14.7
	Liujiang County	450221	39.1	39.8	40	41.7	39.2	37.8	33.8	30.2	26.3	25	23.5	22.2	19.9	17.1	14.7	12.7	11.6
			34.3-44.4	35.1-45.1	35.5-45.2	37.2-46.6	35.2-43.5	34.1-41.7	30.8-37.0	27.7-32.8	24.3-28.4	23.2-27.0	21.6-25.5	20.3-24.1	18.0-21.8	15.3-18.8	13.1-16.4	11.3-14.3	10.2-13.2
	Liunan District	450204	25.2	25.4	24.5	23.4	21.5	21.6	19.4	20	20.3	18.8	17.1	16.5	13.2	12	10.7	10.3	9.6
			19.1-32.8	19.5-32.8	19.1-31.1	18.7-29.1	17.9-25.8	18.5-25.2	17.0-21.9	18.0-22.1	18.6-22.0	17.2-20.5	15.2-19.0	14.3-19.0	11.0-15.6	9.7-14.7	8.3-13.6	7.7-13.3	7.0-12.7
	Long'an County	450123	34.9	34.9	34.3	35	34.3	32.8	31.5	30.2	26.9	24.8	21.3	18.4	17.9	17	16.5	16	15.8
			30.5-39.8	30.7-39.7	30.4-38.8	31.1-39.1	30.9-38.1	29.7-36.1	28.7-34.5	27.8-32.8	25.0-29.0	23.0-26.7	19.7-23.0	16.8-20.0	16.2-19.6	15.2-18.8	14.7-18.4	14.1-18.0	13.8-18.1
	Longlin Gezu Zizhixian	451031	105.1	95.6	83.1	69.7	57.1	60.5	58.1	56.6	62.6	67	64.5	63.6	57	50.1	45.6	38.9	34.1
			92.3-119.0	84.3-108.4	73.2-94.2	61.8-78.9	50.9-64.7	54.0-68.0	52.3-64.7	51.6-62.2	57.6-68.0	61.2-72.8	58.5-70.8	57.4-70.6	51.0-63.5	44.7-56.2	40.6-51.4	34.4-44.1	29.9-38.6
	Zizhixian	450328	51.9	50.1	48.6	49.5	47.7	41.2	38.1	36.4	31.2	29.1	24.7	22.1	20.7	18.5	17.1	16.4	15.5
			45.0-59.6	43.5-57.5	42.4-55.8	43.2-56.7	42.0-54.3	36.4-46.6	33.8-42.8	32.8-40.4	28.4-34.1	26.7-31.6	22.5-27.1	19.9-24.4	18.5-23.0	16.3-20.7	15.0-19.2	14.4-18.5	13.4-17.8
	Longzhou County	451423	41.9	40.9	40.1	44.6	43.1	43.4	38.1	39.2	32.2	29	24.6	23.1	20.5	18.2	18.6	17.5	16.4
			36.3-48.2	35.5-47.0	34.9-46.1	39.0-51.2	37.9-49.1	38.4-49.1	33.9-42.8	35.3-43.4	29.3-35.2	26.6-31.5	22.3-26.9	20.8-25.5	18.2-22.8	16.1-20.4	16.4-20.9	15.4-19.8	14.1-18.8
	Luchuan County	450922	45.8	46.6	46	44.7	37.7	33.1	28.6	24.5	21.3	18	16.1	14.4	12.9	11.7	10.9	10.3	9.8
			38.4-53.8	39.6-54.2	39.6-52.7	39.0-50.5	33.5-42.4	29.3-37.2	25.3-32.2	21.5-27.7	18.7-24.1	15.9-20.5	14.3-18.5	12.7-16.5	11.5-14.7	10.5-13.1	9.8-12.2	9.1-11.6	8.5-11.1
	Zizhixian	451225	73.9	73	71.1	70.8	65.6	58.3	53.9	46.3	38.1	34.4	30.9	27	26.3	23.9	21.7	18.8	17
			64.9-83.7	64.4-82.5	63.1-80.2	63.2-79.2	59.1-72.6	52.7-64.2	49.1-59.0	42.5-50.3	35.2-41.1	31.8-37.1	28.4-33.6	24.5-29.5	23.6-28.8	21.3-26.4	19.3-24.2	16.6-21.2	14.8-19.3
	Luzhai County	450223	43.3	41.3	39.3	35.4	32.2	29.4	25.2	25.6	25.2	23.4	22.6	21.7	19.4	19.4	18.1	16.4	15.1
			37.9-49.5	36.1-47.1	34.4-44.9	31.2-40.4	28.4-36.7	25.9-33.3	22.4-28.3	23.0-28.4	23.0-27.5	21.5-25.4	20.6-24.7	19.6-23.9	17.4-21.5	17.3-21.6	16.0-20.2	14.5-18.5	13.1-17.3
	Mashan County	450124	42.6	41.1	40.7	39.3	37.7	39	36.1	31	27.9	25.4	21.8	18.6	16.3	14.5	14.2	13.1	12.9
			37.5-48.2	36.2-46.5	36.0-45.8	34.8-44.2	33.7-42.1	35.0-43.3	32.5-39.9	28.3-34.1	25.6-30.2	23.5-27.4	20.2-23.5	17.0-20.2	14.8-17.8	13.1-16.0	12.6-15.8	11.6-14.7	11.3-14.7
	Meng shan County	450423	41.7	40.4	39	39.9	36.9	35.9	34.2	32.9	31	27.8	25.6	22.8	21.5	20.4	20	18.2	17.6
			36.4-47.6	35.2-46.1	34.1-44.6	35.0-45.6	32.6-42.0	31.9-40.6	30.7-38.5	29.8-36.3	28.5-33.6	25.8-29.9	23.5-27.6	20.8-25.0	19.4-23.6	18.3-22.6	17.7-22.3	16.1-20.4	15.3-20.1
	Nandan County	451221	66.7	67.5	63.4	66	65	65.4	65.6	55.9	47.9	42.4	34.2	30.3	26.5	24.1	20.5	17	15.1
			57.9-76.3	59.1-76.9	56.0-71.9	58.6-74.2	58.3-72.1	59.2-72.3	59.9-71.8	51.6-60.7	44.5-51.6	39.3-45.5	31.6-37.1	27.5-33.0	23.8-29.0	21.5-26.6	18.2-22.9	15.0-19.2	13.1-17.2
	Napo County	451026	66.3	60.7	54.6	51.7	49.7	46.9	46.2	46.2	43.5	41.4	38.4	37.5	35.1	31.1	28.2	24.6	21.6
			58.0-75.7	53.4-69.2	48.2-61.9	45.5-58.7	44.0-56.2	41.7-53.0	41.5-51.8	42.0-51.0	40.2-47.1	38.5-44.4	35.5-41.4	34.4-40.7	32.0-38.5	28.0-34.3	25.2-31.4	21.8-27.4	18.9-24.5
	Ningming County	451422	53.9	51.3	49.7	48.5	45	37.3	36.1	33.1	32.9	30.4	27	25	22	18.3	17.4	15.9	15.2
			41.1-69.9	39.5-65.7	38.8-62.9	39.1-59.9	37.2-54.5	31.5-43.6	31.5-41.4	29.9-36.7	30.5-35.5	28.3-32.8	24.5-29.8	21.9-28.4	18.6-25.7	14.9-22.2	13.6-21.8	12.1-20.3	11.3-19.9
	Pingguo County	451023	38.9	37.6	33.4	32.3	31.1	30.7	29.7	29.9	28.3	26.7	26.8	26.1	24.3	22.2	19.3	16.5	14.3
			34.0-44.3	33.1-42.6	29.6-37.9	28.3-36.6	27.6-35.2	27.4-34.8	26.6-33.2	27.2-32.9	26.1-30.6	24.8-28.6	24.8-28.9	23.9-28.3	22.1-26.7	20.0-24.5	17.2-21.5	14.7-18.5	12.5-16.3
	Pingle County	450330	33.7	33.4	31.7	31.4	31.4	29.7	28.8	27.5	24.7	23.2	21.5	20.4	20.2	18.9	19	18.2	17.8
			27.0-41.5	27.2-40.6	26.3-37.7	26.6-36.7	27.2-36.3	26.1-33.8	25.7-32.4	25.0-30.3	22.8-26.8	21.4-25.2	19.5-23.9	17.9-23.2	17.3-23.4	15.6-22.5	15.2-23.2	14.2-22.8	13.5-22.7
	Pingnan County	450821	44.1	42	40.3	39	35.6	34.3	32.9	29.4	27.4	24	21.2	19.2	16.8	14.6	13.3	12.5	11.7
			36.9-51.7	35.8-48.7	35.1-46.0	34.5-43.9	31.9-39.7	30.8-38.3	29.3-36.9	25.9-33.1	24.0-31.1	21.1-27.4	18.7-24.4	16.9-22.1	14.9-19.0	13.1-16.3	11.9-14.8	11.1-14.0	10.2-13.2
	Pingxiang City	451481	50.6	49	47.1	53	52.7	48.2	42.1	39.3	37	35.3	29.7	25.6	21.7	18.3	15.6	15.2	15.1
			39.2-64.8	38.2-61.8	37.6-58.1	43.3-64.2	44.3-62.8	41.5-55.7	37.0-48.0	35.2-43.7	34.0-40.5	32.4-38.7	26.6-33.5	22.1-29.9	18.0-26.0	14.6-22.7	11.9-20.0	11.3-20.0	10.9-20.0
	Pubei County	450722	45.5	43.7	43.2	40	39.4	38.6	35.2	32.2	28.8	24.8	21.5	18	16.9	15.2	14.8	14.4	13.9

Province	County	County Code (2012)	Under-5 Mortality Rate (per 1000 births)																
			1996	1997	1998	1999	2000	2001	2002	2003	2004	2005	2006	2007	2008	2009	2010	2011	2012
			39.8-51.7	38.5-49.7	38.3-48.8	35.7-44.8	35.5-43.7	35.0-42.6	32.0-38.7	29.5-35.1	26.6-31.2	22.9-26.8	19.6-23.5	16.2-19.8	15.1-18.8	13.5-16.9	13.1-16.6	12.7-16.3	12.1-15.9
	Qinbei District	450703	52.3	49.1	44.9	42	38.4	35.3	30.1	25.2	19.1	16.7	14.8	13	12.2	12.8	12.5	12.3	12.2
			43.7-61.3	42.0-56.8	39.0-51.1	37.2-47.1	34.5-42.5	31.7-39.5	26.7-34.0	22.1-28.7	16.7-21.9	14.5-19.3	12.9-17.2	11.3-15.1	10.8-14.0	11.3-14.4	11.2-14.0	10.8-13.9	10.6-13.9
	Qingxiu District	450103	19.6	18.5	17.3	17	15.5	14.7	13.8	13.5	12.5	11.7	10.9	9.8	8.5	9.1	8.7	8.6	8.8
			16.4-23.3	15.6-21.8	14.5-20.3	14.4-19.9	13.3-18.1	12.7-17.0	12.0-15.9	11.9-15.3	11.2-13.8	10.5-12.9	9.8-12.0	8.7-11.0	7.5-9.6	8.0-10.3	7.6-9.8	7.5-9.8	7.6-10.2
	Qinnan District	450702	52.3	49.1	44.9	42	38.4	35.3	30.1	25.2	19.1	16.7	14.8	13	12.2	12.8	12.5	12.3	12.2
			43.7-61.3	42.0-56.8	39.0-51.1	37.2-47.1	34.5-42.5	31.7-39.5	26.7-34.0	22.1-28.7	16.7-21.9	14.5-19.3	12.9-17.2	11.3-15.1	10.8-14.0	11.3-14.4	11.2-14.0	10.8-13.9	10.6-13.9
	Qixing District	450305	19.9	19.2	18.4	18.8	16.9	17	15.9	15.4	14.9	14.1	14.4	15.3	13.8	12.8	10.9	9.8	8.8
			17.1-22.9	16.7-22.1	16.1-21.1	16.4-21.5	14.9-19.3	15.1-19.2	14.3-17.9	14.0-17.0	13.8-16.2	13.1-15.1	13.3-15.5	14.0-16.6	12.5-15.1	11.5-14.1	9.7-12.1	8.7-11.0	7.7-10.0
	Quanzhou County	450324	41.8	39.8	39.7	38.7	36.4	33.6	31.1	23.8	20.7	18.9	16.1	14.6	14.4	13.8	13.2	12.7	12.2
			31.1-55.3	29.8-52.9	30.0-51.8	29.8-49.6	29.0-45.2	27.4-40.6	26.0-36.4	20.5-27.4	18.3-23.3	17.0-21.0	14.4-18.1	12.7-16.7	12.2-16.9	11.4-16.8	10.4-16.6	9.6-16.2	9.1-15.9
	Rong County	450921	44.4	44.3	43	41.4	39.4	36.2	37.1	32.5	29.6	26.4	23.1	20.4	18.9	17.3	15.5	14.2	13.2
			33.8-57.6	34.1-56.8	33.7-54.3	33.5-51.5	32.6-47.3	30.9-42.2	32.7-42.0	29.4-35.9	27.3-32.1	24.2-28.7	20.7-25.5	17.9-23.1	16.2-22.0	14.4-20.6	12.3-18.8	11.0-17.7	10.1-16.9
	Rong'an County	450224	51	48.4	46.3	43.2	38.3	34.8	29.7	29.8	29.5	29.3	28.3	25.9	26.4	23.3	21	19.1	17.9
			44.3-58.4	42.1-55.4	40.4-52.9	37.9-49.4	33.8-43.6	30.8-39.5	26.4-33.4	26.9-33.0	27.0-32.1	27.0-31.6	25.9-30.8	23.5-28.4	23.8-29.0	20.9-25.8	18.6-23.4	16.9-21.4	15.5-20.4
	Zizhixian	450225	65.2	62.2	62.1	61.2	57.3	55.6	54.3	52.3	48.6	48.2	45.2	43.9	39.5	34.4	29	25	21.9
			56.9-74.4	54.7-70.7	54.5-70.6	53.7-69.5	50.7-64.9	49.6-62.9	48.8-60.8	47.7-57.6	44.9-52.6	44.8-51.7	41.8-48.6	40.1-47.6	35.8-43.3	30.8-37.9	25.9-32.2	22.1-27.9	19.2-25.0
	Zizhixian	450226	65	60.8	59.7	57.8	53.8	46.8	43.4	44.9	41.7	39	37.7	36.3	32.4	30	28.3	25.9	23.6
			56.9-73.9	53.6-68.8	52.9-67.7	50.9-65.4	47.8-60.7	41.7-52.8	39.0-48.4	40.9-49.6	38.5-45.3	36.3-41.9	34.8-40.6	33.1-39.4	29.3-35.5	26.9-33.2	25.2-31.3	23.0-28.9	20.6-26.8
	Shanglin County	450125	31.7	30	28.4	28.5	29.3	29	29.3	29.5	27.7	22.8	21	18	17	17	15.8	15.4	14.9
			27.3-36.8	25.9-34.6	24.7-32.7	24.7-32.7	25.7-33.5	25.6-32.8	26.0-33.1	26.7-32.7	25.5-30.1	21.1-24.6	19.3-22.6	16.4-19.8	15.4-18.7	15.2-18.8	14.1-17.7	13.6-17.3	13.0-17.0
	Shangsi County	450621	87.7	77.3	67.8	61.1	48.6	41.5	38.9	35	29.3	26.6	24	21.2	19.8	18.5	17.7	16.6	15.6
			73.7-102.5	66.3-89.1	59.5-77.0	54.1-68.8	43.0-55.0	36.5-47.2	34.0-45.0	30.4-40.3	25.4-34.0	23.0-30.8	20.8-27.9	18.4-24.4	17.3-22.5	16.3-20.7	15.7-19.8	14.7-18.6	13.6-17.9
	Tantang District	450804	33.5	35.4	34.5	33.5	31.6	30.4	27.7	24.5	22.7	20.6	17.7	15.1	13.8	12.2	11.1	10	9.3
			26.4-41.8	28.4-43.6	28.0-41.6	28.1-39.5	27.2-36.4	26.6-34.5	24.5-31.0	21.9-27.3	20.3-25.1	18.5-22.9	15.8-19.7	13.3-17.0	11.8-16.0	10.2-14.5	8.8-13.5	7.8-12.5	7.1-11.9
	Teng County	450422	64.6	66.7	65.1	65.9	59.9	53.3	44.9	38.2	33.2	28.4	25.9	23.4	20.9	19.7	17.8	16.4	15.5
			56.5-73.8	58.3-75.9	57.6-73.7	58.7-73.8	53.5-67.0	47.7-59.3	40.4-49.8	34.6-42.0	30.3-36.1	26.2-30.7	23.7-28.0	21.3-25.5	18.9-22.9	17.7-21.7	15.9-19.9	14.5-18.4	13.5-17.5
	Tian'e County	451222	70.9	68.9	65.4	61.9	63.6	61	52.1	44.3	41	36.7	32.6	33.3	33.5	31.4	28.5	24.6	22.1
			62.1-80.7	60.6-78.3	58.0-73.8	55.4-69.4	57.2-70.5	55.2-67.2	47.3-57.3	40.6-48.2	37.9-44.4	33.9-39.7	29.8-35.7	30.0-36.7	30.0-37.2	27.9-35.0	25.2-32.0	21.6-27.9	19.1-25.4
	Tiandeng County	451425	54.2	51.2	48.6	52	49.5	46.3	40.6	38.9	32.2	30.9	29.1	26.6	27.1	24.6	22.5	20	18.6
			42.7-67.8	41.0-63.6	39.6-58.8	43.5-61.2	42.9-56.9	41.0-52.2	36.8-44.9	35.7-42.3	29.9-34.8	28.4-33.7	26.2-32.2	23.2-30.3	23.0-31.9	20.1-29.7	17.7-27.9	15.3-25.5	13.8-24.2
	Tiandong County	451022	52.2	48.6	45.1	43	39.2	37.1	33	30	27.9	28.8	27.2	26.9	26.3	25.9	23.4	22	20.8
			45.5-59.6	42.7-55.3	40.0-51.1	38.3-48.2	35.2-43.4	33.5-40.9	30.0-36.2	27.6-32.7	25.8-30.2	26.7-31.1	25.1-29.5	24.5-29.4	23.7-29.0	23.3-28.7	20.9-26.0	19.6-24.7	18.3-23.6
	Tianlin County	451029	65.1	61.7	52.1	47.3	41	40.5	39.7	38.7	35.2	30.2	27.8	26.4	25.4	25.5	26.7	24	22
			57.0-74.0	54.5-70.0	45.9-59.3	41.6-53.7	36.4-46.5	36.1-45.8	35.6-44.7	35.0-42.7	32.3-38.2	27.9-32.5	25.5-30.0	24.0-28.9	22.9-27.9	22.8-28.2	23.7-29.7	21.3-26.9	19.2-25.0
	Tianyang County	451021	50.1	46.9	41.3	36.2	34.9	33.2	31.5	27.6	26.8	24.1	22.1	19.2	17.7	15.2	15.1	13.6	12.7
			43.8-57.2	41.1-53.4	36.2-47.1	31.8-41.3	30.9-39.7	29.5-37.6	28.2-35.5	24.9-30.6	24.5-29.2	22.2-26.1	20.3-24.1	17.4-21.1	15.9-19.7	13.6-17.0	13.3-16.9	11.9-15.3	11.0-14.5
	Tieshangang District	450512	18.7	18.3	17.7	16.7	14.7	17	15.5	14	12.8	11.2	9.5	9.8	10.4	10.1	10	9.5	9.1
			16.1-21.8	15.7-21.1	15.3-20.5	14.4-19.2	12.8-16.8	14.9-19.3	13.6-17.4	12.5-15.5	11.7-14.0	10.3-12.1	8.7-10.3	8.9-10.7	9.4-11.6	9.0-11.3	8.9-11.2	8.3-10.6	7.9-10.4
	Wanxiu District	450403	29.8	28.4	26.6	25.4	22.7	21	18.6	19.9	19.7	16.9	17.1	16.9	17	16.8	15.6	14.9	14
			22.4-39.2	21.5-37.3	20.3-34.3	19.8-32.2	18.4-27.9	17.2-25.0	15.7-21.7	17.2-22.7	17.4-22.1	15.0-19.0	14.9-19.5	14.4-19.7	14.1-20.5	13.5-20.8	12.0-20.0	11.0-19.4	10.2-18.5
	Wuming County	450122	36	36.6	34.4	34.4	32.4	32.6	29.8	28.5	27.5	25.6	22.2	20.1	18.5	17.1	15.8	14.8	14
			30.8-41.8	31.6-42.3	30.0-39.6	30.2-39.2	28.8-36.6	29.3-36.3	27.1-32.6	26.2-31.0	25.5-29.6	23.8-27.5	20.4-24.0	18.3-21.9	16.7-20.2	15.3-18.9	14.1-17.6	13.1-16.7	12.2-15.9
	Wuxuan County	451323	58.3	50.3	41.5	32.9	26.6	19.5	19.1	17.5	18.2	19.5	21.7	20.7	18.7	17.4	15.9	15.2	14.7
			49.1-68.1	43.3-57.9	36.4-47.0	29.1-37.3	23.4-30.2	17.1-22.4	16.6-22.2	15.1-20.4	15.8-21.1	16.9-22.6	18.9-25.1	18.2-23.8	16.5-21.2	15.5-19.5	14.3-17.8	13.6-17.0	12.9-16.8
	Xiangshan District	450304	19.9	19.2	18.4	18.8	16.9	17	15.9	15.4	14.9	14.1	14.4	15.3	13.8	12.8	10.9	9.8	8.8
			17.1-22.9	16.7-22.1	16.1-21.1	16.4-21.5	14.9-19.3	15.1-19.2	14.3-17.9	14.0-17.0	13.8-16.2	13.1-15.1	13.3-15.5	14.0-16.6	12.5-15.1	11.5-14.1	9.7-12.1	8.7-11.0	7.7-10.0
	Xiangzhou County	451322	76.2	66.6	58.7	46.1	39.1	35.3	31.6	27.3	25.6	24.6	21.1	19.1	18.7	17	15.9	15	14.4
			64.1-89.2	57.1-77.0	51.2-66.9	40.8-51.8	35.1-43.5	31.7-39.5	28.1-35.6	24.0-31.0	22.4-29.2	21.6-28.2	18.5-24.4	16.7-22.1	16.5-21.2	15.2-19.0	14.2-17.7	13.3-16.8	12.7-16.5
	Xilin County	451030	87.5	76.7	72.6	64.8	52.8	46.4	46.3	41.8	39.4	39.1	36.8	36.7	35.3	33.3	31	27	24.9
			76.4-99.9	67.0-87.5	63.3-82.9	57.0-74.1	46.6-60.1	41.0-52.4	41.2-52.1	37.7-46.2	36.1-42.9	36.0-42.2	33.7-39.9	33.3-40.2	31.9-38.9	29.8-37.0	27.6-34.6	23.8-30.2	21.6-28.4
	Xincheng County	451321	68.5	62.1	58.4	54.1	45.9	41.1	36.4	28.9	23.3	20.6	17.1	14.3	12.6	11.8	12.6	12.3	12.2
			56.9-80.6	53.1-72.0	50.7-66.4	48.0-60.7	41.3-50.9	36.9-45.8	32.3-41.2	25.3-32.9	20.3-26.6	17.9-23.9	14.9-20.0	12.4-16.5	11.1-14.4	10.4-13.3	11.2-14.2	10.8-13.9	10.6-14.1
	Xing'an County	450325	41.6	41.1	38.4	39.1	36.4	30.2	27.6	24.4	23.1	17.8	15.6	13.6	14.2	14.3	15	14.8	14.8
			36.3-47.5	36.1-46.7	34.0-43.4	34.8-43.9	32.8-40.4	27.3-33.2	25.1-30.3	22.4-26.6	21.3-24.9	16.5-19.2	14.3-17.0	12.4-15.0	12.8-15.6	12.8-15.9	13.4-16.8	13.1-16.7	12.9-16.8
	Xingning District	450102	19.6	18.5	17.3	17	15.5	14.7	13.8	13.5	12.5	11.7	10.9	9.8	8.5	9.1	8.7	8.6	8.8
			16.4-23.3	15.6-21.8	14.5-20.3	14.4-19.9	13.3-18.1	12.7-17.0	12.0-15.9	11.9-15.3	11.2-13.8	10.5-12.9	9.8-12.0	8.7-11.0	7.5-9.6	8.0-10.3	7.6-9.8	7.5-9.8	7.6-10.2
	Xingye County	450924	35.7	34	34.7	27.4	24.9	22.5	19	17.3	15.5	14.4	13.3	12.6	12.8	13.1	12.1	11.1	10.5
			30.0-42.2	28.8-39.9	29.7-40.4	23.7-31.8	21.8-28.5	20.1-25.4	17.1-21.0	15.8-18.9	14.3-16.7	13.3-15.4	12.3-14.4	11.4-13.8	11.5-14.1	11.6-14.5	10.7-13.6	9.8-12.6	9.1-12.1
	Xiufeng District	450302	19.9	19.2	18.4	18.8	16.9	17	15.9	15.4	14.9	14.1	14.4	15.3	13.8	12.8	10.9	9.8	8.8
			17.1-22.9	16.7-22.1	16.1-21.1	16.4-21.5	14.9-19.3	15.1-19.2	14.3-17.9	14.0-17.0	13.8-16.2	13.1-15.1	13.3-15.5	14.0-16.6	12.5-15.1	11.5-14.1	9.7-12.1	8.7-11.0	7.7-10.0
	Xixiangtang District	450107	19.6	18.5	17.3	17	15.5	14.7	13.8	13.5	12.5	11.7	10.9	9.8	8.5	9.1	8.7	8.6	8.8
			16.4-23.3	15.6-21.8	14.5-20.3	14.4-19.9	13.3-18.1	12.7-17.0	12.0-15.9	11.9-15.3	11.2-13.8	10.5-12.9	9.8-12.0	8.7-11.0	7.5-9.6	8.0-10.3	7.6-9.8	7.5-9.8	7.6-10.2
	Yangshuo County	450321	34.3	32.6	32.4	31.5	28.4	26	22	19	17.7	16.2	16.4	16.4	17.5	16.8	17.2	16.3	15.4
			26.9-43.3	25.9-40.4	26.1-39.3	26.2-37.6	24.2-33.3	22.6-29.9	19.5-25.0	17.3-21.1	16.3-19.2	14.9-17.6	14.8-18.3	14.4-18.7	14.8-20.6	13.7-20.4	13.4-21.4	12.4-20.7	11.4-20.0

Province	County	County Code (2012)	Under-5 Mortality Rate (per 1000 births)																
			1996	1997	1998	1999	2000	2001	2002	2003	2004	2005	2006	2007	2008	2009	2010	2011	2012
	Yanshan District	450311	19.9	19.2	18.4	18.8	16.9	17	15.9	15.4	14.9	14.1	14.4	15.3	13.8	12.8	10.9	9.8	8.8
			17.1-22.9	16.7-22.1	16.1-21.1	16.4-21.5	14.9-19.3	15.1-19.2	14.3-17.9	14.0-17.0	13.8-16.2	13.1-15.1	13.3-15.5	14.0-16.6	12.5-15.1	11.5-14.1	9.7-12.1	8.7-11.0	7.7-10.0
	Yinhai District	450503	18.7	18.3	17.7	16.7	14.7	17	15.5	14	12.8	11.2	9.5	9.8	10.4	10.1	10	9.5	9.1
			16.1-21.8	15.7-21.1	15.3-20.5	14.4-19.2	12.8-16.8	14.9-19.3	13.6-17.4	12.5-15.5	11.7-14.0	10.3-12.1	8.7-10.3	8.9-10.7	9.4-11.6	9.0-11.3	8.9-11.2	8.3-10.6	7.9-10.4
	Yizhou City	451281	32.5	31.6	30.3	29.7	26.8	26.4	24.6	23.3	21.4	19.4	17	14.9	14.5	12.9	12.4	11.5	10.8
			28.1-37.5	27.3-36.3	26.3-34.9	25.9-34.1	23.5-30.6	23.3-29.9	21.8-27.7	21.0-25.9	19.5-23.3	17.8-21.1	15.4-18.6	13.4-16.5	12.9-16.1	11.4-14.4	10.9-13.9	10.1-13.0	9.4-12.5
	Yongfu County	450326	37.7	38.3	38.3	39.6	38.6	34.4	30.5	27.6	24.6	21	18.7	17.6	15.4	12.9	14.3	13.9	13.4
			32.9-43.0	33.5-43.6	33.6-43.7	34.8-45.1	34.3-43.8	30.6-39.0	27.3-34.2	25.0-30.6	22.5-26.8	19.3-22.7	17.1-20.3	15.9-19.4	13.8-17.0	11.4-14.4	12.7-16.0	12.2-15.6	11.6-15.3
	Yongning District	450109	24.8	23.9	23.2	22.7	22.6	21.4	19.8	18.9	19.2	17.5	16.7	15.5	17.3	17.7	16.9	16	15.5
			21.2-29.1	20.4-27.7	19.8-27.0	19.6-26.3	19.7-26.0	18.8-24.3	17.5-22.3	17.1-20.9	17.6-20.8	16.3-18.9	15.5-18.0	14.1-16.8	15.6-19.0	15.8-19.6	15.0-18.8	14.2-18.0	13.6-17.7
	Youjiang District	451002	36.6	37.2	37.8	39.1	37.9	38.7	35	30	29.9	27.1	22.2	20.7	18.5	15.3	12.6	10.8	9.6
			31.8-41.9	32.4-42.6	33.0-43.3	34.3-44.8	33.5-43.1	34.4-43.8	31.3-39.3	27.1-33.2	27.3-32.5	24.9-29.3	20.2-24.2	18.7-22.7	16.5-20.6	13.6-17.2	11.1-14.2	9.4-12.2	8.2-11.0
	Yufeng District	450203	25.2	25.4	24.5	23.4	21.5	21.6	19.4	20	20.3	18.8	17.1	16.5	13.2	12	10.7	10.3	9.6
			19.1-32.8	19.5-32.8	19.1-31.1	18.7-29.1	17.9-25.8	18.5-25.2	17.0-21.9	18.0-22.1	18.6-22.0	17.2-20.5	15.2-19.0	14.3-19.0	11.0-15.6	9.7-14.7	8.3-13.6	7.7-13.3	7.0-12.7
	Yuzhou District	450902	23.3	23	22	20.1	17.9	17.2	16.1	13.8	13	12.4	11.1	10.3	9.4	8.6	7.4	6.7	6.3
			20.2-26.6	20.1-26.2	19.4-24.9	17.9-22.6	16.1-19.9	15.5-19.0	14.7-17.6	12.7-15.0	12.1-14.1	11.5-13.3	10.2-12.0	9.4-11.2	8.5-10.3	7.7-9.5	6.6-8.2	6.0-7.6	5.5-7.1
	Zhaoping County	451121	41.4	39.8	38.3	36.6	34.8	32.6	29.2	29.1	29.6	27.4	25.8	26.3	24.9	23.3	21.8	19.9	18.3
			35.9-47.3	34.6-45.4	33.4-43.7	32.0-42.0	30.5-39.7	28.8-37.0	25.9-32.9	26.1-32.3	27.0-32.3	25.2-29.6	23.6-28.0	23.9-28.9	22.4-27.5	20.7-25.9	19.3-24.3	17.5-22.4	15.9-20.9
	Zhongshan County	451122	46.4	44.4	41.4	40.5	38.4	35.2	34.8	36	34.3	30.8	28	25.2	24.2	22.1	20.4	18.8	17.7
			40.2-53.4	38.6-51.0	36.2-47.4	35.4-46.4	33.7-43.7	31.3-39.8	31.3-38.9	32.8-39.6	31.7-37.1	28.6-32.9	25.9-30.2	23.0-27.4	21.9-26.6	19.7-24.5	18.2-22.7	16.7-21.1	15.4-20.2
	Ziyuan County	450329	52.5	53.6	52.6	48.2	41.8	37.2	32.3	27.3	24.8	22.5	19.6	18	18.6	18.4	17.8	16.6	16
			45.7-60.0	46.8-61.2	45.9-60.1	42.4-55.1	37.0-47.6	32.9-42.1	28.7-36.3	24.7-30.3	22.6-27.1	20.7-24.5	17.9-21.4	16.3-19.9	16.7-20.7	16.3-20.5	15.7-19.9	14.6-18.6	13.9-18.3
Guizhou	Anlong County	522328	112.8	107.4	101.5	89.8	75	61.6	48.6	43.6	38.7	36.3	35	34.6	33.7	31.7	29.8	26.4	23.8
			91.8-134.4	89.8-125.5	87.2-115.3	79.7-100.7	67.3-83.3	54.9-68.5	42.8-55.1	37.7-50.3	32.9-45.4	30.8-43.4	29.9-42.3	29.7-41.4	29.2-39.2	28.0-36.0	26.8-33.3	23.6-29.1	21.1-26.5
	Baiyun District	520113	40.2	39.2	35.2	30.6	28.3	26	24.4	23.8	22.4	20.1	17.7	17	15.3	14.5	14.4	14.3	14
			34.8-45.7	34.3-44.5	30.7-39.9	26.5-34.9	24.6-32.4	22.7-29.6	21.4-27.5	21.1-26.5	20.2-24.7	18.1-22.2	15.8-19.6	15.1-19.1	13.4-17.2	12.7-16.5	12.5-16.4	12.5-16.2	12.2-15.9
	Bijie City	520502	67.7	62.3	61	52.9	51.1	47	41.1	36.3	31.9	26	21.2	18.7	17.3	16.1	17.1	17.4	17.5
			60.2-75.8	55.3-69.7	54.0-68.9	46.8-59.3	45.2-57.1	41.6-52.5	36.5-45.8	32.6-40.2	28.8-35.1	23.6-28.5	19.3-23.4	16.8-20.7	15.5-19.1	14.4-17.8	15.2-18.9	15.5-19.1	15.6-19.3
	Ceheng County	522327	134.1	123.8	128.5	129.9	139.7	133.2	129.9	115.7	120.7	96.9	84.3	75.4	63	48.1	40.5	34.1	29.4
			119.8-149.8	109.9-139.0	113.8-144.7	115.3-145.5	124.0-156.4	119.2-147.6	116.4-143.3	104.7-126.7	109.8-131.6	88.3-105.5	77.0-92.1	68.0-82.9	56.7-69.4	42.8-53.1	35.9-44.8	30.1-37.6	26.0-32.6
	Cen'gong County	522626	84.3	81.1	74.7	69.4	59.4	55	52.7	50.4	45.6	42.1	38.9	36.5	34.5	32.8	32.9	30.1	28.3
			60.3-113.7	58.1-108.8	54.4-99.2	52.0-90.8	46.0-76.6	43.6-68.2	42.8-63.7	42.5-59.0	39.7-51.6	37.4-47.1	34.1-44.1	31.5-42.3	28.6-41.4	26.3-40.5	25.3-41.7	22.6-39.1	20.3-37.7
	Changshun County	522729	76.1	70.6	62.5	54.6	47.6	46.9	51.5	53.2	57.4	56.5	52.4	43.5	36.5	30.3	26.6	24.5	23.1
			65.3-87.8	60.5-80.8	53.8-71.5	47.1-62.9	41.1-54.9	40.6-53.7	45.3-58.0	47.5-59.1	52.4-62.9	51.6-61.4	47.6-57.6	38.9-48.1	32.6-40.7	26.8-34.1	23.3-30.1	21.4-27.6	20.1-26.1
	Chishui City	520381	59.6	59.8	47.6	59.2	46.4	37.4	38.8	32.9	31.6	30.9	25.5	20.1	19.4	19.3	16.5	16.9	17.9
			42.8-80.3	43.4-79.8	34.9-62.7	45.1-76.6	36.4-58.6	30.3-46.1	32.3-46.8	27.8-38.3	27.4-36.2	26.7-35.5	21.6-30.0	16.5-24.4	15.4-24.2	14.6-24.7	12.1-21.8	11.8-22.9	12.3-24.9
	Congjiang County	522633	105.4	106	96.6	95.7	89.9	81.8	77.9	69.5	66	63.6	57.9	54.4	49.4	42.3	37.3	32.8	29.1
			77.7-138.7	79.3-137.7	73.5-123.5	75.0-120.6	72.8-110.3	68.4-97.3	67.0-89.4	61.7-77.4	60.0-72.2	57.7-70.0	51.4-65.9	46.4-63.7	40.7-59.7	33.3-52.6	28.2-47.9	24.3-43.2	20.5-39.3
	Dafang County	520521	61.8	57.3	53.7	43	38.5	35.9	31.1	28.5	28.8	25.8	22.9	22.8	21.3	21.2	19.9	19	18.4
			51.5-73.0	48.5-66.8	45.7-61.9	37.1-49.2	33.9-43.7	32.1-40.2	28.2-34.3	26.0-31.2	26.5-31.3	23.6-28.1	20.7-25.2	20.3-25.5	18.7-24.0	18.5-24.0	17.3-22.5	16.5-21.4	16.2-20.8
	Danzhai County	522636	90.8	91.7	89.9	90.1	85.9	86.1	78	81.9	80.9	84.6	76	67.8	53.6	42.2	35.2	31.3	27.6
			78.9-102.9	80.8-103.4	78.7-101.7	78.8-101.8	75.4-97.9	76.0-96.7	69.7-86.7	74.3-90.0	74.8-88.0	77.7-91.5	69.2-82.5	60.9-74.5	47.7-59.1	37.4-47.0	31.0-39.5	27.6-35.2	24.2-31.0
	Miaozu Zizhixian	520325	74.9	69.8	64.2	62.6	60.1	50.3	58.6	60.5	58.9	50.7	45.6	38.1	32.4	29.3	26.7	24.6	23.7
			64.4-85.9	60.6-79.7	56.2-72.7	54.9-70.5	53.6-67.0	45.4-55.3	53.3-64.0	55.3-65.7	54.4-63.7	46.7-55.2	41.4-49.9	34.3-42.2	28.8-36.2	26.0-32.7	23.5-29.7	21.6-27.3	20.9-26.4
	Dejiang County	520626	94.3	84.1	73.4	56.8	47	39.3	32.4	32.1	35.3	41.8	42.7	40.6	42.3	37.3	32.2	29.9	27.2
			80.9-108.1	72.1-96.4	62.2-84.6	48.3-66.2	39.7-54.8	33.1-46.2	27.6-37.7	27.5-36.8	30.7-40.1	36.5-46.9	37.3-48.2	35.3-46.3	37.0-48.3	32.4-42.7	27.8-37.0	26.0-34.4	23.5-31.2
	Dushan County	522726	82.9	82.6	79.8	81.2	78.3	77.5	74.6	76.3	69.4	62.3	58.5	48.5	40.8	37.7	33.7	31.2	29.2
			70.7-96.1	70.6-94.6	68.7-91.2	70.3-92.8	68.3-89.4	68.0-87.6	66.5-83.3	68.9-84.1	63.7-75.6	57.3-67.6	53.3-63.9	43.5-53.3	36.3-44.9	33.5-41.9	29.8-37.6	27.6-34.9	25.8-32.5
	Duyun City	522701	60.6	60.2	58.4	57.7	54	52.9	49.3	46.8	46.6	45.4	43.7	41.8	41.2	38.9	36.5	35.8	33.8
			54.0-67.5	53.3-67.6	51.4-65.7	50.9-65.3	47.6-61.1	47.2-59.4	44.5-54.5	42.2-51.8	41.7-51.6	39.8-51.0	37.6-49.7	35.7-48.1	35.4-47.5	33.6-44.6	31.8-41.1	31.6-40.1	30.1-37.8
	Fenggang County	520327	74.3	75.6	67	75.5	65	65.3	58.9	58.1	47.6	45.8	40.6	36.5	33.2	29.9	27.6	24.8	23.3
			62.1-87.7	64.2-87.9	57.2-77.1	65.4-85.9	57.2-73.4	58.4-72.6	53.4-64.8	53.1-63.3	43.9-51.7	42.3-49.6	36.9-44.4	32.9-40.4	29.4-37.1	26.4-33.5	24.2-30.8	21.8-27.7	20.5-26.1
	Fuquan City	522702	68.1	68.6	68.1	67.3	65.9	63.5	59.6	50	43.8	37.2	32.6	29.3	26.8	27.3	26.7	26.3	25.2
			60.0-76.7	61.0-76.9	60.2-76.8	59.6-75.4	58.6-73.7	56.6-70.5	53.2-66.0	45.0-55.1	39.7-48.1	33.7-40.8	29.6-35.9	26.3-32.4	23.9-29.6	24.4-30.3	23.8-29.5	23.6-29.0	22.5-27.7
	Miaozu Zizhixian	520424	145.1	142.8	139.5	142.3	135.2	126.8	118.4	107.6	93.5	88.7	73.1	56.6	48.3	39.5	30	25.8	22.4
			128.9-162.5	127.0-159.9	124.0-156.4	127.0-158.8	121.3-149.8	115.2-139.8	108.0-129.3	98.6-117.1	86.0-101.0	81.3-96.4	66.1-80.5	50.6-62.9	42.6-54.1	34.8-44.3	26.2-33.8	22.4-29.0	19.6-25.2
	Guiding County	522723	74.8	76.7	75.1	73.3	73.7	74.2	73.5	64.9	61	56.4	47.9	42.8	38.9	38.5	36.9	35.8	34.6
			66.6-83.4	68.5-86.2	66.4-84.9	64.7-83.6	65.0-83.6	64.9-83.3	64.3-82.4	56.9-73.0	53.8-68.8	49.9-63.9	42.7-53.7	38.1-48.1	34.2-44.0	33.9-43.8	32.6-41.7	31.9-40.0	30.8-38.5
	Hezhang County	520527	90.9	85.5	76.2	70.7	66.9	56.1	53.1	50.2	45.5	41	37.4	34.7	31	27.8	24.9	23.4	22.9
			79.4-102.7	75.4-97.0	67.1-86.3	62.5-80.3	59.4-75.6	49.7-62.7	47.1-58.7	44.7-55.8	40.9-50.6	37.0-45.4	33.9-41.1	31.1-38.5	27.3-35.0	24.1-31.7	21.5-28.4	20.3-26.7	19.9-26.1
	Honghuagang District	520302	36.5	34.4	38.2	33.9	32.3	29.9	30.2	26.3	27.3	26.1	24.7	22.9	22.7	22.1	20.5	20.6	20.4
			27.9-46.4	26.9-43.0	30.9-46.8	28.3-40.4	27.7-37.3	26.3-33.5	27.2-33.3	24.0-28.6	25.1-29.7	23.7-29.0	21.7-28.1	19.5-27.2	18.6-27.8	17.6-27.7	15.8-26.2	15.3-26.7	14.6-26.8
	Huangping County	522622	94.9	88.5	83.7	76.4	71.2	59.7	58.6	51.7	46.4	43.8	42.3	39	37.8	36.3	34.3	30.8	28.6
			81.2-109.5	75.4-101.5	71.9-95.9	65.9-87.9	61.6-81.9	51.9-68.4	51.7-66.0	46.3-57.5	42.3-51.0	40.1-47.6	38.3-46.4	35.0-43.0	33.8-41.8	32.1-40.6	30.3-38.4	27.2-34.4	25.2-32.0
	Huaxi District	520111	54	54.5	50.8	46	44.4	40.9	39.5	33.6	32.4	28.6	24.9	21.3	19.8	17.7	15.4	14.8	14

Province	County	County Code (2012)	Under-5 Mortality Rate (per 1000 births)																
			1996	1997	1998	1999	2000	2001	2002	2003	2004	2005	2006	2007	2008	2009	2010	2011	2012
			47.9-60.6	48.4-60.9	45.2-56.9	40.9-51.4	39.9-49.5	37.0-45.0	35.9-43.1	30.7-36.6	29.7-35.2	26.1-31.2	22.4-27.4	19.0-23.8	17.5-22.3	15.5-19.9	13.4-17.3	12.9-16.6	12.3-15.7
	Huichuan District	520303	36.5	34.4	38.2	33.9	32.3	29.9	30.2	26.3	27.3	26.1	24.7	22.9	22.7	22.1	20.5	20.6	20.4
			27.9-46.4	26.9-43.0	30.9-46.8	28.3-40.4	27.7-37.3	26.3-33.5	27.2-33.3	24.0-28.6	25.1-29.7	23.7-29.0	21.7-28.1	19.5-27.2	18.6-27.8	17.6-27.7	15.8-26.2	15.3-26.7	14.6-26.8
	Huishui County	522731	78.6	81.7	77.9	71.9	73.6	73.1	64.2	65.3	55.8	50.4	44.8	41.2	36.1	35.4	34.3	32.3	30.8
			58.9-101.4	63.2-103.4	61.8-97.3	58.8-87.6	62.1-87.3	63.6-83.9	57.7-71.4	59.7-70.8	51.1-60.5	44.9-56.3	38.6-51.5	34.7-48.6	29.3-43.7	28.0-44.2	26.3-43.3	24.0-41.8	22.0-40.4
	Jiangkou County	520621	88	77.7	66.7	64.9	51.1	41.1	33.6	29.3	22.5	16.3	13.6	11.7	10.7	11	11.5	11.1	10.8
			76.9-99.3	68.3-87.8	58.5-75.4	56.6-74.0	44.4-58.5	35.6-46.9	29.1-38.4	25.6-33.2	19.7-25.3	14.2-18.3	11.7-15.6	10.0-13.5	9.2-12.5	9.3-12.8	9.7-13.4	9.5-12.9	9.2-12.6
	Jianhe County	522629	74.3	69.3	65	56.1	51.2	48.6	44.7	43.4	39	33.9	34.4	34.9	32.3	29.1	28.5	24.9	22.3
			55.6-96.1	52.6-88.3	51.1-81.3	45.5-68.6	42.7-60.9	41.8-55.9	39.7-49.9	39.6-47.7	35.8-42.7	30.9-37.6	30.2-39.5	29.6-41.4	26.4-39.5	22.9-36.4	21.7-36.6	18.3-32.8	15.7-30.0
	Jinping County	522628	81.5	77.3	73.4	71.5	63.8	64.6	57.5	51.3	46.5	43.2	40.8	34.7	31.1	28.2	25.4	22	20
			59.2-108.3	56.8-102.5	55.1-97.1	55.4-91.2	50.9-79.9	53.5-78.4	49.1-67.3	45.3-57.9	42.5-50.7	39.6-47.3	36.3-45.4	29.7-40.1	25.5-37.2	22.3-35.0	19.2-32.4	16.1-29.0	14.1-27.0
	Jinsha County	520523	73.3	68.4	64	62.3	66.9	72.6	68.3	61.8	59	53.9	43.1	39.8	34.9	31.2	28	25.7	23.8
			55.4-94.0	52.5-86.0	50.8-78.6	51.2-75.1	57.1-78.1	63.5-82.3	60.6-75.7	55.9-67.5	53.9-64.3	48.7-60.0	38.0-49.2	34.0-47.0	28.7-42.7	24.6-39.5	21.2-36.1	18.9-33.8	16.7-31.9
	Kaili City	522601	57.7	56.9	50.9	48.5	46.1	49.2	45.4	44.5	41	38.8	36.9	35.1	32.7	33	30.6	29.4	28
			48.8-67.6	48.2-65.6	43.5-58.6	41.6-56.2	39.8-53.1	42.8-56.0	40.1-51.0	40.2-49.3	37.6-44.8	36.0-42.1	33.6-40.2	31.7-38.5	29.3-35.9	29.4-36.5	27.3-34.0	26.3-32.7	24.8-31.0
	Kaiyang County	520121	57.5	58.5	55.3	54.4	51.9	52.6	46	39.1	32.9	28.1	23.4	21	19	17.6	16.8	15.6	14.7
			50.4-64.8	51.7-65.5	49.1-62.0	48.6-60.9	46.7-57.5	47.6-57.7	41.8-50.6	35.8-42.9	30.0-36.0	25.4-30.9	20.9-26.2	18.5-23.7	16.5-21.7	15.2-20.2	14.4-19.2	13.4-17.8	12.7-16.8
	Leishan County	522634	83.2	79	75.9	69.1	63.3	59.6	55.9	52.9	46.2	42.7	37.8	33.9	32.2	32.1	30.4	27.6	26.2
			60.9-110.0	58.5-104.2	57.5-99.2	53.7-87.7	50.9-78.4	49.7-71.6	48.2-65.1	47.1-59.1	42.3-50.2	39.3-46.4	33.8-42.0	29.4-39.0	26.9-38.2	25.8-39.1	23.7-38.3	20.7-35.3	19.0-34.1
	Libo County	522722	87.8	87.9	85.2	78.8	75.7	79.3	70.6	64.1	61.4	64.8	65.2	65	60.5	55	44.9	39.2	34.6
			78.1-97.9	78.4-97.7	75.6-95.1	69.5-88.7	66.9-85.7	70.6-89.5	63.2-78.8	58.2-70.9	55.9-67.2	59.0-70.9	58.8-71.7	58.3-71.9	53.9-67.2	49.1-61.0	40.4-49.4	35.3-43.3	30.9-38.1
	Liping County	522631	94.4	90.1	87.3	95.4	94.3	98.1	92.6	82.3	78.8	68.9	61.3	54.2	49.1	41.4	34.5	29.4	25
			80.6-109.4	77.1-103.4	75.0-99.7	82.4-108.6	82.1-107.3	86.6-110.7	82.7-103.3	74.9-90.9	72.8-85.8	63.5-74.4	56.0-66.8	48.8-59.5	43.9-53.8	36.9-45.9	30.6-38.4	26.1-32.8	22.1-27.9
	Longli County	522730	86.9	85.1	80.4	78.8	73	66.7	61.6	59.3	53.4	46	38.8	34.6	30.4	28.3	28.3	27.2	26.4
			76.3-98.1	75.1-95.6	70.9-90.5	69.8-88.6	65.0-81.5	59.8-73.6	55.5-67.6	53.8-65.0	48.6-58.2	42.0-50.2	35.3-42.5	31.1-38.2	27.2-33.5	25.1-31.3	25.0-31.3	24.1-30.0	23.4-29.3
	Luodian County	522728	96.5	94.1	90.9	83.8	86.5	83.1	79.8	86.5	79.2	76.6	66.1	61.6	51.6	46.5	40.4	36.3	34
			84.8-108.8	83.1-105.7	80.1-102.4	74.0-94.4	76.8-96.6	74.0-92.4	71.5-88.5	78.0-95.3	71.3-86.8	69.3-84.2	59.8-72.9	55.5-68.2	46.2-57.3	41.6-51.5	36.1-44.6	32.5-40.0	30.3-37.4
	Luzhi Tequ	520203	99.2	94.2	84.4	76.3	68.4	63.7	56.1	51.7	53.8	48	39.9	34.7	31.2	27.7	25.1	23.1	21.7
			88.2-110.8	84.0-104.9	74.7-94.1	67.3-85.8	60.5-77.7	56.6-71.7	50.1-62.6	46.5-57.1	49.4-58.4	44.0-52.3	36.0-43.8	30.9-38.3	27.7-34.6	24.5-30.9	22.1-28.2	20.3-25.9	19.1-24.4
	Majiang County	522635	92.5	89.4	82.2	83.1	75.9	74.6	79.5	79.1	74.3	60.6	58.6	51.1	41.5	35.9	32.8	28	24.9
			66.9-123.1	65.6-118.1	61.2-107.0	63.6-106.7	60.1-95.2	61.1-90.2	67.0-93.0	68.7-89.8	66.2-82.4	54.0-67.7	51.2-67.1	43.0-60.4	33.8-50.7	28.0-45.3	24.6-42.6	20.3-37.6	17.3-34.0
	Meitan County	520328	60.1	48.7	56	51.4	50.1	45.6	43.1	40.6	46.5	43	40.7	38.9	34.8	28.7	25.8	25.1	24.3
			52.0-68.5	42.2-55.3	48.6-63.7	45.1-58.2	44.2-56.4	40.7-51.1	38.9-47.8	37.3-44.6	42.8-50.9	39.3-47.2	36.8-45.1	34.8-43.3	31.0-38.9	25.4-32.1	22.9-28.7	22.1-27.8	21.5-26.9
	Nanming District	520102	27.8	26.5	25	22.5	18.8	17.9	14.7	11.6	10	9	7.8	7.5	7.5	7.7	6.7	6.7	6.4
			23.6-32.5	22.5-30.6	21.4-28.7	19.4-25.9	16.2-21.6	15.6-20.4	12.8-16.6	10.3-13.0	9.0-11.1	8.0-10.0	6.8-8.7	6.6-8.5	6.6-8.6	6.7-8.9	5.8-7.7	5.8-7.7	5.5-7.4
	Nayong County	520525	96.5	93.3	88.1	86.5	90.6	84.8	76.5	71	60.7	47.6	38.5	30.8	26.7	24.2	22.4	20.8	19.4
			84.9-108.7	82.9-104.9	77.9-99.5	76.6-97.6	79.9-101.9	74.5-95.4	66.9-86.9	61.8-80.8	53.2-69.2	41.9-53.9	34.5-43.0	27.7-34.2	23.9-30.0	21.6-27.2	20.0-25.0	18.6-23.0	17.3-21.3
	Pan County	520222	106.9	93.7	86.2	86.9	71	58.4	56.9	53	46	43.8	40.6	36.7	32.8	28.8	25.6	24	22.6
			89.8-124.4	78.1-109.7	71.5-101.7	72.4-103.4	58.4-85.4	47.9-70.3	46.8-68.0	44.0-63.0	38.0-54.8	36.0-52.1	33.1-48.6	29.8-44.2	26.9-39.6	23.6-34.8	21.0-30.8	20.0-28.8	18.7-27.1
	Pingba County	520421	128.3	128.4	125.1	113.4	107.8	105.3	85.6	69.7	58.9	45.1	36.6	35.4	32.2	27.5	25	21.2	19
			112.7-144.4	113.8-143.9	111.0-140.0	100.7-126.7	97.0-119.8	95.1-116.7	77.6-94.9	63.1-77.2	52.9-64.8	40.2-50.0	32.3-41.1	30.7-40.5	27.7-37.1	23.5-31.7	21.3-29.1	18.1-24.6	16.3-21.9
	Pingtang County	522727	81.7	82.1	82	80.3	90.1	90.7	92.6	85.6	76	75.8	70.2	60	57.6	53.9	47	41.8	37.7
			69.6-94.8	69.7-94.5	69.9-94.4	68.9-92.6	78.0-103.7	79.2-103.3	81.6-104.2	76.5-95.1	69.2-83.2	68.7-82.8	63.3-77.1	53.6-66.7	51.1-64.6	47.6-61.2	41.1-53.5	36.6-47.4	32.8-42.9
	Pu'an County	522323	80	79.3	77.9	60.7	73.9	64.5	56.4	49.4	51.6	34.9	33.6	33.3	32.1	30.4	29.8	26.2	24.1
			68.8-92.2	68.9-90.6	68.1-88.4	53.4-68.7	65.9-82.5	58.2-71.2	51.2-62.0	45.2-53.9	47.4-56.0	32.0-38.0	30.4-36.9	29.8-37.2	28.3-36.1	26.8-34.2	26.0-33.4	22.9-29.2	21.2-27.0
	Puding County	520422	129.8	128.5	122.3	122.3	113.6	110.6	85.6	74.3	61.9	48.8	40.4	36	32.4	29	27.2	24.2	21.8
			113.4-146.5	113.5-144.6	107.7-137.6	108.2-137.2	101.2-126.6	99.2-122.4	76.9-94.2	67.2-81.4	56.5-67.6	44.4-53.4	36.5-44.4	32.2-39.8	28.9-36.0	25.6-32.3	23.8-30.3	21.2-26.8	19.2-24.3
	Qianxi County	520522	68	66.1	58.6	53.3	56.3	52.7	52.3	46.7	44.4	43.2	39.7	36.9	33.3	29.4	26.3	24.2	22.3
			50.3-89.0	50.2-85.6	45.7-74.8	42.8-66.0	46.4-67.6	45.1-61.3	46.2-59.1	42.5-51.0	41.1-48.1	39.4-47.3	34.9-44.9	31.3-43.4	27.1-40.2	22.9-36.6	19.8-33.5	17.6-31.7	15.6-30.1
	Qinglong County	522324	113.3	108.9	100.4	90.1	84.3	69.5	56.7	50.4	45.6	38.8	34	35.4	34	31.3	30	26.5	24.3
			97.3-130.6	93.7-124.1	86.8-114.4	78.2-102.9	73.4-95.9	60.8-78.7	50.4-63.5	45.2-56.0	41.6-50.0	35.2-42.5	30.7-37.4	31.7-39.2	30.2-38.1	27.6-35.3	26.3-33.9	23.2-29.8	21.3-27.4
	Qingzhen City	520181	69.7	69.1	64.4	58.5	57.5	54.6	51.7	46.9	40.9	34.1	31.9	27.2	24.8	22.7	20.9	19.2	17.5
			60.7-79.0	60.7-77.8	56.6-72.9	51.6-65.8	51.1-64.3	48.6-60.8	46.1-57.4	42.1-51.9	36.7-45.0	30.7-37.6	28.7-35.3	24.4-30.2	22.2-27.6	20.2-25.2	18.7-23.1	17.2-21.1	15.7-19.2
	Renhuai City	520382	55.2	55.5	53.8	53.2	49.8	50.3	43	37.5	33.6	38	35.3	37.3	38.3	37.4	32.3	29.7	27.5
			47.8-63.2	48.3-63.1	46.8-61.1	46.5-60.6	43.2-56.8	44.0-57.1	38.0-48.3	33.4-41.7	30.5-36.9	34.4-41.6	31.9-38.7	33.5-41.1	34.2-42.5	33.0-41.9	28.5-36.4	26.2-33.3	24.1-30.8
	Rongjiang County	522632	81.3	76.6	74.5	68.7	70.7	66.6	58.6	58.5	52.8	48.6	43	37.6	31.3	29.2	27.9	26	24.6
			60.9-104.9	59.0-97.4	59.0-93.4	56.0-83.9	59.5-83.9	57.8-76.5	52.4-65.1	53.5-63.3	48.4-57.1	43.3-54.1	37.0-49.4	31.4-44.6	25.1-37.9	22.9-36.5	21.1-35.4	19.0-33.9	17.4-32.8
	Sandu Shuizu Zizhixian	522732	88.1	91.2	88.3	87.8	87.3	79.7	72.7	60.9	51	40.2	31.1	26	22.1	20.1	20	19.7	20
			75.3-101.4	79.1-104.4	77.3-100.1	77.1-98.4	78.5-96.6	72.5-87.5	66.5-79.1	55.9-66.2	46.9-55.4	36.6-44.0	27.9-34.6	22.9-29.4	19.2-25.2	17.3-23.0	17.2-22.9	16.9-22.4	17.3-22.8
	Sansui County	522624	68.9	65.1	59	54	47	43.2	40.4	40.1	34.8	32.7	33.9	32.2	29.2	27.8	29.4	26.8	25.5
			57.0-81.1	54.1-76.4	49.1-69.3	45.1-63.4	39.6-55.1	36.7-50.3	34.7-46.5	35.0-45.4	30.9-39.0	29.1-36.4	30.1-37.7	28.4-36.1	25.7-33.0	24.4-31.6	25.6-33.5	23.3-30.5	22.1-29.0
	Shibing County	522623	82.3	81.6	73.8	70.9	67.5	65.4	62.6	60.3	60.1	56.4	50	47.8	42	34.4	30.9	26.8	24
			71.3-93.6	71.8-92.2	64.6-83.5	62.1-80.1	59.3-77.0	57.9-73.7	56.0-69.6	55.0-66.6	55.4-65.3	51.9-61.1	45.5-54.5	42.8-52.4	37.3-46.4	30.5-38.4	27.2-34.7	23.6-30.1	21.1-26.8
	Shiqian County	520623	72.3	61.6	52.2	45	37.9	34.7	33.9	35	35.1	31.4	27.1	22.4	18.1	17.1	18.3	18.7	18.9
			63.4-81.7	54.5-69.1	46.0-58.9	39.4-50.8	33.3-43.3	30.6-39.4	30.3-37.9	31.6-38.7	32.1-38.3	28.6-34.2	24.5-29.7	20.0-24.8	16.0-20.2	15.0-19.3	16.1-20.8	16.4-21.0	16.6-21.3

Province	County	County Code (2012)	Under-5 Mortality Rate (per 1000 births)																
			1996	1997	1998	1999	2000	2001	2002	2003	2004	2005	2006	2007	2008	2009	2010	2011	2012
	Shuicheng County	520221	90.8	90	85.4	81.2	76.3	68.5	67.3	60.2	55.5	53.1	48	42.7	36.6	30.9	26	24.3	22.3
			79.9-102.3	79.6-101.0	75.7-95.7	72.4-90.9	68.7-84.6	62.0-75.1	61.4-73.3	55.1-65.3	51.0-60.1	48.5-57.8	43.2-52.9	37.8-47.7	32.0-41.3	26.9-35.3	22.4-29.6	20.9-27.6	19.3-25.5
	Sinan County	520624	95.9	82.3	77.5	74.9	64	52.4	48.2	40.1	36.3	32.6	29.2	30.1	29.6	29.2	28.7	27.2	25.9
			77.8-114.8	68.5-96.6	66.8-88.7	66.1-84.7	56.6-72.4	45.7-60.1	41.5-56.5	33.9-47.7	30.3-43.7	27.0-39.5	24.2-35.1	25.2-35.7	25.3-34.6	25.5-33.6	25.3-32.4	24.0-30.5	22.7-29.1
	Zizhixian	520628	104.7	96.4	85.5	76.1	65.4	61.6	51.3	47.6	43.2	38.2	34.9	30.4	25.5	22.8	20.7	19.1	17.8
			77.5-136.8	72.5-125.5	65.6-110.5	60.1-95.2	53.1-80.1	51.9-72.8	44.7-58.9	42.9-52.7	39.8-46.8	35.0-41.8	30.7-39.3	25.6-35.7	20.7-31.1	17.6-28.7	15.4-27.0	13.7-25.4	12.3-24.3
	Suiyang County	520323	60.6	60.4	59.1	56.2	50.7	54.5	55.2	54.7	55.2	48.5	43.4	38.2	33.8	27.4	25.8	23.6	22.8
			44.6-79.8	45.4-78.8	45.5-75.6	44.7-70.1	41.6-61.8	46.4-63.8	48.6-62.5	49.7-59.7	50.9-59.7	43.7-53.5	37.6-49.4	32.2-44.9	27.2-40.8	21.5-34.3	19.5-32.8	17.2-31.0	16.0-30.5
	Taijiang County	522630	78.1	72.7	63.4	49.2	45.4	46.8	41.8	37.9	38.6	35	31.1	30	28.6	27.5	27.7	25.3	24
			68.5-88.1	64.2-81.6	55.8-71.7	42.9-55.9	39.5-52.0	40.9-53.1	36.6-47.1	33.7-42.3	34.7-42.7	31.4-38.4	27.8-34.5	26.7-33.7	25.2-32.2	24.2-31.3	24.2-31.6	22.1-28.6	20.9-27.2
	Tianzhu County	522627	89.2	89	82.8	79.2	71.7	74.6	74.7	64.5	60.9	51.9	43.7	37.2	32.2	30.3	30.2	28.5	27.6
			76.6-102.5	76.8-101.5	71.7-94.2	69.4-89.4	63.2-80.1	66.5-82.8	67.2-82.2	58.6-70.5	55.6-66.1	47.5-56.5	40.0-47.8	33.5-41.0	28.8-35.5	27.0-33.5	26.8-33.3	25.3-31.3	24.5-30.5
	Tongren City	520602	81.8	75.9	70.1	68.7	61.3	66	59.9	53.8	46.3	40.8	35	31.3	29.3	28.2	26.1	25.8	24.7
			66.2-97.8	62.3-89.3	59.3-80.9	59.8-77.8	54.1-69.1	58.2-73.9	52.5-67.6	46.7-61.6	39.9-53.5	34.8-47.8	30.0-41.3	27.0-36.7	25.6-33.9	25.2-31.9	23.6-28.9	23.3-28.3	22.0-27.1
	Tongzi County	520322	53	53	50.5	43.4	37	32.7	30.1	27.6	28.7	28.4	25.9	28.8	27.9	26.6	25.7	24.5	23.5
			45.3-61.3	45.6-60.6	43.8-57.7	37.7-49.7	32.3-42.0	29.0-36.8	27.0-33.6	25.1-30.5	26.3-31.5	25.8-31.3	23.4-28.8	25.8-32.1	24.9-31.1	23.7-29.7	22.9-28.4	21.8-27.1	20.8-26.1
	Wangmo County	522326	139.2	133.3	127.9	110.2	96.6	77.2	56.8	56.8	53	56.3	57.2	62.9	55.2	47.3	39.9	31.9	26.8
			122.5-156.6	118.4-149.3	113.3-143.4	97.1-124.0	84.9-109.4	67.8-87.1	50.2-63.8	50.9-63.3	47.9-58.3	50.6-61.8	51.3-63.0	56.2-70.0	49.0-61.9	41.7-53.4	34.9-45.2	27.9-36.0	23.3-30.4
	Wanshan Tequ	520603	113.5	110.9	98.1	104.1	85.4	85.9	80.5	67	57.4	54	45.6	43.1	38.5	35.6	25.6	23.3	20.8
			98.3-129.3	96.0-126.2	84.6-112.0	90.4-119.4	73.4-98.5	73.9-98.7	69.7-91.8	58.3-75.9	50.2-64.5	47.2-60.3	39.5-51.7	37.1-49.3	33.2-44.3	30.5-41.2	21.8-29.7	20.0-27.1	17.8-24.1
	Miaozu Zizhixian	520526	185.2	167.2	155.2	134.2	115.2	75.3	66.6	56.9	49.4	43.9	40.6	36.3	32.9	32.2	29.2	27.8	26.1
			150.2-220.9	139.0-195.7	133.6-176.9	119.1-150.1	103.8-127.2	67.5-83.9	58.6-75.4	49.0-66.2	41.8-58.9	36.8-52.9	33.8-49.3	30.3-44.0	27.8-38.9	27.6-37.2	25.3-33.5	24.1-31.8	22.4-30.2
	Weng'an County	522725	60.6	58	56.3	51.8	50.5	51.6	48.3	45.2	48.8	46.6	44.6	42.6	40.3	36.4	32.1	29.8	27.7
			52.1-69.7	50.0-66.2	48.7-64.2	44.7-59.3	43.7-58.0	44.8-58.6	42.3-54.4	40.4-50.3	44.4-53.6	42.4-50.9	40.4-49.0	38.1-47.4	35.9-44.9	32.3-40.9	28.2-36.3	26.1-33.5	24.3-31.2
	Miaozu Zizhixian	520326	83.4	80.4	73.2	58.9	55.4	47.6	46.3	44.9	44.3	41.9	35.9	30.4	27.8	25.3	24.2	22.6	21.8
			71.5-96.1	69.8-92.0	64.1-83.1	51.8-66.5	49.4-61.7	42.9-52.3	42.1-50.6	41.1-48.9	40.9-48.1	38.6-45.6	32.7-39.4	27.4-33.7	24.8-31.0	22.5-28.2	21.3-26.9	19.9-25.0	19.3-24.2
	Wudang District	520112	48.6	46	45.1	40.5	40.3	36.7	35.3	29.5	26.4	23.4	20.1	17.2	16.7	16.3	15.4	15.4	15.3
			42.9-54.7	40.7-51.4	40.1-50.5	36.1-45.4	36.2-44.8	33.2-40.4	32.0-38.7	27.0-32.3	24.2-28.8	21.3-25.6	18.1-22.3	15.3-19.3	14.7-18.9	14.3-18.5	13.4-17.3	13.4-17.3	13.4-17.2
	Xiaohe District	520114	36.5	35.8	33.4	34.1	34.6	31	25.1	19.8	16.3	13.4	11.5	11.8	12.3	12.2	11.7	11.8	11.3
			26.6-48.6	26.5-47.6	25.4-43.2	26.7-43.2	28.0-42.8	25.8-37.4	21.3-29.5	17.1-22.6	14.5-18.3	11.9-15.3	9.9-13.4	9.8-14.2	9.8-15.2	9.3-15.6	8.6-15.5	8.3-15.9	7.8-15.5
	Xifeng County	520122	80.8	78.8	74.3	64.6	57.6	53.6	48.4	45.1	37.8	33.6	31.3	26.5	23.7	22.5	20.5	18.5	16.7
			65.4-96.6	65.3-92.6	63.4-84.8	56.9-72.8	51.4-64.0	47.7-59.6	42.6-54.6	39.1-51.8	32.4-43.8	28.8-39.9	26.8-37.4	22.8-31.4	20.6-27.5	20.0-25.5	18.4-22.8	16.5-20.3	14.8-18.6
	Xingren County	522322	99.4	99.1	96.4	83	70.2	63.9	48	42.4	39.2	35.2	31.1	31.3	31.4	29.3	28.3	24.3	21.2
			85.2-114.2	85.0-112.9	82.9-110.3	71.3-95.9	59.9-81.4	54.5-74.0	41.0-55.5	36.5-48.9	33.8-44.7	30.3-40.0	26.4-35.7	26.5-36.4	26.7-36.6	24.8-34.2	24.0-33.1	20.7-28.4	18.0-24.7
	Xingyi City	522301	96	95.4	87.1	79.8	72.5	71.8	68.2	63.6	68.8	61.6	53.6	48.2	43.6	36.9	34	30.6	27
			78.2-114.4	79.3-111.4	75.0-99.8	69.9-90.5	63.8-82.1	62.8-82.6	58.9-79.7	54.4-74.7	58.4-81.6	52.1-73.1	45.8-62.8	41.6-55.8	38.0-49.5	32.9-41.5	30.5-37.4	27.6-33.7	24.1-29.8
	Xishui County	520330	41.7	44.2	42.1	41.5	38.3	37.3	36.8	30.2	30.3	30.3	26.2	23.5	22	20.2	18.8	18.7	18.5
			35.9-48.0	38.3-50.4	36.6-47.9	36.0-47.5	33.3-43.9	32.6-42.4	32.4-41.5	26.8-33.5	27.4-33.4	27.3-33.3	23.5-29.0	20.9-26.3	19.4-24.8	17.8-23.1	16.4-21.5	16.3-21.3	16.1-21.1
	Xiuwen County	520123	66.1	64.3	60.2	64.6	61.7	58.1	52	43.5	39	33.9	30.6	26.6	25.4	24.4	22	20.4	19.2
			49.2-86.1	49.0-83.1	47.6-76.3	52.2-79.3	51.1-74.0	49.9-67.9	45.7-59.1	39.2-48.4	35.6-43.0	30.7-37.9	26.7-35.1	22.3-31.8	20.3-31.2	18.7-30.7	16.3-28.5	14.5-27.5	13.2-26.4
	Xixiu District	520402	75.1	70.8	70.9	61.1	59	59.2	47.5	39.1	35.8	29.9	28.6	25.8	24.1	22.2	20.6	18.7	17.1
			57.7-94.7	55.6-88.0	57.6-86.3	51.0-72.6	50.6-68.5	51.9-67.5	42.2-52.9	35.3-43.2	32.6-39.4	26.7-33.4	25.1-32.5	22.1-29.9	20.0-28.8	17.7-27.2	16.2-26.0	14.0-23.8	12.4-22.2
	Yanhe Tujiazu Zizhixian	520627	104.4	96.3	81.1	70.9	64.4	60.1	60.1	54.6	51.3	44.8	40.9	36	33.2	31.2	29.8	28.4	26.3
			84.9-124.6	79.3-113.0	68.6-93.4	61.5-80.2	56.9-72.0	53.5-67.2	52.9-67.8	47.6-62.4	44.1-59.4	38.4-52.6	35.1-48.5	31.1-42.4	29.0-38.4	27.8-35.3	27.0-33.1	25.6-31.2	23.3-29.1
	Zizhixian	520625	78.6	67.6	55.2	42.7	31.8	29.5	25.9	23.1	23.2	18.6	16.7	15.7	15.7	16.2	17.9	17.6	17.5
			63.2-94.5	55.7-79.7	47.4-63.5	37.6-47.7	28.6-35.3	26.4-32.8	22.8-29.4	19.9-26.7	19.7-27.4	15.7-22.4	14.1-20.2	13.4-18.9	13.5-18.4	14.3-18.4	16.0-20.0	15.7-19.4	15.5-19.4
	Yunyan District	520103	29.8	27	24.2	20.8	18	16.2	12.8	11.9	10.5	8.8	8.7	8.8	8.8	9.1	9.5	9.9	10
			24.4-35.4	22.3-31.9	20.0-28.6	17.4-24.5	15.2-21.1	13.8-18.9	11.0-14.7	10.5-13.5	9.3-11.7	7.9-9.8	7.7-9.7	7.8-9.9	7.7-10.0	8.0-10.4	8.3-10.8	8.6-11.2	8.7-11.3
	Zizhixian	520622	128.1	111.7	101.1	98.7	83.9	80	74	69.2	59.9	53.6	45.2	37.4	31.7	26.7	22	20.3	19.2
			114.2-142.9	99.5-124.7	89.9-113.3	88.0-110.3	75.4-93.2	72.4-87.7	67.6-80.5	63.4-75.2	55.0-64.9	49.0-58.3	40.7-49.7	33.4-41.7	27.8-35.6	23.4-30.3	19.1-24.9	17.6-22.9	16.7-21.7
	Yuqing County	520329	55.4	53.8	50.3	48	41.2	46.7	46.3	46.5	47.9	50.1	43.5	40.3	36.5	33	29.5	27.3	25.4
			46.2-65.3	45.4-62.5	42.9-58.3	41.3-55.3	35.7-47.0	41.3-52.5	42.0-51.4	42.7-51.1	44.1-52.4	45.9-55.0	39.3-48.3	36.1-44.9	32.6-40.9	29.4-36.9	26.2-32.8	24.0-30.3	22.4-28.2
	Zhenfeng County	522325	86.9	88.6	89.4	78.8	69.2	58.5	52.1	48.6	47.6	51.4	61.4	62.9	58.8	52.7	48.2	38.5	31.7
			74.4-100.1	76.1-101.3	76.9-102.7	67.8-90.6	60.3-79.6	51.3-67.0	45.7-59.3	42.8-54.8	42.3-53.2	45.9-57.4	54.7-68.9	55.7-71.4	51.8-66.5	46.4-59.5	42.0-54.3	33.6-43.3	27.6-35.9
	Zheng'an County	520324	73.6	73	71.2	66.2	65.6	64.3	57.4	52.2	51	42.9	38	34.1	29.9	27	25	23.2	21.8
			64.5-83.1	64.4-82.2	62.6-80.2	58.5-74.6	58.1-73.3	57.3-71.6	51.4-63.7	47.0-57.6	46.0-55.9	38.8-47.1	34.5-41.9	30.7-37.7	26.7-33.0	24.1-29.9	22.3-27.6	20.8-25.6	19.4-24.0
	Miaozu Zizhixian	520423	147.6	140.6	137	132.7	131.7	127.1	114.3	102.7	92.5	75.2	62.3	53.1	43.1	34.2	29	23.9	20.3
			131.9-164.8	124.8-158.4	121.0-154.2	117.1-149.6	116.6-147.8	112.6-142.0	101.6-127.1	92.0-113.3	83.7-101.4	68.2-82.1	56.8-68.2	47.9-58.5	38.6-47.5	30.4-37.9	25.6-32.1	21.0-26.4	18.0-22.6
	Zhenyuan County	522625	75.7	66.7	62.2	56.6	53.9	52	48.3	48.2	47.6	40	33.1	30.7	24.7	23.3	22.1	19.9	18.8
			64.9-87.5	57.8-76.3	54.3-70.5	49.7-63.8	48.1-60.2	46.9-57.3	43.9-53.1	44.2-52.6	43.9-51.5	36.7-43.6	29.9-36.5	27.5-34.3	21.7-27.9	20.4-26.5	19.1-24.9	17.2-22.4	16.4-21.3
	Zhijin County	520524	57.6	54.5	49.7	43	40.1	36.6	33.3	34.6	35	33.8	29.6	25.8	22.5	20.4	19.1	19.3	19.4
			51.3-64.3	48.5-61.0	44.2-55.7	38.3-48.1	35.8-44.6	33.0-40.5	30.2-36.5	31.6-37.8	32.1-38.0	30.9-37.0	26.9-32.5	23.2-28.6	20.1-25.1	18.1-22.6	16.9-21.1	17.0-21.3	17.2-21.5
	Zhongshan District	520201	72	70.2	60.1	50.1	38.4	33.1	29.9	27.5	28.2	31.6	31.4	29.1	29.4	27	22.2	20.9	19.6
			59.5-85.0	58.0-82.8	49.3-71.4	41.2-60.0	31.4-46.4	27.1-39.8	24.7-35.6	23.0-32.4	23.9-32.9	26.8-36.5	26.7-36.5	24.6-33.9	25.0-34.4	22.8-31.6	18.8-26.1	17.8-24.5	16.6-22.9
	Zizhixian	520425	144	142.9	139.2	134.3	134.3	118.7	107.9	93	76.7	61.3	50.7	42	34.5	29.1	26.8	22	19.8

Province	County	County Code (2012)	Under-5 Mortality Rate (per 1000 births)																
			1996	1997	1998	1999	2000	2001	2002	2003	2004	2005	2006	2007	2008	2009	2010	2011	2012
			127.8-160.8	127.2-160.7	123.7-156.9	119.6-149.9	120.2-149.7	106.6-130.8	97.8-118.2	84.7-101.3	70.3-83.7	55.7-66.9	45.7-55.8	37.5-47.0	30.3-38.8	25.3-33.0	23.2-30.3	19.1-25.0	17.2-22.5
	Zunyi County	520321	57.8	60.9	56.7	59.4	57.4	56.1	52.7	53.6	53.8	51.3	47.2	42.9	36.6	33.2	30.3	28.7	27.1
			51.0-64.9	54.2-68.4	50.1-63.9	52.5-67.4	50.7-65.0	49.4-63.1	46.4-59.0	47.2-60.2	47.6-60.4	45.6-57.7	42.4-52.4	38.6-47.9	32.6-41.3	29.4-37.4	27.0-34.0	25.7-31.8	24.3-29.7
Hainan	Baisha Lizu Zizhixian	469025	66.9	62	62.9	64.4	67.3	63.4	58.3	56	51.4	45.9	46.3	42.8	40.7	39.6	38	35.5	32.9
			57.8-77.4	53.8-71.4	54.9-71.5	56.1-73.3	58.8-76.0	56.3-70.9	52.3-64.5	51.1-60.9	47.6-55.6	42.7-49.2	42.9-49.8	39.3-46.4	37.0-44.5	35.7-43.6	33.8-42.3	31.4-39.8	28.8-37.0
	Zizhixian	469029	59.7	53.9	54.1	52.9	53.1	48.2	47.1	42.5	39.5	35.7	34.3	29.5	30.9	29.2	31.5	31.2	30.8
			51.7-69.3	46.2-62.7	46.6-62.3	45.6-60.6	45.9-60.5	42.2-54.5	41.7-52.9	38.1-47.2	36.0-43.5	32.5-39.0	31.0-37.5	26.6-32.5	27.6-34.3	26.0-32.7	27.7-35.5	27.4-35.5	26.8-35.1
	Zizhixian	469026	75.5	65	64.8	58.9	54.9	47.5	45.8	47.6	51.6	51.7	50.3	46.2	40	35.5	32.4	30.4	28.8
			65.0-87.8	56.0-75.1	56.3-74.1	51.2-67.3	48.1-62.3	42.0-53.4	41.0-50.7	43.6-52.0	48.1-55.4	48.2-55.2	46.9-53.9	42.7-49.9	36.7-43.4	32.2-38.8	29.1-35.7	26.9-33.8	25.4-32.2
	Chengmai County	469023	55.7	53.1	52.6	51.6	52.4	49.5	46.4	41.7	38.7	35.1	33.3	31.1	29.8	27	24.7	22.7	20.8
			43.5-69.2	42.3-64.7	42.5-63.4	42.7-61.2	44.7-61.0	43.2-56.3	41.5-51.5	38.2-45.3	35.5-42.1	32.0-38.5	29.8-36.9	27.4-35.2	25.7-34.4	22.8-31.7	20.4-29.4	18.4-27.4	16.7-25.3
	Danzhou City	469003	67	63.5	66.4	59.3	55.6	43.3	33.6	31.5	30.3	29.3	27.4	25.3	23.4	23.1	22.3	21	19.8
			58.0-77.3	55.0-72.9	57.9-75.7	51.5-67.2	48.5-62.9	38.3-48.7	29.8-37.7	28.2-35.1	27.3-33.6	26.3-32.4	24.5-30.5	22.3-28.3	20.6-26.5	20.3-26.3	19.4-25.6	18.2-24.3	17.0-22.8
	Ding'an County	469021	63.8	62.8	64.7	66.8	65.1	57.7	54.2	49	43.5	36.8	34.1	28.8	27.1	25.5	23.4	22.5	20.5
			55.7-73.4	54.9-72.4	56.8-73.8	58.9-76.0	57.3-73.6	51.2-64.5	49.0-59.8	45.2-53.2	40.5-46.8	34.1-39.6	31.3-37.2	26.0-32.0	24.1-30.4	22.4-28.7	20.6-26.4	19.6-25.4	17.9-23.2
	Dongfang City	469007	37.9	34.5	32.7	29.3	27.8	25.8	24.7	26.4	27	28.2	27.3	26.3	24.2	22	21.3	19.9	19
			33.0-43.5	30.1-39.5	28.7-37.1	25.8-33.2	24.6-31.5	23.0-28.9	22.3-27.3	24.2-28.7	25.1-29.0	26.3-30.2	25.4-29.3	24.3-28.4	22.2-26.2	20.1-24.0	19.2-23.3	17.7-21.9	16.8-21.2
	Ledong Lizu Zizhixian	469027	54.2	49.8	49.3	50.6	52	47.3	42.9	39.4	33.8	27.6	25.3	23	22.7	22.4	21.8	20.8	20
			43.6-65.6	40.8-58.9	41.1-58.2	43.0-58.8	45.2-59.3	41.7-53.1	38.6-47.4	36.0-43.1	31.0-36.8	25.1-30.7	22.5-28.5	19.9-26.7	19.2-27.0	18.5-27.1	17.6-26.5	16.6-25.3	15.7-24.5
	Lingao County	469024	53.3	48.5	48.9	50.4	50.8	48	46.5	41.7	39.3	33.5	30.3	27	25.3	23.2	22.9	21.8	20.4
			46.8-60.8	42.7-55.4	42.9-55.8	44.3-57.8	44.5-58.1	42.2-54.2	41.6-51.8	37.6-45.9	35.8-42.8	30.6-36.4	27.4-33.1	24.3-29.8	22.8-28.2	20.8-25.8	20.5-25.3	19.4-24.0	18.1-22.5
	Lingshui Lizu Zizhixian	469028	57.5	53.3	52.9	49.9	48.9	49.4	50.9	46.2	41.3	36.7	32.5	29.3	28.2	27.8	26.1	25.2	23.4
			45.8-70.4	43.6-63.7	43.7-62.7	42.0-58.2	42.4-56.0	43.7-55.7	45.8-56.3	42.3-50.3	38.3-44.5	33.8-39.8	29.3-36.1	25.7-33.2	24.1-32.8	22.9-33.3	20.9-31.9	19.9-31.0	18.1-29.2
	Longhua District	460106	21.5	19	18.9	17.7	15.8	15.8	16.6	16.1	15.7	15.8	14.8	14	13	12.3	11.4	10.9	10.4
			18.5-25.1	16.4-21.9	16.4-21.7	15.4-20.2	13.9-18.0	13.9-17.8	14.9-18.4	14.7-17.6	14.6-16.9	14.7-16.9	13.7-15.9	12.9-15.2	11.9-14.2	11.1-13.5	10.2-12.6	9.7-12.2	9.1-11.7
	Meilan District	460108	21.5	19	18.9	17.7	15.8	15.8	16.6	16.1	15.7	15.8	14.8	14	13	12.3	11.4	10.9	10.4
			18.5-25.1	16.4-21.9	16.4-21.7	15.4-20.2	13.9-18.0	13.9-17.8	14.9-18.4	14.7-17.6	14.6-16.9	14.7-16.9	13.7-15.9	12.9-15.2	11.9-14.2	11.1-13.5	10.2-12.6	9.7-12.2	9.1-11.7
	Qionghai City	469002	39.5	36.3	36.5	37.1	37.5	37.4	35.2	34.3	33	31.5	29.3	27.7	27	24.5	21.5	19.7	17.8
			34.6-45.2	32.0-41.6	32.1-41.7	32.5-42.4	33.0-42.6	33.1-42.1	31.6-39.0	31.2-37.6	30.3-35.6	29.0-34.1	26.7-32.0	25.0-30.6	24.3-30.1	21.9-27.2	19.2-23.7	17.6-21.7	15.8-19.6
	Qiongshan District	460107	21.5	19	18.9	17.7	15.8	15.8	16.6	16.1	15.7	15.8	14.8	14	13	12.3	11.4	10.9	10.4
			18.5-25.1	16.4-21.9	16.4-21.7	15.4-20.2	13.9-18.0	13.9-17.8	14.9-18.4	14.7-17.6	14.6-16.9	14.7-16.9	13.7-15.9	12.9-15.2	11.9-14.2	11.1-13.5	10.2-12.6	9.7-12.2	9.1-11.7
	Zizhixian	469030	80	73.4	76.6	76.1	78.3	73.7	69.8	59	53.3	48.2	49.3	47.2	46.8	45.8	41.6	38.8	36.6
			68.7-93.3	62.8-85.0	66.4-87.8	66.1-87.2	68.5-89.0	65.3-82.6	62.7-77.3	53.9-64.6	49.6-57.2	45.1-51.5	46.1-52.8	43.7-50.8	43.0-50.6	41.7-49.8	37.5-45.6	34.5-43.0	32.3-40.7
	Tunchang County	469022	53.4	47.6	47.4	42.5	46.1	47.4	48.1	45.6	41.7	35.6	30.3	27.1	27	25.8	24.2	22.8	21.2
			46.2-61.9	41.2-54.8	41.3-54.2	36.9-48.5	40.2-52.1	41.9-53.1	43.1-53.4	41.5-49.7	38.5-45.2	32.9-38.4	27.9-32.8	24.7-29.6	24.3-29.8	23.0-28.7	21.4-27.1	20.0-25.8	18.5-24.1
	Wanning City	469006	63.2	58.8	59.1	61.8	63.2	60	62.5	54.9	47.6	40.7	35.3	30.8	27.6	24.7	21.9	20.2	18.7
			55.0-72.8	51.2-67.5	51.7-67.9	54.1-71.2	55.4-72.0	52.7-68.5	55.5-70.3	49.3-61.3	43.3-52.1	37.4-44.0	32.5-38.3	28.1-33.8	24.9-30.6	22.2-27.3	19.6-24.2	17.9-22.3	16.5-20.7
	Wenchang City	469005	34.2	31.3	31	30.9	29	26.5	24.9	22.7	20.7	19.6	18.6	17.9	17	15.5	15.1	14.3	13.2
			29.9-39.2	27.5-35.7	27.4-35.1	27.3-35.1	25.8-32.7	23.8-29.5	22.6-27.4	20.8-24.8	19.2-22.3	18.3-21.0	17.3-20.0	16.5-19.3	15.6-18.4	14.1-16.9	13.5-16.5	12.7-15.8	11.7-14.7
	Wuzhishan City	469001	48.8	45.8	44.4	47.3	47.6	49.5	46.5	43.4	40.9	37.5	33.8	33.2	31.4	30.4	30.8	30.3	29.3
			38.5-60.1	37.1-55.4	36.3-53.9	39.2-56.3	40.1-55.5	42.9-56.3	41.2-51.7	39.5-47.6	37.8-44.2	33.9-41.1	29.8-38.1	28.4-38.6	26.3-37.2	24.9-36.6	24.7-37.8	24.0-37.4	22.8-36.5
	Xiuying District	460105	21.5	19	18.9	17.7	15.8	15.8	16.6	16.1	15.7	15.8	14.8	14	13	12.3	11.4	10.9	10.4
			18.5-25.1	16.4-21.9	16.4-21.7	15.4-20.2	13.9-18.0	13.9-17.8	14.9-18.4	14.7-17.6	14.6-16.9	14.7-16.9	13.7-15.9	12.9-15.2	11.9-14.2	11.1-13.5	10.2-12.6	9.7-12.2	9.1-11.7
	sanya shi	460201	40.1	35.6	34.9	34.5	33.9	38.1	35.2	34.6	31.1	27.8	26.2	25.3	23.4	21.1	20.7	19.6	18.1
			31.0-50.4	28.0-44.3	27.7-43.0	27.9-42.1	27.8-40.6	32.4-44.1	30.9-39.5	31.3-38.0	28.9-33.6	25.5-30.3	23.4-29.3	21.9-28.9	19.8-27.5	17.5-25.4	16.7-25.2	15.6-24.0	14.1-22.4
Hebei	Anci District	131002	30.6	28.3	29	29.1	28.8	29.5	27.3	25.5	23.9	24.1	21.6	19.3	19.3	17	16.9	16.3	15
			25.3-36.1	23.7-33.4	24.5-33.8	24.8-33.8	24.8-33.0	25.7-33.6	24.3-30.4	23.2-27.9	22.1-25.8	22.4-25.9	20.0-23.3	17.7-21.0	17.5-21.3	15.3-18.9	15.1-18.9	14.4-18.3	13.2-16.9
	Anguo City	130683	39.9	38.9	36.2	35.6	32.4	30.1	28.3	25.4	22.2	20.4	18.1	17.1	16.8	16.3	15.4	14.4	13.2
			34.5-46.3	33.5-45.4	30.6-42.7	29.7-42.3	27.0-38.2	25.2-35.4	24.2-33.2	22.0-29.1	19.5-25.1	17.9-22.9	15.9-20.4	14.8-19.5	14.4-19.4	14.1-18.7	13.6-17.4	12.9-16.1	11.8-14.7
	Anping County	131125	43.7	42.8	43.5	43.7	43	36.8	35.8	30.9	27.4	23.7	23.2	22.1	21.7	21.6	21.6	21.3	20.3
			37.8-50.4	36.9-49.7	37.4-50.5	37.4-50.9	37.1-50.0	31.9-42.6	31.5-40.7	27.7-34.3	25.2-29.8	21.7-25.6	21.0-25.6	19.6-24.9	19.0-24.8	18.9-24.7	19.1-24.4	18.8-23.7	17.9-22.6
	Anxin County	130632	20.2	18.9	16.9	14.7	12.8	12.8	13.4	12.9	13.3	12	11.3	10.8	10.8	10.6	10.9	10.1	9.5
			16.5-24.3	15.6-22.5	14.1-20.2	12.3-17.3	10.7-14.9	10.9-14.7	11.8-15.2	11.5-14.5	12.0-14.7	10.9-13.1	10.2-12.4	9.7-12.0	9.6-12.1	9.3-12.1	9.5-12.5	8.7-11.6	8.1-10.9
	Baixiang County	130524	40.3	40.9	39.1	40.8	43.5	44	44.5	42.3	39.8	38.7	35.1	33.5	31.5	29.2	27.4	26.1	24.7
			34.7-46.5	35.2-47.6	33.4-45.7	34.6-48.1	36.6-51.2	37.2-51.4	38.0-51.9	36.6-48.5	34.8-45.0	33.7-43.9	30.5-40.0	28.6-38.7	26.9-36.9	25.0-34.0	23.9-31.4	23.1-29.4	22.1-27.7
	Bazhou City	131081	28.1	26.5	26.9	26.7	26.3	28	25.3	23.1	20.9	18	14.8	14.5	14.6	14.1	14.7	14.3	13.5
			19.0-39.1	18.7-36.0	19.3-36.1	19.9-34.8	20.3-33.4	22.8-34.4	21.5-29.5	20.3-25.8	19.0-22.8	16.3-19.9	13.0-16.8	12.3-16.8	11.9-17.7	11.1-17.5	11.2-18.9	10.5-18.8	9.5-18.0
	Beidaihe District	130304	28.2	31.7	35	30.5	28.4	26.1	24.5	12.9	17.9	16.2	14.2	14.3	13.3	10.8	11.3	11.3	10.7
			22.4-34.3	25.4-38.7	28.6-42.6	24.9-37.2	23.4-34.4	21.6-31.3	20.4-29.2	10.8-15.4	15.0-21.2	13.6-19.2	11.7-16.8	11.9-17.0	11.0-16.0	9.0-13.0	9.2-13.5	9.3-13.5	8.8-12.8
	Beishi District	130603	17.4	17.8	16.5	15.9	15.1	13.7	12.6	10.8	10.4	9.3	8.6	8.6	8.6	8.5	8	7.8	7.3
			11.3-25.3	11.9-25.6	11.2-23.6	11.0-22.3	10.8-20.5	10.1-17.9	9.8-15.9	8.8-13.0	8.9-12.1	8.1-10.7	7.3-10.1	7.1-10.4	6.8-10.8	6.5-10.8	5.9-10.4	5.5-10.5	5.1-10.0
	Botou City	130981	32.4	29.1	25.5	22.7	19.7	16.1	15.6	15.2	13.7	12.3	13	14.3	14.5	15	15.1	14.3	13.2
			27.1-38.0	24.7-34.1	21.7-29.7	19.5-26.3	16.9-22.7	14.0-18.4	13.7-17.5	13.6-17.0	12.4-15.2	11.2-13.6	11.7-14.3	12.8-16.0	12.9-16.3	13.2-17.1	13.2-17.3	12.4-16.3	11.3-15.1
	Boye County	130637	27	26.4	24.6	24.8	24.4	23.6	23	22.7	21.1	18.6	18	15.8	15	13.1	12.8	12.1	11.4
			21.9-32.5	21.8-31.8	20.4-29.5	20.7-29.4	20.6-28.6	20.1-27.2	20.1-26.1	20.2-25.5	19.0-23.4	16.8-20.6	16.1-19.9	14.1-17.7	13.1-16.9	11.3-14.9	11.0-14.9	10.4-14.1	9.6-13.2

Province	County	County Code (2012)	Under-5 Mortality Rate (per 1000 births)																
			1996	1997	1998	1999	2000	2001	2002	2003	2004	2005	2006	2007	2008	2009	2010	2011	2012
	Cang County	130921	23.8	22.3	21	18.6	20.7	20.6	18.5	15.8	14.8	13.1	12.2	11.8	11.7	11.8	11.4	10.8	10.3
			17.2-31.8	16.4-29.5	16.0-27.1	14.5-23.4	16.6-25.2	17.2-24.3	16.1-21.0	14.4-17.4	13.5-16.1	11.6-14.7	10.3-14.2	9.5-14.4	9.0-14.7	8.8-15.2	8.2-15.1	7.4-14.7	6.8-14.3
	Caofeidian District	130209	19.6	19.1	19.2	21.2	20.7	17.9	19.5	16.4	16.4	16.5	15.2	11.8	13.8	12	10.9	10.7	10.4
			15.4-24.3	15.2-23.9	15.4-24.1	17.0-26.4	16.6-25.5	14.6-21.9	16.1-23.5	13.8-19.6	13.7-19.3	13.8-19.3	12.7-17.9	9.9-13.9	11.6-16.3	10.1-14.2	9.1-12.9	9.0-12.7	8.7-12.3
	Changan District	130102	20	19.2	18	18.6	17.1	18.1	19.4	18.5	16	17	15.4	16.1	15.7	14.9	13.6	12.8	12.1
			13.1-28.8	13.1-27.0	12.5-25.1	13.2-25.4	12.7-22.7	14.0-23.2	15.8-23.5	15.8-21.5	14.3-17.7	15.6-18.4	14.0-16.9	14.1-18.3	12.9-18.6	11.8-18.5	10.2-17.4	9.1-17.0	8.3-16.2
	Changli County	130322	23.1	26.5	29.3	29.5	25.7	23.9	20.7	14.1	12.9	13.1	11.3	11.3	10.7	9.9	9.4	8.9	8.6
			18.1-28.9	20.8-33.2	23.1-36.8	23.4-36.7	20.4-31.9	19.1-29.6	16.7-25.4	11.4-17.4	10.4-15.7	10.6-15.9	9.2-13.7	9.2-13.8	8.7-13.1	8.0-12.1	7.7-11.5	7.2-10.8	7.0-10.4
	Cheng'an County	130424	32.2	31.7	30.6	29.6	29.9	30	28.4	27.8	28.2	27.4	26.1	23.1	20.4	17.6	15	14.1	13.7
			26.7-38.2	26.7-37.4	25.9-36.0	25.2-34.5	25.5-34.6	25.9-34.3	25.0-32.1	24.8-31.1	25.4-31.2	24.7-30.2	23.5-28.8	20.6-25.7	17.9-23.0	15.3-20.1	13.0-17.4	12.1-16.3	11.6-15.9
	Chengde County	130821	48	46	42.5	38.9	36	33.5	31.8	28.4	25.8	23.6	22	20.4	19.5	19.3	18.4	17	15.5
			36.8-60.3	36.0-57.1	34.3-52.1	31.7-48.1	29.5-44.2	27.2-40.6	25.7-39.2	22.5-35.2	20.4-31.9	18.8-29.3	17.7-27.2	16.5-25.2	16.1-23.9	16.4-23.1	16.0-21.4	15.0-19.3	13.8-17.4
	Chicheng County	130732	52.7	52	49.6	47.9	44.5	39.4	35.8	29.8	25.6	22.1	19.9	17.6	14.6	12.4	11.4	10.1	8.9
			40.0-67.3	40.9-64.9	40.2-60.3	39.6-57.3	37.3-52.2	33.2-46.4	29.7-42.8	24.6-35.9	20.7-31.4	17.8-27.9	16.2-24.9	14.5-21.8	12.2-17.7	10.8-14.6	10.2-13.0	9.0-11.3	7.8-10.0
	Chongli County	130733	34.6	34.9	36.3	35.7	34.2	33.3	33.5	28.1	28.4	29.1	25.7	25.9	23.6	18.8	15.2	13.1	11.9
			27.8-42.1	28.2-42.6	29.8-43.7	29.4-43.1	28.5-40.8	28.1-39.3	28.8-39.0	24.4-32.3	25.0-32.2	25.8-32.8	22.5-28.9	22.7-29.4	20.4-27.0	16.1-21.7	12.9-17.7	11.2-15.4	10.0-13.9
	Ci County	130427	30.1	30.4	28.8	29.7	30.3	33.1	33.6	35	36.3	37.3	33.7	32.4	32.1	28.6	25.8	24.6	23.2
			24.9-35.8	25.1-36.1	24.0-34.3	24.8-35.2	25.8-35.5	28.6-38.1	29.7-38.0	31.8-38.6	33.5-39.5	34.0-40.9	30.1-37.5	28.5-36.7	27.9-36.9	24.8-32.7	22.6-29.1	21.6-27.4	20.4-26.1
	Congtai District	130403	28	24.7	25	23	22.5	21.6	20.3	19.5	20.1	19.8	17.6	16.9	16.2	15.5	14.7	15.3	15.2
			19.7-37.9	17.8-32.5	18.7-32.3	17.9-29.0	18.3-27.5	18.2-25.5	17.6-23.2	17.4-21.9	18.3-22.2	17.7-22.2	15.1-20.5	13.8-20.4	12.6-20.2	11.6-20.0	10.4-19.3	10.3-20.8	10.1-21.2
	Zizhixian	131028	30.3	28.3	29.8	29.5	27.8	26.3	22.4	21.1	22.6	18.5	16.7	16.1	15.3	12.7	13.4	13.3	12.8
			20.7-41.9	19.9-38.9	21.4-40.3	21.9-39.0	21.4-36.1	21.1-32.5	18.8-26.5	18.6-23.7	20.6-24.8	16.5-20.7	14.1-19.5	12.9-19.6	11.8-19.5	9.3-16.6	9.4-17.9	9.0-18.4	8.4-17.9
	Dacheng County	131025	28.2	27.1	29.3	26.3	26	24.4	24.4	18.4	18.2	17.3	17.1	15.8	16.9	16	15.7	14.2	13.2
			20.9-36.3	20.8-34.2	23.0-36.2	21.0-32.0	21.3-31.4	20.3-28.9	20.9-28.8	15.8-21.2	15.8-20.8	14.8-20.2	14.4-20.3	12.8-19.4	13.3-21.3	12.3-20.4	11.6-20.4	10.2-18.6	9.2-17.5
	Daming County	130425	30.2	30.2	28.5	28.3	24.9	25.3	27.1	27.3	27.6	27.9	27.3	24.8	20.5	18.7	14.4	13.9	13.6
			25.0-35.8	25.3-35.7	24.1-33.4	24.3-33.0	21.5-28.7	21.9-28.9	24.0-30.5	24.7-30.3	25.2-30.1	25.5-30.4	24.9-30.0	22.3-27.5	18.1-23.1	16.2-21.3	12.5-16.7	11.9-16.1	11.5-15.8
	Dingxing County	130626	27.9	27.7	25.1	24.1	23.5	23.8	20.3	18	16	13.7	11.9	11.8	11.3	11.1	10.2	9.4	8.6
			18.6-39.3	19.3-38.8	17.5-34.5	17.6-32.6	17.7-31.1	18.8-29.9	16.8-24.2	15.7-20.4	14.6-17.7	12.2-15.4	10.1-13.9	9.4-14.4	8.7-14.4	8.2-14.7	7.1-13.7	6.3-13.1	5.6-12.2
	Dingzhou City	130682	29.5	28	24.7	22.5	22.4	21.7	24.5	24.8	24.1	21.3	18.2	16	15.6	14.9	14.5	13.8	13.2
			25.4-34.1	24.2-32.3	21.3-28.4	19.4-25.7	19.4-25.4	19.0-24.5	21.9-27.2	22.5-27.2	22.2-26.1	19.7-23.0	16.7-19.7	14.6-17.6	14.1-17.4	13.2-16.8	12.8-16.5	12.0-15.6	11.4-15.0
	Dongguang County	130923	41.3	37.9	34.6	31.8	26.8	24	22.2	18.4	17.2	16.6	15.3	14.6	14.4	13.7	13.9	13.4	12.5
			34.2-48.9	31.6-44.5	29.2-40.5	27.1-37.1	22.9-30.8	20.9-27.4	19.7-24.8	16.6-20.2	15.8-18.6	15.4-17.9	14.1-16.5	13.4-16.0	13.1-15.9	12.4-15.2	12.4-15.5	11.9-15.0	11.1-14.0
	Dongkuang District	130204	22.5	23.3	22.8	22.4	19.9	18.3	17	16.4	14.5	14.5	13.1	11.8	11	10	10.2	10	9.6
			18.3-27.3	19.1-28.1	18.9-27.2	18.6-26.8	16.7-23.6	15.5-21.5	14.5-19.9	14.1-19.1	12.5-16.9	12.4-16.8	11.0-15.3	9.9-13.8	9.2-13.1	8.3-11.9	8.4-12.2	8.2-12.0	7.9-11.5
	Feixiang County	130428	35.4	36.1	35.6	40.8	40.1	38.2	37.3	35.5	31.5	33.9	34.8	30.7	27.6	24.4	20.7	19.2	17.6
			28.8-42.6	29.9-43.0	29.8-42.1	34.6-47.7	34.4-46.4	33.1-43.6	32.9-41.7	32.3-38.9	29.1-34.1	31.5-36.4	32.3-37.5	28.2-33.3	25.0-30.4	21.8-27.2	18.3-23.3	16.9-21.7	15.3-19.9
	Fengfengkuang District	130406	32	32.3	33.1	33.8	31.7	32.1	34.6	30.1	27.8	26.6	24.7	23.9	21.6	19.2	18	17.6	17.1
			26.3-38.4	26.8-38.3	27.7-38.8	28.8-39.4	27.3-36.6	27.8-36.5	30.8-38.6	27.5-33.0	25.7-30.1	24.6-28.5	22.9-26.7	21.9-26.0	19.5-23.9	17.2-21.4	15.9-20.2	15.5-19.9	14.9-19.3
	Fengnan District	130207	37.3	39.5	40.2	42.8	40.5	38.4	29.9	23.7	22.7	20.2	15.3	13.2	12.5	11.6	11.9	11.4	10.9
			30.7-44.5	32.8-46.9	33.7-47.6	36.2-50.5	34.6-47.3	32.9-44.3	26.1-33.9	20.9-26.4	20.2-25.3	17.9-22.8	13.3-17.8	11.2-15.7	10.5-15.1	9.6-14.1	9.8-14.3	9.4-13.5	9.0-12.9
	Zizhixian	130826	41.2	38.3	35.3	33.7	31.9	28.1	26.5	27.1	26.4	25.2	24.5	21.3	19.3	17.5	15	13.4	12
			31.5-52.5	30.4-47.4	29.4-42.0	29.2-38.4	27.5-36.4	23.9-32.9	21.9-32.0	22.0-33.6	21.0-33.2	20.1-31.8	19.8-30.8	17.6-25.8	16.4-22.7	15.3-20.1	13.4-16.9	11.9-15.0	10.5-13.6
	Fengrun District	130208	30.6	32.7	31.8	32.8	30.9	30	27.8	22.9	21.2	16.2	13.5	12.2	11.4	10.8	11.5	11.1	10.5
			26.3-35.4	28.2-38.0	27.5-36.8	28.2-38.1	26.8-35.8	26.2-34.4	24.4-31.2	20.4-25.4	19.0-23.6	14.4-18.4	11.8-15.7	10.4-14.5	9.5-13.8	8.9-13.1	9.4-13.8	9.1-13.1	8.7-12.5
	Fucheng County	131128	50.4	50.1	46	43.1	36.2	31.7	27.3	25.6	23.3	22.5	22.1	20.8	21.2	21.6	21.7	21.1	20.1
			43.5-58.1	43.5-57.5	40.1-52.5	37.5-49.3	31.5-41.1	28.0-35.6	24.4-30.3	23.3-28.1	21.4-25.3	20.8-24.4	20.4-24.1	19.0-22.8	19.1-23.5	19.3-24.2	19.2-24.3	18.5-23.7	17.6-22.6
	Funing County	130323	22.1	25.4	28.4	30.5	27.9	28.4	25.9	19.2	19.8	20.1	16.8	18	16.3	13.5	11.9	10.8	9.9
			18.0-26.5	21.0-30.4	23.7-33.7	25.7-35.9	23.7-32.8	24.3-32.9	22.5-29.7	16.8-21.9	17.4-22.5	17.8-22.7	14.6-19.0	15.6-20.6	14.0-18.8	11.5-15.7	10.1-14.0	9.2-12.7	8.3-11.6
	Fuping County	130624	36.5	32.5	31.5	37.4	37.6	34.5	32.6	27.8	25.5	22.7	20.8	19.7	17	14.7	13.9	12.6	11.8
			25.1-50.1	23.1-43.6	23.0-41.1	28.5-47.7	30.2-46.3	28.8-40.8	28.4-37.2	25.1-30.9	23.4-27.9	20.3-25.6	17.6-24.5	15.8-24.2	12.9-21.7	10.6-19.6	9.4-19.0	8.2-17.9	7.5-17.0
	Fuxing District	130404	33.1	34.1	32.8	32.8	31.4	29.9	28.8	27.5	24.8	25.2	25.2	24.3	22.5	23	22.3	23	23.2
			24.1-43.8	25.0-43.9	25.0-41.6	26.0-40.6	25.7-37.8	25.4-35.0	25.3-32.7	24.8-30.2	22.8-27.0	22.8-27.9	21.9-28.6	20.3-28.6	17.9-27.7	17.4-29.2	16.0-29.2	15.9-31.0	15.5-31.7
	Gaobeidian City	130684	26.9	24.7	23.9	22.8	27	26.7	26.4	24.8	24	21	17.8	15.7	14.2	12.5	12	11.7	11.5
			18.5-36.8	17.4-33.4	17.4-31.8	17.3-29.4	21.3-33.6	21.9-31.8	22.6-30.4	22.2-27.4	21.7-26.4	18.4-23.8	14.9-21.0	12.5-19.2	10.9-18.0	9.2-16.4	8.5-16.0	8.0-15.9	7.5-15.9
	Gaocheng City	130182	28.1	28.9	28.4	28.7	27.1	26.9	26.4	25.9	25.2	27.6	26	27	26	23.3	20.3	17.5	15.1
			19.5-38.3	20.5-38.8	20.8-37.4	22.0-37.0	21.4-33.5	22.1-31.9	23.0-30.1	23.4-28.5	23.2-27.3	24.7-30.7	22.1-30.5	21.8-32.8	20.1-32.8	17.2-30.5	14.4-27.1	11.8-24.1	9.9-21.1
	Gaoyang County	130628	24.7	24.4	23.2	20.1	19.8	19.4	19.1	16.8	16.9	15	13.2	12.5	12.1	11.5	11.5	10.7	9.9
			20.1-29.8	20.0-29.3	19.2-27.8	16.6-24.2	16.6-23.6	16.3-23.0	16.1-22.5	14.2-19.8	14.4-19.9	12.6-17.5	11.1-15.6	10.5-14.9	10.0-14.5	9.5-13.8	9.4-13.8	8.8-12.9	8.1-11.9
	Gaoyi County	130127	45.8	44.4	40.9	36.9	35	39.3	38.4	35.7	36.6	33.4	31	29.1	27.4	24.2	21.6	18.9	16.3
			39.5-52.8	38.2-51.1	35.4-47.0	31.8-42.5	30.2-40.0	34.5-44.4	34.3-42.7	32.4-39.0	33.8-39.6	30.9-35.8	28.7-33.4	26.7-31.7	24.9-30.1	21.8-26.9	19.3-24.1	16.6-21.1	14.3-18.4
	Gu'an County	131022	25.4	24.4	25.4	24.5	25.3	29.3	27.4	23.7	22.1	20.3	18.3	16.8	18.6	18.6	17.8	16.9	16
			17.0-35.8	16.9-34.1	17.9-35.0	17.8-32.8	19.1-33.4	23.3-36.6	22.9-32.6	20.9-26.6	20.3-24.1	18.3-22.4	15.8-21.0	13.7-20.2	14.5-23.3	13.9-24.1	12.7-23.7	11.5-23.0	10.6-22.3
	Guangping County	130432	28.8	29.1	30.7	32.4	33	30.1	27.6	26.2	25	26	24.2	20.8	18.4	15.7	14.3	14.1	13.9
			23.9-34.1	24.5-34.4	26.0-35.8	27.7-37.6	28.5-37.9	26.1-34.3	24.4-31.2	23.7-29.0	22.9-27.4	23.8-28.4	21.9-26.7	18.7-23.2	16.3-20.7	13.7-18.0	12.5-16.5	12.2-16.3	11.9-16.0
	Guangyang District	131003	23.8	24.2	24.4	23	22.5	24.6	21.7	18.6	15.4	14.1	12.7	13.2	13.8	14.1	14.5	13	13

Province	County	County Code (2012)	Under-5 Mortality Rate (per 1000 births)																
			1996	1997	1998	1999	2000	2001	2002	2003	2004	2005	2006	2007	2008	2009	2010	2011	2012
			15.7-34.0	16.5-34.3	16.8-34.0	16.4-31.6	16.5-30.1	18.9-31.3	17.5-26.5	15.7-21.7	13.6-17.6	12.3-16.1	10.6-14.9	10.7-16.2	10.7-17.6	10.5-18.6	10.3-19.4	8.8-17.9	8.6-18.5
	Guangzong County	130531	62.2	55.8	51.6	44.7	43.4	39.7	36.4	36.2	35.8	30.5	32	35.5	36.8	38.6	40.8	38.5	35.9
			52.9-72.1	47.7-64.8	44.1-59.8	38.4-51.7	37.3-49.9	34.4-45.3	32.1-41.0	32.3-40.5	32.3-39.7	27.6-33.5	29.0-35.2	31.9-39.2	32.8-41.0	34.2-43.4	36.0-46.0	33.7-43.5	31.2-40.6
	Guantao County	130433	39.2	37.1	34.1	26.9	24.6	23.3	26.5	25.1	28.7	28.7	27.6	21.9	20.6	16.8	15	14.7	14.1
			33.2-45.5	31.8-43.1	29.2-39.5	23.1-31.0	21.2-28.3	20.2-26.7	23.2-30.0	22.3-28.3	25.6-32.2	25.6-32.1	24.4-31.1	19.0-24.9	17.8-23.8	14.2-19.5	12.7-17.7	12.4-17.3	11.8-16.5
	Gucheng County	131126	45.5	43.5	41.6	40	35.6	32	29.4	26.8	22.8	21.2	18.7	17.8	17.8	18.1	19.2	19	19.1
			34.7-58.1	34.6-53.9	34.5-49.3	34.8-45.5	30.8-40.6	27.3-37.4	24.4-35.5	21.7-33.1	18.2-28.9	16.9-26.7	15.0-23.6	14.7-21.7	15.2-21.1	15.9-20.9	17.1-21.7	17.0-21.2	16.7-21.5
	Guyuan County	130724	42.4	44.3	43.4	44	42.8	41.8	38.9	35.9	43.5	41.6	39.8	36.9	31.7	25.9	17.9	15.9	14.4
			35.6-49.5	37.7-51.7	37.0-50.4	37.7-51.0	36.9-49.2	36.4-47.7	34.3-43.6	32.5-39.6	40.1-47.3	38.6-44.9	36.8-43.3	33.8-40.2	28.7-35.0	23.1-29.0	15.8-20.3	13.8-18.0	12.4-16.5
	Haigang District	130302	23.4	27.2	29.2	31.5	29.8	25.2	22.3	14.7	16.3	13.3	13.3	13.4	12.8	11.3	10.5	10.3	9.8
			19.1-28.2	22.7-32.2	24.5-34.4	26.9-36.7	25.7-34.3	21.9-28.7	19.7-25.0	13.3-16.3	14.9-17.9	12.2-14.6	12.1-14.6	12.2-14.7	11.5-14.2	10.1-12.5	9.4-11.8	9.1-11.5	8.6-10.9
	Haixing County	130924	42.1	41.5	39.4	35.7	32.7	29.8	26.6	27.5	27.1	27.6	24.7	23	17.6	17.3	16.4	15.5	15.4
			35.1-49.3	35.0-48.5	33.4-45.7	30.7-41.4	28.3-37.6	25.9-33.9	23.6-29.9	24.9-30.4	24.8-29.7	25.2-30.1	22.4-27.1	20.7-25.6	15.7-19.8	15.1-19.7	14.3-18.8	13.4-17.8	13.2-17.7
	Handan County	130421	33.5	34.1	33.2	35.2	33.4	32.9	30.6	30.8	29.1	30.1	24.2	22.1	20.1	16.3	14.8	15.3	15.4
			28.0-39.4	28.8-39.9	28.2-38.6	30.1-40.7	28.9-38.4	28.5-37.4	27.1-34.5	27.9-34.2	26.5-32.1	27.5-33.1	21.9-26.8	19.7-24.6	17.7-22.6	14.1-18.6	12.8-17.1	13.1-17.6	13.1-17.8
	Hanshan District	130402	36.2	38.4	37.3	28.7	26.1	26.1	23.2	19.6	19.9	24.3	25.8	23.1	22.6	21	18.1	18.6	18.1
			24.8-49.9	27.0-52.6	26.9-50.2	21.3-37.8	20.0-33.8	20.9-32.1	19.4-27.4	17.2-22.1	18.0-22.0	21.5-27.4	21.7-30.4	18.4-28.6	17.3-29.0	15.4-27.7	12.7-24.3	12.6-25.9	11.9-25.7
	Hejian City	130984	31.8	29.5	26.5	21.8	19.5	18.3	17.9	17.3	17.9	19.2	18.4	16.8	16.7	16.4	15.9	15.1	14.5
			27.5-36.7	25.5-34.0	22.9-30.4	18.8-25.0	16.8-22.1	15.9-20.6	15.9-20.1	15.7-19.2	16.5-19.5	17.7-20.9	16.9-20.1	15.3-18.5	15.1-18.5	14.6-18.4	14.0-18.0	13.2-17.0	12.6-16.3
	Huai'an County	130728	41.7	43.8	43.6	45.8	48.4	48.2	46.9	41.1	38.8	32.4	31.9	29.3	27.6	26	23.4	20.6	18.2
			34.5-49.4	36.6-51.5	36.7-51.0	39.1-53.2	41.4-55.4	42.1-54.7	41.7-52.4	37.3-45.1	35.7-42.0	29.9-34.9	29.5-34.5	26.9-31.9	25.1-30.2	23.6-28.9	21.0-26.0	18.4-23.0	16.1-20.3
	Huailai County	130730	42.5	42.3	40.6	42.5	40.2	40.7	40.4	38.8	35.6	34.8	31.4	29	27	24.4	22.7	20.8	18.8
			36.3-49.4	35.9-49.6	34.2-48.4	35.1-51.4	33.0-48.8	33.2-49.1	33.1-48.7	32.1-46.1	30.0-41.5	29.7-40.4	26.9-36.1	24.7-33.7	23.0-31.7	20.9-28.6	19.6-26.1	18.3-23.6	16.7-21.2
	Huanghua City	130983	30.4	31	29	26.6	25.7	25.5	17	15.1	14.8	15.4	14.2	15.1	15.8	16	15.5	15.1	14.4
			25.2-36.0	26.1-36.6	24.5-34.0	22.7-31.1	21.9-30.0	22.0-29.4	14.7-19.5	13.2-17.4	13.0-16.9	13.5-17.5	12.3-16.1	13.1-17.3	13.6-18.2	13.6-18.4	13.2-18.1	12.8-17.6	12.1-16.8
	Jing County	131127	46.3	47.2	45.3	44.7	39.3	40	37.7	33	30	30.2	25.5	24.7	24.5	24.2	24.3	23.8	23.4
			33.5-61.7	34.8-61.7	34.3-58.3	35.0-55.8	31.5-47.7	33.3-47.2	32.6-43.3	29.3-37.0	26.9-33.3	26.6-34.3	21.6-29.8	19.9-30.2	18.8-30.8	18.0-31.2	17.2-31.8	16.4-32.1	15.7-31.8
	Jingxing County	130121	35.2	34.4	32.5	34	35.5	32.9	31.5	33.2	33.5	33.6	31.5	29.6	29.4	28.6	27.9	27.2	25.8
			29.2-42.1	28.3-41.0	27.1-38.7	28.4-40.2	30.1-41.7	28.3-38.0	27.7-35.7	30.0-36.8	30.8-36.6	30.7-36.9	28.2-35.2	26.0-33.7	25.7-33.8	25.0-32.5	24.7-31.5	24.1-30.2	22.8-28.7
	Jingxingkuang District	130107	34.4	30.9	30.2	29.2	28.7	25.2	19.6	24.3	25.8	25.3	25.7	27.3	25.2	21	20.6	19.7	18.6
			26.8-42.6	24.1-38.4	24.0-37.9	23.2-36.6	23.1-35.6	20.6-30.8	16.2-23.8	20.6-28.8	22.0-30.1	21.9-29.2	22.0-29.5	23.5-31.5	21.5-29.0	17.9-24.3	17.5-24.0	16.7-22.9	15.6-21.8
	Jinzhou City	130183	26.8	27.1	27	28.4	27.2	26	27.6	27.9	29.3	31.6	30.8	30.1	29.1	27	25.5	23.3	21.2
			20.0-34.4	20.9-33.8	21.4-33.0	22.9-34.2	22.5-32.2	21.9-30.0	23.7-31.6	24.0-32.0	25.0-33.9	26.3-37.3	25.4-37.1	24.2-36.7	23.0-36.3	21.1-34.1	19.3-32.5	17.2-30.1	15.1-27.9
	Jize County	130431	43.3	43.7	41.7	41.6	39.3	38.4	34.6	34.8	33.7	34.5	29	25.3	20.5	17	14.1	13.3	13.2
			36.2-50.7	36.9-51.1	35.5-48.5	35.7-48.1	33.9-44.9	33.3-43.6	30.8-38.8	31.5-38.4	31.0-36.8	31.7-37.5	26.4-31.8	22.9-28.0	18.2-23.0	14.9-19.4	12.3-16.2	11.4-15.3	11.3-15.2
	Jizhou City	131181	39.8	39	38.3	36	33.4	30.7	28.4	25.4	22.4	21.7	22.9	23.2	23.2	23.1	23.5	22.3	21.7
			33.4-46.5	33.1-45.3	32.7-44.4	31.0-41.6	28.8-38.3	26.8-34.8	25.2-31.8	23.0-28.0	20.6-24.4	20.0-23.5	21.1-24.8	21.2-25.4	21.0-25.4	20.9-25.5	21.2-26.1	19.9-24.8	19.2-24.1
	Julu County	130529	40.7	39.1	36.8	34.4	32.3	30.6	28.6	26.4	26.1	23.3	19.9	20.3	17.6	16.3	15.9	15	13.9
			35.2-47.1	33.9-45.7	31.4-43.3	29.3-40.5	27.5-37.8	26.1-35.6	24.6-32.9	23.2-29.7	23.5-29.0	21.1-25.7	17.8-22.1	17.9-22.9	15.4-20.1	14.3-18.7	14.0-18.0	13.4-16.7	12.3-15.5
	Kaiping District	130205	25.2	26	25.3	24.2	22.8	21.1	19.1	18.9	17.7	15.9	13.8	12.2	11.4	10.4	10.5	10.1	9.8
			21.4-29.3	22.3-30.3	21.7-29.5	20.8-28.1	19.7-26.4	18.4-24.2	16.8-21.5	16.9-21.1	15.8-19.7	14.1-17.9	11.9-15.9	10.4-14.6	9.6-13.7	8.6-12.6	8.6-12.6	8.4-12.0	8.1-11.7
	Kangbao County	130723	45.3	45.6	45.3	47.7	48.3	47.4	46.1	45.7	45.4	41.2	36.4	32.5	28.4	23.9	22.6	21	19.5
			38.8-52.7	39.1-53.0	38.5-53.1	40.0-56.1	40.4-57.3	39.6-56.3	38.3-54.9	38.3-53.9	38.8-52.4	35.6-47.0	31.7-41.2	28.3-37.2	24.6-32.7	20.8-27.5	19.9-25.6	18.7-23.5	17.5-21.7
	Zizhixian	130827	38.8	37.9	36.2	34.5	31.9	27.6	25.4	24	23.6	21.6	20.1	17.7	16.9	14.9	14.8	13.1	12.2
			33.5-44.6	33.0-43.5	31.5-41.2	29.9-39.5	27.7-36.2	24.3-31.0	22.7-28.2	21.7-26.3	21.7-25.6	19.8-23.3	18.5-21.9	16.1-19.4	15.1-18.8	13.2-16.8	13.0-16.8	11.4-15.0	10.5-14.0
	Laishui County	130623	32.6	31	29.8	29	26.2	26.6	27.4	25	24.8	25.7	23.8	21.4	21.8	19.1	16.4	14.6	13.1
			27.7-37.9	26.5-35.9	25.6-34.4	25.0-33.4	22.7-29.8	23.1-30.0	24.4-30.5	22.7-27.5	22.9-26.9	23.7-27.7	21.9-25.9	19.6-23.4	19.6-24.1	17.0-21.5	14.5-18.6	12.8-16.6	11.4-14.8
	Laiyuan County	130630	31.7	30.6	29.2	30.1	30.2	27.2	26.5	24.4	22.3	18.4	15.9	14.5	13.1	11.7	11.6	11.1	10.3
			25.3-38.6	24.9-37.0	24.1-35.0	25.1-35.8	25.7-35.3	23.4-31.3	23.4-29.9	22.1-26.9	20.6-24.2	17.1-19.8	14.7-17.2	13.2-15.8	11.8-14.6	10.4-13.2	10.2-13.1	9.7-12.6	8.9-11.7
	Leting County	130225	21.7	21.7	21.9	21.7	21.7	19.8	17.9	17.4	16.4	16.6	14.7	13.4	12.9	12.5	12.3	12.5	12.9
			18.1-25.5	18.4-25.4	18.7-25.5	18.7-25.1	18.7-24.9	17.3-22.5	15.9-20.1	15.6-19.3	14.8-18.0	15.1-18.2	13.3-16.1	12.0-14.9	11.4-14.5	10.9-14.2	10.8-14.2	10.8-14.3	11.0-14.7
	Li County	130635	35.3	33.9	31.9	29.1	27.4	27.8	23.6	21.8	18.1	16.8	13.8	12.8	12.1	12	11.7	10.7	10.5
			29.8-41.3	28.8-39.5	27.0-37.1	24.8-34.1	23.4-32.0	24.0-32.2	20.6-27.0	19.5-24.3	16.5-19.8	15.4-18.3	12.4-15.2	11.4-14.4	10.6-13.9	10.5-13.8	10.3-13.3	9.5-12.0	9.3-11.7
	Lincheng County	130522	55.7	53.3	51.7	44.8	43.4	40.9	38.1	32.8	28.6	26.3	21.7	17.8	18.2	17.4	16.1	15.3	14.7
			47.9-64.3	46.0-61.4	44.8-59.3	38.8-51.3	37.8-49.2	35.9-46.1	33.9-42.7	29.3-36.8	25.6-31.8	23.5-29.3	19.2-24.3	15.6-20.2	15.7-20.9	14.9-20.2	13.7-18.8	12.9-17.9	12.4-17.2
	Lingshou County	130126	30.4	29.3	29.2	29.2	28.5	29.7	29.9	31.1	33.4	33.5	32.4	30.8	27.7	24.4	21.7	19.8	18
			26.3-35.0	25.4-33.8	25.3-33.8	25.2-33.6	24.6-32.7	25.5-34.2	25.6-34.2	26.8-35.4	28.9-37.9	28.6-38.6	27.4-37.6	26.1-35.7	23.7-32.0	21.3-28.3	19.1-24.9	17.6-22.4	16.1-20.1
	Linxi County	130535	46.9	45.4	42.5	38.5	40.2	40.9	39.4	38.6	40	33.3	27.5	25	22.1	18.9	20.5	19.8	18.7
			37.7-56.8	36.8-55.2	34.8-51.2	31.9-46.2	33.8-47.7	34.9-47.7	34.2-45.1	34.1-43.6	36.0-44.5	30.0-36.8	24.6-30.4	22.2-27.9	19.3-25.0	16.3-21.5	17.7-23.7	17.0-22.8	15.8-21.6
	Linzhang County	130423	30.9	31	30.3	27	24.9	24	24.2	24.3	26.5	29.2	25.8	22.5	18.6	15.7	14.1	14.3	14.3
			25.7-36.5	26.0-36.5	25.7-35.4	23.1-31.5	21.4-28.7	20.9-27.5	21.3-27.2	22.0-26.8	24.4-28.8	27.0-31.5	23.8-28.1	20.6-24.7	16.7-20.6	13.9-17.6	12.4-16.0	12.5-16.2	12.3-16.3
	Longhua County	130825	34.7	34	32.8	34.2	34.4	33.6	32.8	29.2	26.2	22.8	21.6	19.4	17.6	16.3	15.5	14	12.4
			29.0-40.8	28.8-39.9	27.7-38.5	28.9-40.1	29.5-40.3	29.2-39.0	28.8-37.3	26.3-32.5	24.1-28.5	20.9-24.7	19.5-23.8	17.2-21.9	15.4-20.1	14.2-18.7	13.5-17.7	12.2-15.7	10.8-14.0
	Longyao County	130525	55.3	52	48.8	45.8	43.5	39.6	38.6	35.4	36.4	35.5	34.1	33.9	33.2	30.4	27.8	25.4	23
			48.0-63.7	44.9-60.5	41.7-57.1	38.7-54.2	36.4-51.3	33.3-46.5	32.9-45.2	30.4-40.8	31.7-41.4	30.7-40.4	29.4-39.0	29.0-39.3	28.3-38.9	26.1-35.5	24.3-31.9	22.5-28.5	20.6-25.7

Province	County	County Code (2012)	Under-5 Mortality Rate (per 1000 births)																
			1996	1997	1998	1999	2000	2001	2002	2003	2004	2005	2006	2007	2008	2009	2010	2011	2012
	Luan County	130223	28.7	29.2	28.9	29.5	28.1	26.8	22.9	21.8	20.5	17.9	16	14.2	12	10.3	9.6	9	8.6
			21.7-36.9	22.9-36.4	23.3-35.1	24.6-35.0	23.9-32.9	22.6-31.5	19.1-27.3	18.0-26.3	16.7-25.2	14.4-22.5	13.0-20.1	11.6-17.6	10.1-14.7	8.9-12.2	8.4-10.9	8.0-10.1	7.5-9.6
	Luancheng County	130124	26.6	26.5	26	26.9	26.3	24.6	25.6	27.8	27.4	28.1	28.8	27.1	25	23.2	20.1	17.9	16
			23.0-30.7	23.0-30.6	22.6-29.9	23.1-30.7	22.5-30.1	21.3-28.2	22.5-29.1	24.7-31.1	24.5-30.4	25.3-31.1	26.0-32.0	24.4-30.0	22.5-27.9	20.9-25.8	18.2-22.3	16.1-19.9	14.3-17.8
	Luannan County	130224	24.3	25.6	25.7	25.9	24.3	22.9	21	18.8	17.9	17.5	16.2	14.2	13.6	11.1	11	10.4	10
			18.3-31.2	20.0-32.0	20.7-31.2	21.5-30.8	20.6-28.4	19.4-26.9	17.6-25.1	15.6-22.6	14.6-21.8	14.2-21.8	13.2-20.2	11.6-17.7	11.4-16.6	9.4-13.1	9.5-12.7	9.1-11.9	8.6-11.6
	Luanping County	130824	28.9	29.6	28.2	27.9	26.8	28.1	30.4	30.8	31.2	29.4	27.7	21.4	19.3	15.4	12.7	10.7	9.1
			24.9-33.4	25.6-34.1	24.4-32.4	24.0-32.1	23.1-30.7	24.5-32.0	26.9-34.2	27.7-34.0	28.6-33.9	27.0-31.8	25.6-30.0	19.6-23.4	17.4-21.2	13.8-17.1	11.2-14.2	9.4-12.0	7.9-10.2
	Lubei District	130203	20	20.3	19.6	19.9	19.6	17.5	16.5	16.2	15.4	14	12.4	11	10.7	10	9.7	10	9.6
			16.1-24.4	16.5-24.8	16.2-23.5	16.6-23.6	16.7-23.0	15.0-20.2	14.3-19.0	14.2-18.5	13.4-17.5	12.1-15.9	10.6-14.2	9.4-12.8	9.0-12.7	8.3-11.8	8.1-11.6	8.3-12.0	7.9-11.4
	Lulong County	130324	34.5	38.6	42.1	39.3	36.7	30.4	34.4	26.2	29.1	26.1	25.7	18.5	16.9	14.3	14.6	13.6	12.7
			27.0-42.9	30.3-47.8	33.6-52.4	31.4-49.0	29.5-45.1	24.8-37.1	28.6-41.5	22.1-31.2	24.7-34.0	22.3-30.3	21.8-29.8	15.7-21.7	14.2-19.9	12.0-16.9	12.2-17.3	11.4-16.0	10.6-15.1
	Lunan District	130202	23.6	23.6	23.9	24.7	21.6	19.2	18.1	17.9	15.6	15	13.6	12	11.9	10.6	10.8	10.7	10.3
			18.2-29.9	18.2-30.1	18.6-30.4	19.4-31.2	16.9-27.1	15.2-23.9	14.5-22.4	14.6-22.1	12.6-19.2	12.1-18.3	11.0-16.4	9.8-14.6	9.6-14.5	8.6-13.0	8.8-13.2	8.7-12.9	8.4-12.4
	Luquan City	130185	26.1	27.6	25.8	38	36.4	34.4	32.2	31	27.9	27	25	24.9	22.9	21.6	20.9	20.2	18.9
			17.9-35.9	19.5-37.6	18.8-34.6	28.8-49.3	28.6-45.8	28.3-41.4	27.7-37.0	27.9-34.1	25.8-30.3	24.1-30.1	21.0-29.2	19.9-30.5	17.5-29.3	15.8-28.3	14.6-28.0	13.4-27.9	12.4-26.8
	Mancheng County	130621	26.9	26	24.6	26.5	24.4	21.1	19.4	16.4	14.6	13.9	14	14.6	15	14.6	13.5	12.4	11.7
			18.4-36.9	18.4-35.5	18.0-33.1	20.0-34.5	19.1-30.8	17.4-25.6	16.7-22.4	14.8-18.1	13.5-15.8	12.4-15.4	11.8-16.2	11.8-17.8	11.6-19.1	10.7-19.0	9.5-18.0	8.3-17.0	7.7-16.5
	Zizhixian	130930	55.5	53.8	51.2	49.4	43.8	40.5	35.1	33	29	27.5	25.2	21.9	17.7	16.1	15.2	14.3	13.5
			46.3-65.1	45.5-63.2	43.2-60.1	41.8-58.0	37.4-51.3	34.9-46.9	30.8-39.9	29.6-36.7	26.7-31.5	25.4-29.8	22.7-27.7	19.4-24.6	15.5-20.2	14.0-18.4	13.3-17.3	12.5-16.1	11.7-15.2
	Nangong City	130581	36.3	36.3	34.5	26.6	26.4	22.8	21	19.4	20.5	18.2	17.4	16.4	16	15	14.7	14	13
			30.8-42.3	31.0-42.1	29.6-39.9	22.9-30.7	22.9-30.2	19.8-25.8	18.7-23.3	17.7-21.3	18.9-22.3	16.8-19.6	16.0-18.8	15.0-17.8	14.5-17.6	13.5-16.7	13.1-16.5	12.3-15.7	11.4-14.6
	Nanhe County	130527	42.4	42.4	40.3	37.3	33.6	31.6	27.3	22	20.9	17.8	14.2	12.3	11.6	10.6	11.4	11	10.9
			36.3-49.1	36.4-49.3	34.4-46.8	32.0-43.3	29.0-39.0	27.6-36.2	24.2-30.8	19.8-24.2	19.2-22.8	16.2-19.4	12.7-15.9	10.7-14.2	9.9-13.5	9.0-12.4	9.7-13.2	9.4-12.6	9.3-12.6
	Nanpi County	130927	34.1	31.6	28.2	26	24.4	27.1	24.4	24.5	21.3	19.5	16.3	13.9	13.6	13.6	13.7	13.5	13.4
			28.0-40.8	26.2-37.5	23.7-33.1	22.1-30.3	20.9-28.2	23.4-31.0	21.4-27.5	22.2-27.0	19.6-23.2	18.0-21.2	15.0-17.8	12.6-15.3	12.3-15.1	12.0-15.3	12.1-15.5	11.8-15.3	11.6-15.1
	Nanshi District	130604	20.3	18.7	17.6	13.6	12.2	11.7	10.9	9.6	10.6	9.2	8.6	8.3	8.1	8.2	7.3	7.2	6.9
			13.5-28.6	13.0-25.9	12.5-24.4	9.9-18.4	9.2-16.1	9.2-14.6	8.9-13.0	8.1-11.0	9.4-12.0	8.0-10.5	7.1-10.2	6.6-10.4	6.1-10.6	5.9-11.0	5.0-10.0	4.8-10.3	4.5-10.0
	Neiqiu County	130523	38.1	37	35	32.4	31.7	30.6	29.1	27	27.5	23.4	24.1	23.2	23.9	22.6	22.5	21	20.1
			27.4-50.9	27.1-48.3	26.5-44.5	25.5-40.2	25.8-38.1	26.1-35.8	25.7-32.8	24.6-29.5	25.2-30.0	21.1-26.0	20.8-27.7	19.0-27.8	18.7-29.9	16.8-29.1	15.9-29.8	14.2-28.7	13.2-28.1
	Ningjin County	130528	35.8	36.6	35.5	36.5	36.5	35.1	34.5	32.9	32.1	33	32.3	29	25.1	21.3	18.3	16.3	14.6
			31.1-41.4	31.6-42.7	30.3-41.6	31.1-43.0	31.0-42.8	29.9-40.9	29.7-39.7	28.9-37.2	28.8-35.8	29.7-36.5	28.8-36.0	25.5-32.8	21.9-28.7	18.7-24.4	16.2-20.7	14.6-18.2	12.9-16.2
	Pingquan County	130823	36.3	35.2	32.8	30.3	28.4	28.2	26.1	24.7	26.1	24.8	23.6	22.3	20.9	19	19.2	17.8	16.9
			29.4-43.8	29.0-42.0	27.4-39.0	25.6-35.6	24.4-33.0	24.3-32.4	23.0-29.3	22.4-27.2	24.1-28.3	23.0-26.7	22.0-25.5	20.5-24.2	19.0-22.9	17.1-21.1	17.1-21.3	15.8-19.9	14.9-18.9
	Pingshan County	130131	30.7	31.5	30.6	33.1	32	30.8	29.5	27.4	26.8	29.5	28.8	27.6	26.2	22.9	19.2	17	15
			25.7-35.9	26.8-36.7	26.0-35.5	28.4-38.4	27.6-36.7	26.9-35.0	26.3-33.0	24.9-30.0	24.7-29.1	27.4-31.8	26.7-31.1	25.4-30.0	23.9-28.9	20.6-25.4	17.1-21.5	15.0-19.1	13.1-16.9
	Pingxiang County	130532	40.1	39.3	38.3	45.1	48.6	46.4	43.2	43	36.7	30.1	28.2	23.7	21.1	22.5	23.8	23.3	22.6
			32.7-48.1	32.3-47.2	31.7-45.9	37.7-53.5	41.2-57.0	39.6-53.6	37.7-49.1	38.3-48.6	32.9-40.9	27.0-33.4	25.1-31.4	20.9-26.6	18.4-24.0	19.4-25.7	20.5-27.6	19.9-27.0	19.1-26.1
	Qian'an City	130283	29.9	29.8	30.5	30.6	29.4	26.7	25.2	22.5	21.7	19.5	17.5	16.1	15.2	13.6	13.5	13.1	12.5
			25.9-34.6	25.6-34.6	25.9-35.9	25.4-36.6	24.3-35.1	22.1-32.0	20.8-30.0	19.0-26.4	18.7-24.9	17.1-22.1	15.4-19.7	14.1-18.4	13.2-17.4	11.9-15.6	11.9-15.3	11.7-14.7	11.2-13.9
	Qianxi County	130227	23.3	24.5	23.8	24.4	23.9	21.8	19.9	18.8	17.2	15.8	15.9	15.5	14.7	13.6	14.8	14.4	13.7
			19.6-27.3	20.8-28.5	20.3-27.6	20.9-28.2	20.6-27.4	19.0-24.7	17.7-22.3	17.0-20.9	15.6-18.9	14.4-17.3	14.4-17.5	13.9-17.1	13.1-16.6	11.9-15.4	13.0-17.0	12.5-16.5	11.8-15.6
	Qiaodong District	130103	17	18.7	18.6	18.3	16.7	15.7	16	14.2	15.5	14.9	14.6	14	14.1	13.6	13.2	13.1	12.5
			11.7-23.5	13.2-25.5	13.6-25.1	13.8-23.8	13.1-21.2	13.0-18.9	13.8-18.4	12.8-15.6	14.3-16.8	13.3-16.5	12.5-16.9	11.4-16.9	10.9-17.6	10.1-17.7	9.4-17.5	8.9-17.8	8.3-17.3
	Qiaodong District	130502	29.8	28.6	28.9	26.8	21.4	20	18.8	15.9	14.2	13.5	13.4	12.7	12.4	11.9	11.5	11	10.1
			23.5-36.4	22.6-35.3	23.4-35.5	21.8-33.2	17.4-26.1	16.5-24.1	15.7-22.3	13.5-18.8	12.1-16.6	11.5-15.7	11.3-15.5	10.8-14.9	10.4-14.7	10.0-14.1	9.6-13.7	9.1-13.0	8.4-12.0
	Qiaodong District	130702	21.7	23.5	23.8	22.1	19.9	16.2	15.9	17.2	18.6	18.5	17.2	18	17.5	16	15.3	14.5	13
			17.4-26.5	18.9-28.6	19.5-29.0	18.1-26.8	16.5-24.0	13.5-19.5	13.5-18.9	14.8-20.0	16.1-21.3	16.2-21.0	15.0-19.5	15.7-20.4	15.2-20.0	13.8-18.3	13.2-17.7	12.4-16.8	11.0-15.0
	Qiaoxi District	130104	20.6	19.3	18.8	20.6	19.1	18.4	21.3	20.8	21.7	21.6	19	18.3	17.4	17.1	16	16.1	15.1
			13.6-29.4	13.1-27.3	12.9-26.2	14.7-28.3	14.0-25.6	14.3-23.6	17.3-25.8	17.8-23.9	19.6-24.2	19.3-24.1	16.3-22.0	14.8-22.3	13.6-22.0	12.7-22.3	11.4-21.2	10.9-22.2	10.0-21.2
	Qiaoxi District	130503	31.2	25.8	27.6	24.2	21.9	19.8	23.6	18.5	17.2	17	17.8	17.5	17.2	17.4	13.7	13.6	12.9
			23.6-40.3	19.4-33.9	20.7-36.2	18.3-31.9	16.5-28.6	14.9-25.8	18.0-30.5	14.2-23.9	13.4-22.0	13.2-21.6	13.9-22.3	13.8-22.0	13.6-21.5	13.8-21.6	10.9-16.9	11.0-16.7	10.4-15.7
	Qiaoxi District	130703	17.7	19.1	20	19.4	17.9	19.7	20.2	16	16.1	19.5	18.2	20.5	17.9	16.2	13.4	12.5	11.4
			14.6-21.2	15.9-22.8	16.7-23.5	16.4-22.8	15.2-21.1	16.8-22.9	17.4-23.3	14.0-18.5	14.1-18.5	16.9-22.2	15.7-20.8	17.7-23.6	15.3-20.9	13.7-18.9	11.3-15.8	10.5-14.7	9.5-13.5
	Qing County	130922	20.4	19	16.6	15.2	14.3	13	13.1	12.8	12.8	14	12.3	12.3	12.7	13.4	13	12.3	11.9
			17.0-24.1	16.1-22.4	14.1-19.4	12.9-17.7	12.1-16.5	11.2-14.9	11.5-14.8	11.4-14.4	11.5-14.2	12.7-15.4	11.1-13.5	11.0-13.7	11.2-14.2	11.7-15.1	11.4-14.8	10.7-14.1	10.2-13.5
	Qinghe County	130534	45.8	44.4	43.6	43.5	45.7	45.1	44.2	40.3	35.5	30.7	26.4	22.1	18.6	17.7	18.5	17.3	16.1
			39.1-53.1	37.9-51.8	37.2-51.1	37.1-51.0	39.0-53.3	39.0-52.3	38.5-50.5	35.9-44.9	32.4-38.7	28.0-33.5	23.7-29.4	19.4-25.2	16.0-21.5	15.2-20.6	15.8-21.5	14.8-19.9	13.7-18.6
	Zizhixian	130321	40.2	44.8	48.7	48.1	43.8	37.1	32.7	29.2	28.1	23.8	24.7	23.5	22	23	25.8	24.4	23.7
			34.2-46.7	38.4-51.8	42.0-56.1	41.7-55.1	38.1-49.8	32.6-41.9	29.2-36.5	26.3-32.4	25.5-31.1	21.6-26.1	22.2-27.2	21.0-26.3	19.4-24.8	20.1-26.2	22.5-29.6	21.1-28.0	20.4-27.1
	Qingyuan County	130622	33	31	29.6	29.2	26.3	23.6	21.6	19.9	16.4	14.5	12.9	12.1	11.3	10.4	10.1	9.2	8.3
			27.5-38.8	26.1-36.6	24.8-34.9	24.7-34.5	22.4-30.8	20.4-27.4	19.0-24.6	18.0-22.0	15.2-17.9	13.5-15.7	11.7-14.2	10.7-13.6	9.9-12.8	9.1-11.9	8.8-11.4	8.1-10.3	7.3-9.4
	Qiu County	130430	40.7	41.2	41.4	39.9	38.9	35.9	34.5	34.9	34.2	35.3	30.9	25.3	19.9	16.5	14.1	13.6	13.1
			34.5-47.3	35.1-47.8	35.6-47.8	34.4-45.8	33.7-44.1	31.5-40.5	30.9-38.6	31.8-38.3	31.5-37.0	32.6-38.2	28.4-33.8	23.0-27.8	17.7-22.2	14.5-18.7	12.3-16.2	11.7-15.6	11.2-15.0
	Quyang County	130634	63.4	56.3	50	46.6	41.8	29.1	29.5	28	23.4	18.7	17.5	16	14.3	14.1	15.1	14.4	13.5

Province	County	County Code (2012)	Under-5 Mortality Rate (per 1000 births)																
			1996	1997	1998	1999	2000	2001	2002	2003	2004	2005	2006	2007	2008	2009	2010	2011	2012
			54.3-73.2	48.3-64.8	43.3-57.5	40.4-53.4	36.4-47.2	25.7-32.7	26.5-32.9	25.3-30.8	21.4-25.6	17.0-20.4	15.8-19.2	14.3-17.8	12.6-16.1	12.3-16.2	13.1-17.4	12.4-16.5	11.5-15.5
	Quzhou County	130435	33.2	32.7	32.1	29	26.7	26.6	25.8	25.9	27.2	29.3	26.6	23.6	21.9	23	20.5	20.5	21.3
			27.7-38.8	27.7-38.3	27.3-37.4	24.8-33.6	22.9-30.6	23.1-30.2	22.9-28.8	23.6-28.5	25.1-29.5	27.2-31.5	24.7-28.8	21.7-25.7	19.9-24.1	20.7-25.5	18.3-22.9	18.1-23.0	18.7-23.8
	Raoyang County	131124	44.5	43.7	42.5	42.6	40.7	37.6	35.2	32.7	29.6	26.8	26.4	26.7	27.3	27.2	26.9	26.4	25.6
			32.9-57.5	33.4-55.6	33.4-52.8	33.6-52.0	33.2-48.8	31.5-44.3	30.3-40.9	28.5-37.2	26.1-33.4	23.4-30.8	22.3-31.2	21.7-32.7	21.4-34.2	20.6-34.7	19.8-35.0	18.8-34.9	17.7-34.2
	Ren County	130526	43.8	43.6	41.6	37.3	37.2	35.4	31.1	28.1	26.6	23.2	23	23.4	21.1	21.7	20.7	19.2	17.4
			36.5-51.8	36.7-51.5	35.4-48.6	31.9-43.3	31.9-42.8	30.8-40.3	27.6-35.0	25.1-31.4	24.0-29.4	21.0-25.5	20.7-25.4	20.8-26.1	18.5-23.8	18.8-24.8	17.9-23.9	16.5-22.1	14.8-20.1
	Renqiu City	130982	24.9	24.1	21.4	16.6	17.3	21.4	22.9	20.2	20.9	19.3	16.8	13.9	14.2	12.4	12.8	12.6	12.2
			19.9-30.4	19.2-29.7	17.0-26.6	13.2-20.8	13.6-21.6	16.9-26.5	18.4-27.9	16.7-24.3	17.5-24.9	16.0-23.1	13.8-20.4	11.3-16.9	11.5-17.4	10.2-15.2	10.5-15.5	10.5-15.0	10.1-14.5
	Rongcheng County	130629	26.8	27.5	26.5	26.2	25.4	24.9	22.1	21.2	19.8	16.6	13.9	11.7	11.6	11.4	11.8	11.1	10.6
			22.5-31.3	23.4-32.0	22.6-30.8	22.6-30.2	22.0-29.0	21.8-28.2	19.7-24.8	19.2-23.5	18.1-21.8	15.1-18.1	12.5-15.2	10.4-13.0	10.3-13.1	9.9-13.0	10.2-13.6	9.5-12.8	9.1-12.2
	Sanhe City	131082	26.2	24.1	25.2	25	24.6	18.9	17.2	15	10.9	9	7.6	7.3	7.3	7.6	8.4	8.6	8.6
			17.3-37.6	16.3-34.3	17.3-35.4	17.8-34.4	18.0-32.9	14.3-24.2	13.6-21.3	12.4-17.8	9.4-12.6	7.8-10.4	6.3-8.9	5.9-9.0	5.6-9.4	5.6-10.0	6.0-11.2	5.8-11.8	5.7-12.2
	Shahe City	130582	69.6	67.7	62.8	65.8	60.1	52.1	53.3	49.5	41.9	44.2	41.6	37.2	35.3	29.9	16.3	15.3	14.1
			58.4-81.9	57.1-79.4	53.2-73.8	55.8-76.9	51.0-70.5	44.7-60.9	45.6-61.7	42.8-57.3	36.1-48.4	37.9-50.7	35.4-48.2	31.6-43.3	29.8-41.5	24.9-35.3	13.4-19.5	12.6-18.2	11.6-16.8
	Shangyi County	130725	39	39	39	40.7	42.8	42.5	43.3	39.1	40	33.6	33.5	30	25.9	21.4	18.8	15.6	13.1
			31.4-47.5	31.1-47.7	31.1-47.9	32.9-49.7	34.7-52.3	35.0-51.4	36.3-51.3	33.5-45.2	35.2-45.5	29.3-38.1	28.9-38.4	25.7-34.8	22.1-30.4	18.3-24.9	16.2-21.7	13.5-17.9	11.2-15.1
	Shanhaiguan District	130303	22	24.2	25.9	27.4	25.3	22	20.9	16	16.9	14.2	12.9	13.2	12	10.9	10.7	10.2	9.8
			17.7-26.8	19.6-29.4	21.0-31.8	22.2-33.7	20.6-30.9	18.0-26.8	17.1-25.3	13.2-19.4	13.8-20.3	11.7-17.0	10.5-15.4	10.8-15.9	9.7-14.5	8.8-13.2	8.7-12.9	8.3-12.2	8.0-11.8
	She County	130426	41.3	42	41.6	39.2	39.4	39.5	39	38.5	37.3	37.7	33.1	29.8	30.2	27.6	28.4	29.2	29.7
			34.5-48.6	35.5-49.3	35.3-48.5	33.6-45.5	33.7-45.3	34.3-45.0	34.5-43.7	34.8-42.8	34.0-41.0	34.5-41.0	30.1-36.2	26.8-32.8	26.9-33.7	24.3-31.2	25.0-32.5	25.4-33.2	25.6-33.7
	Shenze County	130128	30	33.4	32.2	37.8	36.3	37.6	39.2	37	39.3	40	37.1	32.7	27.4	23	19.5	17.8	16.6
			20.3-41.7	23.4-46.0	23.0-43.6	28.1-49.9	28.1-46.7	30.5-46.0	33.4-45.7	33.0-41.1	36.3-42.9	35.4-44.7	31.2-43.5	26.0-40.3	20.8-35.2	16.7-30.6	13.5-26.5	11.8-25.0	10.7-23.7
	Shenzhou City	131182	38.1	37.1	36	33.1	30.6	28.3	26.1	23.5	24.7	24	23.3	23.3	24.1	23.5	23.7	23.8	23.9
			32.9-44.2	32.0-43.1	31.0-41.5	28.4-38.3	26.1-35.3	24.0-32.4	22.4-29.9	20.4-26.6	21.6-27.8	21.2-27.1	20.5-26.4	20.5-26.3	21.3-27.2	20.9-26.6	21.2-26.9	21.3-26.8	21.3-26.8
	Shuangluan District	130803	24.7	24.8	24.4	25.5	23.9	23.1	24.3	22.6	19.6	17.8	15.2	13	12	12.5	11.2	10.6	9.8
			20.1-29.7	20.5-29.6	20.3-29.1	21.4-30.2	20.2-27.9	19.7-26.6	21.2-27.5	20.2-25.3	17.7-21.7	16.1-19.6	13.7-16.8	11.5-14.5	10.5-13.5	10.8-14.3	9.7-13.0	9.1-12.3	8.2-11.3
	Shuangqiao District	130802	23.5	25	25.4	24.6	25.2	25.8	25.1	23.3	22.4	24.4	22.8	20.2	19.2	18.2	15.1	14.4	13.1
			19.2-28.3	20.6-29.8	21.0-30.1	20.6-29.0	21.5-29.4	22.2-29.8	22.1-28.3	21.0-25.8	20.5-24.5	22.4-26.6	20.7-25.0	18.3-22.1	17.4-21.2	16.4-20.2	13.5-16.9	12.8-16.0	11.6-14.7
	Shunping County	130636	27.6	26.8	24.4	23.2	21.6	21.2	18.1	16.2	15.7	12.9	11	12.5	12.5	12.4	13.4	13.5	13
			23.5-32.0	23.0-31.0	21.0-28.1	20.0-26.7	18.7-24.8	18.5-24.1	16.0-20.2	14.6-18.1	14.2-17.4	11.6-14.1	9.9-12.2	11.2-14.0	11.0-14.1	10.8-14.2	11.7-15.5	11.6-15.5	11.1-14.9
	Suning County	130926	33.8	32.2	29.3	25.1	26.5	22.5	19.7	18.2	17.8	15.1	15.9	16.4	15	14.3	14.2	13.1	11.7
			27.4-41.1	26.1-39.0	24.1-35.2	20.6-30.3	22.1-31.7	18.9-26.5	16.9-23.0	15.8-21.0	15.6-20.2	13.2-17.1	13.9-18.0	14.2-18.6	12.9-17.2	12.2-16.5	12.1-16.6	11.1-15.3	9.8-13.6
	Tang County	130627	41.9	42.2	40.9	42.5	45.2	42.9	40.7	35	31.1	24.6	22.3	21.6	19.1	18.3	17.9	16.4	15.1
			36.3-48.4	36.5-49.0	35.0-47.6	36.4-49.5	38.9-52.5	37.2-49.5	35.7-46.2	31.3-38.8	28.4-33.8	22.5-26.8	20.1-24.6	19.1-24.4	16.7-21.9	15.8-21.0	15.6-20.5	14.3-18.5	13.1-17.0
	Taocheng District	131102	42.5	42.2	41.9	41.3	35.8	33.2	29.9	24.3	19.6	21	19.3	19.2	20.4	21.5	20	19.8	19.1
			36.5-49.1	36.4-48.6	36.5-47.9	35.8-47.3	31.1-40.7	29.2-37.2	26.7-33.2	22.0-26.6	18.0-21.3	19.3-22.8	17.8-21.0	17.6-21.1	18.4-22.6	19.3-24.1	17.8-22.4	17.4-22.3	16.8-21.5
	Wangdu County	130631	25.1	23.6	23.2	22.6	22.5	23	20.6	18.7	18	18.9	17	19	19.4	18.6	17.2	16	14.7
			20.4-30.2	19.4-28.2	19.3-27.6	18.9-26.7	18.9-26.3	19.5-26.5	18.0-23.3	16.7-20.8	16.4-19.7	17.4-20.5	15.6-18.5	17.3-20.7	17.5-21.4	16.7-20.8	15.3-19.3	14.1-18.0	12.9-16.6
	Wanquan County	130729	36.5	37.2	37.4	42.2	39.4	35.9	33.9	31.3	28.8	25	24.9	22.4	19.2	16.6	14.7	13.2	11.8
			25.1-50.0	26.6-49.7	27.3-48.9	32.1-53.7	31.5-48.7	30.2-42.7	29.7-38.7	28.4-34.7	26.6-31.3	22.4-27.8	21.3-29.0	18.1-27.3	14.7-24.6	11.9-22.1	9.9-20.2	8.5-18.6	7.5-17.0
	Wei County	130434	23.8	23.9	23.8	24.8	23.9	24.1	23.4	24.8	26.6	27.6	24.8	22	17.8	14.8	13	12.6	12.4
			19.7-28.1	20.0-28.3	20.0-27.8	21.0-29.0	20.5-27.7	20.9-27.8	20.7-26.4	22.4-27.2	24.5-28.8	25.6-29.7	23.0-26.8	20.2-23.9	16.2-19.6	13.3-16.4	11.6-14.6	11.0-14.1	10.8-14.0
	Wei County	130533	60.6	55.5	51	43.2	40	35.1	30.3	28.3	26.6	23.6	23.7	21.6	20.1	19.1	19	17.3	15.6
			46.8-76.3	44.3-68.1	42.4-60.3	37.3-49.5	34.3-45.9	29.9-41.4	25.0-36.6	22.9-35.0	21.4-33.5	19.0-29.6	19.3-29.5	18.0-26.2	17.3-23.6	16.8-21.8	17.0-21.3	15.5-19.3	13.7-17.4
	Mongolzu Zizhixian	130828	36.8	35.8	32.4	30.3	31.4	30.5	29.3	27	24.5	22.3	21.7	19.9	20.6	19.5	18.1	15.9	14.1
			31.6-42.6	30.8-41.3	27.9-37.3	26.2-34.8	27.2-35.6	26.6-34.3	26.1-32.6	24.5-29.8	22.5-26.8	20.5-24.3	19.8-23.7	18.0-22.0	18.3-23.0	17.1-22.0	15.8-20.7	13.7-18.1	12.1-16.1
	Wen'an County	131026	25.6	23.8	25.5	25.3	24.9	25.1	22.1	18.8	16.8	15	12.5	13	13.3	13.3	13.6	13.1	12.6
			21.0-30.4	19.7-28.4	21.4-30.2	21.3-29.9	21.1-29.2	21.6-29.1	19.4-25.1	16.9-20.8	15.4-18.3	13.8-16.3	11.3-13.9	11.5-14.6	11.6-15.2	11.6-15.2	12.1-15.5	11.7-14.6	11.2-14.0
	Wu'an City	130481	28.7	29.7	30.9	30.3	28.7	29.7	30	28.4	29.2	31.1	26.8	22.2	20.6	17.7	15.1	14.5	14.1
			23.6-34.3	24.7-35.3	26.1-36.4	25.8-35.3	24.6-33.2	25.7-34.0	26.4-33.8	25.8-31.5	26.9-31.8	28.6-33.8	24.5-29.4	20.1-24.4	18.4-23.0	15.6-20.1	13.2-17.3	12.5-16.6	12.1-16.2
	Wuji County	130130	24.9	24.9	24.5	25.8	26.1	28.1	27.7	29.2	30	30.2	29.8	29.3	26.4	23.3	21.5	19.4	17.5
			21.5-28.8	21.5-28.8	21.2-28.1	22.1-29.6	22.4-29.9	24.3-32.2	24.4-31.5	25.9-32.6	26.8-33.2	27.2-33.5	26.8-33.0	26.3-32.5	23.7-29.4	21.0-25.9	19.4-23.9	17.5-21.6	15.6-19.4
	Wuqiang County	131123	47.2	45.4	43	39.3	36.5	33.1	32.7	31.9	33.3	31.8	30	27.7	27	25.5	25.9	25.2	24.6
			40.5-54.6	39.0-52.3	37.1-49.4	34.0-45.0	31.6-41.7	29.0-37.6	29.1-36.3	29.0-34.9	30.6-36.1	29.5-34.3	27.7-32.5	25.4-30.2	24.6-29.7	23.1-28.2	23.3-28.8	22.4-28.0	21.8-27.4
	Wuqiao County	130928	32.2	30.9	29.1	27.5	25.4	24.5	22.8	22.1	20.3	20.4	19.2	18.9	17.7	17.5	16.4	15.5	14.7
			26.5-38.6	25.5-37.1	24.1-34.8	22.9-33.0	21.3-30.1	21.0-28.5	20.0-26.0	19.8-24.7	18.6-22.2	18.4-22.5	17.0-21.4	16.5-21.6	15.3-20.4	15.2-20.1	14.4-18.6	13.6-17.4	12.8-16.6
	Wuyi County	131122	42.9	42.3	41.1	40.4	41.3	38.3	37.6	31.9	30.2	26.5	26.9	26.7	28	28.5	27.5	26.4	25
			35.6-50.8	35.4-49.6	34.7-47.9	34.5-47.1	35.6-47.6	33.4-43.5	33.4-41.8	29.1-35.0	27.9-32.7	24.6-28.6	24.9-29.1	24.5-29.1	25.4-30.9	25.7-31.8	24.5-30.8	23.4-29.6	22.0-28.0
	Xiahuayuan District	130706	30.8	31.1	30.3	27.1	33.6	34.2	32.1	32.8	33.7	24.9	25	21.9	17.7	19.8	17.3	15.8	14
			24.4-37.8	24.7-38.3	24.4-37.5	21.7-33.6	27.2-41.4	28.0-41.7	26.4-38.6	27.4-39.0	28.4-39.9	20.8-29.3	21.0-29.3	18.4-25.9	14.7-21.0	16.5-23.4	14.3-20.7	13.1-18.7	11.6-16.7
	Xian County	130929	54.1	50.6	44.5	38	30.1	23.8	19.6	15.7	13.6	13.7	12.9	12.4	12.4	12.4	12.9	12.6	12.7
			40.8-69.6	39.7-62.9	36.0-53.6	32.3-44.7	25.8-35.1	20.3-28.0	16.5-23.6	12.8-19.2	11.0-16.8	10.9-17.3	10.4-16.4	10.1-15.6	10.3-15.2	10.7-14.7	11.4-14.7	11.3-14.0	11.1-14.2
	Xianghe County	131024	32.3	31	31.5	28.7	28.2	27.1	23.1	18.6	18.8	16.2	14.4	13.8	14.3	13.2	13.7	13.2	12.9
			26.1-39.0	25.4-37.3	26.1-37.6	24.1-33.8	23.8-32.9	23.3-31.4	20.2-26.3	16.6-20.8	17.1-20.7	14.8-17.8	13.0-15.9	12.4-15.4	12.7-16.1	11.6-15.0	12.0-15.7	11.5-15.2	11.1-14.7

Province	County	County Code (2012)	Under-5 Mortality Rate (per 1000 births)																
			1996	1997	1998	1999	2000	2001	2002	2003	2004	2005	2006	2007	2008	2009	2010	2011	2012
	Xinglong County	130822	34.4	33.7	31.3	31.6	29.4	27.9	27	25.3	23	21.2	17.4	14.3	13.5	10.6	11	10.4	10.1
			28.5-41.2	28.1-39.9	26.5-36.7	27.0-36.7	25.4-33.8	24.4-31.6	24.1-30.0	23.0-27.9	21.0-25.1	19.4-23.0	15.8-19.1	12.8-15.9	11.9-15.2	9.2-12.2	9.5-12.7	8.9-12.1	8.6-11.7
	Xingtai County	130521	38.6	38.4	36.6	35.4	31.9	32.7	29	23.7	25	26.3	24.2	23.3	25.4	22.4	20	18.2	16.8
			33.1-44.7	33.0-44.3	31.7-42.0	30.5-40.6	27.6-36.4	28.5-37.1	25.7-32.7	21.4-26.3	22.9-27.3	24.1-28.6	22.2-26.3	21.2-25.5	23.0-27.8	20.3-24.8	18.0-22.3	16.3-20.3	14.9-18.7
	Xingtang County	130125	32.5	31	31.9	32.5	33.1	32.6	34.6	36.2	34.5	35.3	34.4	32.7	29.4	25.8	23	20.4	17.7
			28.0-37.6	26.8-36.0	27.6-36.6	27.8-37.3	28.3-38.1	28.0-37.5	29.9-39.6	31.5-41.1	30.4-38.8	31.1-39.9	30.3-38.9	28.7-36.9	26.1-33.1	23.0-29.0	20.7-25.8	18.3-22.7	15.8-19.7
	Xinhe County	130530	44.4	41.8	40.9	32.8	35.5	37.4	32	27.1	25.4	21.8	18.6	18.3	17.8	17.5	17.1	16.3	15.7
			37.1-52.6	35.2-49.3	34.6-48.0	27.7-38.6	30.1-41.7	32.1-43.6	27.4-37.1	23.4-31.4	22.0-29.3	18.8-25.0	15.9-21.3	15.7-21.2	15.2-20.9	14.7-20.5	14.3-20.2	13.6-19.1	13.1-18.5
	Xinhua District	130105	20.6	22.3	20.3	18.2	17.3	18.8	17.8	17.5	19.7	18.3	18	16.8	17	15.4	14.1	14	13
			17.1-24.2	18.8-26.2	17.2-23.8	15.4-21.2	14.8-20.0	16.3-21.5	15.7-20.1	15.9-19.4	18.1-21.5	16.9-19.7	16.6-19.5	15.4-18.3	15.5-18.6	13.9-17.0	12.6-15.7	12.5-15.5	11.5-14.5
	Xinhua District	130902	17.1	16.4	15.5	14	14.3	14	13.6	12.3	11.1	12.3	12.8	13.3	13.6	13.8	13.2	13.3	12.5
			12.0-23.3	11.7-22.2	11.4-20.8	10.5-18.2	11.1-18.3	11.3-17.1	11.6-16.0	10.9-13.8	10.1-12.2	11.0-13.7	11.0-14.8	10.8-16.0	10.6-16.9	10.3-17.6	9.4-17.4	9.1-18.0	8.4-17.4
	Xinji City	130181	32.4	32.6	31.3	32.1	29.6	28.5	27.7	25.6	23.9	26	24.9	25.2	24.9	23.7	22	20	18.2
			23.0-43.7	23.8-42.8	23.5-40.3	25.0-40.1	24.1-35.7	24.1-33.4	23.8-31.5	22.6-28.7	21.2-26.8	22.4-29.8	21.1-29.2	20.7-30.4	19.7-31.2	18.1-30.4	16.2-28.8	13.8-26.8	12.3-24.6
	Xinle City	130184	28.3	28.2	27.5	27.4	27	25.9	27.8	33.4	33.5	33.8	33.6	31.1	27.8	25.1	21.4	18.7	16.1
			18.8-40.2	19.5-38.9	19.3-37.6	19.8-36.7	20.5-35.1	20.6-32.4	23.3-33.0	29.4-38.0	30.6-36.3	31.2-36.5	30.0-37.6	26.7-36.0	22.5-33.8	19.3-31.8	15.5-27.8	12.8-25.3	10.6-22.2
	Xinshi District	130602	21.5	19.7	18.3	17.6	15.5	15.1	12.6	11.6	11.4	10.6	10.3	11	11.1	11.2	10.1	9.7	8.9
			14.0-31.1	13.1-28.3	12.4-26.1	12.2-24.5	11.1-21.0	11.2-19.7	9.8-15.9	9.4-14.0	9.7-13.4	9.1-12.3	8.5-12.2	8.9-13.5	8.6-14.2	8.3-14.7	7.2-13.6	6.6-13.3	6.0-12.6
	Xiong County	130638	20.2	19.1	18.1	16.6	17.2	17.3	16	15.6	16	14	12.8	13.1	12.5	11.8	11.5	10.6	9.8
			16.8-23.9	16.0-22.5	15.3-21.1	14.1-19.2	14.8-19.8	15.0-19.7	14.2-17.9	14.2-17.1	14.7-17.3	13.0-15.1	11.9-13.9	12.1-14.3	11.4-13.8	10.7-13.2	10.3-12.8	9.4-11.9	8.6-10.9
	Xuanhua District	130705	32.5	29.4	31.5	29.9	28.7	28.7	29	28.2	29.6	24.6	26.1	21.7	18.4	17.3	15.1	13.8	12.3
			23.1-43.6	21.6-38.8	23.7-40.9	23.4-37.7	22.9-35.1	23.8-33.9	25.0-33.1	25.2-31.3	26.8-32.7	21.8-27.7	22.1-30.5	17.3-26.4	14.0-23.3	12.8-22.5	10.7-20.3	9.3-18.8	8.0-17.2
	Xuanhua County	130721	29	29.1	30.6	31.5	33.4	33.9	34.2	33.4	34.8	32.9	29.9	28.6	26.7	23.9	20.7	18.1	16.2
			24.9-33.4	25.1-33.6	26.4-35.2	27.0-36.1	28.6-38.2	29.3-38.9	30.1-38.8	29.7-37.5	31.2-38.5	29.6-36.2	27.0-33.0	25.8-31.7	24.0-29.7	21.6-26.6	18.6-23.0	16.2-20.1	14.4-17.9
	Xushui County	130625	27.7	26.8	25.9	24.8	24.3	24.2	22.6	20.4	17.2	15.1	13.8	13.8	13.4	12.3	11.1	9.8	8.6
			23.8-31.9	23.3-30.8	22.6-29.7	21.4-28.4	21.1-27.6	21.3-27.1	20.2-25.0	18.5-22.3	15.8-18.6	13.9-16.3	12.7-15.1	12.6-15.2	12.0-14.9	10.9-13.9	9.8-12.7	8.5-11.1	7.4-9.7
	Yangyuan County	130727	25.3	26.4	26.4	29.5	29.4	30.5	31	27.9	26.1	26	24.3	23.1	20.1	17.2	15.2	13.6	11.8
			20.8-30.2	22.1-31.2	22.2-31.2	25.1-34.5	25.1-34.1	26.3-34.9	27.4-35.0	24.8-31.4	23.4-29.1	23.3-28.8	21.6-27.0	20.4-25.9	17.4-22.8	14.8-19.8	13.0-17.6	11.5-15.8	9.9-13.8
	Yanshan County	130925	42.7	39.3	37.6	37.2	35.3	31.6	29.1	27.7	23.7	20	17.4	15.5	13.2	12.8	13.3	12.9	12.5
			36.4-49.5	33.6-45.7	32.1-43.9	31.8-43.3	30.4-41.2	27.6-36.4	25.7-32.8	25.1-30.5	21.8-25.7	18.3-21.7	15.7-19.3	13.6-17.7	11.4-15.3	11.0-14.9	11.4-15.4	11.0-14.8	10.7-14.3
	Yi County	130633	29	26.5	24.5	23.1	21.8	20.5	18.4	17.1	15.9	14.2	12.5	12.6	12.5	12.4	12	11.4	10.4
			22.1-37.1	21.0-32.9	20.5-29.1	20.0-26.4	19.0-24.9	17.5-24.0	15.2-22.4	13.8-21.3	12.6-20.3	11.2-18.3	10.0-16.0	10.3-15.4	10.5-14.9	10.8-14.4	10.6-13.7	10.0-12.9	9.0-11.9
	District	130804	34.4	32	31	28.2	26.2	27.3	25.7	26	19	18.4	15.2	13.5	13	13.5	12.8	12	11
			27.1-42.1	25.3-39.5	25.0-38.1	22.8-34.9	21.3-31.9	22.6-32.8	21.6-30.5	22.1-30.5	16.2-22.1	15.7-21.2	13.0-17.5	11.6-15.7	11.0-15.1	11.4-15.8	10.7-15.0	10.1-14.1	9.2-12.9
	Yongnian County	130429	28.5	29.7	31.3	36.4	33.3	32.4	31.2	28.1	26.2	27	22.8	19.9	17.8	17.1	15.6	15.5	16.4
			23.8-33.4	25.2-34.7	26.5-36.4	31.1-42.2	28.6-38.0	28.3-36.8	27.9-34.8	25.6-30.8	24.2-28.2	25.0-29.0	21.0-24.6	18.2-21.7	16.1-19.7	15.3-19.1	13.8-17.5	13.7-17.6	14.3-18.4
	Yongqing County	131023	28.2	26.3	27.3	26	25.6	25.1	24.2	21	19.7	16.8	15.1	14.3	13.8	13.2	13.5	12.8	12.1
			24.2-32.8	22.5-30.7	23.3-32.0	22.0-30.6	21.7-30.1	21.3-29.2	20.8-28.1	18.4-23.8	17.5-22.1	14.9-18.8	13.4-17.1	12.4-16.3	11.8-15.9	11.5-15.2	11.9-15.3	11.4-14.3	10.8-13.5
	Yu County	130726	24.9	24.8	25.9	25.8	28	29.2	31.5	29.7	29.2	25.6	22.4	18.3	16	13.3	11.6	10.4	9.1
			21.5-28.7	21.4-28.9	22.0-30.3	22.0-30.4	23.8-32.8	24.9-33.9	27.1-36.3	26.2-33.5	26.3-32.3	23.2-28.2	20.1-24.9	16.2-20.6	14.0-18.3	11.6-15.1	10.3-13.2	9.2-11.6	8.1-10.2
	Yuanshi County	130132	27.8	29	29.1	32.5	34.5	34.2	36.3	35.4	33.3	34.2	33.7	30.7	29.1	26.5	24.1	21.9	19.9
			23.8-32.3	24.8-33.6	25.0-33.6	27.7-37.5	29.6-39.6	29.5-39.1	31.8-41.3	31.3-39.7	29.7-37.1	30.7-37.8	30.3-37.5	27.5-34.2	26.1-32.5	23.9-29.6	21.8-26.9	19.7-24.4	17.7-22.0
	Yuhua District	130108	21.2	20.3	20	20.9	21.1	23.3	23.3	21.9	19.1	17.2	15.6	16.1	15.5	14.1	12	11.3	10.3
			17.8-24.8	17.2-23.7	17.0-23.2	17.9-24.2	18.2-24.2	20.3-26.3	20.8-26.0	19.9-24.1	17.6-20.8	15.8-18.6	14.3-17.0	14.6-17.7	13.9-17.3	12.5-15.9	10.6-13.6	9.9-12.9	8.9-11.7
	Yunhe District	130903	20	15.3	15	13.3	11.1	10.7	11.2	10	10.1	11.2	10.5	10.4	11.1	11.7	11.4	11.9	11.2
			17.2-23.1	13.1-17.7	12.8-17.5	11.4-15.5	9.5-12.9	9.3-12.4	9.9-12.7	9.0-11.1	9.2-11.2	10.1-12.5	9.3-11.9	9.0-12.0	9.6-12.9	10.1-13.5	10.0-12.9	10.6-13.3	10.0-12.5
	Yutian County	130229	20.3	20.4	20.9	20.4	19.6	19.5	21.3	21.7	20.9	19	17.4	16	14.9	13.4	13.4	12.8	12.3
			17.6-23.5	17.8-23.6	18.1-24.0	17.6-23.4	16.9-22.3	16.9-22.2	18.7-24.0	19.3-24.1	18.9-23.0	17.3-20.8	15.8-19.1	14.5-17.6	13.4-16.4	12.1-14.9	11.9-14.9	11.3-14.4	10.8-13.9
	Zanhuang County	130129	36.3	37.9	37.3	34.2	33.1	30.7	29.6	28.4	29.5	30	30.2	27.9	25.8	25.8	25.4	23.9	22.5
			29.4-43.6	31.2-45.6	30.8-44.7	28.6-40.6	27.9-38.8	26.2-35.9	25.7-33.8	25.2-31.9	26.7-32.7	27.3-33.1	27.4-33.3	25.1-31.0	23.0-28.9	22.7-29.1	22.3-29.1	20.7-27.4	19.3-25.7
	Zaoqiang County	131121	31.2	32.2	32	31.6	31.2	30.7	28.2	25.1	24.7	23.3	22.7	22.6	23.2	23	22.8	21.9	21.1
			27.0-36.1	27.8-37.6	27.2-37.6	26.7-37.4	26.2-36.7	25.9-35.9	24.1-32.7	21.8-28.7	21.8-27.8	20.5-26.1	19.9-25.7	19.6-26.0	19.9-26.9	19.9-26.6	19.9-26.0	19.5-24.5	18.9-23.6
	Zhangbei County	130722	43.5	44.2	43.4	42.5	42.5	40.9	40.6	36.8	34.3	30.4	27.2	24.1	21	18.7	16	14.3	12.9
			37.6-50.3	38.1-51.5	37.0-50.8	36.1-50.0	36.0-49.8	35.0-47.4	35.0-46.7	32.7-41.3	31.1-37.8	27.6-33.2	24.5-30.1	21.4-27.2	18.4-24.0	16.3-21.5	13.9-18.3	12.4-16.2	11.1-14.7
	Zhao County	130133	36.8	36.8	36.6	34.8	34.1	31.5	29.5	28.1	27.6	26.5	27.3	26.5	25.3	21.9	20.5	18.2	16.5
			26.3-49.3	26.6-48.2	27.6-46.9	27.2-43.3	27.8-41.1	26.6-36.8	25.7-33.5	25.0-31.1	24.9-30.4	23.6-29.7	23.5-31.4	21.9-31.6	19.9-31.4	16.5-28.0	14.7-27.0	12.4-24.7	10.9-22.8
	Zhengding County	130123	25.8	25.5	25.4	27.7	27.9	28.4	28.4	28.7	28.4	28	27.8	25.6	24.9	23.1	20.6	18.6	17.2
			22.2-29.7	21.9-29.7	21.7-29.7	23.6-32.3	23.8-32.5	24.5-32.9	24.7-32.4	25.5-32.1	25.7-31.2	25.5-30.7	24.9-30.9	22.5-29.0	21.7-28.6	20.2-26.5	18.3-23.3	16.6-20.8	15.4-19.2
	Zhuolu County	130731	31.3	32.2	32.1	32.2	32.6	32.8	32.5	26.9	24.8	23.2	19.8	17.2	16.2	15.2	13.8	12.8	11.9
			20.6-45.0	21.7-45.8	22.0-45.3	22.8-44.5	23.8-43.9	24.6-42.0	25.5-40.4	22.2-32.1	21.1-28.8	19.7-27.1	16.2-23.8	13.6-21.5	12.2-21.2	10.9-20.7	9.6-19.1	8.4-18.0	7.7-17.3
	Zhuozhou City	130681	20.7	19.6	18.7	18.6	18.9	21.2	19.7	18.1	16.8	15.5	15.2	14.6	14.8	15	13.3	12.7	11.7
			17.9-23.9	16.9-22.8	16.0-21.7	15.9-21.6	16.3-21.9	18.6-24.2	17.6-22.1	16.6-19.8	15.5-18.2	14.1-17.0	13.4-17.0	12.8-16.7	12.8-17.1	12.9-17.3	11.5-15.2	11.0-14.4	10.1-13.4
	Zunhua City	130281	18	19.4	19.1	19.3	18.5	18.6	17.3	16.7	16.1	15	12.5	12.1	11.1	10.1	12.8	12.3	11.9
			14.9-21.5	16.4-22.9	16.2-22.5	16.4-22.5	15.8-21.4	16.1-21.3	15.2-19.8	14.7-18.9	14.3-18.2	13.2-16.8	11.0-14.2	10.5-13.9	9.5-12.9	8.6-11.9	10.8-15.1	10.3-14.5	9.9-14.1
Heilongjiang	Acheng District	230112	22.8	22.2	22.8	22.3	21.2	25.1	26.6	27.2	28.1	27.3	24.7	22	19.2	16.9	15.3	14.8	13.9

Province	County	County Code (2012)	Under-5 Mortality Rate (per 1000 births)																
			1996	1997	1998	1999	2000	2001	2002	2003	2004	2005	2006	2007	2008	2009	2010	2011	2012
			17.7-28.3	17.5-27.2	18.0-28.1	17.6-27.8	16.6-26.4	19.9-31.0	21.2-32.7	21.6-33.3	21.9-35.1	21.3-34.7	19.2-31.1	17.3-27.4	15.3-23.7	13.8-20.3	12.7-18.3	12.4-17.5	11.6-16.5
	Aihui District	231102	35.2	33.7	30.5	25.2	19.1	16.6	13.8	10.7	10.5	11.6	12.6	14.6	17.7	17.9	15.1	14.4	13.4
			25.4-46.0	25.2-43.2	23.3-38.8	19.7-31.6	15.1-23.4	13.4-20.1	11.4-16.5	8.9-12.7	8.8-12.4	9.7-13.7	10.3-15.1	11.8-17.7	14.2-21.4	14.3-21.7	12.0-18.4	11.4-17.6	10.5-16.5
	Aimin District	231004	27	27.6	28.7	28.7	30.1	30	27.2	27.1	34.6	30.6	27.9	26.3	23.8	18.5	14.3	12.7	10.6
			17.1-39.7	17.5-40.5	18.7-41.6	19.4-40.3	20.8-41.2	21.4-40.3	20.0-35.5	20.8-35.3	27.4-42.9	24.9-37.5	22.5-34.4	20.9-33.1	18.3-30.9	13.4-25.0	9.9-19.9	8.4-18.0	6.8-15.5
	Anda City	231281	24.2	22.8	22.7	20.5	19.2	20.7	20.7	20.4	19.8	18.8	17.1	16.2	14.6	14.2	16.7	16.2	15.8
			17.6-31.7	16.9-29.5	17.3-28.7	15.7-25.9	14.6-24.4	15.4-27.2	14.8-28.2	14.1-29.0	13.3-28.5	12.8-27.2	12.1-24.0	11.8-22.4	10.8-19.4	11.0-18.0	13.5-20.0	13.4-19.1	12.7-19.0
	Ang'angxi District	230205	32.1	28.6	26	23.2	22	20.8	18.4	17.8	18	16.8	15.6	14.9	14.1	13.5	13.3	12	11.3
			20.2-47.6	17.7-42.7	16.8-38.1	15.2-33.2	14.7-30.9	14.1-28.8	12.8-25.0	12.9-24.2	13.5-23.8	12.8-22.1	11.9-20.4	11.2-19.9	10.4-19.3	9.7-18.9	9.1-19.0	8.0-17.3	7.3-16.4
	Baiquan County	230231	53.5	47.7	43.6	39.2	36.7	30.6	24.1	21.3	18.8	16.4	15.7	15.7	16.2	15	14.1	12.8	11.5
			39.0-70.4	35.9-61.7	34.1-54.6	31.6-48.5	29.7-44.2	24.3-37.4	18.6-30.4	16.4-27.4	14.2-24.5	12.3-21.6	12.1-20.3	12.3-19.9	12.9-20.0	12.2-18.1	11.5-16.8	10.4-15.3	9.0-14.2
	Baoqing County	230523	26.1	27.6	28.3	26.7	28.7	29.6	30.6	28.2	25.6	23.8	22.6	19.7	17.4	16.3	14.5	13.1	11.8
			19.3-34.0	20.9-34.7	22.0-35.7	20.9-33.3	22.6-35.7	24.0-36.0	24.9-36.6	23.3-33.2	21.6-30.0	20.1-27.8	19.1-26.5	16.4-23.4	14.4-20.8	13.4-19.5	11.9-17.3	10.6-15.7	9.4-14.2
	Baoshan District	230506	23.5	25.9	27.3	29.7	30.4	31.9	32.8	30	29.1	23.4	18.8	17.2	17.9	17.1	16.6	15.5	14.3
			15.5-33.6	17.8-36.1	19.1-37.7	21.6-40.5	22.6-41.0	24.1-41.9	25.3-42.3	23.5-38.5	22.9-36.6	18.3-29.6	14.3-23.9	13.0-22.1	13.4-23.1	12.8-22.1	12.5-21.5	11.5-20.1	10.6-18.7
	Bayan County	230126	26.5	26.5	25.3	25.4	23	21.7	17.7	25.3	23	23.7	23.1	20.3	17.3	17.5	17.5	17.2	17.3
			18.3-36.4	18.5-35.9	18.0-33.3	18.9-32.6	17.7-28.8	17.0-26.8	14.3-21.3	21.0-29.9	19.4-26.7	20.2-27.5	19.1-27.3	16.3-24.4	13.4-21.4	13.1-22.2	12.8-23.0	12.0-23.1	11.5-23.9
	Bei'an City	231181	29.5	28.7	27.5	24.2	20.8	18.3	19.2	17	17.6	19.4	19.6	18.2	18.8	17.9	16	14.7	13.6
			22.0-38.2	21.8-36.6	21.2-34.6	18.9-30.4	16.2-26.4	14.0-23.2	14.5-24.9	12.7-22.2	13.0-23.1	14.6-25.5	15.3-25.3	14.6-22.6	15.4-22.9	15.0-21.1	13.5-18.6	12.4-17.1	11.2-16.2
	Beilin District	231202	33	30.7	28.8	25.4	20	17.5	17.2	14.2	12	9.8	11	10.7	12	13.4	15	14.8	14.3
			24.2-42.6	23.5-38.7	22.3-35.5	20.2-31.2	15.8-25.1	13.3-22.7	12.7-23.2	10.2-19.3	8.5-16.5	7.0-13.4	8.0-14.9	7.9-14.0	9.1-15.3	10.4-16.8	11.7-18.5	11.7-18.3	11.1-18.0
	Bin County	230125	31.7	30.3	28.9	27.2	24.3	22.6	18.6	18.2	15.7	16.6	15.6	15.2	15.5	15.8	15.7	15	14.6
			22.5-42.0	22.3-39.1	22.1-36.8	21.1-34.5	19.1-30.4	18.3-27.4	15.3-22.1	15.3-21.3	13.3-18.1	14.1-19.4	13.0-18.3	12.5-18.3	12.6-18.7	12.8-19.1	12.7-19.1	12.0-18.3	11.5-17.9
	Boli County	230921	34.2	36.7	36.2	37.1	38.5	39.4	37.2	30.9	27.7	22	17.9	17.2	16.2	14.6	15.1	13.8	13
			24.2-46.2	26.5-48.6	27.1-47.1	28.8-46.7	30.9-47.1	32.2-47.2	31.2-43.7	26.6-35.8	23.5-31.7	18.6-25.7	14.6-21.4	13.4-21.3	12.3-20.9	10.5-19.3	10.4-20.9	9.2-19.4	8.2-18.6
	Chengzihe District	230306	20.5	20.4	20.3	19.9	21.7	22.7	22.8	19	22.1	17.6	17.1	15.3	12.5	10.3	9.5	8.8	8.1
			13.3-29.7	13.6-29.6	13.9-29.1	13.8-28.2	15.6-30.1	16.3-30.9	16.8-30.5	14.3-25.0	16.8-29.0	13.3-23.0	12.8-22.4	11.2-20.2	9.1-16.6	7.5-13.7	6.9-12.9	6.4-11.8	5.8-10.9
	Cuiluan District	230706	31.1	32.7	33.5	32.4	30.3	32.5	28.3	28.4	26	28.1	21.2	21.1	20.5	18.3	17.3	16.5	15.6
			19.6-46.0	20.5-48.2	21.9-48.7	21.6-45.8	20.6-42.0	22.3-44.5	20.2-37.9	20.7-38.2	19.4-34.4	21.0-37.0	15.8-28.3	15.4-29.1	14.6-28.9	12.6-26.7	11.4-26.0	10.5-24.9	9.7-23.6
	Dailing District	230713	29.9	31.5	34.9	35.2	29.1	28.4	25.4	24.5	24.6	22.4	20.1	18.1	16.8	15.3	13.2	12.8	12.1
			19.2-43.9	20.7-46.3	23.3-51.4	23.6-51.4	19.7-42.4	19.2-41.0	17.5-35.9	17.1-34.1	17.4-34.1	15.7-31.0	13.9-27.9	12.4-25.3	11.4-23.4	10.5-21.4	8.9-18.5	8.9-17.6	8.3-16.9
	Daoli District	230102	21.7	22.2	21.9	22.2	19.8	20.4	20.2	18.2	18.5	18.2	17.3	16.6	15.5	15	14.9	15.4	15
			16.5-27.4	17.3-27.5	17.3-27.2	17.4-27.8	15.5-25.0	16.0-25.5	15.8-25.2	14.6-22.3	14.9-22.5	14.8-22.1	14.1-21.0	13.5-20.2	12.7-18.6	12.5-17.8	12.5-17.5	12.9-18.1	12.5-17.8
	Daowai District	230104	20	19.9	19.9	19.2	17.7	20.6	20	20.7	20.8	20	18.4	16.7	16.4	15.3	15.2	15.3	15.2
			15.2-25.5	15.2-25.1	15.5-24.6	15.3-23.4	14.2-21.5	16.7-25.0	16.2-24.1	16.8-24.8	16.7-25.4	16.1-24.6	14.5-22.8	13.1-20.9	12.9-20.6	11.9-19.4	11.5-19.4	11.3-19.7	10.9-19.8
	Datong District	230606	24.2	24.7	23.4	22.9	21.7	20.5	21	19.3	18	17.2	17.1	15.1	14.4	14.1	15.3	14.8	14.4
			17.2-32.7	18.1-32.9	17.8-30.3	17.6-29.1	16.9-26.7	16.4-24.9	17.2-24.9	16.1-22.4	15.4-20.7	14.5-20.0	14.1-20.3	12.0-18.5	11.0-18.3	10.3-18.5	10.6-20.8	10.0-20.5	9.3-20.4
	Didao District	230304	18.3	20.4	21.4	20.9	22.9	23.5	24.3	22.3	22	19.5	18.2	16	13	9.6	8.4	7.6	7.1
			11.3-27.8	12.5-30.6	13.6-31.7	13.6-30.1	15.1-32.4	15.7-33.2	16.7-33.6	15.6-30.6	15.9-30.0	14.0-26.6	13.1-25.3	11.2-22.8	8.9-19.0	6.4-14.4	5.4-13.0	4.8-11.9	4.4-11.0
	Dong'an District	231002	34.6	29.6	28.8	28.9	30.4	29.9	25.5	29.6	33	26.5	25.7	23.1	20.4	17.2	13.3	12.7	11.1
			22.3-50.3	19.3-42.9	19.1-41.3	19.9-40.4	21.5-41.2	21.8-39.8	19.4-32.6	23.4-36.9	27.3-39.4	22.5-31.2	21.6-30.2	19.1-27.5	16.1-25.0	13.0-22.1	9.5-17.7	8.7-17.3	7.3-15.6
	Dongfeng District	230805	26.2	24.2	23	22.7	22.4	22.2	19.7	17.9	16.8	15.3	14.6	15	15.5	15.6	14.1	13.6	13.3
			16.1-39.7	14.8-36.6	14.6-34.0	14.5-33.3	14.5-32.2	14.5-32.1	13.2-28.4	12.2-25.2	11.6-23.7	10.6-21.8	10.1-21.0	10.2-22.0	10.4-23.3	10.1-23.7	8.8-22.0	8.4-21.8	8.1-21.1
	Dongfeng District	230811	29	28.9	28.3	27.8	27.2	27.2	23.7	21	19.1	17.6	16.9	17.8	19.3	19.7	18.4	17.2	16.5
			18.2-43.2	17.8-43.1	18.2-41.5	18.2-39.8	18.2-38.4	18.5-37.8	16.5-32.4	15.1-28.6	14.3-25.5	13.4-23.3	12.9-22.1	13.5-23.8	14.4-26.1	14.3-27.0	12.8-25.9	11.6-24.5	10.8-23.8
	Dongning County	231024	38.7	38.5	37.8	34.4	34.9	35.1	32.3	33.7	36.2	35	30.5	28	22.9	20.6	16.9	15	13.5
			24.8-56.3	24.8-55.8	24.8-54.1	23.5-47.9	24.5-47.3	25.4-46.5	24.3-41.6	26.2-42.6	29.3-44.2	29.2-41.6	25.2-36.4	22.8-34.0	18.0-28.6	15.4-26.6	12.0-22.6	10.2-20.9	8.8-19.1
	Dongshan District	230406	34.1	33.8	32.9	34.2	33.5	33.8	32.2	27.8	22	21.6	18.5	16.5	16.4	14.4	13.5	12.6	11.7
			22.2-49.0	22.2-48.2	22.0-46.2	24.1-46.5	24.0-44.4	25.0-44.5	24.6-41.2	21.7-35.2	17.4-27.6	17.2-27.3	14.4-24.1	12.5-22.0	12.0-22.7	10.0-20.6	9.0-19.9	8.0-18.7	7.2-17.6
	Zizhixian	230624	27.5	25.7	25.2	23.7	25.8	27.4	28.2	26.9	25.2	24	22.4	20.4	21.2	18.7	17.7	16.6	15.1
			20.5-35.4	19.6-32.4	19.5-31.7	18.7-29.4	20.6-31.2	22.3-32.6	23.4-33.4	22.5-31.6	21.1-29.6	19.9-28.4	18.4-26.7	16.5-24.4	17.2-25.2	15.2-22.2	14.5-20.9	13.6-19.5	12.2-18.1
	Fangzheng County	230124	34.8	35.5	35.3	33	30.1	27.7	26.4	21.6	19	19.5	19.6	18.4	17.7	18.2	17.6	17	16.7
			24.7-47.0	25.5-47.1	26.2-45.8	25.2-42.3	23.6-37.0	22.2-33.8	21.6-31.3	17.9-25.2	16.2-21.9	16.5-22.7	16.2-23.4	14.6-22.6	13.4-22.5	13.3-24.2	12.1-24.0	11.3-23.6	10.8-23.8
	Fujin City	230882	29.2	26.9	25.3	22.4	21.1	19.9	19	16.6	13.8	11.9	11.1	10.3	10.5	11.3	11.9	12.3	12.3
			21.7-38.1	20.5-34.6	19.8-31.7	17.9-27.7	16.9-25.8	15.6-24.7	14.5-24.1	12.6-21.4	10.4-17.9	9.1-15.7	8.6-14.2	8.2-12.9	8.5-12.8	9.5-13.4	10.1-13.9	10.3-14.3	10.1-14.7
	Fuyu County	230227	34.9	32	30.4	28	27.1	25.1	25	24	21.6	20.1	20.4	17.6	16.7	14.9	13.4	11.9	10.5
			26.0-45.7	24.3-41.2	23.6-38.3	22.2-34.3	21.5-33.1	19.6-31.2	19.1-31.5	18.3-30.7	16.2-27.8	15.3-26.1	15.8-26.1	14.0-21.8	13.7-20.3	12.4-17.6	11.3-15.6	9.9-13.9	8.4-12.6
	Fuyuan County	230833	58.4	58	57.4	55.7	49.5	43.4	32.1	20.8	20.6	20	19.1	16.4	17.8	17.3	15.5	14.6	14.1
			43.0-75.2	44.6-73.2	45.0-70.4	44.7-67.9	39.7-61.3	33.0-55.8	23.7-43.6	14.9-28.8	14.4-28.9	13.7-27.9	13.1-26.6	11.4-22.6	12.4-24.2	12.3-23.0	11.1-20.6	10.6-19.5	10.1-18.8
	Gannan County	230225	22.2	20.4	18.8	16.2	14.7	14	15.9	16	17.8	17.2	16.3	14.8	14	13.5	12.7	11.7	11
			16.6-28.5	15.6-25.6	14.6-23.6	12.9-19.9	11.8-17.8	11.4-16.6	13.2-18.7	13.5-18.7	14.9-21.0	14.3-20.3	13.4-19.5	12.0-17.7	11.4-16.7	10.9-16.0	10.3-15.0	9.5-13.7	8.8-13.2
	Gongnong District	230403	27.1	29.5	24.6	23.3	21	19.4	16.2	14.4	12.1	10.8	9.6	9.3	9.7	10.2	10	9.8	9.5
			19.7-35.6	22.2-37.6	19.0-30.8	18.5-28.7	16.9-25.2	15.8-22.9	13.5-18.9	12.3-16.7	10.3-14.1	9.1-12.7	7.9-11.7	7.3-11.4	7.6-12.2	7.8-12.9	7.6-12.8	7.4-12.5	7.1-12.3
	Hailin City	231083	33.4	32.6	31.4	30.6	30.1	27.4	26.3	26.9	28.5	28.8	28	24	22	20.1	16.8	15	13.6
			23.9-44.0	24.1-41.9	24.0-40.1	23.6-39.0	23.7-38.0	22.0-33.7	21.7-31.5	22.5-31.7	24.2-33.1	24.5-33.4	23.4-33.2	19.7-28.9	17.6-26.7	15.9-24.6	13.3-20.6	11.7-18.7	10.5-17.0

Province	County	County Code (2012)	Under-5 Mortality Rate (per 1000 births)																
			1996	1997	1998	1999	2000	2001	2002	2003	2004	2005	2006	2007	2008	2009	2010	2011	2012
	Hailun City	231283	51.6	50.3	48.7	50	44.5	40.4	34.9	30.8	26	26.2	22	19.9	18.4	16.3	14.6	14.4	14.1
			38.3-66.3	38.4-63.2	38.0-60.9	39.6-61.5	35.5-54.1	32.8-48.4	28.3-41.7	25.3-36.8	21.5-30.9	21.7-31.3	18.0-26.3	16.1-23.8	15.0-22.0	13.1-19.5	11.6-17.4	11.5-17.3	11.2-17.1
	Hengshan District	230303	24.6	25.2	25.4	25.5	22.9	23.2	21.9	17.5	18.7	19.4	15.1	12.9	12.6	12	11	10.2	9.8
			16.3-35.2	17.1-35.7	17.8-35.6	18.2-35.4	16.7-31.5	16.9-31.3	16.5-29.0	13.2-22.9	14.3-24.3	14.7-25.1	11.4-19.8	9.5-16.9	9.2-16.5	8.9-15.9	8.0-14.5	7.5-13.5	7.1-13.0
	Honggang District	230605	24.2	24	23.6	24.6	24.2	24.6	24.1	26.1	23.9	22.7	21.3	19.7	17.7	16.8	16.7	16.3	15.4
			17.1-33.0	17.1-31.9	17.4-30.8	18.7-31.5	18.8-29.8	19.7-30.0	19.8-28.7	21.7-30.6	20.4-27.6	19.3-26.3	17.8-25.4	15.8-23.9	13.7-22.1	12.3-22.0	11.6-22.6	11.0-22.3	10.0-21.7
	Hongxing District	230715	37.9	38.2	40.2	38.7	30.4	29.3	27.2	23.7	27.7	25.2	22.1	19.7	19.3	15	14.9	14.3	13.6
			24.4-55.0	25.3-55.5	27.0-58.9	26.2-56.0	20.8-43.9	19.9-41.8	18.9-38.1	16.6-32.7	19.8-37.9	17.9-34.5	15.5-30.3	13.6-27.3	13.3-26.7	10.3-20.9	10.2-20.7	10.1-19.7	9.4-18.8
	Huachuan County	230826	28.1	28	28.2	26.8	26.7	27.9	26.9	27.1	24.1	23.2	20.1	18.5	17.1	15	13	12.6	12
			18.6-39.7	18.7-39.3	19.6-39.0	19.1-36.2	19.8-34.9	21.4-35.4	21.7-32.7	22.6-31.7	20.7-27.9	19.8-26.9	16.8-23.6	15.0-22.1	13.3-21.4	11.0-19.6	9.0-17.6	8.4-17.4	7.7-16.9
	Huanan County	230822	33.2	33.3	33.5	33.4	31.6	29.4	26.1	23.8	20.9	20.4	18.8	17.9	17	15	14.5	13.7	13.1
			24.5-43.7	25.3-43.1	26.1-42.2	26.5-41.0	25.1-38.4	23.0-36.4	19.9-32.9	18.1-30.5	15.7-27.0	15.7-26.7	14.6-24.0	14.3-22.3	13.9-20.6	12.5-17.7	12.2-16.9	11.4-16.0	10.5-15.8
	Hulan Ergi District	230206	39.3	37.9	34.2	31.5	32.5	30.2	22	23.8	28.4	24.9	25.7	25	27.8	27.5	29.8	28.4	26.7
			25.2-57.0	24.7-55.0	22.7-49.4	21.3-44.7	22.3-44.4	21.1-40.7	15.8-29.5	17.4-31.7	21.5-37.4	18.8-32.6	19.2-33.6	18.2-33.4	19.6-38.5	19.2-38.7	20.0-43.2	18.5-41.5	16.9-39.8
	Hulan District	230111	20.3	20	19.8	19.5	17	14.6	13.8	13.2	11	11.5	11.7	11.1	10.8	10.5	10.8	11.1	11.1
			14.5-26.8	14.7-25.7	15.3-25.2	15.3-24.5	13.5-21.1	11.9-17.7	11.3-16.3	11.0-15.4	9.3-12.9	9.8-13.4	9.9-13.7	9.2-13.2	8.9-12.9	8.6-12.5	8.9-12.9	9.0-13.2	8.9-13.3
	Hulin City	230381	19.7	20.7	21	21.4	22.8	22	22.7	19	16.2	15.2	14.7	12.4	10.9	10.2	8.8	8.1	7.5
			14.7-25.4	15.9-26.0	16.3-26.2	17.0-26.4	18.3-27.6	17.8-26.2	18.9-26.9	16.1-22.4	13.7-19.0	12.8-17.9	12.2-17.4	10.1-14.9	8.9-13.1	8.3-12.3	7.0-10.5	6.4-9.8	5.9-9.1
	Huma County	232721	33.5	32.7	31	28.3	29.6	26.5	22.7	18.4	17.3	15	12.7	12.1	11.6	11.5	10.2	9.9	9.1
			22.5-47.2	22.5-46.1	21.7-43.4	20.1-39.5	21.4-40.8	19.2-35.9	16.6-30.4	13.6-24.5	12.9-23.0	11.1-19.9	9.3-16.9	8.7-16.3	8.3-15.7	8.2-15.6	7.2-13.7	7.1-13.3	6.5-12.3
	Jianhua District	230203	25.8	24.3	20.6	19.8	21	22	20.1	21.7	24.6	22.5	19.2	17.4	16.4	14.3	11.4	11	10.1
			17.1-36.8	16.0-34.3	13.9-28.6	14.0-26.6	15.4-27.4	16.7-28.2	15.8-25.1	17.6-26.5	20.4-29.5	18.6-27.3	15.5-24.1	13.6-22.3	12.2-21.7	10.1-19.7	7.7-16.3	7.1-15.9	6.3-15.0
	Jianshan District	230502	25.4	28.7	29.5	27.6	26.7	25.2	21.1	18.9	20.8	19.1	19.2	20.4	19.5	15.1	12.1	11.1	9.9
			17.9-34.0	21.0-37.2	22.4-37.8	21.4-34.9	21.0-33.2	20.4-30.5	17.5-25.1	15.9-22.0	17.7-24.1	16.4-22.2	16.2-22.8	16.8-24.7	15.7-23.7	12.0-18.4	9.6-14.8	8.6-13.7	7.7-12.4
	Jiayin County	230722	28.2	29.4	29.7	25.8	24.1	22.9	21.1	15.6	19.1	18.9	17.4	18.9	20.7	16.7	16.3	15.2	14.2
			19.1-39.5	20.6-40.6	21.1-40.6	18.7-34.8	17.9-32.6	17.2-30.6	16.3-27.5	12.1-20.2	14.9-24.2	14.6-24.0	13.2-22.1	14.2-24.3	15.5-26.7	12.4-21.6	12.2-21.2	11.3-19.9	10.4-18.7
	Jidong County	230321	17.5	17.4	16.5	14.3	14.9	14.5	16.4	16.2	16.1	13.4	13.3	10.7	8.6	7.8	8.5	8	7.6
			12.3-23.5	12.7-22.8	12.5-21.3	11.0-18.3	11.7-18.9	11.6-17.9	13.4-19.7	13.5-19.3	13.4-19.0	11.1-16.2	10.6-16.2	8.4-13.3	6.6-10.8	5.9-9.9	6.5-10.8	6.0-10.3	5.6-9.8
	Jiguan District	230302	19.7	19	19.6	18	25.8	27.6	26.2	24.8	25.5	19.6	18.2	16.2	14.3	12.3	10.4	9.8	9
			12.8-28.5	12.4-27.3	13.0-27.6	12.6-24.6	18.6-34.0	20.7-35.8	20.4-33.2	19.9-30.8	20.9-30.9	16.0-24.1	14.5-22.9	12.6-21.0	10.7-19.2	8.7-16.9	7.0-14.8	6.3-14.1	5.6-13.3
	Jinshantun District	230709	25.6	25.6	25.2	24.1	22.8	22.3	17.6	16.1	16.3	16.3	12.8	12.6	12.2	10.9	10.6	10.2	9.8
			17.3-35.7	18.0-35.0	18.0-33.9	17.7-32.4	17.0-30.4	16.9-29.3	13.6-22.8	12.6-20.7	12.9-20.6	12.6-20.7	9.7-16.4	9.4-16.4	9.0-16.0	8.0-14.4	7.8-14.0	7.4-13.6	7.0-13.1
	Jixian County	230521	34.8	34.9	35.9	37.4	37.1	35.7	33.7	32.4	26.1	21.1	18.7	18	17.5	14.4	12.1	10.1	8.6
			25.9-44.8	26.7-43.7	28.1-44.8	30.1-45.6	30.1-44.3	29.3-42.4	28.1-39.7	27.4-38.1	21.9-30.9	17.6-25.0	15.3-22.4	14.4-22.0	13.9-21.5	11.2-17.7	9.4-14.9	7.8-12.5	6.7-10.9
	Kedong County	230230	31.1	28.5	26	24.2	21.5	17.9	14	14.3	12.8	14.5	16	16.6	17.7	16.5	15.1	13.9	12.7
			23.3-40.2	21.8-36.2	20.1-32.6	19.1-30.1	16.8-27.1	13.7-22.7	10.4-18.4	10.6-19.0	9.4-17.0	10.8-19.3	12.2-20.8	13.3-21.1	14.5-21.6	13.8-19.4	12.8-17.5	11.8-16.2	10.3-15.1
	Keshan County	230229	41.8	36.5	33.2	28.2	22.5	17.1	15.3	14.5	11.8	11.9	14.1	13.3	13.8	14.1	14.3	13	12
			30.9-53.8	28.1-45.6	26.1-41.1	22.3-34.7	18.1-27.5	13.9-20.6	12.6-18.2	12.0-17.2	9.9-13.9	9.9-14.1	11.4-16.9	10.6-16.3	10.9-17.0	10.9-17.4	11.2-17.6	10.1-16.2	9.2-15.0
	Lanxi County	231222	35.3	34.9	33.5	32.1	30.8	28.9	27.4	26.1	23.6	22	19.5	17.1	15.6	14.6	14.5	14.6	14.6
			26.5-45.0	26.5-44.4	26.5-41.9	25.7-39.6	24.5-37.9	23.1-35.6	21.9-33.4	20.9-31.7	19.0-28.8	17.8-26.7	15.6-24.0	13.5-21.1	12.2-19.4	11.2-18.6	10.7-18.8	10.3-19.1	10.0-19.4
	Lindian County	230623	23.2	22.6	22.1	20.4	20.1	19.2	19.8	20.1	20.2	19.3	18.2	15.5	14.7	13.8	13.5	12.7	12.4
			17.4-29.6	17.6-28.2	17.4-27.5	16.0-25.6	15.8-24.9	15.3-23.6	15.8-24.2	16.2-24.2	16.5-24.1	16.0-23.0	15.2-21.8	12.8-18.6	12.2-17.5	11.5-16.3	11.2-15.8	10.6-14.9	10.2-14.8
	Lingdong District	230503	33.5	34.3	31.9	33.2	38.1	38.6	33.5	29.8	31.1	27.3	21.4	19.8	18.3	16.6	15	13.6	12.6
			22.8-46.5	24.1-46.9	22.8-43.0	24.2-44.5	28.4-50.7	29.4-50.4	25.8-43.6	23.1-38.6	24.4-39.7	21.0-35.1	16.0-27.7	14.7-25.9	13.4-24.1	12.0-22.0	11.0-19.9	9.9-18.3	9.0-16.9
	Linkou County	231025	31	31.1	30.7	28.4	30.4	28.6	27.6	26.3	27.8	23.8	23.1	21.7	19.3	17.2	15.6	13.7	12
			19.9-45.1	20.3-45.0	20.3-44.1	19.4-39.9	21.2-41.4	20.7-38.1	20.9-35.5	20.7-32.8	23.1-33.1	20.3-27.7	19.6-26.9	18.2-25.5	15.6-23.3	13.2-21.8	11.1-20.4	9.5-18.6	7.9-16.7
	Lishu District	230305	24.9	25.5	26.1	28.5	29.6	29.5	27	23.2	22.8	23.3	22.5	20.6	19.3	17.4	14.5	13.5	12
			16.3-35.8	16.8-36.4	17.4-36.6	19.9-38.8	21.2-39.6	21.4-38.9	20.2-34.9	17.8-29.7	17.8-28.8	18.5-29.4	17.4-29.0	15.7-27.4	14.3-26.4	12.2-24.5	9.7-21.1	8.7-19.9	7.5-18.0
	Longfeng District	230603	20.9	21.5	21.4	21.8	22	23.9	21.9	21.7	20.1	17.3	15.4	15.4	13.9	11.6	11.8	11.9	11.1
			14.3-28.3	15.4-28.5	15.9-27.8	16.6-28.0	17.1-28.3	19.1-29.5	17.9-26.4	18.1-25.6	17.0-23.5	14.6-20.4	12.7-18.4	12.4-18.8	10.9-17.2	9.0-14.4	9.1-14.8	9.2-15.0	8.4-14.2
	Longjiang County	230221	30.2	24.8	21.7	15.2	14.5	11.4	11.5	13.3	14.3	13.5	16.2	17	15.8	16.4	16.5	14.3	13
			22.5-39.0	18.8-31.6	16.6-27.5	11.9-19.5	11.1-18.9	8.4-15.3	8.1-15.8	9.2-18.6	10.0-20.0	9.4-18.8	11.7-21.8	12.9-22.2	12.1-20.2	12.7-20.2	13.1-20.1	11.5-17.4	10.1-16.2
	Longsha District	230202	27.8	23.2	21.9	21.9	19.8	20.7	22.8	22.8	21.9	22.2	19.1	16	15.6	15	13.1	12.8	11.9
			19.3-38.2	16.2-31.3	15.7-28.8	16.4-27.9	15.5-24.4	16.6-25.3	18.9-27.1	19.3-26.6	18.7-25.3	18.8-25.9	15.6-22.9	12.6-19.7	12.0-19.6	11.1-19.5	9.2-17.8	8.6-17.7	7.7-16.9
	Luobei County	230421	29.4	29.3	27.5	26.3	26.2	23.3	24.9	24.5	23.1	21.5	18.9	16.3	14	13.1	12.1	11.7	11.1
			20.2-39.7	21.0-38.7	20.4-36.0	20.0-34.2	20.2-33.6	18.5-28.9	20.3-30.0	20.6-28.8	19.7-26.5	18.5-24.8	16.2-22.1	13.6-19.4	11.4-16.9	10.5-15.8	9.8-14.7	9.2-14.4	8.7-13.8
	Mashan District	230307	29.5	28.7	29.5	30.9	32.2	32.6	30.3	28.8	29.3	23.9	20.3	17.8	16.4	14	12.3	11.4	10.6
			18.9-42.9	19.0-41.9	19.7-43.2	20.9-44.8	22.4-46.1	22.4-46.5	21.3-42.1	20.5-39.3	21.3-39.5	17.2-32.5	14.4-27.7	12.5-24.4	11.4-22.4	9.7-19.4	8.6-17.0	8.1-15.6	7.3-14.5
	Meilisi Daurzu District	230208	34	31.4	28.2	24.5	23.5	21.6	21.7	21.3	22.3	24.7	23.6	22.8	22.6	20.2	18.3	16.6	15.1
			21.6-49.9	19.9-46.0	18.3-41.0	16.5-34.6	16.1-32.4	15.2-29.3	15.9-28.5	16.1-27.9	17.6-28.0	20.1-30.0	19.2-28.5	18.3-27.7	17.9-28.3	15.2-26.0	13.2-24.2	11.5-22.6	10.1-21.0
	Meixi District	230708	27.3	29.2	29.3	32.6	29.5	30.3	25.1	22.6	23.5	19.9	17.6	15.8	15.8	14.2	12.8	12.5	11.6
			17.5-39.9	19.0-42.4	19.5-42.3	22.2-45.9	20.3-40.1	21.3-40.6	18.1-33.5	16.5-30.1	17.7-31.1	14.9-26.2	13.0-23.4	11.4-21.6	10.9-22.3	9.6-20.5	8.4-19.1	7.9-18.7	7.2-17.7
	Mingshui County	231225	50.9	49.3	49.7	48.4	41.5	35.8	25.2	20.4	14	13.8	11.9	13.8	14.1	15.4	14.6	13.7	13
			37.4-66.6	37.6-63.1	39.3-61.6	39.6-58.6	33.6-49.4	28.8-43.6	19.5-31.7	15.5-26.1	10.4-18.4	10.2-18.2	9.0-15.7	10.5-17.8	10.7-18.1	12.0-19.4	11.4-18.1	10.6-17.0	9.8-16.6
	Mishan City	230382	20.1	18.6	19.5	18.1	19.7	22.2	26.4	26.6	25.2	23.2	21.8	19	15.7	14.9	13.8	12.5	11.5

Province	County	County Code (2012)	Under-5 Mortality Rate (per 1000 births)																
			1996	1997	1998	1999	2000	2001	2002	2003	2004	2005	2006	2007	2008	2009	2010	2011	2012
			14.8-26.2	14.2-23.8	15.1-24.6	14.1-22.7	15.5-24.6	17.9-27.2	21.6-31.7	22.3-31.4	21.1-29.6	19.4-27.5	18.1-26.0	15.6-22.7	12.9-18.7	12.1-17.7	11.3-16.4	10.3-14.9	9.3-13.8
	Mohe County	232723	40.2	36	34.8	33.4	28.4	27.9	26.9	27.2	22.6	21.9	16	15.6	15.2	13.8	12.6	12.2	11.5
			28.1-53.8	26.2-47.3	26.4-45.0	25.7-42.6	22.1-35.9	22.3-34.6	21.8-32.8	22.3-32.8	18.6-27.3	17.7-26.8	12.6-19.9	12.0-19.6	11.6-19.3	10.5-17.6	9.6-16.2	9.2-15.7	8.6-15.0
	Mulan County	230127	29.4	28.3	28.2	26.6	24.1	22.6	19.9	18.9	16.6	15.1	14.7	14.5	14.6	14.8	16.2	15.9	15.7
			22.4-37.1	22.2-34.8	22.1-34.8	20.9-32.8	19.0-30.1	18.1-27.6	16.1-24.0	15.6-22.6	13.6-19.9	12.4-18.2	12.0-17.8	11.8-17.6	12.0-17.5	12.1-17.7	13.4-19.4	13.2-19.1	13.1-18.7
	Muleng City	231085	45.5	44.6	43.9	42.3	45	42.8	35.9	39.2	39.3	35.4	32.7	31.4	25.6	20.9	16.4	14.1	12.2
			31.9-60.7	32.5-58.0	33.1-56.3	32.5-54.3	35.3-56.5	34.6-52.0	29.7-42.9	32.9-45.7	33.5-45.2	30.1-40.9	27.4-38.3	25.9-37.7	20.5-31.1	16.5-25.7	12.9-20.3	11.0-17.6	9.3-15.3
	Nancha District	230703	19.7	20.6	21	27.1	24.9	24.5	22.1	20.5	18.2	13.8	12.8	11.5	10.5	9.8	9.7	9.3	9
			13.0-28.4	14.1-29.3	14.4-30.0	19.0-38.3	17.8-34.6	17.4-33.6	16.2-29.7	15.2-27.2	13.7-24.0	10.4-18.3	9.5-16.8	8.4-15.1	7.7-13.9	7.1-13.0	7.0-12.9	6.9-12.4	6.5-12.0
	Nangang District	230103	17.9	17.5	17	16.7	15.7	16.7	18.5	16.8	16.8	17.7	15.7	13.8	14.2	14.1	13.5	14.6	14.9
			13.7-22.3	13.7-21.8	13.4-21.2	13.1-20.7	12.3-19.3	13.1-20.4	14.6-22.7	13.4-20.5	13.4-20.5	14.2-21.6	12.5-19.2	11.0-16.9	11.5-17.4	11.5-17.0	11.2-16.4	12.2-17.4	12.4-17.6
	Nanshan District	230404	25.9	26	23.6	23.3	23	20.2	20.5	18.8	14.7	15.2	15.7	13.1	12.8	12.4	11.2	10.7	10
			17.2-36.9	17.8-36.1	16.5-32.5	16.8-32.0	17.0-31.7	15.0-27.0	15.4-27.0	14.4-24.6	11.3-19.0	11.6-19.6	11.8-20.4	9.8-17.1	9.4-16.8	9.1-16.4	8.2-14.7	7.8-14.3	7.2-13.3
	Nehe City	230281	28.9	26.6	23.5	22.1	21	20.6	19.9	19.6	19.2	19	17.7	18.5	18.1	16.7	14.7	12.9	11.6
			21.8-36.7	20.4-33.4	18.6-29.0	17.8-27.3	16.9-25.5	16.6-25.0	16.1-24.2	15.9-23.7	15.4-23.4	15.3-23.2	13.9-22.0	14.5-23.2	14.2-22.6	12.9-21.0	11.0-18.7	9.3-16.6	8.0-15.4
	Nenjiang County	231121	62.4	66.5	69.9	75	80.6	63.9	46.7	32	24.4	13.2	14.3	16.1	17.7	17.5	16.3	14.9	13.5
			46.2-82.4	50.0-86.5	53.9-88.5	58.9-91.9	63.8-98.4	50.1-78.3	35.8-58.5	24.4-41.0	18.6-31.5	10.0-17.1	11.2-18.4	12.7-20.4	14.1-21.9	14.0-21.3	13.3-19.7	11.9-18.1	10.5-16.9
	Nianzishan District	230207	34	30.3	30.1	26.1	30	33.1	29.6	26.9	25.5	20.8	17.7	18.3	19	18.8	17.7	16.6	14.7
			22.5-48.5	20.1-43.3	20.5-42.4	18.3-36.1	21.4-40.1	24.3-43.0	22.4-38.1	20.6-34.4	20.0-32.3	16.2-26.4	13.5-22.7	13.5-24.3	13.7-26.2	13.2-26.5	11.7-25.6	10.6-24.4	9.1-22.1
	Ning'an City	231084	37.9	36.8	36.1	34.3	34.1	33.5	28.9	30.6	32.2	29.8	28.9	27.8	24.7	20.2	15.9	13.3	11
			24.0-55.8	23.2-54.1	23.4-52.6	22.9-48.5	23.2-47.3	23.4-45.6	20.7-38.5	22.8-40.5	24.8-41.2	23.7-37.5	23.0-36.1	21.9-35.2	19.2-32.0	14.9-27.0	11.2-21.9	9.0-18.7	7.2-15.9
	Pingfang District	230108	20.6	21.3	21.6	21.3	20.9	21.4	20.6	19.9	18.7	19.7	17.6	15.1	14	13.4	12.1	12.6	12.4
			13.8-29.1	14.3-29.9	14.9-29.5	15.3-28.0	15.7-26.7	16.5-27.0	16.6-25.2	16.3-23.8	15.7-21.8	16.6-22.9	14.5-20.8	12.1-18.4	10.9-17.6	10.0-17.2	8.7-16.1	8.7-17.1	8.2-17.3
	Qianjin District	230804	27.2	22.7	24.2	21.8	22	22	19	16.4	15.3	14	13.5	13.4	14.8	14.8	13.4	13.4	12.9
			16.7-41.1	13.9-34.4	15.3-35.7	13.9-32.0	14.3-31.6	14.3-31.8	12.7-27.4	11.2-23.2	10.5-21.5	9.7-19.8	9.4-19.6	9.1-19.6	9.9-22.2	9.6-22.4	8.4-20.9	8.3-21.4	7.9-20.4
	Qiezihe District	230904	22.1	22.2	22.3	21.6	21.6	21.4	22.1	23.1	20.2	17.8	17.4	16.6	14.3	14.8	14.3	12.7	11.5
			14.6-31.5	15.3-31.0	15.7-31.0	15.6-29.7	16.0-28.9	16.1-28.2	17.1-28.3	18.2-29.2	16.0-25.4	14.1-22.5	13.5-21.9	12.7-21.0	10.9-18.4	11.3-19.0	10.8-18.4	9.6-16.3	8.6-15.0
	Qing'an County	231224	27.3	27.3	26.6	26	25.1	23	22.1	23.4	21.7	23.4	21.9	20.6	19	18.3	16.4	15.6	14.4
			20.7-34.7	21.3-33.9	21.0-32.9	20.3-32.2	19.9-31.2	18.5-28.3	17.8-26.8	19.1-28.0	17.9-25.7	19.5-27.7	18.3-26.0	17.1-24.5	15.8-22.6	15.1-21.6	13.5-19.2	12.8-18.4	11.7-17.2
	Qinggang County	231223	55	49.5	44.8	31.1	26.1	22.5	14.2	13.9	15	15.2	14.2	15.9	14.5	14.3	14.8	14.2	13.7
			41.2-70.2	38.6-61.8	35.5-54.8	24.9-37.9	20.8-32.6	17.1-29.1	10.4-19.1	9.9-19.1	10.7-20.9	10.7-20.9	10.1-19.5	11.5-21.3	10.7-19.3	10.6-18.5	11.1-18.9	10.7-18.2	10.2-17.8
	Ranghulu District	230604	20.5	20.6	21.1	20	19.8	19.5	19.4	18.5	19	16.8	16.8	15.7	14.3	13	12.2	12.2	11.7
			14.9-27.1	15.3-26.7	16.3-26.8	15.9-24.8	16.1-23.8	16.0-23.3	16.3-22.9	15.6-21.7	15.9-22.2	13.9-20.0	13.5-20.4	12.2-19.5	10.9-18.2	9.6-16.8	8.7-16.1	8.4-16.4	7.8-15.7
	Raohe County	230524	29.8	31	30.7	29.5	28.2	26.5	27.1	21.7	20.7	21.6	21.7	19.4	19.6	18.6	15	13.4	11.6
			20.8-40.0	22.6-40.8	23.1-39.7	22.7-37.8	22.0-35.8	21.2-33.0	22.1-33.1	17.8-26.3	17.2-24.7	17.8-26.1	17.6-26.6	15.4-24.1	15.2-24.5	14.3-23.4	11.6-19.0	10.2-17.1	8.7-15.0
	Sairt District	230602	22.7	22.6	24.4	25.6	27.9	28.6	28.5	26.7	26.2	18.9	21.4	21.3	19.7	19.2	17.2	16.9	15.9
			16.0-30.8	16.2-30.0	18.0-31.6	19.6-32.6	21.9-34.3	23.0-34.6	23.4-33.9	22.3-31.3	22.3-30.3	16.0-22.0	17.7-25.6	17.0-25.7	15.3-24.5	14.3-24.9	12.1-22.9	11.5-22.9	10.4-22.0
	Shangganling District	230716	43.4	47.9	41.8	46.5	46.4	42.5	36.4	24.7	24.1	18.9	18.1	17.6	18	15.4	14.9	14.1	13.3
			28.5-62.2	32.2-66.8	28.9-59.2	33.1-65.9	33.0-66.0	30.5-58.6	26.5-49.8	17.8-33.7	17.7-32.4	13.6-25.7	12.7-24.8	12.3-24.2	12.4-24.9	10.6-21.3	10.4-20.5	9.9-19.6	9.1-18.3
	Shangzhi City	230183	30.1	29.4	29.5	33.1	32.2	33	31.3	32.3	27.8	27.3	24.4	23.3	19.7	17.6	16.6	15.4	14.6
			22.5-38.9	22.2-37.5	23.2-37.2	26.4-41.2	25.6-39.7	26.3-40.5	25.0-38.3	25.9-39.2	22.4-33.7	22.1-33.2	19.5-30.1	18.5-28.8	15.3-24.5	13.4-22.6	12.1-21.6	10.8-20.4	9.8-19.6
	Shuangcheng City	230182	30.9	30.3	30.3	30.2	29.8	28.3	27.3	25.1	22.5	23.2	20.6	19.6	18.3	17.4	16.7	16	15.5
			23.1-39.9	23.0-38.1	23.3-37.5	23.7-37.1	23.6-36.4	22.6-34.5	21.8-33.2	20.2-30.4	18.3-27.2	18.9-27.9	16.8-24.8	15.8-23.9	14.4-22.7	13.2-21.9	12.1-21.5	11.2-21.1	10.5-20.8
	Sifangtai District	230505	25.4	30.8	31	29.1	32.3	27.4	25.4	28.5	24.1	22.1	20.6	15.1	13.7	12.3	11.4	10.2	9.4
			16.4-36.8	20.5-44.4	21.2-43.7	20.1-40.3	22.6-43.7	19.5-37.0	18.6-33.4	21.3-37.5	18.4-31.2	17.0-28.4	15.6-27.0	11.0-20.3	9.6-19.1	8.6-17.5	7.6-16.7	6.5-15.1	5.8-14.2
	Songbei District	230109	21.8	21.5	21.2	20.9	18.8	19.3	19.2	19.4	17.3	19.3	18.9	16.9	16.2	15	14.5	14.6	14.4
			13.6-32.8	13.2-32.2	13.6-31.3	13.7-30.1	12.5-26.5	13.0-26.9	13.3-26.2	14.0-26.4	12.9-23.1	14.6-25.5	14.2-25.1	12.5-23.0	11.8-22.3	10.6-21.3	9.8-21.1	9.6-21.3	9.2-21.3
	Suibin County	230422	27.6	27.2	26.7	24.6	28.3	27.1	29.5	29.8	26.8	22.4	19.9	16.8	14.6	14.4	14.7	13.8	13.1
			18.3-39.0	18.2-38.4	18.2-36.6	17.6-32.5	21.1-36.2	21.0-34.0	24.0-35.6	25.0-35.2	22.9-30.9	19.0-26.0	16.4-23.8	13.3-20.8	11.0-18.7	10.5-19.0	10.2-20.2	9.1-19.3	8.4-18.7
	Suifenhe City	231081	32.4	31.8	31	30.1	29.5	31.8	31.2	30.2	31.6	29.2	22.1	18.5	14.1	11.3	9.7	8.9	8
			22.7-43.4	23.2-41.3	23.1-39.7	23.4-37.8	23.3-36.1	25.6-38.0	25.7-36.7	25.7-34.8	27.2-36.6	24.9-34.0	18.5-26.0	15.1-22.4	11.3-17.2	8.9-13.9	7.5-11.9	6.9-11.0	6.2-10.1
	Suileng County	231226	29.3	28.4	28.3	26.9	25	25.7	25.9	23.6	19.7	20.6	16.5	15.5	15.2	17.2	16.2	15.8	15.6
			22.0-37.5	21.8-35.4	22.0-35.2	21.5-33.1	20.0-30.1	20.9-30.6	21.5-30.6	20.0-27.8	16.7-23.1	17.4-24.2	13.7-19.6	12.6-18.6	12.4-18.2	14.0-20.5	13.0-19.2	12.7-18.9	12.5-18.9
	Sunwu County	231124	34.4	34	32.8	28.2	25.4	22.5	19.4	17	16	13.6	14.1	14.3	15.3	15.8	15.2	14.1	13.5
			25.4-44.5	25.9-43.3	25.4-41.4	22.2-34.7	20.4-30.8	18.6-27.0	16.3-22.8	14.5-19.8	13.6-18.5	11.4-15.8	11.7-16.7	11.6-17.2	12.4-18.3	12.8-19.0	12.4-18.3	11.4-17.0	10.7-16.5
	Tahe County	232722	36.4	35.9	34.4	31.9	30.3	29.1	28	25.2	22.8	20.9	15.2	14.2	13.9	14.1	13	12.6	12.1
			25.2-49.1	26.2-47.0	25.7-44.2	25.0-40.0	24.1-36.8	23.7-34.5	23.4-32.6	21.3-29.4	19.2-26.9	17.1-25.2	12.0-18.8	11.0-17.9	10.5-17.8	10.6-18.3	9.7-16.9	9.3-16.2	8.9-15.8
	Tailai County	230224	26.1	22.4	20.4	16.6	15.2	13.9	14.5	14.2	14.1	13.6	13.6	13	13.4	13.5	12.9	11.7	10.8
			19.2-33.7	17.3-28.4	15.9-25.3	13.0-20.4	11.9-19.0	10.7-17.9	10.9-19.0	10.5-19.0	10.3-18.9	10.0-18.2	10.2-17.8	10.1-16.5	10.7-16.5	11.0-16.2	10.8-15.3	9.6-14.0	8.6-13.1
	Tangwanghe District	230712	36.1	39.8	42	38.6	32	31.1	27.6	24.3	22.6	20.2	18	16.8	16.9	15.1	14	13.4	12.8
			24.7-49.9	28.3-54.4	30.5-57.1	28.4-51.6	23.9-42.3	23.4-41.0	21.2-35.5	18.8-31.0	17.6-28.7	15.6-25.7	13.7-23.2	12.7-21.8	12.6-22.0	11.3-19.7	10.4-18.2	10.0-17.3	9.4-16.9
	Tangyuan County	230828	20.7	19.9	19.4	17.9	16.9	15.9	15.5	14	11	11.2	13.4	12.3	13.2	14	13	12.2	11.3
			14.3-27.7	14.5-26.3	14.5-25.2	13.6-23.2	13.0-21.4	12.6-20.1	12.4-19.2	11.3-17.2	9.1-13.3	9.1-13.7	10.7-16.5	9.7-15.3	10.2-16.5	10.8-17.6	10.1-16.4	9.4-15.4	8.5-14.4
	Taoshan District	230903	28.7	28.5	29.1	31.6	27	26.9	25.2	24.2	21.8	21.4	19.5	19.7	17.2	14.3	11.9	11.4	10.6
			21.1-37.3	21.8-35.9	22.9-36.4	24.9-38.8	21.8-32.8	22.1-32.1	21.1-29.8	20.3-28.3	18.5-25.4	18.0-25.4	16.0-23.7	15.7-24.5	13.3-21.6	10.9-18.1	8.9-15.3	8.5-14.7	7.8-13.8

Province	County	County Code (2012)	Under-5 Mortality Rate (per 1000 births)																
			1996	1997	1998	1999	2000	2001	2002	2003	2004	2005	2006	2007	2008	2009	2010	2011	2012
	Tiefeng District	230204	29.3	26.9	25.5	23.2	20.8	19.5	20.9	19.3	17.5	18.3	18.9	15	13.7	12.8	11.4	10.5	9.2
			20.0-39.7	19.2-35.6	19.0-33.3	17.6-29.9	16.2-26.5	15.7-24.0	17.1-25.1	16.1-22.7	14.9-20.4	15.5-21.4	15.6-22.3	12.2-18.2	10.9-16.7	10.1-15.8	9.0-14.2	8.2-13.2	7.1-11.6
	Tieli City	230781	29.4	29.6	29.6	30	31.9	33.5	31.4	33.7	33.5	29.5	26.2	24.1	20.2	17.9	17	16.1	15.1
			20.9-39.2	21.7-38.3	22.2-37.9	23.1-37.6	25.4-39.3	27.2-40.3	26.1-37.0	28.7-39.0	28.6-38.8	24.9-34.3	21.8-31.0	19.8-28.6	16.5-24.2	14.5-21.4	13.5-20.3	12.8-19.4	12.0-18.5
	Tonghe County	230128	43.3	41.8	40.8	34.1	31.6	27.5	24	22.7	19.2	20.1	19.3	18.6	18.6	18.4	17.1	16.7	16.4
			32.4-55.6	31.9-52.4	31.7-51.1	26.9-42.1	25.4-38.5	22.6-32.8	20.0-28.3	19.2-26.3	16.3-22.3	16.9-23.3	15.9-22.7	15.2-22.0	15.2-22.2	15.1-22.0	14.1-20.4	13.7-19.8	13.2-19.8
	Tongjiang City	230881	22	22.5	21.9	21.8	20.9	20.3	17.3	15.4	16.8	17.5	16.7	16.2	15.4	15.1	13.6	13.3	13.2
			15.6-29.4	16.6-29.1	16.6-28.1	16.8-28.0	16.3-26.4	16.3-25.0	14.2-20.7	12.9-18.2	14.2-19.5	14.9-20.4	13.9-19.8	13.3-19.5	12.3-18.6	12.0-18.4	10.9-16.7	10.5-16.4	10.3-16.4
	Wangkui County	231221	45.3	45.1	44.7	44.2	39.6	34.9	26.6	21.8	16.5	15.1	12.3	14	13.5	13.9	14.4	14.1	13.9
			34.0-59.4	34.2-58.1	34.7-56.2	34.9-53.9	31.4-48.2	27.0-43.2	20.3-33.7	16.6-28.0	12.4-21.5	11.4-19.7	9.6-15.6	11.2-17.6	11.0-16.4	11.7-16.4	12.2-16.7	11.8-16.4	11.2-16.7
	Wuchang City	230184	31.7	31.8	31	29.2	25.8	23.4	20.5	25.5	23.5	22.3	22.1	20.7	17.7	18	19.7	19.2	19.2
			21.9-42.9	22.9-41.8	23.2-40.2	22.2-37.6	20.1-32.8	18.8-29.1	16.8-24.6	21.3-30.0	19.9-27.3	19.0-26.0	18.5-26.0	17.0-24.8	14.2-21.2	14.5-21.7	15.8-23.9	15.3-23.5	15.1-23.5
	Wudalianchi City	231182	28.8	28.4	27.8	26.2	24.2	23.6	23.1	23.3	25.3	23.3	21.4	19.3	18.3	15.5	14.7	13.9	12.8
			21.3-37.3	21.8-35.7	21.7-35.2	20.6-32.7	19.1-30.1	19.0-28.9	18.8-27.9	19.3-27.5	21.2-29.6	19.7-27.4	18.0-25.4	16.1-23.1	15.1-21.8	12.7-18.4	12.1-17.5	11.3-16.5	10.3-15.4
	Wumahe District	230711	38.4	32.9	36.1	36.2	32.4	32	29	23.4	26.4	21.7	19.2	19.1	18.1	16.4	14.8	14	13
			25.7-54.1	22.5-46.5	25.2-50.6	25.6-50.4	23.5-44.7	23.2-43.5	21.4-38.7	17.5-30.9	20.0-34.7	16.3-28.4	14.4-25.1	14.2-25.1	13.2-23.7	12.1-21.5	11.0-19.5	10.4-18.2	9.5-17.1
	Wuyiling District	230714	46.7	49.3	48.3	42.2	37.7	38.8	29.3	24.9	29.4	25.4	19	18.1	18.6	16	15.6	14.9	14
			30.8-66.6	33.4-68.7	33.7-67.7	30.0-59.6	26.9-53.6	27.9-53.6	21.5-40.0	18.2-33.6	21.9-39.0	18.8-34.1	13.6-25.6	12.9-24.5	13.0-25.4	11.1-21.8	11.0-21.2	10.6-20.5	9.7-19.1
	Wuying District	230710	45	44.5	45	43.5	36.6	31.2	26.7	25.9	24.5	21.2	19.2	18.6	19.8	17.1	17	15.9	15.2
			30.9-61.8	31.6-60.6	32.7-60.2	32.2-58.8	26.8-49.9	23.0-42.0	20.0-35.6	19.2-34.9	18.5-32.2	15.7-28.2	14.0-25.5	13.5-25.1	14.2-26.7	12.1-22.9	12.3-22.7	11.5-21.3	10.9-20.4
	Xi'an District	231005	24.2	29.6	28.3	29.6	30.6	30.7	28.9	27.9	30.2	26.7	26.1	23.9	20.1	14.6	14.3	13.2	11.8
			15.1-36.2	18.4-44.2	18.2-41.6	19.4-42.2	20.6-42.9	20.8-42.3	20.2-39.3	20.2-37.8	22.6-40.0	20.2-35.1	19.8-34.6	17.8-32.3	14.6-27.7	10.3-20.9	9.7-21.0	8.6-19.3	7.5-17.5
	Xiangfang District	230110	19.4	19.5	19.8	18.9	17.6	20.3	21.9	23.4	20.8	20.9	18.9	16.4	15.7	15.3	14.9	15.3	15.1
			14.8-24.4	15.2-24.4	15.4-24.4	15.1-23.0	14.1-21.6	16.3-24.9	17.6-26.9	18.6-28.7	16.6-25.7	16.5-25.8	14.8-23.7	12.7-20.8	12.2-19.8	11.8-19.5	11.2-18.9	11.4-19.6	11.1-19.4
	Xiangyang District	230402	22.6	23	22.1	20.9	19.2	20.3	16.9	13.3	11.3	12.8	11.8	11.5	12.7	14.2	12.3	11.9	10.9
			15.2-31.8	16.1-31.7	15.8-29.9	15.3-28.1	14.3-25.6	15.4-26.6	13.0-22.0	10.3-17.2	8.8-14.4	9.8-16.5	8.8-15.3	8.5-15.2	9.2-16.8	10.3-18.9	8.9-16.4	8.6-16.1	7.8-14.8
	Xiangyang District	230803	19.2	20.1	19.8	21.2	26.5	28.5	25.9	23.4	20.7	16.4	16	13.8	15.6	14.4	13	12.5	11.9
			12.7-27.4	13.2-28.5	13.4-27.4	15.1-28.4	19.6-34.2	21.8-36.0	20.7-31.9	19.1-28.4	17.3-24.6	13.5-19.8	12.9-20.0	10.7-17.6	11.7-20.4	10.2-19.5	8.8-18.1	8.2-17.9	7.6-17.3
	Xilin District	230705	31.4	32.1	32.4	33.1	33.9	34.3	30.5	25.5	29.6	25.7	20.3	18.1	17.4	14.2	11.7	11.3	10.7
			20.9-44.4	22.2-44.6	22.8-44.7	24.0-45.2	24.9-46.6	25.3-45.9	22.9-40.3	19.3-34.0	22.7-38.2	19.5-33.7	15.0-26.6	13.3-24.0	12.5-23.3	10.1-19.0	8.4-15.7	8.1-15.3	7.6-14.5
	Xingan District	230405	29	30.6	26.8	25.7	30.6	28	26.2	25.9	23.4	19.9	17.6	15.8	14	12.8	10.7	10.1	9.5
			18.4-42.4	19.6-44.4	17.5-38.6	17.4-35.8	21.3-41.7	20.1-37.6	19.5-34.6	19.5-33.8	18.3-30.0	15.7-25.5	13.7-22.9	12.0-20.8	10.3-19.1	9.0-18.0	7.2-15.5	6.6-14.8	6.0-14.0
	Xingshan District	230407	25	24.3	24.1	24.4	23.9	23.9	21.7	18.8	15.9	17	14.6	14.3	14	13.7	13.4	12.9	12.4
			15.6-37.5	15.0-36.5	15.4-35.5	15.9-35.2	15.9-33.7	16.1-33.6	15.0-29.9	13.4-25.8	11.6-21.5	12.5-22.9	10.8-20.0	10.3-19.8	9.9-19.8	9.5-19.9	8.9-20.0	8.3-19.3	7.8-18.7
	Xinqing District	230707	38	39.9	32.4	34.2	33.4	31.7	28.8	22.7	26.1	23.5	16.5	15.4	15.8	13.6	12.8	12.3	11.7
			27.0-50.3	29.7-51.3	25.0-41.3	26.8-43.0	26.6-41.8	25.7-38.7	23.5-34.5	18.7-27.2	21.4-31.6	18.7-29.1	12.6-20.9	11.7-19.8	11.8-20.5	10.0-17.9	9.5-16.9	8.9-16.3	8.4-15.6
	Xinxing District	230902	34.1	33	30.8	31.4	28.4	26	25.2	23	19.8	21.2	19.5	18.7	17.1	14	11.4	10.6	9.8
			23.6-45.9	23.9-43.3	23.2-39.8	24.1-40.0	22.3-35.8	21.0-31.9	20.7-30.3	19.3-27.2	16.5-23.3	17.5-25.3	15.7-23.8	14.8-23.2	13.3-21.5	10.7-17.8	8.7-14.5	8.0-13.6	7.3-12.7
	Xunke County	231123	50.2	48.3	46	42.1	36.7	31	27.1	25	24.6	21.3	19.4	16.9	16	14.9	13.5	12.5	11.6
			37.4-64.7	36.9-60.9	36.0-57.2	33.6-52.0	29.0-45.4	24.1-38.9	20.4-35.0	18.8-33.1	18.3-32.8	16.0-28.4	14.8-25.2	13.2-21.5	12.8-19.6	12.0-17.8	11.1-16.0	10.2-15.1	9.1-14.2
	Yangming District	231003	33.4	31.4	31.6	29.4	31.8	29.8	29.5	29.4	32.9	24.3	21.8	20.3	18.4	15.6	14.1	12.7	11.3
			24.3-43.8	23.6-40.1	24.3-40.2	22.8-37.9	23.9-41.8	21.6-40.3	20.5-41.3	20.2-42.0	22.4-47.4	16.4-34.8	15.3-30.4	14.6-27.3	13.3-24.4	11.6-20.2	10.7-18.0	9.6-16.2	8.4-14.5
	Yanshou County	230129	19.8	19.2	19.6	19	18	18.6	19.5	20.8	20.8	22	21.1	18.4	16.9	15.9	15	14.6	14.1
			13.8-26.5	14.0-25.2	14.5-25.3	14.7-24.3	14.0-22.3	14.8-22.5	16.2-23.0	17.7-24.2	17.7-24.0	18.7-25.6	17.7-25.0	15.0-22.0	13.7-20.3	12.8-19.2	12.0-18.2	11.7-17.8	11.1-17.3
	Yi'an County	230223	48.5	40.6	34.8	27.4	22.7	17	12	12.1	11.9	13.6	14.2	17.2	17.6	16.8	15.3	13.8	12.6
			36.4-62.2	31.3-50.8	27.5-43.0	21.8-33.2	17.9-27.9	13.1-21.4	9.0-15.8	8.9-16.3	8.7-16.3	10.0-18.1	10.7-18.7	13.3-22.1	13.9-21.7	13.4-20.2	12.5-18.3	11.2-16.6	9.9-15.5
	Yichun District	230702	24	23.7	24.8	22.7	20.8	20.8	18.5	15	15.6	14.1	13.7	12.9	12.4	11	10.1	9.6	9.1
			17.5-31.4	17.9-30.2	19.4-30.9	17.9-28.3	16.7-25.8	16.9-25.0	15.2-22.0	12.4-17.6	13.0-18.3	11.7-16.7	11.0-16.6	10.2-16.0	9.6-15.4	8.4-13.9	7.7-12.8	7.3-12.3	6.8-11.6
	Yilan County	230123	32.4	31.3	30.8	30.2	28.3	27.4	26.7	25.5	21	21.2	18.9	18.8	18	18.5	18.2	17.5	17.4
			24.1-42.4	23.8-40.4	23.8-39.0	23.7-37.1	22.2-34.9	21.1-34.3	20.2-34.1	19.3-33.0	15.6-27.6	15.9-27.6	14.6-24.5	14.9-23.9	14.8-22.0	15.6-22.0	15.5-21.1	14.9-20.4	14.4-20.5
	Youhao District	230704	37.6	38	38.6	36.9	33.2	33.2	30.6	26.4	25.7	21.9	21.4	20.7	20.4	18.2	17.9	16.4	15.1
			24.6-54.0	25.5-54.9	26.4-55.2	25.5-52.2	23.4-46.5	23.7-45.6	22.3-41.3	19.6-35.3	19.1-34.0	16.2-29.1	15.8-28.3	15.1-27.6	14.7-27.0	13.1-24.3	12.9-24.0	11.9-21.9	10.7-20.2
	Youyi County	230522	26.1	26.3	26	25	25.3	28.6	29.9	30.3	28.1	26.2	15	14.1	12.8	11.5	10.5	9.6	8.9
			17.8-35.5	18.9-34.7	19.1-33.6	19.2-31.6	19.9-31.1	23.1-34.4	24.7-35.2	25.9-34.9	24.1-32.6	22.2-30.5	12.6-17.8	11.5-17.0	10.2-15.6	9.1-14.2	8.2-13.0	7.5-11.9	6.8-11.2
	Zhaodong City	231282	28.2	26.9	26.3	23.9	22.9	22.8	34.2	29.6	25.2	22.6	20.3	17.2	16	14.7	13.5	12.4	11.3
			18.1-40.9	17.5-38.8	17.4-37.5	16.5-33.0	16.3-30.7	16.9-29.9	26.2-43.2	23.4-37.0	20.7-30.5	18.8-27.1	16.6-24.6	13.7-21.6	12.2-20.7	10.6-19.6	9.3-18.7	8.2-17.7	7.2-16.4
	Zhaoyuan County	230622	22.8	22.1	21.4	17.4	16.8	15	16.9	15.1	15.6	16.2	15.3	14.1	14	13.3	13	12.3	11.9
			16.7-29.8	16.6-28.2	16.6-26.9	13.5-22.0	13.2-21.0	12.1-18.4	13.9-20.4	12.5-17.8	13.2-18.2	13.7-18.9	12.7-18.1	11.5-17.0	11.2-16.9	10.6-16.2	10.4-15.9	9.7-15.1	9.3-14.7
	Zhaozhou County	230621	22.7	22.6	21.7	20.4	18.8	20	21.2	21	20.2	24	20.7	18	15.9	14.9	13.3	12.5	11.9
			16.2-30.0	16.7-29.2	16.6-27.8	15.7-26.1	14.7-23.7	16.1-24.5	17.4-25.4	17.6-24.7	17.2-23.3	20.5-27.9	17.4-24.3	14.8-21.6	12.8-19.2	11.9-18.1	10.6-16.2	9.8-15.3	9.3-14.8
Henan	Anyang County	410522	39	36.6	34.8	30.8	27.3	25.3	21.4	20.3	19.6	16	15.4	13.3	12	11.2	12.2	11.9	11.7
			32.4-46.6	30.4-44.0	28.9-41.2	25.6-36.9	22.7-33.0	20.9-30.6	17.8-25.9	17.1-24.4	16.5-23.3	13.3-19.0	12.8-18.3	11.0-15.8	10.0-14.4	9.3-13.3	10.3-14.5	10.2-14.0	10.0-13.6
	Baofeng County	410421	46.8	44.7	43.7	38.4	35.9	35.5	32.3	28.3	25.1	21.2	19.4	16.7	14.9	13.9	15.4	14.8	14.2
			39.1-55.7	37.6-52.9	36.9-51.2	32.2-45.3	30.2-42.6	29.7-42.4	27.3-38.5	24.1-33.6	21.4-29.6	18.0-24.9	16.3-22.8	14.0-19.8	12.3-17.7	11.6-16.6	12.9-18.3	12.6-17.3	12.0-16.5
	Beiguan District	410503	27.2	24.4	22.9	20.8	18.2	16.4	12.8	11.8	10.1	8.9	7.8	7	6.9	6.8	6.6	6.6	6.5

Province	County	County Code (2012)	Under-5 Mortality Rate (per 1000 births)																
			1996	1997	1998	1999	2000	2001	2002	2003	2004	2005	2006	2007	2008	2009	2010	2011	2012
			22.5-32.5	20.4-29.0	19.4-26.7	17.5-24.5	15.3-21.3	13.9-19.3	10.9-15.0	10.2-13.6	8.8-11.6	7.8-10.2	6.7-8.9	6.0-8.2	5.9-8.1	5.8-8.0	5.7-7.7	5.8-7.5	5.6-7.4
	Biyang County	411726	80.1	67.7	54.8	49.7	38.7	32.3	32.9	27.1	24.6	22.9	19.3	17.4	18.4	16.2	14	12.1	10.5
			63.3-98.0	55.8-80.9	46.7-63.9	43.1-57.1	33.1-44.8	26.8-38.7	26.5-40.6	21.3-34.5	19.1-31.7	17.5-29.9	14.9-24.8	13.7-22.1	14.9-22.8	13.5-19.6	11.9-16.3	10.5-13.9	9.0-12.0
	Bo'ai County	410822	46.9	44.1	42.9	42.1	37.7	32.9	27.5	23.4	20.2	19.4	18.7	19.9	20.9	23.6	24.9	25.7	26.8
			36.8-57.5	35.7-52.5	35.4-50.8	35.0-49.8	31.7-44.8	27.2-39.2	22.4-33.3	18.6-28.8	15.7-25.6	15.0-24.5	14.6-23.9	15.5-25.1	16.8-25.7	19.3-28.5	20.9-29.6	21.9-30.3	23.1-31.2
	Changge City	411082	32.9	32.5	31.7	33.4	34.6	37.4	36.3	34.7	34.3	33	30.6	26.8	23.8	19.9	15.7	13	11.1
			28.9-37.3	28.4-37.5	27.5-36.3	28.6-38.9	29.2-40.3	31.3-44.4	29.8-43.3	28.7-41.5	28.5-41.0	27.5-39.0	25.7-36.2	22.6-31.5	20.3-27.5	17.2-22.7	13.8-17.5	11.6-14.4	9.9-12.2
	Changyuan County	410728	25.5	23.2	21.4	19.2	17.3	16.6	17.3	15.7	15.4	15.1	13.7	12.5	12.1	12.3	13.6	13.8	14
			20.3-31.6	18.5-28.9	17.3-26.3	15.5-23.5	14.2-21.3	13.5-20.3	14.2-21.0	13.2-18.7	13.1-18.1	12.7-17.7	11.5-16.1	10.4-14.7	10.1-14.4	10.3-14.7	11.5-16.1	11.8-16.1	11.9-16.2
	Chanhe Huizu District	410304	25.4	22.5	21.9	26.2	24.9	24.9	19.8	20.1	18.2	16.9	16.4	16.1	15.3	15.7	14.2	14.1	13.6
			16.2-38.7	14.4-33.7	13.9-32.8	16.8-38.2	16.4-35.0	16.9-34.9	13.8-27.0	14.6-27.0	13.5-24.1	12.3-22.5	11.9-21.9	11.6-22.2	10.9-22.0	10.8-22.9	9.4-21.0	8.9-21.3	8.3-20.8
	Chuanhui District	411602	22.3	21.5	20.3	19.2	18.5	19.1	17.7	17.1	16.9	14.8	13.6	13	12.6	11.9	12.4	12.4	11.8
			14.2-34.1	13.8-32.3	12.9-30.5	12.2-28.0	12.1-26.2	12.9-26.9	12.3-24.2	12.4-23.0	12.5-22.3	10.8-19.7	9.9-18.2	9.4-18.0	9.0-18.1	8.2-17.4	8.2-18.3	7.8-18.7	7.3-18.2
	Dancheng County	411625	48.5	46.6	45.6	43.4	42.2	39.4	32.9	29.4	28.8	25.2	23.5	21.1	18.6	16.2	16.7	15.3	14.7
			38.3-60.4	38.1-55.5	38.7-52.7	37.4-49.7	35.7-49.8	32.1-48.3	25.7-42.4	22.3-38.7	21.6-38.5	18.6-33.9	17.3-31.4	15.8-28.0	14.2-23.9	12.7-20.4	13.7-20.3	12.8-18.0	12.2-17.4
	Dengfeng City	410185	35.2	33.6	33.3	34.5	33.6	32.1	30.4	27.8	23.1	20.2	16.8	14.8	14.5	14.9	14.1	13.4	12.9
			31.0-40.0	29.7-38.2	29.4-37.6	30.2-39.2	29.2-38.6	27.6-37.0	26.0-35.0	24.0-32.1	20.2-26.7	17.6-23.2	14.6-19.2	12.8-17.0	12.5-16.4	13.0-16.8	12.3-15.7	11.9-14.8	11.4-14.2
	Dengzhou City	411381	51.8	49.6	49.8	49.9	46.4	44.7	42.2	38.9	34	32.1	31.3	29.5	30.7	31.2	27.5	25	22.8
			44.0-60.2	42.5-58.0	43.6-56.9	43.4-57.0	40.5-53.2	39.0-51.2	36.6-48.5	33.8-44.6	29.7-39.0	28.1-36.6	27.4-35.7	25.5-33.7	26.6-34.9	27.5-35.3	24.2-30.6	22.2-27.5	20.2-25.2
	Erqi District	410103	29.3	28.2	27.1	25.7	24.5	24.7	24.2	23.4	22.3	21.4	19.9	19.6	17.9	16.4	14.4	14.1	13.3
			21.7-38.3	21.6-35.7	21.0-33.9	20.5-31.4	19.8-29.5	20.4-29.5	20.2-28.5	19.8-27.6	18.7-26.1	17.7-25.4	15.9-24.2	15.0-24.6	13.3-22.9	11.8-21.7	10.0-19.5	9.3-19.7	8.5-18.9
	Fan County	410926	46.9	46.5	44.8	44.5	42.3	40.6	40.3	36.1	36.6	36.6	34.7	31.7	30.2	30.2	27	25.5	24.3
			33.6-63.6	34.6-61.5	33.5-58.5	34.8-56.3	34.3-52.1	33.8-48.3	34.7-46.5	31.5-41.2	31.9-42.0	31.2-43.3	28.6-42.2	25.3-39.9	22.9-39.1	21.5-40.8	18.2-37.5	16.3-36.3	14.9-35.2
	Fangcheng County	411322	55.3	51.3	48	42.9	41.3	38.6	35	32.7	30	26.3	24.2	22.9	22.5	22.1	21.5	20.1	18.7
			43.5-67.8	41.7-60.9	39.7-56.8	35.9-50.3	34.9-48.6	32.3-45.6	28.8-42.2	26.3-40.1	23.9-37.5	20.8-33.0	19.2-30.2	18.3-28.4	18.6-27.1	18.8-25.9	19.0-24.5	18.1-22.4	16.7-20.7
	Fengqiu County	410727	55.3	50.3	46.1	42.1	40.1	40.9	41.5	38.9	36	31.3	25.9	20.4	14.6	12.8	12	12	12.3
			47.6-63.9	43.0-58.1	39.4-53.0	35.6-49.0	33.8-47.0	34.4-48.5	35.2-49.1	33.2-45.7	30.7-42.1	26.6-36.6	21.8-30.4	17.0-24.2	12.1-17.4	10.7-15.4	10.1-14.4	10.1-14.1	10.4-14.3
	Fengquan District	410704	31.8	26.6	27.2	30.6	27.3	28.6	27.1	27.5	24.3	24.4	22.3	20.4	19.5	20.1	18.4	18.3	18
			24.8-40.2	20.7-33.7	21.3-34.0	24.1-38.1	21.7-34.0	22.9-35.5	22.0-33.4	22.8-33.1	20.4-28.7	20.7-28.7	18.9-26.1	17.2-23.9	16.4-23.0	17.1-23.7	15.7-21.6	15.8-21.0	15.5-20.6
	Fugou County	411621	53.8	52.1	49.3	46.8	45.1	39.4	36.1	28.4	24.3	19.5	19.4	18.6	18.5	18.1	17	15.6	14
			46.1-62.5	44.6-60.1	42.7-56.5	40.1-54.0	38.6-52.4	33.7-46.1	30.9-42.1	24.5-33.0	21.0-28.2	16.7-22.7	16.4-22.7	15.5-21.9	15.4-22.0	15.2-21.5	14.4-20.2	13.3-18.2	11.9-16.2
	Gongyi City	410181	39.1	40.1	40.1	40.7	39.8	37.4	32.5	26.9	25	22.9	20.7	19.8	19.7	19	17.5	16.7	15.7
			34.7-44.3	35.3-45.7	35.2-45.8	35.3-46.7	34.1-45.9	31.8-43.6	27.5-38.0	23.0-31.5	21.5-29.1	19.8-26.5	17.8-23.9	17.1-22.7	17.0-22.6	16.6-21.5	15.4-19.6	14.9-18.4	14.1-17.3
	District	410104	32	30.6	30.3	29.3	28.5	25.2	22.6	22.1	21.1	18.9	17.4	18.5	17.3	16.9	14.4	14	13
			22.7-43.5	22.4-40.3	22.5-40.0	22.8-37.0	22.8-35.0	20.6-30.4	19.1-26.6	19.0-25.6	18.1-24.6	15.8-22.5	13.9-21.3	14.2-23.3	12.8-22.5	12.1-22.4	10.0-19.6	9.3-19.6	8.4-18.5
	Guangshan County	411522	56.8	55.8	54.2	50.6	49.7	47.5	48	48.6	45.9	43.9	39.4	34.2	29.1	24	14.4	13.2	12.4
			49.1-65.0	48.4-63.9	47.2-61.4	43.7-58.1	42.6-57.7	40.6-55.5	41.3-56.0	42.5-55.8	40.5-52.2	38.6-49.7	34.3-44.9	29.3-39.4	25.0-34.1	20.5-28.0	12.4-16.8	11.4-15.2	10.7-14.1
	Gulou District	410204	30.8	29.3	27.8	26.8	23.4	25.6	25.5	25.3	24	23.5	19.8	16.4	12.5	12.9	11.6	11.6	11.2
			24.0-38.7	22.8-36.7	22.0-34.6	21.4-33.2	19.0-28.8	21.0-31.1	21.3-30.7	21.5-29.9	20.8-27.8	20.4-26.9	17.0-22.6	14.0-19.1	10.7-14.7	11.0-15.2	9.9-13.5	10.1-13.3	9.6-12.7
	Gushi County	411525	80.3	75.9	72.9	62	67.4	65.4	55.5	45.8	40	36.5	33.1	31	29.8	27.7	24.8	22.4	20.3
			63.2-98.5	61.7-90.2	60.5-86.3	52.2-72.7	57.1-78.9	55.1-76.8	46.0-66.7	37.1-55.9	32.2-49.6	29.2-45.6	26.6-41.3	25.2-38.3	24.9-35.6	24.0-32.0	22.1-27.6	20.1-24.6	18.0-22.5
	Heshan District	410602	34	35.2	37.2	33.1	29.1	23.3	16.1	15.5	14	10.7	11.4	11.2	12.9	14.3	15.1	15.7	15.5
			27.5-41.5	28.5-43.1	30.2-45.2	26.7-40.4	23.4-36.0	18.7-28.9	12.9-20.1	12.6-19.1	11.4-17.0	8.7-13.1	9.3-13.8	9.1-13.5	10.5-15.6	11.8-17.2	12.6-18.0	13.3-18.5	13.1-18.1
	Hongqi District	410702	27.6	28.9	29.9	26.6	24.6	25	22.3	40.2	39	34.7	28.5	25.8	17	14.8	11.7	12.2	12.3
			18.3-40.2	19.6-41.1	20.5-42.7	18.6-37.5	17.8-33.7	18.5-32.9	17.1-28.3	32.1-49.0	32.0-47.2	28.1-42.3	22.6-35.5	19.5-33.5	12.2-23.3	10.0-21.2	7.6-17.2	7.5-18.2	7.4-18.7
	Hua County	410526	43.6	43.2	43.6	44.4	43	40.1	36.8	36	34	30.6	27.7	24.4	20.4	19.3	17.9	16.8	15.3
			35.5-52.8	35.5-52.1	36.3-51.8	36.9-52.7	36.0-50.9	33.8-47.4	31.4-43.0	31.5-41.4	30.0-38.8	26.7-34.7	23.9-31.6	21.0-28.2	17.5-23.9	16.5-22.6	15.3-20.8	14.4-19.2	13.2-17.4
	Huaibin County	411527	62.6	59.1	57.6	52.2	60.9	59.8	57.1	55.3	50.6	43	35	29.8	21.9	20	17	15.5	14.7
			52.6-73.9	49.8-69.9	48.4-67.6	43.7-61.9	51.2-72.3	50.1-71.4	48.3-68.1	47.3-65.6	43.2-59.5	36.5-50.4	29.4-41.1	24.9-35.3	18.1-26.2	16.6-24.0	14.3-20.3	13.1-18.2	12.4-17.1
	Huaiyang County	411626	26.7	25.8	24.5	22.6	22.7	22.7	23.6	22.4	21	18.8	17.5	16.1	14.2	13.4	14.8	14.1	13.5
			22.8-31.1	22.0-29.9	21.1-28.2	19.3-26.2	19.4-26.5	19.3-26.7	20.1-27.7	19.3-26.0	18.3-24.1	16.3-21.7	14.9-20.3	13.6-18.8	12.0-16.9	11.3-15.9	12.6-17.5	12.1-16.4	11.5-15.5
	Hualong District	410902	31.9	31.1	30.2	29.2	28.2	30.1	32.1	31.1	32.4	29.4	26	22.8	20.3	18.9	16.3	15.1	13.9
			26.0-38.6	25.6-37.4	25.3-35.7	24.4-34.6	23.6-33.4	25.3-35.5	27.4-37.7	27.1-35.8	28.5-36.9	26.0-33.2	22.7-29.5	19.7-26.1	17.5-23.3	16.4-21.8	14.2-18.6	13.3-17.0	12.2-15.5
	Huangchuan County	411526	59.1	55.7	54.7	53.1	51	46.1	41.2	34	31.9	31.5	29.2	27.8	24.3	21	16.5	15	14.3
			49.2-70.1	46.9-66.0	46.5-63.9	44.9-62.1	43.2-59.8	39.0-54.4	35.0-48.7	29.0-40.2	27.0-37.5	26.4-37.1	24.3-34.7	22.9-33.1	20.0-29.2	17.3-25.4	13.7-19.6	12.6-17.8	12.0-16.8
	Hubin District	411202	27.2	26.4	24.5	23.6	20.7	20.1	19.2	18	17.4	11.1	10	9	8.7	8	12.3	12.5	12.4
			20.9-34.6	20.3-33.4	18.9-31.1	18.2-30.1	15.9-26.3	15.4-25.7	14.9-24.6	14.3-22.8	13.8-21.6	8.8-13.7	8.0-12.5	7.2-11.1	6.9-10.6	6.5-9.9	10.1-14.9	10.4-14.9	10.4-14.7
	Huiji District	410108	30.9	30.5	29.4	29.1	30.2	28.1	26.8	24.2	20.7	19	15.4	14.9	15.3	13.4	11.8	11.5	10.4
			25.1-37.7	24.8-37.2	23.9-35.6	23.8-35.3	24.9-36.7	23.1-34.3	22.1-32.3	20.3-28.8	17.6-24.4	16.1-22.4	13.0-18.2	12.5-17.6	12.8-18.2	11.2-15.9	10.0-13.9	9.9-13.4	8.8-11.9
	Huixian City	410782	40.7	37.4	36	36.2	29.7	26.3	20.6	16.4	13.7	13.7	11.9	12.2	11.7	9.4	9.2	9	9
			32.0-50.7	29.4-46.7	28.3-44.6	28.7-44.9	23.5-37.1	20.8-32.6	16.5-25.7	13.4-20.1	11.2-16.5	11.2-16.5	9.8-14.4	10.0-14.6	9.6-14.0	7.8-11.3	7.7-11.0	7.6-10.6	7.7-10.5
	Huojia County	410724	36.8	33.5	31.8	30.3	28.9	27.9	30.5	30.7	28.3	23.8	20.3	15.3	11.8	9.6	13.6	15.9	18.2
			29.1-45.7	26.3-41.9	25.0-39.6	23.9-37.9	22.8-36.4	21.9-34.7	24.3-38.1	25.1-37.7	23.2-34.2	19.6-28.7	16.8-24.6	12.5-18.3	9.7-14.2	7.9-11.5	11.4-16.2	13.5-18.6	15.4-21.1
	Jia County	410425	39.6	36.6	34.8	32.5	34.5	33.6	34.2	34.7	32.9	29.5	26.5	25.1	21.9	19.7	19.1	18.1	17.1
			32.6-47.6	30.4-43.7	29.3-40.8	27.2-38.5	28.9-40.7	28.4-39.6	29.2-40.1	30.3-39.9	29.0-37.3	26.0-33.4	23.1-30.1	21.8-28.8	18.9-25.1	17.1-22.6	16.6-21.6	15.9-20.2	15.0-19.0

Province	County	County Code (2012)	Under-5 Mortality Rate (per 1000 births)																
			1996	1997	1998	1999	2000	2001	2002	2003	2004	2005	2006	2007	2008	2009	2010	2011	2012
	Jianxi District	410305	27.1	28.3	23.6	28.4	25.7	25.6	22.3	19.4	18.8	18	14.8	14.6	14.1	14.4	12.9	13.6	13.5
			18.2-39.2	19.3-39.7	16.4-33.5	20.4-38.9	19.1-34.1	19.8-32.7	18.0-27.4	16.6-22.7	16.5-21.4	15.6-20.7	12.3-17.7	11.5-18.0	10.5-18.1	10.2-19.2	8.7-17.7	8.7-19.4	8.3-19.6
	Jiefang District	410802	37.9	36.2	35.1	32.4	29.8	27.6	27.5	22.4	21.2	22.3	24.2	25.9	27.3	28	26.5	27.7	27.7
			31.4-45.4	29.9-43.4	29.0-41.8	26.8-38.9	24.7-35.9	22.7-33.3	22.9-33.1	18.9-26.8	17.9-25.0	18.7-26.3	20.3-28.6	21.6-30.5	22.8-32.4	23.5-33.2	22.5-31.1	23.9-32.0	23.8-31.7
	Jili District	410306	27.1	25.7	23.9	22	18.1	16.6	14.4	13.2	13.7	16.6	18.7	16.1	14.5	15.2	13.8	13.8	13.5
			21.4-33.7	20.2-32.1	19.0-29.6	17.5-27.2	14.6-22.6	13.4-20.6	11.8-17.8	10.9-16.1	11.5-16.3	13.9-19.6	15.8-21.8	13.6-18.9	12.2-17.1	12.9-17.9	11.8-16.1	12.0-15.8	11.7-15.4
	Jinming District	410211	38.1	36.2	34.9	35.6	34.8	32.3	30.6	26.2	23.3	22	21.2	19.8	16.2	14.2	9.6	9.9	9.3
			32.3-44.5	30.9-42.4	30.4-40.0	31.0-40.7	30.4-39.4	28.2-36.9	26.7-35.2	22.8-29.9	20.4-26.7	19.2-25.2	18.3-24.6	17.0-23.0	13.7-18.9	12.2-16.5	8.2-11.1	8.5-11.4	7.9-10.7
	Jinshui District	410105	23.5	24.6	25.1	25.7	24.4	22.9	20.9	19.6	18.3	16.4	16	15.6	14.9	13.1	11	11.1	10.7
			18.7-29.0	20.2-29.9	20.5-30.7	20.5-32.2	18.7-31.5	17.3-30.9	15.3-28.9	14.0-27.2	12.8-25.8	11.4-23.0	11.3-22.3	11.2-21.4	11.0-19.8	9.9-17.0	8.6-13.9	9.1-13.5	8.8-12.8
	Jiyuan City(XianJi)	419001	39.4	37.9	36.9	38.5	38.1	39.3	42.1	39.3	37.7	36.6	33.7	28.9	27.6	25.4	22.2	21.8	20.3
			34.4-45.0	33.0-43.6	32.4-41.9	33.6-43.9	32.9-43.8	34.0-45.3	36.3-48.5	34.0-45.0	32.8-43.3	31.9-41.9	29.4-38.6	25.0-32.9	23.9-31.4	22.4-28.7	19.6-24.7	19.3-24.0	18.0-22.4
	Kaifeng County	410224	51.2	48.6	44.9	43.3	37.9	34.1	29	26.9	23	23.3	22.2	22.4	18.4	16.6	14.3	12.4	11
			44.9-58.2	42.8-55.3	39.7-50.8	38.0-49.1	33.1-43.5	29.6-38.9	25.0-33.3	23.4-31.0	20.0-26.5	20.4-26.7	19.3-25.5	19.4-25.7	15.9-20.9	14.5-18.8	12.6-16.0	11.0-13.8	9.6-12.2
	Lankao County	410225	41	38.1	35.3	29.8	26.5	20.9	17.3	14.4	14.3	12.4	12.3	13.1	12.7	11.7	12.8	12.1	11.7
			34.0-48.9	31.8-45.4	29.6-41.6	25.0-35.3	22.3-31.5	17.4-25.0	14.5-20.6	12.2-17.2	12.1-16.9	10.5-14.7	10.3-14.5	10.9-15.5	10.5-15.1	9.8-14.0	10.8-15.2	10.3-14.1	9.9-13.5
	Laocheng District	410302	44.2	27.4	24.6	25.4	26.1	25.4	22	22.4	21	18.4	18.7	18.1	17.6	20.2	17.6	18.1	17.5
			29.0-65.0	18.0-39.7	16.1-36.0	16.9-36.2	17.8-35.6	18.2-34.1	16.3-28.6	17.2-28.1	16.8-25.9	14.7-22.7	14.7-23.5	14.0-23.3	13.0-23.4	14.3-27.9	12.0-25.1	11.6-26.3	10.8-26.0
	Liangyuan District	411402	28.1	20.8	21.3	17.2	15.3	13.6	12	11.4	12.9	14.2	19.6	19.7	18.8	16.7	14.7	13.7	11.8
			23.9-32.6	17.9-24.2	18.9-24.3	15.2-19.5	13.5-17.4	11.8-15.4	10.4-13.7	9.8-13.1	11.2-14.8	12.2-16.5	16.7-22.9	16.7-23.3	15.8-22.2	14.0-19.6	12.4-17.2	11.5-15.9	10.0-13.7
	Lingbao City	411282	34.2	32	30.9	28.3	25.6	24.2	21.5	19.7	17.9	15.9	13.4	11.7	10.8	10.7	10.6	10.7	10.8
			28.1-41.3	26.5-38.4	26.5-36.1	24.3-32.9	22.0-29.6	21.0-27.8	18.7-24.7	17.3-22.5	15.8-20.4	14.0-18.1	11.8-15.3	10.2-13.3	9.4-12.2	9.4-12.1	9.3-11.9	9.5-11.9	9.4-12.0
	Linying County	411122	35.2	35.1	35	32.6	32	31.1	30.8	28	26.3	25.8	23.9	23.8	24.2	25.5	25.6	25	24.4
			29.9-41.3	29.9-41.3	30.4-40.2	28.1-37.5	27.7-36.9	26.7-36.0	26.3-35.7	24.0-32.3	22.7-30.6	22.1-29.9	20.4-27.9	20.3-27.6	20.7-27.9	22.0-29.3	22.3-28.9	22.1-28.0	21.7-27.1
	Linzhou City	410581	38	37	35.9	37.8	35.3	34.4	34.3	33.3	30	29.8	26.7	24.5	23.3	23.1	20.2	18.6	17.3
			33.3-43.3	32.3-42.4	31.7-40.6	33.1-43.2	30.5-40.6	29.6-39.8	29.4-39.9	28.7-38.5	25.9-34.6	25.9-34.3	23.2-30.8	21.2-28.0	20.1-26.6	20.3-26.1	17.8-22.5	16.5-20.4	15.4-19.1
	Liwangtai District	410205	28.8	28.7	25	24.1	21.8	21.9	20.6	20.2	19.3	20	18.1	16.4	13	12.3	10.3	9.9	9.5
			24.0-34.2	24.2-33.9	21.2-29.2	20.4-28.2	18.4-25.7	18.4-26.1	17.3-24.7	17.0-24.1	16.2-22.9	16.6-23.9	15.0-21.7	13.4-19.7	10.6-15.8	10.1-14.9	8.5-12.3	8.3-11.8	8.0-11.2
	Long'an District	410506	36.1	33.9	32.2	30.5	31.4	27.5	21.5	20.2	17.6	12.5	12.8	13	11.6	11.2	9.7	8.7	8.1
			30.9-42.0	29.1-39.6	28.2-36.7	26.7-34.6	27.5-35.6	24.0-31.4	18.7-24.8	17.5-23.1	15.3-20.3	10.8-14.5	11.0-14.9	11.1-15.2	9.8-13.6	9.6-13.1	8.3-11.2	7.5-10.0	6.9-9.3
	Longting District	410202	35.4	32.9	31.4	29.6	23.3	24.3	23.4	21	22.7	18.7	17.2	13.9	9.7	8	7.8	7.6	7.3
			28.9-42.9	26.9-40.0	25.7-37.9	24.2-35.8	19.0-28.6	19.8-29.6	19.2-28.6	17.6-25.4	18.9-27.1	15.6-22.2	14.3-20.6	11.5-16.6	8.0-11.7	6.6-9.6	6.5-9.2	6.4-8.9	6.1-8.4
	Luanchuan County	410324	57.3	54.1	51	48.2	43.6	39.6	37.3	34.8	37.4	33.2	27.9	23.9	19.9	16.6	16.2	15.4	14.8
			48.8-66.6	46.2-62.9	44.0-58.2	41.5-55.7	37.2-50.6	33.8-46.3	32.0-43.5	30.3-40.3	32.8-42.7	29.2-37.7	24.3-31.9	20.7-27.5	17.1-22.9	14.3-19.0	14.1-18.6	13.5-17.3	12.9-16.4
	Luolong District	410311	35.5	34.8	32.5	36.7	34.4	31	27.3	22.3	19.8	17.6	16	15.1	14.8	13.9	12.3	11.9	11.3
			24.8-49.4	25.1-47.1	23.7-43.3	28.0-47.2	27.0-43.4	25.3-38.0	23.1-32.5	19.5-25.7	17.3-22.7	14.9-20.5	12.9-19.3	11.5-19.2	10.7-19.6	9.5-19.2	8.0-17.5	7.4-17.5	6.8-17.1
	Luoning County	410328	46.4	44.4	43.2	56.9	56.3	55.9	53.2	48.4	41.2	32.7	26.5	21.4	16.8	14.4	12.9	11.7	10.7
			39.4-54.0	37.8-52.2	37.4-49.8	49.0-65.6	48.6-64.9	48.4-64.5	45.9-61.4	42.1-55.4	36.0-47.1	28.7-37.3	23.2-30.2	18.6-24.5	14.6-19.0	12.7-16.3	11.3-14.4	10.4-13.0	9.4-11.9
	Luoshan County	411521	47.6	45	43.2	43.7	40.9	38.6	33.4	32.5	25.5	19.7	17	14.8	13.7	14	15.3	15	14.7
			36.9-58.3	36.4-54.0	35.9-50.6	37.4-50.5	35.1-47.0	33.1-44.9	28.0-39.8	26.6-39.6	20.5-31.5	15.7-24.8	13.5-21.4	12.0-18.4	11.4-16.4	12.0-16.2	13.6-17.1	13.5-16.5	13.0-16.2
	Lushan County	410423	43.7	40.1	38	35.3	33.6	28.2	27	24.8	20.1	15.9	12.8	9.7	7.3	6.3	7.6	8	8.4
			36.4-52.0	33.7-47.6	32.3-44.3	29.9-41.5	28.3-39.5	23.9-33.2	23.0-31.7	21.4-28.9	17.4-23.3	13.7-18.4	10.8-14.9	8.1-11.4	6.1-8.6	5.3-7.5	6.4-9.0	6.8-9.3	7.1-9.7
	Lushi County	411224	64.3	59.6	53.9	48	38.3	32.6	32.1	28.3	28.4	30.9	29.1	27.1	26.8	24.7	22	21	20.2
			50.6-78.2	49.1-70.7	45.7-62.5	41.4-55.5	32.5-44.7	27.2-38.7	26.0-39.5	22.5-35.3	22.4-35.7	24.3-39.1	23.1-36.6	21.8-33.3	22.1-32.3	20.9-29.0	19.3-24.7	18.8-23.2	18.0-22.2
	Luyi County	411628	46.9	43.5	42.1	39.9	37.5	32.2	26.1	22.5	25.5	24.6	21.9	20.3	18.5	14.9	15.7	14.4	13.8
			39.1-55.8	36.1-52.0	35.0-49.8	33.0-47.6	30.8-45.3	26.3-39.3	21.5-31.9	18.5-27.4	20.9-30.7	20.2-29.7	17.8-26.5	16.4-24.4	15.0-22.4	12.2-18.1	13.1-18.8	12.0-17.1	11.5-16.2
	Macun District	410804	34.9	33.6	32.3	31.2	29.2	28	25.8	23.3	22.4	21.8	22.2	22.3	29.2	31	31.6	31.2	31.7
			27.6-43.2	26.8-41.6	26.1-39.5	25.4-38.0	24.1-35.7	23.2-33.9	21.5-31.0	19.8-27.6	19.2-26.3	18.6-25.3	18.8-25.9	18.8-26.3	24.4-34.6	26.1-36.8	26.8-37.3	26.7-36.2	27.0-36.4
	Mengjin County	410322	39.9	37.8	35.6	33.4	30.8	29.1	26.5	21.6	20.5	18.6	17.2	16.3	16.2	16.9	16.3	16.2	16.1
			28.6-54.1	28.0-50.0	26.7-46.3	26.0-42.1	24.7-38.1	24.0-35.3	22.6-31.3	18.8-24.7	17.8-23.5	15.7-21.8	13.8-20.7	12.4-20.3	11.8-21.1	11.7-22.9	10.8-22.6	10.2-23.2	9.8-23.4
	Mengzhou City	410883	28.7	26.8	25.1	24.9	22.1	21	20.3	20.3	18.9	18.9	19.9	19.8	19.8	20	20.2	20.3	20.1
			25.2-32.6	23.4-30.5	22.1-28.6	21.5-28.6	18.8-25.7	17.7-24.7	17.2-23.8	17.4-23.5	16.4-21.6	16.5-21.6	17.3-22.8	17.1-22.7	17.0-22.8	17.3-23.0	17.5-23.0	17.8-22.8	17.6-22.4
	Mianchi County	411221	48.5	47.7	47.1	46.6	44.9	42.4	40.3	34.9	33.1	27.9	25.5	19.6	16.9	16.1	15.1	14.7	14.3
			42.5-55.2	41.9-55.0	40.9-53.9	40.4-53.7	38.4-51.9	36.1-49.4	33.9-47.7	29.6-41.2	28.3-38.5	24.2-32.0	22.1-29.4	17.0-22.7	14.6-19.5	13.9-18.4	13.0-17.2	12.8-16.7	12.4-16.2
	Minquan County	411421	51.5	45.1	40.8	33.7	33.2	31.1	32	32	31.4	31	28.7	24.9	18.9	13.9	11.8	9.6	7.9
			44.8-58.8	39.1-51.6	35.5-46.6	28.8-38.9	28.3-38.7	26.5-36.4	27.4-37.3	27.9-37.0	27.7-35.8	27.3-35.3	25.1-32.8	21.5-28.7	16.2-21.9	11.9-16.2	10.2-13.7	8.4-11.0	6.8-8.9
	Muye District	410711	25.8	21.5	21.1	21.3	18.8	27.6	24.8	23.4	24.3	24.3	14	14.8	13.8	11.8	11.7	12.6	12.7
			19.3-33.7	16.0-28.4	15.7-27.9	15.7-28.3	13.9-24.9	20.4-36.6	18.6-32.7	17.9-30.5	18.8-31.1	18.9-30.7	10.9-17.7	11.5-18.4	10.8-17.1	9.4-14.6	9.5-14.3	10.5-15.2	10.5-15.1
	Nanle County	410923	30.4	29.6	28.2	26.6	24.6	24.7	25	25	24.9	25.4	23.1	23.4	21.9	22.1	17.6	15.7	13.4
			25.3-36.1	24.7-35.0	23.9-32.9	22.3-31.3	20.6-28.9	20.9-29.2	21.3-29.2	21.8-28.8	21.9-28.4	22.3-28.7	20.3-26.3	20.3-26.8	19.0-25.3	19.1-25.4	15.3-20.0	13.8-17.6	11.8-15.0
	Nanzhao County	411321	49.5	48	46.4	46	43.5	40.7	39.9	38.2	35.2	31.3	29	25.6	21.9	20	17.8	16	14.6
			42.0-57.9	40.9-56.3	40.4-53.1	39.8-52.6	38.0-50.0	35.5-46.8	34.6-45.9	33.2-43.8	30.8-40.3	27.4-35.7	25.3-33.1	22.2-29.2	19.0-24.8	17.5-22.5	15.6-19.8	14.2-17.7	12.9-16.2
	Neihuang County	410527	40.5	39.1	38.7	35.2	33.6	30.9	24.2	19.6	18.2	16.3	16	15.9	16.7	16.7	16.5	15.3	14.5
			34.1-47.7	33.1-45.9	33.0-44.8	29.7-41.0	28.3-39.3	26.1-36.4	20.5-28.6	16.8-23.2	15.5-21.3	13.8-19.1	13.4-18.8	13.3-18.8	13.9-19.9	13.9-20.0	13.9-19.6	13.0-17.9	12.3-16.9
	Neixiang County	411325	52.1	48.8	46.9	44.7	40.9	39.2	35.6	32	28.9	24.8	22.1	18.4	16	12.6	11.3	10	9.1

Province	County	County Code (2012)	Under-5 Mortality Rate (per 1000 births)																
			1996	1997	1998	1999	2000	2001	2002	2003	2004	2005	2006	2007	2008	2009	2010	2011	2012
			45.4-59.6	42.5-56.0	41.6-53.1	39.4-50.8	35.9-46.7	34.4-44.7	31.0-40.6	28.1-36.7	25.4-32.9	21.8-28.2	19.2-25.3	15.9-21.1	13.8-18.4	10.9-14.4	9.8-12.8	8.7-11.3	7.9-10.3
	Ningling County	411423	51.9	48.6	47	46	42.7	38.7	34.4	31.4	29	26.1	24.9	24.1	21.4	18.5	17.2	14.8	13.1
			43.9-60.7	41.4-56.8	40.4-54.4	39.4-52.9	36.4-49.6	32.8-45.4	28.4-40.7	26.0-37.4	24.3-34.5	21.9-30.7	21.1-29.3	20.5-28.1	18.4-24.5	16.2-20.9	15.1-19.1	13.2-16.3	11.6-14.4
	Pingqiao District	411503	29.2	28.5	28.9	23.7	25.1	22.7	20	14.7	13.6	13.3	13	13.8	15.2	14	11.3	10	9
			23.6-35.6	23.1-34.9	23.6-35.1	19.3-28.9	20.6-30.8	18.5-27.7	16.4-24.3	12.3-17.6	11.4-16.2	11.1-15.8	10.9-15.4	11.5-16.2	12.7-18.1	11.7-16.6	9.6-13.3	8.6-11.6	7.7-10.4
	Pingyu County	411723	52	45.6	41.6	37.7	33.1	30.2	28.8	26.5	28.7	26.8	25.1	24.2	21.7	17	16.7	15	13.3
			45.5-59.4	39.8-52.2	36.4-47.1	32.6-43.2	28.3-38.5	25.7-35.4	24.5-33.6	22.8-30.4	25.1-32.8	23.5-30.5	21.8-28.7	21.0-27.8	18.7-25.1	14.6-19.6	14.4-19.2	13.1-16.9	11.5-14.9
	Puyang County	410928	32.9	31	30.1	28.4	26.4	23.6	22	20.1	19.9	19.4	16.8	14	14.6	12.1	11.3	11.1	11.1
			28.2-38.0	26.7-35.7	26.1-34.5	24.3-32.9	22.6-30.7	20.1-27.8	18.9-25.6	17.5-23.2	17.4-22.9	17.0-22.3	14.4-19.4	11.9-16.2	12.4-17.1	10.3-14.2	9.7-13.2	9.6-12.7	9.6-12.7
	Qi County	410221	53.2	51.8	50.6	49.8	48.7	45.1	40.7	37.4	31.5	21.6	19.9	18.5	15	12.9	12.4	11.5	10.8
			45.0-62.5	43.9-60.8	44.2-58.0	43.6-56.9	42.8-55.1	39.6-51.1	35.6-46.2	32.6-42.7	27.5-36.0	18.6-24.9	17.0-23.2	15.6-21.8	12.6-17.7	10.9-15.2	10.4-14.5	9.7-13.4	9.1-12.5
	Qi County	410622	47.2	44.7	42.7	43.9	33.6	27	29	32	29.6	28	25.6	18.2	14.4	12.4	11.8	11.1	10.6
			39.0-56.5	36.8-53.9	35.1-51.1	36.1-52.9	27.5-41.3	22.0-33.1	23.9-35.5	26.7-38.7	24.6-35.3	23.4-33.3	21.2-30.6	15.0-21.8	11.9-17.4	10.3-14.9	9.9-14.0	9.3-13.1	8.9-12.3
	Qibin District	410611	50	47.7	46.4	46.7	46.3	50.9	44.5	40.5	36.1	32.1	29.7	27.5	25.7	25.4	23.8	23.4	23.1
			42.6-58.2	40.9-55.7	40.5-53.1	40.5-53.3	40.4-52.9	44.6-58.4	38.8-51.1	35.5-46.2	31.8-41.0	28.4-36.6	26.1-33.8	23.9-31.2	22.4-29.1	22.3-28.5	21.0-26.5	20.6-25.8	20.4-25.5
	Qingfeng County	410922	29.1	28.5	28.3	29	30.4	30.7	32.3	32.1	31	29.4	27.8	27.2	28.4	28.8	24.9	22.5	19.8
			25.1-33.4	24.7-32.9	24.9-32.2	25.2-33.2	26.2-35.2	26.2-35.7	27.3-38.0	27.1-37.5	26.4-36.4	24.8-34.4	23.4-32.7	23.1-32.0	24.2-33.1	24.7-33.2	21.7-28.3	19.8-25.1	17.6-21.9
	Qinyang City	410882	32.4	31.7	30.3	28.6	27.1	25.1	22.8	19.2	18.7	18.6	18.2	18.8	19.5	21	21.9	22.1	22.3
			28.7-36.7	28.1-36.2	26.6-34.4	25.0-32.8	23.4-31.2	21.4-29.1	19.3-26.6	16.4-22.4	16.1-21.8	15.9-21.5	15.7-21.1	16.2-21.6	16.8-22.2	18.4-23.6	19.3-24.4	19.7-24.4	19.8-24.7
	Queshan County	411725	46.6	42.2	37.1	33.5	31.2	30.4	27.5	22.1	19.2	17.6	14.9	13.5	14.4	13.9	12.2	11.2	10.2
			37.4-57.2	34.0-52.0	30.2-45.1	27.4-40.7	25.7-38.0	25.1-36.7	22.9-32.9	18.9-26.2	16.6-22.2	15.3-20.2	12.9-17.1	11.6-15.7	12.3-16.8	11.9-16.1	10.5-14.2	9.7-12.8	8.8-11.6
	Runan County	411727	46.9	41.6	38.8	34.3	34.5	29.5	27.2	23	17.6	15.5	16	15.5	16.3	15.5	13.8	11.5	9.9
			31.7-67.4	28.3-58.5	26.5-54.4	24.0-46.9	25.0-45.4	22.3-37.9	21.4-33.9	18.7-28.0	14.5-21.1	12.5-18.9	12.7-19.9	11.8-20.1	11.9-21.9	10.8-21.6	9.1-20.0	7.2-17.0	5.9-15.0
	Ruyang County	410326	38.5	36.3	34.2	31.6	32.6	34.5	36.3	40.3	39.5	34.8	30.3	24.2	20.5	20.7	18.4	17.4	16.3
			31.5-46.6	30.1-43.7	28.6-40.4	26.3-37.7	27.2-38.6	29.0-40.6	31.0-42.6	35.1-46.4	34.6-44.9	30.9-39.5	26.6-34.5	21.0-27.8	17.7-23.5	18.0-23.7	16.0-20.9	15.3-19.4	14.3-18.0
	Ruzhou City	410482	35.6	35.8	34	35	35.8	34.8	33.9	32.8	31.6	28	23.1	17.6	13.7	10.1	9.4	9.2	9.2
			30.4-41.1	30.9-41.5	29.9-38.8	30.6-39.9	31.4-41.0	30.3-39.7	29.3-38.7	28.6-37.6	27.6-36.3	24.5-32.0	20.1-26.4	15.2-20.1	11.9-15.6	8.8-11.4	8.2-10.6	8.1-10.2	8.0-10.3
	Shan County	411222	47.4	46.5	45.9	45.3	39.6	32.2	26.1	21.4	19	19.3	19	17.7	17	16.8	15.4	15.4	15.2
			36.8-58.2	37.6-55.7	38.2-53.6	38.7-52.5	33.9-45.8	27.4-37.8	21.7-31.3	17.3-26.2	15.0-23.8	15.1-24.3	15.0-23.8	14.2-21.9	14.1-20.3	14.4-19.6	13.6-17.4	13.9-17.1	13.6-16.8
	Shancheng District	410603	36.7	32.7	37.3	34	34.3	37.1	26.8	25.7	23.8	20.9	17	15.7	14.6	13.3	11.8	11.6	11.4
			30.5-43.7	27.3-39.1	31.2-43.9	28.4-40.4	28.8-40.9	30.9-44.4	22.4-32.0	21.8-30.7	20.1-28.0	17.6-24.6	14.2-20.0	13.1-18.5	12.1-17.4	11.1-15.9	10.0-14.1	9.9-13.6	9.7-13.2
	Shangcai County	411722	48	43.1	41.1	35.5	32.9	29.7	36.8	37.2	32.4	30.9	27.2	20.7	20.7	19.1	17.6	15.4	13.9
			31.5-70.6	28.4-62.0	27.1-59.8	23.5-50.6	22.5-44.9	21.0-40.1	27.3-48.3	28.3-47.5	25.2-41.2	23.7-39.1	20.7-35.2	15.4-27.7	14.9-29.3	13.1-27.6	11.6-25.5	9.8-22.9	8.5-21.4
	Shangcheng County	411524	60.6	60.7	59.5	57.8	57.1	51.2	43.1	35.9	30.7	29.6	28.3	26.3	24.4	22.7	17.1	15.6	14.8
			50.6-71.9	50.6-72.2	49.6-70.3	48.0-69.0	47.1-68.8	41.9-62.0	35.6-52.3	29.9-43.6	25.4-36.7	24.3-35.5	23.3-33.9	21.5-31.4	19.9-29.5	18.7-27.4	14.2-20.4	13.1-18.5	12.4-17.4
	Shangjie District	410106	36	35.1	33.2	29.6	24.3	23.7	20.6	21.3	24.9	24.5	20.1	20.3	17	13.2	10.9	10.5	9.9
			27.7-45.5	27.0-44.9	25.6-42.1	22.9-37.5	18.7-31.0	18.3-30.1	16.4-25.9	17.3-26.3	20.5-30.2	20.2-29.5	16.6-24.1	16.8-24.3	14.1-20.3	11.0-15.6	9.2-12.9	9.0-12.3	8.4-11.4
	Shangshui County	411623	36.5	34.3	32.3	29.8	27.6	25.4	21.2	20.2	19.7	17.4	15.9	15.4	15	15.9	16.5	15.1	14.3
			31.1-42.3	29.6-39.9	28.4-36.7	26.2-33.8	24.2-31.3	22.1-29.0	18.5-24.4	17.6-23.2	17.3-22.6	15.2-20.0	13.7-18.5	13.1-17.9	12.7-17.6	13.5-18.5	14.1-19.1	12.9-17.4	12.2-16.5
	Shanyang District	410811	37.5	35.3	32.1	31.9	37.5	38.6	39.6	35	32.1	33.1	33	33.8	33.9	33.8	32.8	34.1	33.7
			25.5-53.6	24.5-49.5	22.1-44.5	23.0-43.1	28.1-48.7	30.3-48.4	32.5-47.6	29.9-40.7	28.2-36.7	28.7-38.5	27.7-39.4	27.1-41.8	25.7-43.5	24.3-44.9	22.3-45.4	21.9-48.6	20.7-49.3
	Shenqiu County	411624	39	37.4	35.7	31.4	28.2	26.9	25.3	22.4	21.3	20.8	19.1	17.4	17.5	16.3	16.6	15.7	14.9
			32.5-46.4	31.3-44.4	30.0-42.0	26.3-37.2	23.6-33.6	22.4-32.2	21.3-30.2	19.0-26.7	18.0-25.2	17.5-24.5	16.0-22.6	14.5-20.7	14.4-20.8	13.6-19.6	14.0-19.8	13.3-18.4	12.6-17.4
	Sheqi County	411327	45	41.1	38.5	35	29.9	27.6	24	22.8	21.8	20.8	19.3	17.2	14.4	12.9	12	11.1	10.4
			39.4-51.3	36.0-46.8	34.2-43.5	30.9-39.7	26.1-34.2	24.0-31.5	20.7-27.4	19.8-26.3	19.1-25.1	18.2-23.8	16.8-22.2	14.8-19.6	12.5-16.4	11.3-14.6	10.5-13.4	9.8-12.3	9.1-11.5
	Shihe District	411502	33.7	34.3	35.9	37.5	36.6	35.6	32.9	27.8	23.2	21.8	19.1	18.7	18.4	16.7	15.2	13.9	13
			28.5-39.7	29.1-40.5	31.2-41.3	32.6-42.9	31.5-42.2	30.7-41.0	28.1-38.2	23.9-32.3	20.0-26.8	18.8-25.1	16.5-22.0	16.1-21.4	15.9-21.1	14.7-19.0	13.4-17.0	12.4-15.3	11.6-14.4
	Shilong District	410404	28.5	28.9	26.6	23.7	24.7	22.2	19.9	18.4	18.9	13.2	13.4	11.2	9.4	8.7	9.6	9.6	9.7
			21.6-36.6	21.8-37.4	20.1-34.5	17.9-31.0	18.5-32.0	16.6-29.1	15.2-26.0	14.3-23.8	14.7-24.0	10.3-16.6	10.5-16.9	8.7-13.9	7.4-11.7	6.9-10.8	7.8-11.7	7.9-11.5	8.0-11.6
	Shunhe Huizu District	410203	34.9	29.8	24.8	23.6	20.2	21.4	21.1	17.8	19.5	18.3	17.2	15.1	11.6	10.7	9.1	9	8.5
			29.2-41.5	25.1-35.2	21.0-29.0	19.8-27.7	16.9-23.9	17.9-25.6	17.6-25.3	14.9-21.4	16.3-23.2	15.1-21.8	14.1-20.6	12.4-18.3	9.5-14.1	8.7-13.0	7.6-10.9	7.5-10.7	7.1-10.0
	Song County	410325	60.6	57.2	55.5	55.4	52.6	50.9	44.3	43.6	39.1	33.6	27.7	23.7	21.5	20	18.5	17.6	16.9
			53.5-68.6	50.1-65.5	48.0-63.7	46.8-64.9	43.8-62.5	42.1-60.9	35.9-53.4	35.2-52.7	31.4-47.4	27.5-40.2	23.0-32.7	20.0-28.0	18.3-25.1	17.0-23.3	16.1-21.3	15.5-20.0	15.1-18.9
	Sui County	411422	69.6	63.1	59.4	52.8	47.8	42.8	38.4	38.3	35.4	31.5	28.7	25.2	19.3	15.7	15.2	13.3	11.7
			54.8-85.2	51.5-74.9	49.2-70.0	44.4-61.9	40.5-56.1	36.0-50.6	31.7-46.4	31.1-47.1	28.6-43.6	25.2-39.3	23.1-35.7	20.6-30.9	16.1-23.0	13.6-18.1	13.6-17.1	11.9-14.7	10.3-13.0
	Suiping County	411728	38.2	33.6	31.5	26.8	23.5	21.7	21.1	18.3	17.7	17.8	17.2	16	16.2	15.7	12.8	11.2	9.8
			31.3-46.0	27.7-40.4	26.3-37.4	22.3-31.9	19.6-27.9	18.2-25.9	17.8-24.9	15.7-21.4	15.4-20.3	15.5-20.3	14.9-19.8	13.8-18.5	13.9-18.9	13.5-18.2	11.1-14.9	9.7-12.7	8.5-11.0
	Suiyang District	411403	43.8	40.8	38.1	39.8	35.7	32.7	29.1	24.1	19.4	18.6	17.6	16.5	17.7	16.9	15.8	14.1	12
			35.0-53.7	32.7-50.3	30.6-46.6	32.0-48.8	28.8-44.3	26.2-40.2	23.6-35.9	19.9-29.3	16.0-23.4	15.3-22.3	14.5-21.2	13.5-19.8	14.5-21.3	14.0-20.4	13.3-18.8	11.9-16.6	10.1-14.0
	Taikang County	411627	46	44.8	42.1	39.4	36.6	31.5	29.4	24.9	20.4	15.8	13.9	12	10.9	11.2	13.9	13.4	13
			31.4-65.2	31.2-62.3	29.3-57.9	28.6-52.7	27.5-47.2	24.7-39.3	24.2-35.2	21.3-29.0	17.7-23.6	13.4-18.6	11.3-17.1	9.2-15.3	8.0-14.5	7.7-15.4	9.0-20.1	8.1-19.9	7.7-19.9
	Taiqian County	410927	47.9	46.3	44.2	47.8	49.2	48.3	47.7	48.5	42.9	38.7	34	30.4	30.2	29.4	27.1	24.9	23.6
			39.7-57.0	38.5-54.9	38.2-51.4	41.3-55.2	42.4-56.5	42.0-55.4	41.5-54.6	42.6-55.2	38.0-48.8	34.3-43.8	29.8-38.5	26.4-34.6	26.2-34.3	25.7-33.5	23.6-30.4	21.7-27.8	20.5-26.5
	Tanghe County	411328	47.1	45.4	44.1	41.6	38	35.5	32.8	29.6	26.8	23.5	22.5	21.4	21	22.9	23.4	22.3	21.1
			40.6-54.1	39.4-52.4	38.8-50.0	36.4-47.5	33.0-43.7	30.6-40.9	28.0-38.0	25.5-34.3	23.2-30.9	20.3-27.1	19.4-26.0	18.5-24.6	18.1-24.0	20.1-26.0	20.6-26.1	19.8-24.6	18.8-23.2

Province	County	County Code (2012)	Under-5 Mortality Rate (per 1000 births)																
			1996	1997	1998	1999	2000	2001	2002	2003	2004	2005	2006	2007	2008	2009	2010	2011	2012
	Tangyin County	410523	44.2	41.7	40.7	36.7	34.9	34.3	30.5	27.9	25	22.2	20.3	19.7	18.6	19	18.9	18.4	18.1
			37.6-51.3	35.9-48.3	35.3-46.6	31.6-42.1	29.9-40.4	29.2-40.1	25.3-36.2	23.1-33.1	20.9-29.7	18.6-26.3	17.1-23.9	16.6-23.2	15.9-21.6	16.3-22.0	16.5-21.6	16.3-20.8	16.1-20.3
	Tongbai County	411330	85.7	82.4	80.9	76.8	67.6	60.7	53.7	46.7	42.9	36.8	31.5	28.2	25.7	23.7	22.9	21.6	20.7
			66.7-104.8	66.9-98.7	67.9-94.3	66.6-88.2	59.0-77.4	52.5-70.0	45.2-63.8	38.1-56.9	34.4-53.1	29.1-46.6	24.8-39.9	22.8-34.9	21.4-31.1	20.3-27.5	20.3-25.9	19.3-24.0	18.1-23.0
	Tongxu County	410222	52.9	54.5	50.9	53.9	52.5	49.2	44	45.1	34.1	31.7	27	21.3	15.9	13.7	10.9	9.9	9.1
			45.5-61.0	47.2-62.9	44.9-57.8	47.1-61.4	45.4-60.4	42.0-57.0	37.3-51.6	38.5-52.7	29.2-39.9	27.0-36.8	23.2-31.3	18.3-24.5	13.7-18.2	12.0-15.5	9.6-12.2	8.8-10.9	8.1-10.1
	Weibin District	410703	27.5	25.8	23.8	23.7	21.1	22.7	19	22.1	19.5	16.9	14.8	14.5	12.2	11	10.5	10.9	11.1
			17.5-41.8	16.6-38.6	15.1-35.6	15.1-34.5	13.9-29.9	15.4-32.0	13.3-26.0	16.1-29.6	14.5-25.8	12.3-22.5	10.7-19.8	10.5-20.0	8.7-17.6	7.5-16.0	6.9-15.6	6.9-16.6	6.8-17.1
	Weidong District	410403	30.6	31.8	30.5	29.4	28.9	29.4	28.5	36	36.3	31.8	29.4	24.7	22.4	19.2	17.3	17.5	17.4
			23.3-39.4	24.1-40.8	23.1-39.2	22.2-37.9	21.9-37.4	22.3-37.8	22.1-36.3	28.5-45.6	29.2-44.9	25.6-39.0	23.8-35.8	20.0-30.0	18.1-27.0	15.8-23.1	14.4-20.7	14.8-20.5	14.7-20.4
	Weidu District	411002	24.2	23.7	23.4	24.8	25	24.2	21.7	20.3	18.6	16.5	17.2	16.7	14.7	12.9	12.2	12	10.5
			19.6-29.5	19.4-28.9	19.4-28.0	20.7-29.7	20.8-29.7	20.3-28.8	18.3-25.5	17.6-23.7	16.2-21.4	14.4-18.8	14.9-19.8	14.3-19.3	12.6-17.1	11.0-15.0	10.5-14.2	10.4-13.7	9.1-11.8
	Weihui City	410781	29.5	28.5	27.1	25.8	23	21	18.2	17.9	15.1	12.9	11.1	9.9	8.6	8.7	10.6	11.1	11.5
			25.5-33.9	24.8-32.9	24.0-30.7	22.7-29.3	20.2-26.2	18.4-24.0	15.8-20.8	15.6-20.5	13.3-17.3	11.3-14.7	9.6-12.8	8.5-11.5	7.3-9.8	7.5-10.0	9.2-12.1	9.7-12.6	10.0-13.0
	Weishi County	410223	42	39.3	37.3	34.5	34.5	29.6	29.9	25.4	23.5	20.6	17.8	14.8	13.2	11.5	11.5	10.6	10
			36.0-48.4	33.9-45.4	32.8-42.4	30.4-39.2	30.3-39.4	26.0-33.7	26.0-34.0	22.3-29.2	20.6-26.8	18.1-23.3	15.5-20.4	12.8-17.0	11.4-15.2	9.9-13.2	9.9-13.0	9.2-12.0	8.6-11.3
	Wen County	410825	40.4	38.4	36.7	35.1	30.3	27.6	27	26.3	23.4	22.8	22.6	21.4	21.4	23.5	24.1	24.2	25
			34.5-46.9	32.8-44.5	31.6-42.1	29.9-40.5	25.8-35.3	23.3-32.3	23.1-31.5	23.0-30.4	20.6-26.7	20.1-25.9	19.7-25.7	18.5-24.5	18.5-24.5	20.5-26.9	21.1-27.1	21.6-27.0	22.1-27.6
	Wenfeng District	410502	37.2	35.5	34.1	29.4	27.5	29.7	27	25.8	20.8	11	10.3	10	9.6	9.5	9.4	9.4	9
			30.6-44.7	29.2-42.9	28.0-40.9	24.2-35.7	22.4-33.8	24.2-36.3	22.0-32.9	21.2-31.4	17.1-25.0	8.9-13.4	8.4-12.6	8.1-12.1	7.8-11.7	7.7-11.5	7.8-11.3	7.9-11.2	7.5-10.5
	Wolong District	411303	35.6	34.9	34.2	30.3	26.4	24.6	21.6	19.1	19.1	18.7	19.6	19.6	19.8	18.3	15.2	13.5	11.7
			31.3-40.3	30.9-39.8	30.2-38.7	26.5-34.7	22.7-30.5	20.9-28.7	18.2-25.2	16.2-22.2	16.3-22.3	15.9-21.7	16.7-22.8	16.7-22.7	16.9-22.6	15.9-20.9	13.4-17.1	12.0-15.0	10.5-12.9
	Wugang City	410481	38.8	36	34.4	29.7	24	23.1	20.4	16.9	13.8	11.4	8.9	6.8	6.5	6.6	7.3	7.9	8.4
			30.5-48.3	28.3-45.0	27.4-42.5	23.9-36.6	19.5-29.4	19.1-28.0	17.0-24.5	14.4-19.9	12.0-16.1	9.9-13.1	7.7-10.2	5.8-7.9	5.5-7.6	5.6-7.7	6.3-8.6	6.9-9.1	7.3-9.6
	Wuyang County	411121	46.5	46.2	47.7	49.9	50.8	53.2	52.7	46.5	41.9	37	32.4	27.3	26.1	24.9	21.6	19.5	17.6
			39.3-54.5	39.2-54.4	41.4-54.9	43.1-57.2	44.0-58.8	45.8-61.5	45.2-61.0	40.1-53.5	36.4-48.2	32.1-42.5	28.2-37.3	23.6-31.1	22.6-29.8	21.9-28.2	19.0-24.1	17.3-21.5	15.6-19.4
	Wuzhi County	410823	47.3	45.2	45.3	43.3	43	37.8	33.1	27.8	24.4	20.2	20.4	21.6	23.7	25.9	27	27.5	27.9
			39.1-56.4	37.6-53.8	39.2-52.7	37.3-50.0	37.1-49.5	32.8-43.4	28.7-38.1	24.4-31.8	21.4-27.8	17.8-23.1	17.9-23.3	18.8-24.7	20.5-26.8	22.8-29.0	23.8-30.1	24.4-30.2	24.8-30.8
	Xi County	411528	45.7	43.1	41.9	38.7	36.7	34.4	31.6	30.6	28.9	26.9	25.3	23.7	21.5	18.2	15.1	13.9	13.2
			40.4-51.8	38.1-49.6	36.4-48.0	33.3-44.8	31.3-42.5	29.1-40.3	26.2-37.6	25.9-36.3	24.6-33.8	23.2-31.0	22.0-29.1	20.6-27.2	18.8-24.5	15.9-20.5	13.2-17.0	12.2-15.4	11.5-14.7
	Xiangcheng City	411681	34.4	32.6	30.5	28.2	26.5	25.1	24.8	22.5	22	20.6	19.2	18.7	17.6	16.7	17.1	16.3	15.3
			23.4-48.9	22.8-45.2	21.6-42.2	20.5-37.7	20.0-34.5	19.9-31.5	20.5-29.9	19.4-26.0	19.1-25.1	17.4-24.0	15.6-23.2	14.4-23.5	12.9-22.7	11.6-22.2	11.4-23.5	10.2-23.3	9.3-22.5
	Xiangcheng County	411025	41.8	42.2	42.2	43	43.5	41.7	41.4	39.2	37.3	36.7	36	34.8	28.2	24.1	18.3	14.7	11.6
			35.7-48.2	36.5-48.8	37.0-48.0	37.4-49.3	37.6-50.2	35.8-48.4	35.1-48.5	33.3-45.7	31.9-43.6	31.2-42.8	30.6-42.1	29.8-40.4	24.1-32.3	20.9-27.4	16.1-20.5	13.0-16.2	10.4-12.8
	Xiayi County	411426	54	49.3	45.9	42.2	42.2	35.4	35.5	30.5	27.6	24.7	22.6	22	22.3	22.4	21.8	20	18.4
			47.9-61.1	43.5-56.2	40.3-52.1	36.6-48.4	36.1-48.9	30.0-41.5	29.9-41.8	25.8-35.8	23.4-32.5	20.9-28.9	19.2-26.4	18.7-25.6	19.1-25.7	19.3-25.6	19.1-24.6	17.7-22.3	16.4-20.4
	Xichuan County	411326	46.2	45.8	46.4	46.4	47.1	46.4	44	38.6	33.9	29.6	26.5	25.1	23.7	24.3	21.6	19.8	18.1
			40.7-52.4	40.5-52.2	40.9-52.5	40.7-52.9	40.7-54.1	39.7-53.4	37.6-51.0	33.1-44.7	29.4-39.0	25.8-34.1	23.0-30.4	21.7-28.7	20.5-27.0	21.3-27.4	19.0-24.1	17.6-21.9	16.1-20.0
	Xigong District	410303	26	25.2	26.4	26.5	24.8	25.8	23.2	22.3	19.7	16.5	15.9	14.9	13.2	12.6	10.9	10.8	10
			18.9-34.8	19.0-32.9	20.0-34.0	20.9-33.0	20.1-30.3	21.4-30.7	19.9-26.9	19.2-25.5	17.2-22.6	14.2-19.3	13.3-19.1	12.1-18.4	10.3-16.7	9.3-16.6	7.6-14.7	7.1-15.0	6.4-14.1
	Xihua County	411622	37.7	34.2	33.3	31.1	29	30.1	27	25.9	24.1	20.7	16.9	14	12.3	10.9	11.8	11.4	11.3
			32.0-44.2	29.2-40.2	29.1-38.2	27.0-35.6	25.3-33.4	26.3-34.5	23.4-30.9	22.5-29.6	21.1-27.6	18.2-23.6	14.8-19.3	12.1-16.0	10.7-13.9	9.5-12.4	10.3-13.2	10.1-12.7	9.9-12.6
	Xin County	411523	50.5	48.6	46.8	43.7	40.7	39.4	36.8	34.4	28.6	25.7	20.4	15.7	12.4	10.9	10.1	9.6	9
			41.8-60.4	40.2-58.2	40.0-54.6	37.4-50.8	35.0-46.8	34.0-45.5	31.8-42.4	30.0-39.4	25.0-32.8	22.6-29.3	17.8-23.3	13.6-17.9	10.8-14.0	9.6-12.4	8.9-11.4	8.4-10.7	7.8-10.0
	Xin'an County	410323	39.2	37.8	36.5	36.1	39.4	41.4	41.8	41.8	38.1	33.4	26.7	22.5	17.5	16.9	15.9	15.1	14.5
			34.2-44.8	32.9-43.5	32.2-41.4	31.6-41.1	34.5-45.1	36.1-47.3	36.3-47.8	36.6-47.9	33.6-43.6	29.3-38.0	23.3-30.6	19.4-25.9	15.0-20.1	14.5-19.4	13.7-18.1	13.0-17.2	12.5-16.5
	Xincai County	411729	61	53.6	48.6	43.2	38.8	32.9	25.2	22.2	20.6	18.2	17.1	18	16.5	16.6	14.4	13	11.7
			46.8-75.4	42.9-64.8	40.4-56.8	37.3-49.6	33.8-44.5	28.5-38.2	21.1-30.0	18.1-27.2	16.3-25.7	14.2-23.0	13.5-21.5	14.5-22.4	13.7-20.0	14.1-19.4	12.5-16.4	11.4-14.8	10.0-13.4
	Xingyang City	410182	36.1	34.4	32.2	31	29.9	30.5	30	28	27.1	24.9	20	16.7	14.6	13.8	12.1	11.5	10.8
			31.5-41.0	29.9-39.6	28.0-36.9	26.6-36.0	25.5-34.8	25.7-36.0	24.7-35.6	23.3-33.4	22.7-32.2	20.9-29.1	17.0-23.3	14.3-19.5	12.5-16.7	12.0-15.7	10.7-13.5	10.3-12.7	9.7-11.9
	Xinhua District	410402	31.7	29.7	28.6	27.8	26.5	26.2	24.8	20.7	21.5	21	20.8	17.5	14.4	13.5	11.3	12.1	11.8
			25.7-38.7	24.3-36.2	23.7-34.3	23.1-33.3	22.2-31.7	21.8-31.3	20.9-29.5	17.7-24.6	18.3-25.2	17.9-24.6	17.5-24.4	14.6-20.7	11.9-17.1	11.3-16.1	9.5-13.5	10.3-14.2	10.1-13.7
	Xinmi City	410183	46.8	43.9	41.4	42.5	37.4	34.5	31.8	28.1	25.3	22.8	20.1	18.3	17.5	16.5	15.5	15	14.6
			36.2-57.7	35.5-52.8	34.7-48.2	36.8-48.9	32.5-42.7	29.8-39.9	26.8-37.9	22.8-34.3	20.3-31.4	17.9-28.8	15.9-25.4	14.7-22.8	14.5-21.1	14.1-19.1	13.8-17.4	13.5-16.6	12.9-16.1
	Xinxiang County	410721	43.2	40.8	40.1	42.8	38.2	31.2	21.6	18.2	13	15	13.8	14.3	13.5	12.6	11.9	12	12.1
			36.0-51.4	34.2-48.5	33.7-47.0	35.9-50.4	32.0-45.1	25.9-37.3	18.1-26.0	15.3-21.8	10.8-15.4	12.5-17.9	11.4-16.4	11.7-17.1	11.1-16.3	10.4-15.2	10.0-14.3	10.1-14.1	10.2-14.2
	Xinye County	411329	36.2	33.9	32.6	30.2	27.7	25.4	22.8	21.1	20.3	19.9	20.9	22.2	23.2	24.9	25.1	23.7	22.3
			31.7-41.2	29.5-38.3	28.6-37.2	26.1-34.7	23.5-32.4	21.4-29.9	19.2-27.0	17.9-24.8	17.3-23.6	17.0-23.1	17.7-24.6	18.8-26.0	19.7-27.1	21.2-28.8	21.7-28.6	21.0-26.8	19.8-24.9
	Xinzheng City	410184	33.7	31.6	30.5	29.3	29.5	28.1	27.6	27.6	24.8	23.1	19.5	18.2	16.4	15.8	14.3	13.9	13.4
			29.3-38.5	27.5-36.4	27.0-34.7	25.5-33.3	25.4-34.0	23.9-32.6	23.3-32.5	23.3-32.4	21.1-29.2	19.5-27.2	16.4-22.9	15.4-21.3	14.0-19.0	13.5-18.1	12.5-16.2	12.3-15.6	11.9-14.9
	Xiping County	411721	48.3	46.5	42	37.9	33.3	31.7	27.7	24.5	22.6	20.2	17	15.9	14.5	13.4	12	10.8	9.8
			42.3-54.8	40.7-53.5	36.3-48.2	32.2-44.3	27.9-39.5	26.1-38.0	22.4-33.4	19.7-29.7	18.1-27.6	16.3-24.1	14.0-20.4	13.2-19.0	12.2-17.3	11.3-15.8	10.3-14.0	9.4-12.3	8.7-11.1
	Xiuwu County	410821	44.5	42.1	42.5	39.1	35.9	33.9	31.2	28.4	26	25.8	24	24.2	24.5	27.2	27.8	28.9	29.7
			32.1-59.9	31.3-54.9	32.1-54.5	30.9-49.2	29.0-44.2	28.1-40.8	26.3-36.8	24.5-32.8	22.6-29.9	21.8-30.5	19.4-29.0	18.6-30.5	18.1-31.9	19.1-36.5	18.8-37.9	18.7-40.6	18.6-42.7
	Xixia County	411323	61.9	61	57.8	56.3	50.8	44.9	38.4	33.8	28.7	26	22.8	18.3	17	15.7	14.1	13	12.2

Province	County	County Code (2012)	Under-5 Mortality Rate (per 1000 births)																
			1996	1997	1998	1999	2000	2001	2002	2003	2004	2005	2006	2007	2008	2009	2010	2011	2012
			54.1-70.5	53.5-69.6	51.4-65.2	49.8-63.8	44.5-58.0	39.2-51.2	33.1-43.9	29.5-38.8	25.1-33.0	22.8-29.7	19.7-26.2	15.7-21.1	14.6-19.5	13.6-18.0	12.3-16.0	11.3-14.6	10.6-13.8
	Xuchang County	411023	26.8	27	26.7	26	26	26.2	27.2	26.3	25.9	24.5	24	22.7	21.1	19	18.2	16.3	15
			22.7-31.3	23.1-31.6	23.3-30.6	22.6-29.8	22.4-30.1	22.5-30.4	23.1-31.8	22.2-30.6	22.1-30.3	20.9-28.6	20.3-28.0	19.4-26.4	18.1-24.2	16.5-21.6	16.0-20.4	14.4-18.0	13.4-16.5
	Xun County	410621	54.7	52.4	50.5	46.2	41.3	45	38.6	36.8	35.2	31.3	27.2	23.1	20	17.7	15.9	15.3	14.6
			46.2-64.3	44.2-61.4	43.0-58.7	39.0-54.1	34.7-48.6	38.2-53.1	32.8-45.3	31.7-42.9	30.6-40.8	27.0-36.1	23.1-31.7	19.5-27.1	16.8-23.8	14.8-21.0	13.4-18.8	13.1-17.8	12.5-16.9
	Yancheng District	411103	34.9	34.4	34.7	34.6	34.7	34	32.7	29.7	27.2	24.4	23.1	23.3	22.1	23.7	22.6	21.8	21.4
			30.3-39.9	30.0-39.6	30.2-39.7	29.8-40.1	29.5-40.4	28.6-40.2	26.9-39.1	24.6-35.6	22.6-32.5	20.3-29.0	19.3-27.5	19.6-27.8	18.7-26.0	20.1-27.5	19.6-26.0	19.2-25.0	18.9-24.2
	Yanjin County	410726	32.1	30	29	25.9	24	23	20.9	19.4	19.4	18.8	16.6	14.7	13.5	11.2	11.1	11.1	11.3
			26.1-39.2	24.4-36.7	23.9-35.0	21.3-31.3	19.9-29.2	19.0-27.8	17.4-25.1	16.5-23.2	16.5-22.8	16.0-21.9	14.1-19.4	12.4-17.3	11.3-16.1	9.4-13.3	9.4-13.0	9.5-12.9	9.6-13.0
	Yanling County	411024	36.2	34.7	37.1	37.9	37.9	38.2	35.1	32.5	26.6	22.6	18.4	15.6	14.3	13.5	12	10.8	9.7
			31.7-41.2	30.2-39.9	32.2-42.7	32.5-44.3	32.0-44.6	32.1-45.4	28.8-42.0	26.9-39.1	22.2-31.8	19.0-26.6	15.6-21.6	13.3-18.2	12.3-16.4	11.8-15.4	10.6-13.4	9.7-11.9	8.7-10.7
	Yanshi City	410381	28.7	27.8	27.2	26.2	26	25.9	25.1	24	22.6	21.4	19.1	16.6	15.7	15	14.2	13.6	12.8
			25.2-32.6	24.4-31.6	24.0-30.8	22.9-30.0	22.4-29.9	22.0-30.1	21.3-29.3	20.5-28.0	19.3-26.3	18.3-24.8	16.4-22.3	14.2-19.1	13.5-18.0	13.1-17.1	12.5-16.0	12.1-15.1	11.5-14.1
	Ye County	410422	25.4	23.1	22	19.8	19	19.5	21.2	21.5	20	17.2	15	12.7	13.4	12.7	12.6	12.3	12.3
			19.5-32.4	17.6-29.7	16.8-28.3	15.0-25.5	14.3-24.5	14.7-25.4	16.3-27.1	16.7-27.5	15.7-25.2	13.5-21.5	11.8-18.7	10.1-15.9	10.6-16.6	10.2-15.6	10.3-15.4	10.2-14.7	10.2-14.5
	Yicheng District	411702	32.9	30	27.2	24.5	21.2	20	19.4	16.5	15	14.4	13.6	13.5	14.8	14	11.5	10.6	9.7
			21.0-49.7	19.3-44.7	17.3-40.6	15.6-35.6	14.0-30.1	13.5-28.1	13.5-26.5	12.0-22.2	11.1-19.9	10.4-19.1	9.9-18.2	9.8-18.7	10.6-21.3	9.6-20.4	7.6-17.1	6.7-16.0	6.0-14.9
	Yichuan County	410329	43.8	42.7	41.5	46	43	39.4	38.2	33.7	28.4	26.1	23.4	20.9	21.3	22.2	22.1	21.7	21.4
			32.0-58.2	32.0-55.6	31.8-53.6	36.5-56.8	35.0-52.4	32.4-47.4	31.7-45.8	27.9-40.3	23.5-33.8	21.3-31.3	18.7-28.6	16.5-26.4	16.4-27.4	16.4-28.9	15.7-29.8	14.7-30.1	14.2-30.1
	Yima City	411281	46.4	44.6	43.3	41.5	35.6	35	30.3	25.2	24	22.6	18.3	16.3	14.5	13.9	13.3	12.9	12.8
			35.9-58.6	34.3-56.3	33.5-54.7	32.1-52.8	27.4-45.2	26.9-44.6	23.6-38.6	19.9-31.7	19.3-29.8	18.1-27.8	14.7-22.6	13.0-20.0	11.6-17.8	11.2-17.1	10.9-16.1	10.8-15.5	10.6-15.1
	Yindu District	410505	28.4	31.3	30.8	30.6	27.5	26.8	26.3	23.5	22.3	20.3	20.6	19.6	18.2	17	14.1	13.4	11.9
			22.4-35.4	24.7-38.9	24.8-37.9	24.7-37.6	22.4-33.5	22.0-32.5	22.0-31.5	20.1-27.7	19.4-25.6	17.7-23.1	18.0-23.6	17.1-22.6	15.7-21.0	14.6-19.6	12.2-16.1	11.7-15.0	10.3-13.4
	Yiyang County	410327	66.9	64.7	61.5	66.7	55.2	46.5	42.9	35.2	28	26.5	24.8	20.9	17.4	15.5	13.7	12.5	11.8
			54.9-80.5	53.1-77.8	52.3-72.5	57.3-77.6	47.5-63.8	39.9-53.4	37.2-49.2	30.7-40.2	24.8-31.9	23.4-30.1	21.8-28.3	18.2-23.9	15.0-19.9	13.4-17.6	11.9-15.6	10.9-14.1	10.2-13.4
	Yongcheng City	411481	62.7	58.5	56.2	53	48.1	42.6	39.6	37.8	35	32.4	31.5	29.8	26.8	23.9	21.3	17.1	14.6
			48.6-76.9	47.3-70.2	46.9-65.5	45.8-61.3	41.7-55.3	36.5-49.3	33.2-47.1	30.8-46.0	27.9-43.4	25.7-40.8	25.0-39.5	24.2-36.7	22.3-32.1	20.7-27.7	19.0-23.8	15.4-18.9	12.9-16.1
	Yuancheng District	411302	44.7	43.4	41.8	39.8	35.5	33.6	28.3	25.7	24.6	22.7	22.5	22.1	18.9	14.8	12.3	10.6	8.9
			34.6-55.3	35.1-52.0	35.0-48.5	34.5-45.7	31.0-40.6	29.1-38.8	23.7-33.6	20.8-31.5	19.6-30.8	17.8-28.8	17.8-28.6	17.9-27.5	15.7-22.8	12.7-17.2	10.8-13.9	9.5-11.8	7.8-9.9
	Yuanhui District	411102	29.1	28.5	30.4	30.7	29.8	30.8	28.6	28.8	26.8	26.4	25.7	24.4	22.6	23	21.5	20.9	20
			20.1-40.8	20.4-38.7	21.9-41.4	23.1-40.1	23.2-37.9	24.9-37.9	24.0-33.9	24.9-33.0	23.4-30.6	22.5-30.7	21.0-30.8	19.0-30.3	16.8-29.1	16.4-30.5	14.7-29.2	13.7-29.4	12.6-28.4
	Yuanyang County	410725	39	37	35	32.9	29.8	26.5	23.8	19.8	18.6	16.4	15.3	12.2	10.3	7.9	7.9	7.8	7.7
			33.1-45.7	31.4-43.2	30.0-40.5	28.0-38.3	25.5-34.8	22.5-31.1	20.3-27.9	17.1-23.1	16.1-21.7	14.1-19.0	13.0-17.8	10.2-14.3	8.6-12.3	6.6-9.4	6.7-9.4	6.6-9.0	6.6-8.9
	Yucheng County	411425	45.1	41.9	40.5	37.8	34.1	30.8	27.2	24.8	22.6	21.5	21.3	21.2	19.3	15.7	14.3	11.8	9.9
			35.1-55.1	34.0-50.4	33.8-47.4	32.5-43.5	29.4-39.3	26.3-35.8	22.8-32.4	20.3-30.3	18.0-28.1	17.0-27.0	16.9-26.7	17.2-26.2	16.1-23.1	13.6-18.3	12.8-16.0	10.6-12.9	8.8-10.9
	Yuzhou City	411081	44.3	45.7	45.5	46.8	48.5	47.3	47.4	46.2	44.6	39.6	32.5	25.9	22.1	17.9	16.3	15.3	14.4
			37.7-51.3	39.4-53.1	39.8-51.8	40.8-53.6	41.8-56.1	40.7-54.5	40.4-55.1	39.7-53.6	38.4-51.7	34.1-45.7	28.2-37.4	22.4-29.7	19.1-25.2	15.7-20.2	14.3-18.2	13.6-16.9	12.7-15.9
	Zhaoling District	411104	27.9	28	27.8	26.2	25.1	24.8	23.4	22.7	22.4	19.9	18.4	20.3	20	20.4	20.6	20.1	19.4
			18.0-41.8	18.3-40.7	18.1-40.7	17.2-37.4	17.0-34.6	17.7-33.4	17.3-30.8	17.5-28.6	18.0-27.1	16.4-24.0	15.2-22.1	16.5-24.9	15.6-24.8	15.3-26.3	14.7-27.6	13.7-27.5	12.6-27.3
	Zhecheng County	411424	44.7	41.3	38.9	34.4	31	26.1	20.4	16.8	16.9	18	18.7	21.6	21.3	18.4	17.8	15.3	13.5
			36.9-53.7	34.3-49.6	32.4-46.0	28.7-40.8	26.0-36.9	22.0-31.1	17.2-24.2	14.3-19.7	14.6-19.8	15.5-20.9	16.0-21.7	18.3-25.0	18.1-25.1	15.7-21.7	15.2-20.9	13.2-17.6	11.6-15.5
	Zhengyang County	411724	49.2	44.7	40.3	37.5	34.3	32.4	29.3	25.9	23.5	21.9	19.3	19	17.5	16.1	13.6	12	10.9
			41.5-57.5	38.1-52.3	34.6-46.5	32.1-43.4	29.1-39.9	27.3-38.1	24.2-35.0	21.4-30.9	19.7-28.0	18.4-25.7	16.4-22.5	16.2-22.0	15.1-20.0	14.2-18.2	12.1-15.2	10.7-13.2	9.6-12.0
	Zhenhe District	410411	25.6	24	23.7	22.5	21.9	21.4	21.6	24.5	21.2	19	17.1	14.4	11.8	12.6	14.8	15.6	16.1
			17.3-36.6	16.7-33.4	16.7-33.0	16.3-31.1	16.2-29.1	16.4-27.5	17.1-26.7	20.1-29.6	17.7-25.3	15.7-22.8	13.7-21.0	11.0-18.5	8.6-15.9	8.6-17.4	9.8-21.1	9.8-22.9	9.8-24.2
	Zhenping County	411324	60.4	58.4	54.2	50.6	38.3	32	28.1	24	22.4	21	19.8	17	13.8	11.2	9.8	8.8	8
			47.1-74.0	47.5-69.8	45.8-62.6	44.2-57.7	33.5-43.6	27.6-37.0	23.3-33.6	19.4-29.7	17.7-28.2	16.4-26.7	15.5-25.2	13.6-21.1	11.5-16.8	9.6-13.1	8.5-11.1	7.8-10.0	6.9-9.1
	Zhongmu County	410122	41.6	41	40.4	40.6	40.5	37.1	33	31.6	27.2	24.8	24.6	23.8	21.7	19	16.4	14.2	12.4
			34.5-49.6	34.2-48.6	34.3-47.1	34.2-47.5	34.3-47.4	31.5-43.6	28.2-38.4	27.7-36.4	24.0-31.0	21.8-28.1	21.4-28.0	20.4-27.3	18.7-25.2	16.4-22.1	14.2-18.9	12.4-16.1	10.8-14.0
	Zhongyuan District	410102	32.8	29.3	29.8	31.3	29.3	25.7	23.8	23.3	19.1	15.9	15.1	13.5	13.1	13.1	12.2	12.6	12.2
			23.2-44.9	21.4-39.2	22.2-39.7	24.4-39.9	23.7-36.3	21.5-30.7	20.6-27.3	20.4-26.6	16.6-21.9	13.5-18.8	12.3-18.4	10.6-17.1	9.8-17.3	9.2-17.8	8.1-17.3	7.8-18.3	7.3-18.0
	Zhongzhan District	410803	46.9	44	42.5	41.4	39.4	37	35.5	28.9	24.2	24.1	22.2	22.2	24.6	26.6	26.2	26.3	26.2
			39.9-54.8	37.4-51.2	36.6-48.9	35.2-48.1	33.5-46.0	31.4-43.4	30.4-41.4	25.3-33.3	21.3-27.6	21.1-27.3	19.4-25.3	19.1-25.5	21.2-28.2	23.1-30.6	22.9-29.7	23.3-29.4	23.1-28.9
Hubei	Anlu City	420982	25	21.8	19.8	20.3	18.5	16.4	15.8	15.7	12.6	11.7	12.3	11.7	11.7	12.1	11.8	10.9	10
			21.0-29.4	18.3-25.3	16.7-23.0	17.0-23.8	15.5-21.7	13.8-19.2	13.4-18.3	13.6-18.0	11.1-14.3	10.3-13.1	10.8-14.0	10.1-13.3	10.2-13.4	10.6-13.8	10.4-13.4	9.7-12.3	8.9-11.1
	Badong County	422823	91.3	82.2	73.5	63.8	55.3	44.9	36.4	34.6	32.1	30.5	29.9	29.1	27.7	27.6	27	27.1	26.8
			74.0-110.9	68.1-98.6	62.3-86.3	54.5-73.8	46.8-64.5	37.6-52.9	30.1-43.2	28.6-41.7	26.1-39.0	24.7-37.0	24.7-36.0	24.5-34.5	23.7-32.5	24.0-31.7	24.0-30.4	24.4-30.1	24.2-29.5
	Baokang County	420626	55.4	48.8	42.4	37	31.8	30.6	29.4	27.8	26.6	26.4	25.8	25.6	26.3	25.9	25.6	24.4	23.7
			44.5-67.7	40.1-58.2	35.7-49.8	31.6-43.0	27.0-37.2	25.7-36.1	24.3-35.0	22.9-33.4	21.6-32.2	21.3-32.1	21.3-30.9	21.3-30.2	22.4-30.7	22.6-29.6	22.8-28.8	22.1-27.0	21.4-26.1
	Caidian District	420114	17.7	17.4	16.3	15.7	15.6	15.1	15	14	15.2	15.3	14.5	13.5	12.2	9.9	9.1	9	8.6
			15.2-20.5	15.0-19.9	14.0-18.6	13.4-17.9	13.4-17.9	13.0-17.3	13.0-17.1	12.3-15.8	13.4-17.0	13.5-17.1	12.8-16.3	11.9-15.3	10.8-13.8	8.8-11.2	8.2-10.1	8.1-9.9	7.8-9.5
	Cengdu District	421303	24	22.1	20.2	18.9	16.7	15.9	14.8	15.2	15.8	16.6	16.8	17.8	18.2	17.4	15.8	14.6	13.9
			20.3-27.8	18.8-25.4	17.2-23.2	16.1-22.0	14.2-19.4	13.5-18.6	12.8-17.2	13.2-17.3	14.0-17.7	14.8-18.5	15.0-18.8	15.8-20.0	16.0-20.4	15.5-19.5	14.2-17.6	13.2-16.2	12.6-15.3
	Zizhixian	420528	38.7	36.3	34.9	34	32.8	31.6	31.7	32.2	31	31.2	27.4	23.7	21.5	19.4	18	17.1	16.8
			33.1-44.7	31.1-41.7	29.6-40.4	28.9-39.4	27.7-38.3	26.8-36.7	26.9-36.7	27.5-37.1	26.6-35.4	27.1-35.3	23.8-31.2	20.7-27.1	18.8-24.5	17.1-22.1	15.9-20.4	15.3-19.2	15.1-18.7

Province	County	County Code (2012)	Under-5 Mortality Rate (per 1000 births)																
			1996	1997	1998	1999	2000	2001	2002	2003	2004	2005	2006	2007	2008	2009	2010	2011	2012
	Chibi City	421281	45.3	42.6	38.5	38	36.4	34.8	32.3	27.3	23.1	19	17.4	17.1	16.2	15.1	14.2	13.5	12.4
			37.6-54.0	35.7-49.9	32.3-45.1	31.7-44.7	30.4-42.8	29.1-40.8	27.2-37.7	23.2-31.7	19.6-26.9	16.0-22.2	14.5-20.4	14.2-20.1	13.4-19.1	12.7-18.0	11.9-16.8	11.5-15.7	10.7-14.4
	Chongyang County	421223	45.5	40.3	35.7	28.4	22.4	20.4	18.3	17	18.1	17.2	14.2	13.3	11.9	10.7	11.3	9.9	9.5
			36.5-55.3	33.1-47.9	30.2-41.7	24.2-32.9	18.9-26.1	17.0-24.4	14.9-22.1	13.8-20.7	14.5-22.3	13.7-21.3	11.5-17.3	10.9-16.1	9.9-14.2	9.2-12.6	9.8-12.9	8.8-11.2	8.4-10.7
	Dangyang City	420582	36.4	32.9	30.6	29.5	26.3	25.6	25.5	25.6	26.2	27.2	25.9	23.6	21.8	21.4	20.1	19.8	20.1
			31.2-42.1	28.2-37.8	26.2-35.5	25.3-34.4	22.4-30.6	21.8-29.8	21.9-29.4	22.2-29.1	22.9-29.7	23.7-31.0	22.3-29.7	20.1-27.2	18.7-25.2	18.3-24.8	17.4-23.1	17.5-22.4	18.0-22.5
	Danjiangkou City	420381	39.9	37	34.4	32.4	28.5	24.9	23.2	22.9	22.2	22.6	20.7	20.1	18.2	17.3	15.1	14	12.9
			34.1-46.0	31.9-42.3	29.7-39.3	27.9-36.9	24.5-32.7	21.5-28.5	20.2-26.5	20.2-25.9	19.6-24.9	20.1-25.2	18.3-23.2	17.7-22.7	16.0-20.5	15.4-19.4	13.6-16.7	12.7-15.4	11.7-14.2
	Dawu County	420922	34	32.1	30.6	30.7	29.3	28.9	25.9	23.8	19.7	19	18	18.1	17.7	17.4	14.4	12.3	10.5
			28.8-39.6	27.5-37.1	26.4-35.0	26.4-34.9	25.3-33.2	25.0-32.7	22.8-29.3	21.0-26.6	17.5-22.0	16.9-21.3	16.0-20.2	15.9-20.5	15.6-20.1	15.4-19.7	12.8-16.1	11.0-13.7	9.4-11.6
	Daye City	420281	56.9	53.6	52.4	50	46.8	41	34.4	29.9	22.6	19.8	16.8	13.8	12	11.7	12.4	12.3	12
			48.3-65.9	46.1-61.4	45.3-59.6	43.2-56.7	40.4-53.2	35.6-46.6	30.1-38.9	26.2-33.9	19.8-25.6	17.2-22.5	14.6-19.3	12.0-16.0	10.4-13.9	10.1-13.5	10.9-14.2	10.8-13.9	10.6-13.5
	Dianjun District	420504	22.5	20.2	18.6	18.9	15.1	16	15.5	15.7	15.2	14.9	13.7	11.9	10.2	8.7	8.4	8.3	8.2
			18.7-26.9	17.0-23.8	15.7-21.6	16.2-21.7	13.0-17.2	13.9-18.1	13.7-17.5	13.9-17.5	13.6-16.9	13.4-16.6	12.2-15.2	10.6-13.5	9.1-11.5	7.8-9.8	7.6-9.3	7.5-9.2	7.4-9.0
	Dongbao District	420802	35	33.3	32.6	30.2	27.3	26.6	27.1	23.7	22.3	21.1	17	14.3	12.3	10.8	10.4	10.3	10.1
			24.5-49.5	24.0-45.7	24.5-43.7	23.0-39.3	21.3-34.3	21.5-32.3	22.6-31.9	20.5-27.1	19.7-25.0	18.8-23.7	14.7-19.8	11.8-17.3	9.6-15.6	7.9-14.1	7.3-14.3	6.7-14.5	6.4-14.6
	Dongxihu District	420112	17.7	17.4	16.3	15.7	15.6	15.1	15	14	15.2	15.3	14.5	13.5	12.2	9.9	9.1	9	8.6
			15.2-20.5	15.0-19.9	14.0-18.6	13.4-17.9	13.4-17.9	13.0-17.3	13.0-17.1	12.3-15.8	13.4-17.0	13.5-17.1	12.8-16.3	11.9-15.3	10.8-13.8	8.8-11.2	8.2-10.1	8.1-9.9	7.8-9.5
	Duodao District	420804	35	33.3	32.6	30.2	27.3	26.6	27.1	23.7	22.3	21.1	17	14.3	12.3	10.8	10.4	10.3	10.1
			24.5-49.5	24.0-45.7	24.5-43.7	23.0-39.3	21.3-34.3	21.5-32.3	22.6-31.9	20.5-27.1	19.7-25.0	18.8-23.7	14.7-19.8	11.8-17.3	9.6-15.6	7.9-14.1	7.3-14.3	6.7-14.5	6.4-14.6
	Echeng District	420704	36.1	37.4	36.8	38.7	39.5	42.3	38.2	28.3	22.9	18.4	11.5	11	11.3	10.7	9.8	9.4	9
			30.9-41.7	32.1-43.1	31.1-42.5	32.8-45.2	33.2-46.1	36.0-49.2	32.6-44.5	24.3-32.6	20.0-26.0	16.3-20.6	10.2-12.9	9.7-12.5	10.0-12.8	9.5-12.1	8.8-11.0	8.5-10.5	8.1-10.0
	Enshi City	422801	60	55.5	49.9	44.2	39.1	36.1	36.6	33.7	34.2	32.1	30.6	27.9	27.2	26.7	24.1	24.2	23.3
			48.2-73.6	45.9-66.6	41.9-58.8	37.7-51.6	33.2-45.3	30.6-41.9	30.9-42.7	27.8-40.0	27.9-41.0	26.3-38.5	25.3-36.8	23.5-33.0	23.3-31.9	23.3-30.9	21.5-27.5	22.0-27.0	21.1-25.9
	Fancheng District	420606	20.7	18	17.3	15.5	12.7	13.2	13.3	12.5	12.6	12.2	11.9	11.6	11.1	10.4	9.6	9.2	8.6
			14.4-29.4	12.8-25.0	12.8-23.2	12.0-20.0	10.2-15.8	10.9-15.8	11.4-15.4	11.0-14.1	11.2-14.0	10.7-13.9	10.1-14.0	9.5-14.1	8.8-14.0	7.7-13.4	6.8-12.8	6.4-12.5	5.6-12.1
	Fang County	420325	57.6	54.8	50.3	50.4	45.3	42.1	42.5	40	37.2	34.8	29.2	23.2	20.9	18.5	16.5	15.4	14.3
			49.6-66.3	47.0-63.0	42.8-58.2	42.8-58.6	38.4-52.8	36.1-48.8	36.5-49.0	34.5-45.9	32.5-42.1	30.8-38.9	25.9-32.5	20.6-26.0	18.4-23.4	16.5-20.7	14.9-18.4	13.9-17.0	13.0-15.7
	Gong'an County	421022	28.4	28.3	26.7	24.7	23.9	23.7	21.2	19	18	17	15.2	13.4	13	12.9	12.4	11.5	11.2
			23.6-33.8	23.8-33.1	22.5-31.3	20.7-29.1	20.1-27.8	20.1-27.6	18.3-24.4	16.5-21.4	15.9-20.0	15.2-19.0	13.5-17.1	11.8-15.2	11.4-14.8	11.4-14.7	11.0-14.0	10.3-12.9	10.0-12.4
	Guangshui City	421381	26.3	24.2	22.7	20	18.5	17.3	15.5	16.5	16.6	16.1	15.4	14.7	13.1	12.6	11.9	11	10.4
			22.5-30.4	20.7-27.9	19.4-26.2	17.1-23.2	15.7-21.6	14.8-20.1	13.3-17.8	14.3-18.7	14.7-18.5	14.4-18.0	13.8-17.2	13.0-16.5	11.5-14.7	11.1-14.1	10.7-13.2	10.0-12.3	9.4-11.4
	Gucheng County	420625	31.6	30.4	28.2	25.8	23.5	24.5	22.1	21.6	23.3	24.2	21.9	20.9	18.8	16.6	14.5	13.5	12.4
			26.7-37.0	25.7-35.2	24.0-32.5	21.7-30.0	19.8-27.2	20.8-28.4	18.9-25.4	18.7-24.4	20.6-26.0	21.7-27.0	19.6-24.6	18.4-23.5	16.5-21.1	14.7-18.8	12.9-16.3	12.1-15.0	11.2-13.7
	Hanchuan City	420984	40.3	38.4	35.3	32.6	33.3	31.4	28	24.9	23.1	22.6	22.7	19.3	18.6	19.3	16.6	14.5	12.8
			33.6-47.9	32.2-44.9	29.7-41.3	27.1-38.5	27.9-39.3	26.3-36.9	23.6-32.7	21.4-28.7	20.1-26.3	19.7-25.8	19.7-25.9	16.6-22.1	15.9-21.3	16.6-22.3	14.4-19.1	12.6-16.5	11.2-14.5
	Hannan District	420113	17.7	17.4	16.3	15.7	15.6	15.1	15	14	15.2	15.3	14.5	13.5	12.2	9.9	9.1	9	8.6
			15.2-20.5	15.0-19.9	14.0-18.6	13.4-17.9	13.4-17.9	13.0-17.3	13.0-17.1	12.3-15.8	13.4-17.0	13.5-17.1	12.8-16.3	11.9-15.3	10.8-13.8	8.8-11.2	8.2-10.1	8.1-9.9	7.8-9.5
	Hanyang District	420105	17.7	17.4	16.3	15.7	15.6	15.1	15	14	15.2	15.3	14.5	13.5	12.2	9.9	9.1	9	8.6
			15.2-20.5	15.0-19.9	14.0-18.6	13.4-17.9	13.4-17.9	13.0-17.3	13.0-17.1	12.3-15.8	13.4-17.0	13.5-17.1	12.8-16.3	11.9-15.3	10.8-13.8	8.8-11.2	8.2-10.1	8.1-9.9	7.8-9.5
	Hefeng County	422828	66.5	62	57.2	52.4	44.4	40.4	38	34.8	35.9	34.9	33.1	32.3	29.5	26.7	25.6	25.2	24.6
			45.9-95.1	43.8-86.1	41.9-78.5	39.0-69.6	33.9-57.2	31.9-50.3	30.9-45.6	29.6-40.3	31.6-40.7	30.6-39.6	28.6-38.5	26.6-39.1	23.0-37.3	19.6-35.3	17.5-35.2	16.3-35.5	15.6-35.9
	Hong'an County	421122	64.5	58.1	51.8	48.2	43.4	38.9	33.4	30.8	26.9	24.2	22.4	20.9	18.7	17.6	15.7	14	12.5
			52.1-78.9	47.6-70.6	42.6-61.8	40.5-56.7	36.5-50.8	32.8-45.5	27.8-39.3	25.4-36.8	22.0-32.2	20.0-28.9	18.5-26.6	17.6-24.6	16.2-21.6	15.6-20.0	14.1-17.5	12.7-15.5	11.3-13.7
	Honghu City	421083	52.9	53.1	55.8	49.8	48.1	39.5	34.8	26.5	25.3	17.9	17	16.6	16.1	15.9	15.3	14.1	13.5
			40.5-67.1	41.1-67.1	43.5-70.6	38.3-63.5	36.8-62.1	30.2-50.4	26.6-43.9	20.6-33.4	19.8-31.7	14.2-22.3	13.5-21.0	13.1-20.5	12.9-19.7	12.8-19.3	12.6-18.3	11.8-16.7	11.4-15.9
	Hongshan District	420111	17.7	17.4	16.3	15.7	15.6	15.1	15	14	15.2	15.3	14.5	13.5	12.2	9.9	9.1	9	8.6
			15.2-20.5	15.0-19.9	14.0-18.6	13.4-17.9	13.4-17.9	13.0-17.3	13.0-17.1	12.3-15.8	13.4-17.0	13.5-17.1	12.8-16.3	11.9-15.3	10.8-13.8	8.8-11.2	8.2-10.1	8.1-9.9	7.8-9.5
	Huangmei County	421127	41.6	37.8	34.4	32.1	29.9	28.6	27.3	26.8	24	22.8	18	16.1	14.8	14.2	13.7	12.5	11.7
			34.2-50.0	31.6-44.9	29.0-40.3	27.2-37.1	25.8-34.1	24.9-32.5	23.9-30.8	23.5-30.1	21.1-27.1	19.9-25.9	15.6-20.7	13.9-18.7	12.7-17.3	12.2-16.6	11.8-15.8	10.8-14.4	10.2-13.4
	Huangpi District	420116	18.4	17.1	16.2	15.3	14.3	14.6	13.8	13.7	12.6	12.2	11.6	12.6	13.9	12.9	13.8	13.4	13.2
			15.3-22.0	14.3-20.0	13.6-19.1	12.8-18.0	12.0-16.7	12.3-17.0	11.8-15.9	11.9-15.5	11.2-14.1	11.0-13.6	10.4-13.0	11.1-14.1	12.2-15.6	11.4-14.4	12.4-15.4	12.2-14.9	11.9-14.5
	Huangshigang District	420202	29.3	27.7	25	25.4	22.7	22.5	23.5	22.1	18.5	16.3	14.3	11.5	9.2	7.6	9	8.9	8.7
			23.3-36.0	22.5-33.7	20.4-30.3	20.5-30.7	18.7-27.4	18.5-26.7	19.6-27.5	19.0-25.6	16.2-20.9	14.3-18.4	12.5-16.3	10.0-13.2	7.9-10.5	6.6-8.8	7.8-10.3	7.8-10.1	7.7-9.9
	Huangzhou District	421102	37.1	35.6	32.2	30.6	30.5	27.1	25.9	23.7	22.3	14.1	13.4	12.6	12.1	10	10.1	9.5	8.8
			30.1-45.0	29.1-42.8	26.2-38.6	24.7-37.4	24.6-37.5	21.9-33.1	20.7-31.4	19.3-28.6	18.3-26.9	11.5-17.0	11.0-16.1	10.2-15.1	9.8-14.6	8.2-12.0	8.4-12.0	8.0-11.3	7.5-10.3
	Huarong District	420703	36.1	37.4	36.8	38.7	39.5	42.3	38.2	28.3	22.9	18.4	11.5	11	11.3	10.7	9.8	9.4	9
			30.9-41.7	32.1-43.1	31.1-42.5	32.8-45.2	33.2-46.1	36.0-49.2	32.6-44.5	24.3-32.6	20.0-26.0	16.3-20.6	10.2-12.9	9.7-12.5	10.0-12.8	9.5-12.1	8.8-11.0	8.5-10.5	8.1-10.0
	Jiang'an District	420102	17.7	17.4	16.3	15.7	15.6	15.1	15	14	15.2	15.3	14.5	13.5	12.2	9.9	9.1	9	8.6
			15.2-20.5	15.0-19.9	14.0-18.6	13.4-17.9	13.4-17.9	13.0-17.3	13.0-17.1	12.3-15.8	13.4-17.0	13.5-17.1	12.8-16.3	11.9-15.3	10.8-13.8	8.8-11.2	8.2-10.1	8.1-9.9	7.8-9.5
	Jianghan District	420103	17.7	17.4	16.3	15.7	15.6	15.1	15	14	15.2	15.3	14.5	13.5	12.2	9.9	9.1	9	8.6
			15.2-20.5	15.0-19.9	14.0-18.6	13.4-17.9	13.4-17.9	13.0-17.3	13.0-17.1	12.3-15.8	13.4-17.0	13.5-17.1	12.8-16.3	11.9-15.3	10.8-13.8	8.8-11.2	8.2-10.1	8.1-9.9	7.8-9.5
	Jiangling County	421024	41.5	42.1	40.5	37.1	34.4	31.6	27.1	22.7	23.4	19.5	17.7	17.2	15.9	15.7	15.6	14.6	13.7
			27.2-62.0	28.0-61.7	27.9-58.2	26.2-52.4	25.1-46.9	23.9-41.3	21.0-33.9	18.6-27.3	20.3-26.9	17.4-22.0	15.7-20.0	14.7-20.0	12.9-19.3	12.0-19.9	11.2-20.5	9.9-20.0	8.9-19.4
	Jiangxia District	420115	17.7	17.4	16.3	15.7	15.6	15.1	15	14	15.2	15.3	14.5	13.5	12.2	9.9	9.1	9	8.6

Province	County	County Code (2012)	Under-5 Mortality Rate (per 1000 births)																
			1996	1997	1998	1999	2000	2001	2002	2003	2004	2005	2006	2007	2008	2009	2010	2011	2012
			15.2-20.5	15.0-19.9	14.0-18.6	13.4-17.9	13.4-17.9	13.0-17.3	13.0-17.1	12.3-15.8	13.4-17.0	13.5-17.1	12.8-16.3	11.9-15.3	10.8-13.8	8.8-11.2	8.2-10.1	8.1-9.9	7.8-9.5
	Jianli County	421023	35.1	39.1	42.2	40.7	47.2	42.5	33	23.6	21.8	15.3	15.1	13.8	14.6	16.7	16.1	14.9	14
			27.4-43.8	31.1-48.3	33.7-52.2	32.2-50.7	37.4-58.8	34.0-52.6	26.3-40.2	19.0-28.8	17.6-26.4	12.5-18.5	12.3-18.2	11.2-16.6	11.8-17.5	13.7-20.1	13.4-19.2	12.6-17.6	11.9-16.3
	Jianshi County	422822	62.2	59.2	57.2	54.1	50.9	47.8	46.6	44	39.4	40.2	35.5	32.3	29.3	28.1	26	24.7	23.7
			53.5-71.5	50.9-67.9	49.0-65.5	46.4-62.2	43.6-58.7	41.1-55.0	40.3-53.3	38.4-49.8	34.6-44.4	35.5-45.1	31.3-39.8	28.4-36.5	25.7-33.1	25.0-31.8	23.4-29.0	22.4-27.3	21.4-26.0
	Jiayu County	421221	38.8	35.2	33.2	32	34.1	31.1	31.4	27.9	28.7	21.6	21.6	22.8	21.6	19.9	18.9	17.6	16.3
			32.3-46.3	29.4-41.5	28.0-38.8	27.1-37.3	29.1-39.2	26.7-35.5	27.2-35.8	24.4-31.7	25.4-32.5	19.0-24.6	18.9-24.5	19.9-26.0	18.8-24.8	17.5-22.7	16.7-21.4	15.6-19.7	14.5-18.2
	Jingshan County	420821	36.5	34.1	32.2	33.5	30.4	27	25.3	20.6	16.3	14.6	13.2	12.9	13	12.7	12.6	12.3	11.5
			30.9-42.2	29.3-39.2	27.8-36.8	28.9-38.0	26.2-34.6	23.4-30.7	22.2-28.7	18.1-23.2	14.4-18.3	12.8-16.3	11.6-14.8	11.3-14.6	11.4-14.8	11.3-14.4	11.3-14.2	11.0-13.6	10.4-12.7
	Jingzhou District	421003	29.5	27.9	26.5	23.5	22.2	19.3	16.3	13.5	12.5	12.2	11.2	10.8	10.2	9.2	8.1	7.5	6.9
			23.4-36.0	22.8-33.3	22.2-31.1	20.0-27.4	18.8-25.9	16.0-23.0	13.3-19.6	11.0-16.4	10.1-15.4	9.8-15.1	9.1-13.6	8.9-13.1	8.6-12.3	7.9-10.9	7.1-9.3	6.6-8.6	6.1-7.8
	Laifeng County	422827	77.2	72.9	68.2	64.5	60.2	55.1	53.2	49	45.3	44.4	42.2	40.2	39.1	36.9	34.8	33.5	32
			61.9-94.7	60.2-87.7	57.1-80.7	55.2-75.3	51.2-69.9	46.9-64.1	44.8-62.3	40.6-58.3	37.0-54.5	36.3-53.3	34.8-50.6	33.8-47.8	33.5-46.1	32.1-42.8	30.8-39.8	30.2-37.8	28.8-35.7
	Laohekou City	420682	22.5	21.2	19.6	18.8	17.6	18.4	19.7	19.7	19.7	19.3	17.9	16.9	16.1	15.6	15	14.4	13.8
			19.3-26.0	18.2-24.3	16.8-22.5	16.1-21.7	14.9-20.3	15.7-21.3	17.0-22.7	16.9-22.4	17.1-22.3	16.8-21.9	15.6-20.5	14.5-19.4	14.0-18.7	13.5-17.9	13.2-17.2	12.7-16.4	12.4-15.6
	Liangzihu District	420702	36.1	37.4	36.8	38.7	39.5	42.3	38.2	28.3	22.9	18.4	11.5	11	11.3	10.7	9.8	9.4	9
			30.9-41.7	32.1-43.1	31.1-42.5	32.8-45.2	33.2-46.1	36.0-49.2	32.6-44.5	24.3-32.6	20.0-26.0	16.3-20.6	10.2-12.9	9.7-12.5	10.0-12.8	9.5-12.1	8.8-11.0	8.5-10.5	8.1-10.0
	Lichuan City	422802	47.8	46.4	43.8	45.5	46.6	46.7	47.8	46	43.9	41.7	37.9	34.7	33.7	32.2	29	28.1	27.2
			40.7-55.3	39.9-53.2	37.5-50.1	38.9-52.2	39.7-53.5	40.2-53.8	41.4-54.8	40.0-52.0	38.5-49.7	36.7-47.1	33.2-42.7	30.4-39.2	29.5-38.3	28.4-36.4	25.9-32.6	25.4-31.2	24.6-30.0
	Luotian County	421123	60.2	56.5	53.9	51.4	48.4	42.4	41.3	37.1	34.2	31.6	28.6	24.8	22.6	20.6	19.3	18.1	17.3
			51.7-69.6	48.4-64.9	45.8-62.3	43.5-59.8	40.9-56.4	36.2-49.3	35.3-47.8	31.8-42.8	29.7-38.9	27.8-35.7	25.2-32.0	21.9-27.9	19.9-25.4	18.3-23.3	17.3-21.7	16.3-20.1	15.6-19.0
	Macheng City	421181	48.5	46.7	43.9	44	40.7	38.1	36	34.8	33.2	31.2	30.2	27.8	26.8	25.7	25.3	23	21.7
			38.4-59.7	38.4-56.3	36.7-51.9	37.8-51.1	34.8-46.9	32.7-43.9	30.4-41.9	28.8-41.3	27.2-40.0	25.5-37.5	25.0-36.3	23.4-32.9	23.0-31.2	22.6-29.5	22.7-28.7	20.8-25.4	19.6-23.9
	Maojian District	420302	34.2	32.5	29.9	28.8	18.8	19.2	16.6	14.4	13.6	12.7	11.6	11.1	11	10.2	10.4	10.1	9.6
			22.9-50.3	22.3-46.0	21.4-41.6	21.4-38.5	14.4-24.4	15.2-23.9	13.6-19.8	12.4-16.6	12.0-15.1	11.2-14.2	9.9-13.4	9.1-13.4	8.6-13.7	7.5-13.3	7.2-14.2	6.7-14.1	6.0-13.9
	Nanzhang County	420624	42	35.7	30	23.5	19	18.4	18.8	19.3	21.5	21.8	20.1	18.1	17.7	16.1	16.5	16.3	16.2
			34.1-50.7	29.5-42.5	25.3-35.2	20.0-27.1	15.9-22.3	15.3-21.9	15.5-22.6	15.7-23.5	17.2-26.3	17.6-26.8	16.5-24.4	15.1-21.7	15.1-20.9	14.1-18.7	14.7-18.7	14.7-18.1	14.7-17.8
	Qianjiang City	429005	48.5	44.6	41	40.4	32.3	26.4	24.3	22.7	20.2	18.3	18	15.9	12.9	12.3	11.6	11	10.2
			38.8-59.3	36.4-53.3	34.4-48.3	33.9-47.2	26.9-38.1	21.6-31.7	19.6-29.7	18.0-28.3	15.6-25.2	14.3-23.1	14.1-22.6	12.6-19.7	10.4-15.7	10.1-14.7	9.8-13.6	9.4-12.6	8.8-11.8
	Qiaokou District	420104	17.7	17.4	16.3	15.7	15.6	15.1	15	14	15.2	15.3	14.5	13.5	12.2	9.9	9.1	9	8.6
			15.2-20.5	15.0-19.9	14.0-18.6	13.4-17.9	13.4-17.9	13.0-17.3	13.0-17.1	12.3-15.8	13.4-17.0	13.5-17.1	12.8-16.3	11.9-15.3	10.8-13.8	8.8-11.2	8.2-10.1	8.1-9.9	7.8-9.5
	Qichun County	421126	51	47.2	43.5	38.5	34.2	30	27.5	27.3	25.4	23.9	21.5	19.9	16.5	15.2	14.9	13.5	12.5
			43.6-58.8	40.7-54.0	37.4-49.6	33.2-44.0	29.4-39.2	25.9-34.5	23.9-31.2	23.9-30.9	22.5-28.6	21.0-26.7	18.9-24.1	17.5-22.7	14.5-18.9	13.4-17.2	13.2-16.7	12.0-15.1	11.1-14.0
	Qingshan District	420107	17.7	17.4	16.3	15.7	15.6	15.1	15	14	15.2	15.3	14.5	13.5	12.2	9.9	9.1	9	8.6
			15.2-20.5	15.0-19.9	14.0-18.6	13.4-17.9	13.4-17.9	13.0-17.3	13.0-17.1	12.3-15.8	13.4-17.0	13.5-17.1	12.8-16.3	11.9-15.3	10.8-13.8	8.8-11.2	8.2-10.1	8.1-9.9	7.8-9.5
	Shashi District	421002	29.5	27.9	26.5	23.5	22.2	19.3	16.3	13.5	12.5	12.2	11.2	10.8	10.2	9.2	8.1	7.5	6.9
			23.4-36.0	22.8-33.3	22.2-31.1	20.0-27.4	18.8-25.9	16.0-23.0	13.3-19.6	11.0-16.4	10.1-15.4	9.8-15.1	9.1-13.6	8.9-13.1	8.6-12.3	7.9-10.9	7.1-9.3	6.6-8.6	6.1-7.8
	Shayang County	420822	36.5	34.3	32	31.2	28.2	26.8	24.3	22.1	18.5	15	12.6	11.9	11.8	12.1	12.5	12.3	12.2
			25.4-51.7	24.6-47.2	24.0-43.0	23.8-40.7	22.0-35.4	21.7-32.6	20.4-28.3	19.3-25.0	16.5-20.7	13.3-17.0	10.7-14.7	9.7-14.5	9.1-15.0	8.8-15.9	8.6-17.3	8.0-17.4	7.7-17.9
	Shennongjia Linqu	429021	54.4	52.7	46.3	43.8	46	39.9	36.6	38.6	36.3	31.2	29.4	26.8	24.5	21.7	20.9	20.6	20
			43.9-66.2	43.0-63.4	37.8-56.1	35.5-52.9	37.8-55.6	32.8-47.9	30.3-43.3	32.7-44.9	31.5-41.3	27.3-35.5	25.5-33.3	23.1-30.5	21.0-28.1	18.8-24.9	18.3-23.9	18.1-23.5	17.7-22.5
	Shishou City	421081	50.4	47.1	44.7	41.4	33.7	30.1	26.1	23.4	20.6	18.1	16.1	15.4	14.8	15.7	16.4	16.5	16.4
			40.4-61.9	38.8-56.5	37.5-52.8	35.5-48.1	28.7-38.9	25.6-34.8	22.1-30.4	19.4-27.7	16.9-24.8	14.8-21.7	13.3-19.3	13.1-18.3	12.8-17.2	13.9-17.9	14.8-18.5	15.0-18.2	14.8-18.0
	Songzi City	421087	27.4	27	25.4	24.5	21.6	19.9	17.5	17.5	17.1	15.9	15.3	14.5	12.9	11.1	10.3	9.7	8.8
			22.9-32.3	23.0-31.5	21.8-29.3	21.0-27.9	18.7-24.5	17.3-22.6	15.3-19.8	15.5-19.6	15.2-19.1	14.2-17.7	13.7-17.1	12.8-16.3	11.4-14.5	9.9-12.5	9.3-11.5	8.7-10.6	8.0-9.7
	Sui County	421321	33.9	30.8	29.5	27.6	25.7	23.8	21.2	19.1	18.2	17.1	16.7	16.9	17	16.9	15.1	14.3	13.5
			21.7-51.9	20.2-46.4	19.4-42.9	18.8-39.7	18.0-35.9	17.0-32.4	15.5-28.1	14.3-24.9	14.1-23.1	13.5-21.3	13.2-21.0	13.3-21.4	13.2-22.1	12.5-22.9	10.6-21.1	9.7-20.1	8.8-19.5
	Tianmen City	429006	30.4	29.4	29.6	31.5	32.5	33.1	33.7	33.2	30.7	27.7	24.1	21.7	18.2	16.4	14.9	13.7	12.8
			25.9-35.1	25.3-33.7	25.3-33.9	26.9-36.1	27.7-37.4	28.5-38.0	29.3-38.5	29.1-37.5	27.1-34.5	24.5-31.0	21.4-26.9	19.2-24.5	16.1-20.6	14.6-18.4	13.4-16.5	12.4-15.1	11.6-14.0
	Tieshan District	420205	29.3	27.7	25	25.4	22.7	22.5	23.5	22.1	18.5	16.3	14.3	11.5	9.2	7.6	9	8.9	8.7
			23.3-36.0	22.5-33.7	20.4-30.3	20.5-30.7	18.7-27.4	18.5-26.7	19.6-27.5	19.0-25.6	16.2-20.9	14.3-18.4	12.5-16.3	10.0-13.2	7.9-10.5	6.6-8.8	7.8-10.3	7.8-10.1	7.7-9.9
	Tongcheng County	421222	63.8	57.2	53	53.5	45.6	40.9	36.1	35.9	31.8	28.3	25.3	23.4	20.5	18.8	17.3	14.8	13.3
			50.6-78.5	46.6-68.8	44.1-62.4	46.1-61.7	39.3-51.8	35.3-46.6	30.7-41.7	29.8-42.5	26.1-38.0	23.2-33.9	20.9-30.4	19.7-27.9	17.6-24.0	16.5-21.6	15.4-19.5	13.4-16.5	11.9-14.8
	Tongshan County	421224	86.9	75.3	64	58.4	46.5	44.2	39.4	32.1	31	22.7	19.1	19.8	19	16.2	16.9	15.6	14.2
			72.8-103.0	62.9-88.1	53.2-75.2	48.3-69.5	38.1-55.7	36.3-53.0	32.3-46.9	26.7-38.0	26.0-36.5	18.9-26.8	15.9-22.6	16.3-23.4	15.7-22.5	13.5-19.3	14.2-20.0	13.3-18.2	12.2-16.5
	Tuanfeng County	421121	39.9	41.3	36.8	34.3	30.5	29.9	28.2	27.6	25.6	24.5	20.3	18.6	17.4	15.1	18	16.2	15.5
			31.9-48.8	33.6-50.0	30.3-44.1	28.4-40.9	25.6-35.9	25.4-34.5	24.1-32.5	24.0-31.5	22.6-29.1	21.3-27.8	17.6-23.2	16.1-21.3	15.0-20.0	13.1-17.4	15.8-20.5	14.3-18.3	13.8-17.5
	Wuchang District	420106	17.7	17.4	16.3	15.7	15.6	15.1	15	14	15.2	15.3	14.5	13.5	12.2	9.9	9.1	9	8.6
			15.2-20.5	15.0-19.9	14.0-18.6	13.4-17.9	13.4-17.9	13.0-17.3	13.0-17.1	12.3-15.8	13.4-17.0	13.5-17.1	12.8-16.3	11.9-15.3	10.8-13.8	8.8-11.2	8.2-10.1	8.1-9.9	7.8-9.5
	Zizhixian	420529	50.4	47	43	40.7	34.9	37.7	33.5	32.7	29.2	30.7	24.6	23.1	20.4	19.9	18.9	18.4	17.8
			42.6-58.9	40.2-54.4	37.0-49.3	35.0-46.2	30.1-39.6	32.7-42.6	29.5-37.7	28.9-36.5	26.0-32.6	27.3-34.2	22.0-27.4	20.4-26.1	18.1-23.0	17.7-22.3	17.0-21.0	16.6-20.3	16.1-19.6
	Wujiagang District	420503	22.5	20.2	18.6	18.9	15.1	16	15.5	15.7	15.2	14.9	13.7	11.9	10.2	8.7	8.4	8.3	8.2
			18.7-26.9	17.0-23.8	15.7-21.6	16.2-21.7	13.0-17.2	13.9-18.1	13.7-17.5	13.9-17.5	13.6-16.9	13.4-16.6	12.2-15.2	10.6-13.5	9.1-11.5	7.8-9.8	7.6-9.3	7.5-9.2	7.4-9.0
	Wuxue City	421182	52.8	48.6	44.8	45.4	40.8	37.8	33.4	30.6	22.9	22.4	14.5	12.9	11.8	11.2	10.7	9.8	9.3
			41.9-64.8	39.9-58.6	37.6-52.6	39.2-52.3	35.3-46.5	32.5-43.0	28.4-38.5	25.5-36.1	18.7-27.5	18.1-27.2	11.8-17.6	10.7-15.6	9.9-14.1	9.5-13.1	9.3-12.3	8.6-11.3	8.1-10.6

Province	County	County Code (2012)	Under-5 Mortality Rate (per 1000 births)																
			1996	1997	1998	1999	2000	2001	2002	2003	2004	2005	2006	2007	2008	2009	2010	2011	2012
	Xialu District	420204	29.3	27.7	25	25.4	22.7	22.5	23.5	22.1	18.5	16.3	14.3	11.5	9.2	7.6	9	8.9	8.7
			23.3-36.0	22.5-33.7	20.4-30.3	20.5-30.7	18.7-27.4	18.5-26.7	19.6-27.5	19.0-25.6	16.2-20.9	14.3-18.4	12.5-16.3	10.0-13.2	7.9-10.5	6.6-8.8	7.8-10.3	7.8-10.1	7.7-9.9
	Xian'an District	421202	37.9	37.6	38	40.2	40.8	37.9	34.2	28.3	27.7	23.3	21.5	19.9	18.5	16.5	14.6	13.5	12.1
			31.6-45.0	31.6-43.9	31.9-44.3	33.6-47.2	34.2-47.5	31.9-44.1	29.2-39.6	24.5-32.3	24.2-31.5	20.4-26.4	18.7-24.6	17.1-22.8	15.9-21.3	14.1-19.1	12.6-16.9	11.7-15.5	10.6-13.7
	Xianfeng County	422826	59.2	54	52.5	43.7	39.6	39.7	43.5	42.2	41.6	42	39.5	33.4	30	27.4	28	27.8	27.4
			49.6-69.9	45.4-62.9	44.1-61.3	36.6-51.7	33.0-46.8	33.2-46.7	36.9-50.8	36.5-48.2	36.6-46.9	37.1-47.2	34.8-44.7	29.0-38.0	26.1-34.1	23.9-31.1	24.8-31.8	24.7-31.4	24.4-30.5
	Xiangcheng District	420602	20.7	18	17.3	15.5	12.7	13.2	13.3	12.5	12.6	12.2	11.9	11.6	11.1	10.4	9.6	9.2	8.6
			14.4-29.4	12.8-25.0	12.8-23.2	12.0-20.0	10.2-15.8	10.9-15.8	11.4-15.4	11.0-14.1	11.2-14.0	10.7-13.9	10.1-14.0	9.5-14.1	8.8-14.0	7.7-13.4	6.8-12.8	6.4-12.5	5.6-12.1
	Xiangyang District	420607	22.8	20.5	19.7	18.4	20.4	19.7	19.8	18.7	15.9	14.2	13.2	13.1	12.9	12.6	12.8	12.6	11.8
			16.7-31.3	15.5-27.6	15.2-25.9	14.2-23.6	15.9-25.6	15.7-24.1	16.3-23.6	16.0-21.5	14.1-17.8	12.7-15.9	11.5-15.0	11.1-15.5	10.4-15.8	9.7-16.0	9.3-16.8	8.7-17.0	7.8-16.3
	Xiantao City	429004	42.2	39.4	38.2	32.3	31	27	24	21.1	19.6	17.8	16.4	15.4	13.6	12.7	12.1	11.3	10.8
			35.4-49.8	33.1-45.9	32.0-44.3	26.9-38.1	25.8-36.6	22.3-32.0	19.9-28.2	17.8-24.8	16.6-23.0	15.0-20.9	13.7-19.2	12.8-18.2	11.3-16.1	10.7-15.2	10.1-14.3	9.6-13.2	9.3-12.6
	Xiaochang City	420921	41.2	37.9	34.5	31.9	28.3	25.7	21.4	18.4	15.9	16.9	15.4	15.1	15	14.3	11.7	10.2	9
			34.6-48.5	32.3-44.0	29.6-39.6	27.4-36.1	24.4-32.1	22.3-29.1	18.8-24.2	16.2-20.7	14.1-17.8	14.9-18.9	13.6-17.2	13.3-17.1	13.2-17.0	12.7-16.2	10.5-13.1	9.2-11.4	8.1-9.9
	Xiaonan City	420902	21.1	20.1	17.7	16.6	15	13.7	12.4	10.2	8.7	7.9	7.4	7.4	8.1	7.7	7.2	6.7	6
			17.7-24.9	16.9-23.3	14.9-20.6	13.9-19.5	12.6-17.7	11.4-16.0	10.4-14.4	8.7-11.8	7.5-10.0	6.9-9.1	6.4-8.5	6.3-8.5	6.9-9.3	6.6-9.0	6.2-8.3	5.8-7.6	5.3-6.8
	Xiaoting District	420505	22.5	20.2	18.6	18.9	15.1	16	15.5	15.7	15.2	14.9	13.7	11.9	10.2	8.7	8.4	8.3	8.2
			18.7-26.9	17.0-23.8	15.7-21.6	16.2-21.7	13.0-17.2	13.9-18.1	13.7-17.5	13.9-17.5	13.6-16.9	13.4-16.6	12.2-15.2	10.6-13.5	9.1-11.5	7.8-9.8	7.6-9.3	7.5-9.2	7.4-9.0
	Xiling District	420502	22.5	20.2	18.6	18.9	15.1	16	15.5	15.7	15.2	14.9	13.7	11.9	10.2	8.7	8.4	8.3	8.2
			18.7-26.9	17.0-23.8	15.7-21.6	16.2-21.7	13.0-17.2	13.9-18.1	13.7-17.5	13.9-17.5	13.6-16.9	13.4-16.6	12.2-15.2	10.6-13.5	9.1-11.5	7.8-9.8	7.6-9.3	7.5-9.2	7.4-9.0
	Xingshan County	420526	47.1	44.5	41.6	38.2	35.2	32.5	33.8	29.4	28.4	29.1	27.3	24.5	22.9	21.8	19.2	18.7	18.2
			39.8-54.9	37.8-51.5	35.4-47.9	32.3-44.3	29.7-40.8	27.7-37.7	29.0-38.8	25.5-33.2	25.1-31.7	25.9-32.5	24.3-30.8	21.6-27.7	20.1-25.9	19.2-24.7	17.1-21.7	16.8-21.0	16.3-20.2
	Xinzhou District	420117	33.6	32.8	31.5	29.5	28.1	25.6	23.3	20.9	21.2	20.5	20.6	18.8	17.5	12.9	13.7	13.1	12.2
			27.3-40.7	27.0-39.2	26.1-37.6	24.2-35.4	23.1-33.5	21.2-30.3	19.5-27.4	17.8-24.3	18.4-24.3	17.7-23.5	17.6-23.6	16.0-21.7	14.9-20.3	11.0-15.1	11.7-15.9	11.3-15.1	10.7-14.0
	Xiseshan District	420203	29.3	27.7	25	25.4	22.7	22.5	23.5	22.1	18.5	16.3	14.3	11.5	9.2	7.6	9	8.9	8.7
			23.3-36.0	22.5-33.7	20.4-30.3	20.5-30.7	18.7-27.4	18.5-26.7	19.6-27.5	19.0-25.6	16.2-20.9	14.3-18.4	12.5-16.3	10.0-13.2	7.9-10.5	6.6-8.8	7.8-10.3	7.8-10.1	7.7-9.9
	Xishui County	421125	43.3	39.7	37.6	35	32.7	28	26.4	23.2	21.4	16.2	15.9	14.3	12.1	10.8	11.2	10.2	9.2
			35.9-51.8	33.3-46.9	31.9-44.1	30.0-40.2	28.1-37.0	24.3-31.7	23.2-29.7	20.7-25.9	19.0-23.8	14.4-18.1	14.1-17.8	12.6-16.2	10.7-13.9	9.5-12.3	9.9-12.5	9.0-11.3	8.2-10.2
	Xuan'en County	422825	60.4	58.3	58.2	60	62.7	62	55.8	53.5	47.2	41.6	40.2	38.4	35.4	33.2	30.8	28.9	27.4
			51.4-70.0	50.1-66.8	49.9-66.6	51.4-68.4	53.9-71.5	53.5-70.7	48.5-63.2	47.0-60.1	41.8-52.8	36.9-46.5	35.7-44.9	33.9-43.4	31.2-40.0	29.4-37.2	27.7-34.4	26.2-31.8	24.8-30.1
	Yangxin County	420222	66.5	64.3	58.6	57.9	55.8	49.1	44.7	40.5	33.7	29.9	26.4	21.8	19.5	18.1	16.7	15.7	14.9
			55.6-78.5	54.4-75.2	50.3-67.9	49.8-66.1	48.2-63.1	42.6-55.6	39.2-50.4	35.7-45.5	29.8-37.9	26.3-33.8	23.1-30.1	18.9-25.0	16.8-22.5	15.7-20.9	14.6-19.1	13.8-17.9	13.1-16.9
	Yicheng City	420684	37.1	32.4	27.9	25.9	23.1	22.5	21.5	22	21.3	19.6	17.4	16.1	14.4	12.9	10.9	10	9
			29.5-45.6	26.5-39.0	23.3-32.9	22.3-29.9	19.9-26.4	19.3-25.7	18.2-24.9	18.2-25.9	17.6-25.5	16.2-23.5	14.4-20.8	13.6-19.1	12.4-16.8	11.4-14.6	9.8-12.2	9.1-11.0	8.1-9.9
	Yidu City	420581	36.5	33.6	30.9	29.5	26.1	22.9	21.9	20.6	18.7	17.9	18.5	17.7	17	16.6	16.5	15.9	15.3
			31.1-42.3	28.9-38.5	26.6-35.2	25.4-33.6	22.5-29.9	19.8-26.2	19.1-25.0	18.1-23.2	16.5-21.0	15.8-19.9	16.3-20.7	15.5-19.9	14.9-19.2	14.7-18.6	14.9-18.4	14.4-17.6	13.9-16.9
	Yiling District	420506	33.9	32.7	30.1	28.2	26	21.6	21.7	21.9	22.3	22.5	21.3	19.7	16.8	14.7	15.1	14.9	14.7
			28.5-39.8	27.6-38.1	25.5-34.9	23.6-32.8	21.8-30.3	18.2-25.2	18.5-25.3	18.9-25.0	19.7-25.2	19.8-25.4	18.8-24.1	17.2-22.4	14.6-19.1	13.0-16.8	13.4-17.1	13.3-16.8	13.1-16.3
	Yingcheng City	420981	43.1	39.4	37.2	35.8	32.6	29.3	26.9	23.7	20.3	19.1	18.3	17	15.2	15.1	13.7	12.2	11.1
			36.5-50.1	33.9-45.3	32.1-42.6	30.8-40.5	28.1-37.0	25.5-33.2	23.6-30.4	20.9-26.8	17.9-22.7	16.8-21.4	16.2-20.5	15.0-19.4	13.4-17.3	13.3-17.1	12.2-15.3	10.9-13.6	9.9-12.3
	Yingshan County	421124	42.8	39	36.4	33.3	30.8	28.8	24.5	23.6	22.3	22.9	21.4	21.7	19.6	17.6	15.4	13.9	12.2
			36.2-49.9	33.1-45.0	31.0-41.7	28.4-38.6	26.1-35.7	24.5-33.4	20.9-28.3	20.3-26.8	19.7-25.1	20.3-25.7	18.9-24.3	19.0-24.6	17.1-22.3	15.4-20.0	13.7-17.5	12.4-15.6	10.9-13.5
	Yuan'an County	420525	52.8	48.8	44	39.2	34.5	34.9	39.6	36.9	37.5	34.8	29.2	25.7	22.7	20.3	20.2	19.6	19.5
			45.1-61.0	42.2-55.7	38.0-50.1	33.8-44.5	29.7-39.3	30.3-39.8	34.7-44.9	32.6-41.4	33.4-41.8	31.1-38.8	26.1-32.5	22.8-29.0	20.1-25.6	18.1-22.7	18.3-22.4	17.7-21.6	17.7-21.4
	Yun County	420321	57.7	51.7	48.7	45.8	39.3	32.6	30	28.2	26.5	28.3	26.1	24.8	23.3	21.1	19.2	18.1	16.8
			46.2-70.7	42.5-62.1	40.9-57.4	39.3-53.1	33.5-45.2	27.8-37.5	25.4-35.0	23.4-33.4	21.8-31.9	23.1-33.9	21.6-31.2	20.9-29.3	20.1-27.1	18.6-24.2	17.3-21.6	16.4-19.9	15.3-18.5
	Yunmeng County	420923	48.1	45.8	41.7	40.6	35.7	30.1	27.7	24.5	24.8	23.5	24.8	22.3	20.7	18.1	17.3	15.6	14.1
			38.3-59.1	37.8-55.0	34.9-49.3	34.9-46.9	30.6-41.0	25.7-34.6	23.5-32.2	20.3-29.0	20.4-29.9	19.3-28.2	20.5-29.7	18.9-26.4	17.9-24.0	16.1-20.6	15.6-19.3	14.2-17.1	12.8-15.5
	Yunxi County	420322	82.2	77.5	70.1	67.5	59.6	48.5	42.5	38	34.3	31.9	29.1	26.1	22.9	20	17	15.2	13.8
			70.5-94.9	66.4-89.2	59.4-80.8	56.9-78.5	50.1-69.7	41.2-56.7	36.1-49.4	32.4-44.1	29.6-39.3	27.8-36.2	25.5-32.9	22.9-29.6	20.1-25.9	17.7-22.6	15.2-19.1	13.7-16.9	12.5-15.2
	Zaoyang City	420683	35.7	35.2	33.5	35.3	33.6	29.8	28.8	26.5	22.2	21.2	22.4	23.1	22.7	22.1	19.7	18.3	17
			28.3-43.9	28.7-42.4	28.0-39.6	30.3-41.2	28.6-38.9	25.5-34.4	24.3-33.5	21.9-31.4	18.1-26.7	17.3-25.5	18.6-27.0	19.4-27.4	19.5-26.7	19.3-25.6	17.6-22.5	16.6-20.4	15.3-18.8
	Zhangwan District	420303	34.2	32.5	29.9	28.8	18.8	19.2	16.6	14.4	13.6	12.7	11.6	11.1	11	10.2	10.4	10.1	9.6
			22.9-50.3	22.3-46.0	21.4-41.6	21.4-38.5	14.4-24.4	15.2-23.9	13.6-19.8	12.4-16.6	12.0-15.1	11.2-14.2	9.9-13.4	9.1-13.4	8.6-13.7	7.5-13.3	7.2-14.2	6.7-14.1	6.0-13.9
	Zhijiang City	420583	30.2	26.5	24	22.1	20.1	18.2	17.3	18.7	19.1	18.8	17.7	16.6	15.3	13.1	13.7	13.8	13.8
			25.1-36.0	22.3-31.1	20.1-28.1	18.5-26.1	16.8-23.5	15.4-21.3	14.8-20.1	16.2-21.2	16.9-21.3	16.8-21.1	15.7-19.9	14.5-18.7	13.4-17.3	11.6-14.8	12.2-15.4	12.4-15.5	12.4-15.2
	Zhongxiang City	420881	31.4	30.4	30	29.1	29.2	27.8	24.7	20.2	19.1	17.5	15.1	14	13.1	11.8	10.9	10.7	10.4
			26.5-36.5	26.1-35.0	25.6-34.4	24.9-33.2	25.0-33.3	23.9-31.8	21.5-28.2	17.7-22.8	16.8-21.4	15.5-19.7	13.3-17.0	12.2-15.8	11.4-14.8	10.5-13.4	9.8-12.2	9.7-11.8	9.4-11.4
	Zhushan County	420323	63.3	61.5	58.7	58.1	52	49.3	45.9	43.8	41.9	38.9	36.4	32.8	30.2	28.4	27.1	25.5	24.2
			54.4-73.0	52.9-70.7	50.2-67.4	49.5-67.1	44.2-60.4	42.2-57.0	39.6-53.0	38.1-49.9	36.6-47.5	34.1-43.9	31.9-41.1	28.7-37.2	26.5-34.3	25.0-32.1	24.1-30.4	23.0-28.4	21.9-26.8
	Zhuxi County	420324	53.9	51	45.9	43.7	43.1	42.9	42.4	37.9	35	31.5	26.8	22.6	19.9	20.2	18.2	17	16
			42.8-66.1	41.8-61.5	38.3-54.3	37.7-50.5	37.0-49.3	36.9-49.0	36.1-48.9	31.6-44.5	28.8-41.7	25.9-37.7	22.2-32.0	19.1-26.8	17.1-23.1	17.8-23.0	16.4-20.3	15.5-18.8	14.4-17.6
	Zigui County	420527	58.2	54.6	49.4	46.8	41.7	36.2	33.5	32	30.6	27.7	26.1	24	22.6	21.5	22.7	22.6	22.2
			49.8-67.2	47.1-62.7	42.4-56.3	40.2-53.5	35.9-47.8	31.2-41.4	29.1-38.2	28.0-36.2	27.0-34.3	24.4-30.9	23.1-29.3	21.1-27.1	19.9-25.5	19.1-24.1	20.4-25.2	20.5-25.0	20.1-24.4
Hunan	Anhua County	430923	38.4	33.5	31.7	28.8	26.9	23.4	20.6	19.3	16.1	12.7	11.7	10.9	10.2	9.8	10.2	10	9.8

Province	County	County Code (2012)	Under-5 Mortality Rate (per 1000 births)																
			1996	1997	1998	1999	2000	2001	2002	2003	2004	2005	2006	2007	2008	2009	2010	2011	2012
			29.7-49.0	26.8-41.6	25.8-38.3	24.0-34.2	23.0-31.5	20.4-26.6	18.2-23.2	17.0-21.4	14.3-17.9	11.4-14.3	10.3-13.3	9.4-12.6	8.6-12.2	7.9-12.0	8.0-12.8	7.5-12.8	7.2-12.8
	Anren County	431028	72.9	74.3	72.2	63.3	62.1	50.2	42.4	35.2	29.7	27.7	24.8	21.7	17.3	15.4	13.3	11.7	10.6
			63.0-82.7	64.2-84.0	63.1-81.6	55.4-71.7	54.5-70.4	44.3-56.2	37.7-47.3	31.3-39.2	26.6-32.7	25.1-30.3	22.6-27.3	19.4-23.9	15.5-19.2	13.7-17.2	11.8-14.9	10.4-13.2	9.3-12.1
	Anxiang County	430721	42.6	41.3	39	35	33.1	26.8	25.5	21.3	20	19	17.7	16.7	16.1	15	13.8	12.8	12.3
			36.7-48.2	35.8-46.7	34.1-44.0	30.6-39.3	29.1-37.1	23.9-30.0	22.8-28.4	19.2-23.7	18.1-22.0	17.2-20.8	16.0-19.4	15.0-18.6	14.4-18.0	13.4-16.8	12.3-15.6	11.3-14.5	10.8-14.1
	Baojing County	433125	82.2	75.5	67.1	61.4	57.7	51.7	39.6	37.3	35.5	30.9	29.8	27	23.7	18.5	17.3	16.2	15.1
			67.3-98.3	63.7-88.6	57.5-77.3	53.0-70.0	49.1-66.6	43.4-60.6	32.9-47.6	30.5-45.7	28.7-43.4	24.8-37.9	23.9-36.1	21.7-32.5	19.1-28.2	15.0-22.1	14.3-20.4	13.7-19.0	12.8-17.9
	Beihu District	431002	36	33.8	32.1	29.4	26.8	23.2	19.9	16.9	16	15.6	15.3	15.6	16	15.1	13.7	12.5	11.5
			27.1-47.0	25.9-43.3	25.6-40.1	24.1-35.6	22.5-31.8	20.1-26.8	17.4-22.4	15.1-18.7	14.4-17.6	14.0-17.4	13.4-17.5	13.3-18.1	13.3-19.1	12.2-18.4	10.6-17.0	9.4-16.0	8.4-15.1
	Beita District	430511	40.8	38.8	33.3	36.5	35.1	34.1	33.8	32.2	28.3	24.7	21.1	18.7	17.7	16.5	14.5	14	13.6
			29.5-55.2	28.8-51.8	25.4-43.6	28.7-46.6	28.2-43.5	27.9-40.9	28.6-39.7	28.1-36.6	25.2-31.9	22.1-27.8	18.5-24.2	15.8-22.2	14.3-21.8	12.6-21.2	10.6-19.2	9.9-19.0	9.4-18.9
	Chaling County	430224	59.6	54.2	48.6	42.4	37.6	30.5	27.8	25.7	21.3	19.1	17.7	16	14.3	13.3	12.3	11.2	10.5
			48.4-71.8	45.2-64.3	41.2-56.0	37.1-48.2	33.1-42.2	26.8-34.2	24.3-31.4	22.1-29.4	18.2-24.7	16.3-22.2	15.2-20.8	13.8-18.5	12.5-16.3	11.7-15.0	10.9-13.8	10.0-12.6	9.2-12.0
	Changning City	430482	45.9	42.1	40.1	38.3	34.8	32.2	31.4	29.7	28.4	27.5	26.3	24.1	21.7	19.4	17	15.2	13.8
			39.7-51.9	36.4-47.6	34.9-45.4	33.3-43.6	30.3-39.6	28.2-36.5	27.5-35.4	26.0-33.2	25.1-31.6	24.5-30.6	23.4-29.3	21.3-27.1	19.1-24.4	16.9-21.9	14.9-19.2	13.3-17.4	12.1-15.9
	Changsha County	430121	34.2	31.9	29.2	27	24.4	23	20.6	19.2	17.9	15.9	13.6	12	10.4	9.6	8.7	8.4	7.9
			27.9-41.1	26.6-37.8	25.0-33.8	23.6-30.8	21.5-27.6	20.2-25.9	17.9-23.3	16.4-22.0	15.2-20.7	13.5-18.6	11.5-16.0	10.4-14.0	9.0-12.0	8.4-10.9	7.7-9.8	7.4-9.5	6.9-9.1
	Zizhixian	430529	57.4	52.4	50.9	49.2	42.9	35.2	31	29	24.4	20.5	20.7	18.3	17	17.9	17.9	17.5	16.9
			49.2-65.5	44.8-59.6	43.6-58.1	42.1-56.5	36.9-49.4	30.4-40.5	26.8-35.4	25.5-32.6	21.9-27.3	18.5-22.7	18.5-23.0	16.3-20.4	14.9-19.0	15.6-20.3	15.6-20.3	15.3-19.8	14.8-19.3
	Chenxi County	431223	50.6	45.7	39.7	36.5	32.6	28.4	25.9	23.5	20	19.3	17.8	15.1	14.3	13.9	12.4	11.4	10.7
			43.6-57.2	39.6-51.7	34.7-44.8	31.8-41.1	28.6-36.6	25.2-31.8	23.1-29.0	21.1-26.2	18.0-22.1	17.4-21.2	16.0-19.7	13.5-16.9	12.8-16.2	12.4-15.6	11.0-14.0	10.1-12.9	9.3-12.2
	Cili County	430821	32.5	31.4	31.9	29.9	27.6	28.8	27.7	23.7	24.2	23.7	21.9	22.2	20.7	18.8	16.3	14	12.7
			27.5-37.6	26.5-36.3	27.0-36.9	25.4-34.6	23.5-32.1	24.7-33.2	24.1-31.6	21.0-26.6	21.8-26.9	21.6-25.9	19.9-24.0	19.9-24.5	18.3-23.1	16.6-21.0	14.3-18.4	12.4-15.9	11.1-14.5
	Dao County	431124	38	36.5	37.2	39.6	37.4	36.8	31.8	29.1	26.4	24.3	21.1	21.2	20.8	19.3	17.9	16.6	15.6
			32.4-43.8	31.3-41.7	32.2-42.4	34.5-44.9	32.7-42.0	32.7-41.1	28.5-35.4	26.3-32.2	23.9-29.0	22.1-26.6	19.1-23.1	19.0-23.5	18.6-23.3	17.2-21.7	16.0-20.1	14.7-18.7	13.7-17.8
	Daxiang District	430503	32.6	25.5	29.4	30.5	28.7	28.4	27.7	27.2	27	24.5	23.2	22.3	20.4	19	16.7	16.2	15.7
			22.2-47.1	17.6-36.3	20.7-41.5	21.9-42.1	20.7-38.9	20.6-37.6	20.6-36.0	20.6-35.0	21.1-34.0	19.3-30.7	18.0-29.2	17.4-28.4	15.7-26.8	14.1-25.4	12.1-23.2	11.4-22.6	10.8-22.1
	Dingcheng District	430703	40.5	37.7	35.7	35.6	34.2	28.8	24.7	21.1	16.8	13.7	12.9	11.8	10.6	11.1	10.7	10.2	10
			34.9-45.8	32.7-42.4	31.3-40.1	31.3-40.0	30.1-38.3	25.6-32.2	22.1-27.6	19.0-23.4	15.1-18.4	12.4-15.1	11.6-14.2	10.6-13.1	9.5-11.9	9.9-12.4	9.6-12.1	9.0-11.5	8.7-11.4
	Dong'an County	431122	37.1	39.4	38.2	38.6	37.6	36.4	31.8	24.9	20.8	18	16	15.6	15.4	14.8	13.5	12.6	11.9
			31.8-42.1	34.1-44.5	33.3-43.0	33.7-43.3	33.1-42.2	32.3-40.7	28.4-35.4	22.4-27.6	18.8-22.9	16.3-19.8	14.4-17.7	13.9-17.2	13.7-17.2	13.1-16.5	12.0-15.1	11.2-14.3	10.4-13.5
	Dongkou County	430525	38.3	39	38.3	40.8	44.3	46.5	49.1	47.9	40.6	34.2	27.5	21.3	17.9	18.1	17	16.3	15.4
			33.0-43.4	33.6-44.1	33.3-43.3	35.7-46.0	38.9-50.0	40.9-52.2	43.5-54.8	42.6-53.1	36.4-44.7	31.0-37.5	25.0-30.2	19.2-23.4	16.0-20.0	16.2-20.3	15.2-19.2	14.4-18.4	13.5-17.6
	Fenghuang County	433123	89.6	81.8	74.4	67.6	59.8	56.4	52.8	49	42.8	39.5	33.9	28.2	26.2	21.5	20.6	18.8	17.9
			77.3-101.1	70.8-92.5	65.0-84.1	59.2-76.6	52.4-67.8	49.6-63.2	46.8-58.9	43.8-54.5	38.5-47.2	35.8-43.3	30.8-37.3	25.4-31.3	23.5-29.3	19.1-24.1	18.3-23.2	16.5-21.2	15.7-20.5
	Furong District	430102	23.4	25.3	24.4	23	20.4	17	14.8	12.3	13.6	11.7	11.3	11.2	10.4	10.2	9.1	9	8.6
			16.0-34.0	17.5-36.2	17.2-34.5	16.5-31.8	14.7-27.8	12.3-22.7	10.9-19.3	9.3-15.9	10.6-17.3	9.2-14.7	8.7-14.3	8.7-14.4	7.9-13.7	7.6-13.7	6.6-12.8	6.3-12.6	5.9-12.2
	Guidong County	431027	55.9	54.5	52.2	54.1	51.8	45.2	40.6	36.5	32.8	30.6	28.5	25.3	22.8	19.6	15.9	14.5	13
			47.9-63.5	47.1-61.7	45.5-58.9	47.2-60.8	45.6-58.0	40.2-50.4	36.5-45.3	33.1-40.4	29.6-35.9	27.8-33.5	25.8-31.2	22.7-28.1	20.3-25.4	17.4-21.9	14.2-17.9	12.8-16.3	11.4-14.8
	Guiyang County	431021	48.5	45.7	41.3	38.1	34.4	31.4	28	24.1	21.8	20.4	18.3	17.3	16.7	15.8	15.1	13.8	12.8
			42.0-54.8	39.6-51.6	36.0-46.7	33.3-43.2	30.1-39.2	27.7-35.3	24.8-31.3	21.3-26.9	19.5-24.2	18.4-22.5	16.5-20.2	15.4-19.1	14.7-18.5	14.0-17.7	13.3-16.9	12.1-15.5	11.2-14.7
	Guzhang County	433126	60.8	55.2	46.9	44.6	44.6	42.2	36.2	35.7	35.3	31.5	31.4	30.1	29.2	18.5	17	16	14.9
			49.8-72.1	45.3-66.2	38.2-56.4	36.4-54.1	36.3-54.2	34.5-51.1	29.7-43.7	29.8-42.8	29.6-41.6	26.5-37.0	26.5-36.6	25.2-35.1	24.1-34.0	15.4-21.8	14.2-20.0	13.5-18.8	12.7-17.7
	Hanshou County	430722	41.5	39.1	36.8	37.6	33.4	27.7	23.8	20	18.3	15.6	13.7	12.7	12	11.6	11	10.6	10.2
			35.6-47.0	33.9-44.3	32.1-41.6	32.8-42.4	29.4-37.5	24.6-31.0	21.2-26.7	17.9-22.3	16.4-20.3	14.1-17.3	12.2-15.2	11.3-14.4	10.6-13.5	10.3-13.0	9.7-12.4	9.3-11.9	8.9-11.7
	Hecheng District	431202	51.9	48.4	44.7	39.1	33.5	29.1	23.6	19.6	18.6	17.3	16.3	16.8	16.6	16.2	14.8	13.8	12.8
			44.9-58.6	41.9-54.4	39.1-50.3	34.3-43.9	29.5-37.6	25.8-32.6	21.1-26.4	17.6-21.7	16.8-20.5	15.6-19.0	14.7-18.0	15.0-18.5	14.7-18.5	14.4-18.1	13.1-16.5	12.2-15.6	11.2-14.6
	Hengdong County	430424	44.4	40	35.9	30.8	26.5	23	21.9	19.8	21	19.8	17.4	15.8	14.6	12.9	11.8	11.1	10.4
			35.8-53.5	33.2-47.1	30.4-41.9	26.5-35.5	22.6-30.6	19.4-26.9	18.4-26.1	16.5-23.7	17.5-25.1	16.3-23.7	14.4-20.7	13.3-18.6	12.3-17.0	10.9-14.9	10.0-13.5	9.6-12.7	9.0-12.0
	Hengnan County	430422	42.4	39.6	35.3	32.3	31.2	27.8	27.1	26.7	27	25.3	22.3	20	17.9	15.6	14.4	13.6	12.9
			36.7-48.1	34.2-44.8	30.7-40.2	28.0-36.9	27.0-35.6	24.2-31.5	23.8-30.6	23.4-29.9	23.9-30.1	22.6-28.2	19.9-24.7	17.8-22.4	15.8-20.1	13.7-17.6	12.6-16.3	11.9-15.5	11.2-14.7
	Hengshan County	430423	57.1	50	44.8	35.3	30.2	25.3	21.1	17.6	17	16.2	15.6	15.4	15.5	15.2	14.3	13.7	12.7
			46.4-68.6	41.7-59.1	38.1-51.8	30.9-40.0	26.5-33.8	22.2-28.3	18.4-23.9	15.1-20.2	14.4-19.8	13.8-19.0	13.3-18.4	13.3-18.0	13.5-17.7	13.4-17.2	12.7-16.1	12.1-15.3	11.2-14.5
	Hengyang County	430421	37.3	34.7	34.1	29.4	26.5	26.1	24.5	22.5	22	21.2	20.8	19.5	17.9	17.6	16.3	15.1	14.1
			31.7-43.0	29.5-39.7	29.1-39.2	25.1-33.8	22.8-30.7	22.6-29.9	21.3-27.8	19.9-25.2	19.8-24.4	19.3-23.2	19.0-22.8	17.5-21.5	15.8-19.9	15.5-19.6	14.4-18.4	13.4-17.1	12.4-16.1
	Heshan District	430903	32.4	28.9	25.5	24.5	22.2	20.5	19.2	18.3	16.9	16.6	13.6	12.9	12.8	11.1	10.5	10.2	9.6
			26.1-39.2	23.9-34.4	21.6-29.7	21.3-27.8	19.5-24.9	18.1-22.9	16.7-21.7	15.7-21.1	14.3-19.8	14.0-19.7	11.5-16.1	10.9-15.2	11.0-14.9	9.6-12.8	9.1-12.1	8.8-11.8	8.3-11.2
	Hetang District	430202	24.7	25.7	27.4	29	28.2	26	24.2	22.8	21.2	20.4	16.5	12.6	11.8	10.5	9	8.7	8.5
			20.0-29.8	20.8-31.1	22.4-33.3	23.7-35.3	23.2-34.1	21.4-31.3	20.2-28.5	19.5-26.6	18.6-24.4	17.9-23.1	14.4-18.7	10.9-14.3	10.1-13.5	8.9-12.1	7.7-10.4	7.4-10.0	7.4-9.9
	Hongjiang City	431281	39.4	38	35.5	36.3	32.3	31.4	28	24.5	22.8	19.1	18.1	16.9	15.5	14.4	14.2	13.2	12.2
			34.0-44.5	33.0-42.9	31.0-39.8	31.9-40.9	28.4-36.4	27.8-35.2	25.1-31.2	22.1-27.2	20.6-25.1	17.3-21.0	16.2-19.9	15.1-18.7	13.8-17.2	12.8-16.1	12.6-15.9	11.6-14.9	10.7-13.9
	Huarong County	430623	37.7	34.9	33.6	33.1	28.6	24.2	21	15.8	14.2	12	10	9	8.6	8.8	8.4	8.4	8.5
			32.3-42.8	30.2-39.6	29.3-37.9	28.9-37.2	25.2-32.0	21.5-27.0	18.8-23.5	14.2-17.6	12.7-15.7	10.8-13.3	9.0-11.2	8.0-10.1	7.6-9.8	7.8-10.0	7.5-9.5	7.4-9.6	7.4-9.8
	Huayuan County	433124	63.4	58.9	53.5	49.6	45	41.3	40.6	38.6	37.8	33.4	31.2	26.5	20.3	16.8	16.1	15.2	14.2
			51.6-76.2	48.8-69.8	45.5-62.6	43.1-57.1	39.2-51.4	36.2-46.6	35.5-45.8	33.5-43.9	32.5-43.5	28.7-38.3	27.0-36.1	23.1-30.4	17.7-23.2	14.8-19.0	14.3-18.2	13.3-17.2	12.4-16.3

Province	County	County Code (2012)	Under-5 Mortality Rate (per 1000 births)																
			1996	1997	1998	1999	2000	2001	2002	2003	2004	2005	2006	2007	2008	2009	2010	2011	2012
	Huitong County	431225	67.2	64.5	60.7	58.9	53.2	46.7	38.1	31	26.5	23	21	19.8	18.7	17.5	16.5	15.5	14.2
			54.9-80.7	53.7-76.1	51.8-71.3	51.1-68.0	46.2-60.6	40.7-52.8	33.2-43.3	26.7-35.6	22.7-30.6	19.7-26.6	18.0-24.4	17.0-23.0	16.1-21.4	15.4-19.9	14.5-18.6	13.6-17.5	12.4-16.3
	Jiahe County	431024	46	45.2	44.4	44.9	43.4	40.8	37	32.7	31.3	28	22.7	20	17.2	15	13.1	11.7	10.6
			39.4-52.2	39.1-51.2	38.8-50.0	39.2-50.5	38.1-48.6	36.3-45.4	33.2-41.3	29.6-36.2	28.2-34.3	25.4-30.7	20.6-25.0	17.9-22.2	15.4-19.3	13.3-16.8	11.7-14.8	10.3-13.2	9.3-12.2
	Zizhixian	431129	57.8	59.6	57.9	57.8	53.4	48.6	42	35	28.7	23.8	21.3	20.9	18.9	18	16.7	14.9	13.4
			49.3-66.4	51.4-68.1	50.5-65.7	50.4-65.1	47.0-59.8	43.2-54.1	37.6-46.8	31.6-38.7	25.9-31.5	21.6-26.2	19.2-23.5	18.7-23.3	16.8-21.1	16.0-20.2	14.9-18.8	13.2-16.8	11.8-15.3
	Jiangyong County	431125	56.9	54.3	53.2	54.8	51.9	43.6	37.1	31.7	25.1	23.2	21.6	21.3	19.7	18.4	17	15.8	14.4
			48.9-64.5	47.0-61.3	46.5-59.8	48.0-61.3	45.8-58.1	38.7-48.7	33.3-41.4	28.6-35.1	22.6-27.5	21.1-25.5	19.5-23.8	19.0-23.6	17.6-22.1	16.4-20.6	15.2-19.1	13.9-17.8	12.7-16.5
	Dongzu Zizhixian	431229	49.5	43.5	40.6	35.8	33.3	31.3	28.8	28.3	26.6	25.7	24.4	22.2	19.6	17.4	15.2	13.8	12.5
			42.1-57.2	37.0-50.0	34.6-46.8	30.5-41.4	28.5-38.6	27.0-36.0	25.1-32.9	25.0-31.8	24.0-29.5	23.5-28.1	22.2-26.7	19.8-24.4	17.2-21.8	15.3-19.4	13.3-17.2	12.1-15.6	10.9-14.2
	Jinshi City	430781	29.4	26.3	23	20.2	16.7	15.7	14.9	13.4	11.2	9.9	8.1	7.8	8	8.5	9.3	9.1	9.2
			24.8-34.1	22.2-30.4	19.5-26.8	17.0-23.7	14.1-19.6	13.3-18.4	12.7-17.3	11.6-15.4	9.9-12.8	8.7-11.2	7.1-9.1	6.8-8.9	6.9-9.1	7.2-9.7	8.0-10.6	7.9-10.4	8.0-10.6
	Jishou City	433101	54.1	51.5	44.8	41	36.7	33.7	30.4	27.9	28.4	26.5	25.4	24.3	22.4	17.4	15.9	15.6	14.7
			43.6-65.3	42.8-60.6	38.1-52.1	35.3-47.2	31.3-42.4	28.4-39.3	25.4-36.3	22.9-34.1	23.2-34.6	21.5-32.3	20.5-30.7	19.6-29.1	18.2-26.5	14.2-20.6	13.2-18.8	13.2-18.3	12.4-17.4
	Junshan District	430611	29.5	26.8	24.1	22.9	19.4	16.2	15	16.5	14.2	12.9	12.7	12.8	11.9	11.4	11.3	10.6	9.8
			25.2-34.0	22.8-30.6	20.6-27.8	19.5-26.5	16.6-22.5	13.9-18.7	13.1-17.2	14.6-18.6	12.8-15.8	11.8-14.2	11.5-13.9	11.5-14.2	10.5-13.3	10.0-12.7	9.9-12.7	9.4-12.0	8.5-11.1
	Kaifu District	430105	23.3	26	24.2	23	20.2	17	15.6	14.1	13.7	12.5	11.8	11.4	10.8	10.3	9.4	9.2	8.8
			15.8-33.8	18.0-37.1	17.1-34.3	16.4-31.7	14.5-27.5	12.3-22.6	11.6-20.4	10.6-18.2	10.6-17.4	9.8-15.7	9.1-15.0	8.8-14.6	8.3-14.3	7.6-13.8	6.8-13.1	6.5-12.8	6.1-12.5
	Lanshan County	431127	50	48.5	47.4	44.4	39.6	32.5	28.6	25.6	23	19.9	19.1	19	17.9	16.5	15.3	14	13.2
			42.4-57.9	41.5-55.7	40.9-54.4	38.4-50.4	34.5-44.6	28.7-36.4	25.5-32.1	23.0-28.5	20.8-25.3	18.0-21.9	17.3-21.0	17.1-21.1	16.0-20.1	14.7-18.5	13.6-17.2	12.4-15.8	11.6-15.1
	Leiyang City	430481	55.2	48.5	43.4	33.4	28.9	27	27.2	26.4	26.5	23.9	21.6	19.1	16.9	14.9	14.4	13.6	13.3
			44.8-66.3	40.5-57.4	36.9-50.2	29.1-37.8	25.4-32.5	23.7-30.2	23.8-30.7	22.7-30.1	22.5-30.5	20.4-27.8	18.5-25.2	16.6-22.2	14.8-19.2	13.1-16.8	12.8-16.1	12.0-15.3	11.6-15.1
	Lengshuijiang City	431381	29	26.8	25.7	24.5	22.9	20.7	19.7	17.8	16.3	15.1	13.3	12.7	12.2	12.2	11.9	11.3	10.8
			19.8-42.1	18.5-38.2	18.1-36.4	17.5-33.9	16.5-31.1	15.0-27.5	14.6-25.8	13.4-22.9	12.7-20.7	11.9-19.0	10.3-16.8	9.8-16.2	9.3-16.1	9.0-16.4	8.6-16.6	7.9-15.7	7.5-15.3
	Lengshuitan District	431103	36.5	37.4	36.8	33.8	29.7	26.2	20.8	17.6	16.8	16.7	17.2	17.2	17.3	17.4	15.8	14.7	13.7
			30.9-42.3	31.7-43.0	31.4-42.3	28.9-39.0	25.5-34.2	22.7-30.1	18.1-23.6	15.5-19.8	15.1-18.6	15.2-18.3	15.7-18.8	15.4-19.0	15.3-19.3	15.3-19.5	13.9-17.8	13.0-16.6	12.1-15.7
	Li County	430723	33.6	31.7	30.9	29.1	28.4	27.7	25.9	23.6	22.3	21.3	14.1	14.4	12.5	12.4	11.7	11.2	10.6
			27.1-40.8	26.1-37.7	26.1-35.9	25.4-33.1	25.0-31.8	24.5-30.9	22.6-29.2	20.4-27.0	19.0-26.0	18.0-25.2	11.9-16.6	12.4-16.8	10.8-14.3	10.8-14.1	10.3-13.2	9.9-12.6	9.3-12.1
	Lianyuan City	431382	37.5	37	36.4	35.2	34.7	31.5	28.7	25.7	22.4	19.5	16.8	15.3	14.4	13.8	13.1	12.6	12.1
			32.5-42.6	32.0-41.9	31.7-41.2	30.7-40.1	30.3-39.6	27.7-35.6	25.3-32.3	22.8-28.7	19.9-24.7	17.6-21.5	15.2-18.6	13.7-16.9	12.8-16.1	12.3-15.5	11.5-14.7	11.1-14.3	10.6-13.8
	Liling City	430281	45.3	41.7	38.3	34.5	30.7	26.9	25.2	23	20.9	19	16.8	14.6	12.4	11	10	9.2	8.6
			36.8-54.6	34.7-49.3	32.4-44.2	30.2-39.2	27.1-34.6	23.7-30.3	22.0-28.5	19.8-26.2	17.8-24.0	16.3-22.0	14.5-19.6	12.6-16.8	10.8-14.0	9.7-12.4	8.9-11.2	8.2-10.4	7.6-9.8
	LinXiang City	430682	34.6	31.2	29.4	27.1	25.1	23.1	21.2	21.1	18.7	16.2	15	13.2	12.6	11.7	10.7	10.2	9.8
			29.4-39.9	26.7-35.6	25.4-33.5	23.6-30.8	22.0-28.2	20.5-25.8	19.1-23.7	19.1-23.3	17.0-20.5	14.7-17.7	13.6-16.4	11.8-14.6	11.3-14.0	10.3-13.1	9.5-12.0	9.0-11.5	8.5-11.1
	Lingling District	431102	39	43.8	44.8	43.3	41	36.6	31.5	22.8	19.8	16.9	15	14.8	14.4	13.5	13.1	12.7	12.2
			33.5-44.4	37.9-49.5	39.1-50.4	38.0-48.6	36.2-45.9	32.5-40.9	28.3-35.1	20.6-25.3	17.8-21.7	15.4-18.6	13.5-16.5	13.2-16.4	12.8-16.1	12.0-15.1	11.7-14.7	11.3-14.4	10.7-13.9
	Linli County	430724	49.5	46.5	40	35	29.6	25.4	20.9	20.2	18.8	17.4	15.2	15.8	13.8	13.3	12.7	12.2	12
			39.9-59.6	38.7-54.8	34.0-46.6	30.2-40.1	25.4-34.2	21.7-29.5	17.7-24.6	16.9-23.8	15.7-22.4	14.5-20.8	12.7-18.0	13.3-18.5	11.8-16.0	11.5-15.2	11.0-14.4	10.7-13.8	10.5-13.7
	Linwu County	431025	44.6	44.7	44.5	42.2	40.1	37.6	34.3	29.1	28.2	28.1	26.4	23.8	21.3	18	14	11.6	10.6
			38.2-51.3	38.1-51.1	38.0-51.0	36.0-48.5	34.4-46.2	32.6-43.1	29.8-38.9	25.7-32.7	25.4-31.3	25.6-30.7	24.0-29.0	21.3-26.2	18.8-23.8	15.8-20.2	12.2-15.8	10.2-13.2	9.2-12.1
	Liuyang City	430181	35.4	32.5	30.5	27.6	25.2	23.3	21.1	19.2	16.8	15.8	13.9	12.8	12.2	11.2	10.8	10.2	9.8
			30.7-40.1	28.1-36.8	26.5-34.6	23.9-31.5	21.9-28.7	20.3-26.4	18.5-23.8	16.9-21.4	14.9-18.7	14.1-17.5	12.4-15.4	11.4-14.3	10.8-13.6	9.8-12.5	9.5-12.2	8.9-11.5	8.6-11.2
	Longhui County	430524	40.8	37.1	35.6	33.7	32.6	31.8	31.9	30.8	29.7	26.4	23	19.9	18.1	16.8	16	15.8	15.6
			35.1-46.2	32.1-41.9	30.9-40.0	29.4-37.9	28.6-36.6	28.1-35.6	28.5-35.6	27.7-34.1	27.0-32.8	23.9-29.0	20.7-25.3	17.8-22.1	16.0-20.1	14.9-18.8	14.2-17.9	13.9-17.8	13.6-17.8
	Longshan County	433130	72.1	64.2	58.7	47.7	46.4	42.9	36.8	34.1	32.2	28.1	25.4	24.1	23.5	20.8	19.4	17.9	17.1
			59.2-85.7	52.9-76.7	48.5-70.2	39.3-57.0	38.5-55.3	35.9-50.5	31.1-42.7	29.7-39.4	28.3-36.8	24.6-31.8	22.2-28.9	20.8-27.5	19.9-27.2	17.5-24.2	16.4-22.6	15.2-20.7	14.7-20.0
	Louxing District	431302	25.5	25.3	22.5	21.4	20.2	18.6	16.8	15.2	14.7	14.3	13.6	14.2	14	13.2	12	11.7	11.1
			17.4-37.0	17.5-36.1	15.8-31.9	15.3-29.6	14.5-27.4	13.5-24.7	12.4-21.9	11.4-19.6	11.5-18.7	11.2-17.9	10.5-17.2	11.0-18.1	10.7-18.4	9.7-17.7	8.7-16.8	8.3-16.4	7.7-15.8
	Lusong District	430203	29.7	32.2	32.3	34.1	31.1	29.2	28.6	22.7	21	19.9	18	15.8	13.7	13.1	11.4	10.8	9.9
			21.6-40.2	24.0-43.0	24.7-42.2	26.8-43.6	25.0-38.7	23.9-35.4	24.0-33.7	19.7-26.0	18.7-23.7	17.9-22.3	15.9-20.4	13.4-18.5	11.1-16.7	10.1-16.6	8.5-15.1	7.8-14.6	6.9-13.7
	Luxi County	433122	59.2	55.8	50.5	47.6	43.7	40	36.3	35.9	32.4	30.1	27.9	24.2	22.4	18	16.3	15.1	14.3
			47.9-71.4	46.8-65.9	43.1-58.4	41.0-54.3	37.4-50.1	33.8-46.5	30.5-43.1	29.6-43.4	26.5-39.3	24.4-36.4	22.5-33.6	19.6-28.9	18.2-26.5	14.7-21.4	13.5-19.2	12.9-17.7	12.1-16.9
	Zizhixian	431226	60.2	55.4	49.2	45.5	46.1	45.6	44.1	41.3	38.8	32.9	29.4	25.5	22.3	19.5	17.5	15.7	14.2
			52.1-68.1	47.9-62.6	42.8-55.6	39.5-51.7	40.2-52.4	39.9-51.6	38.7-49.7	36.4-46.1	34.4-43.1	29.3-36.5	26.3-32.6	22.8-28.4	19.7-25.0	17.2-21.9	15.4-19.8	13.8-17.8	12.4-16.3
	Miluo City	430681	32.3	29.8	28.6	26.7	23.5	20.1	18.5	16.7	16.1	14.6	14.1	12.5	11.2	10.8	10.3	9.6	9.1
			27.5-37.1	25.4-34.0	24.4-32.7	22.7-30.9	20.1-27.1	17.3-23.2	16.0-21.2	14.7-18.9	14.3-18.1	13.0-16.3	12.4-15.9	11.0-14.1	9.6-12.9	9.1-12.5	8.8-11.9	8.3-11.1	7.8-10.6
	Nan County	430921	35.6	32.3	29.7	26.9	23.8	20.4	18.1	16.6	14.7	12.9	11.7	11.9	11.7	11.8	11.4	11.1	11
			28.8-42.9	26.9-38.3	25.2-34.4	23.4-30.5	20.9-26.6	18.0-22.8	15.8-20.4	14.3-19.0	12.5-17.0	11.1-15.1	10.0-13.8	10.3-13.8	10.2-13.3	10.3-13.3	10.1-12.8	9.8-12.5	9.6-12.6
	Nanyue District	430412	41	36.5	34.9	25.9	21.3	17.7	14.2	14.4	15.4	15	16.6	17.1	16	14.8	16	14.8	13.9
			33.5-48.8	29.9-43.8	28.6-42.0	21.1-31.3	17.4-25.9	14.5-21.4	11.7-17.0	12.1-17.1	13.2-17.9	12.8-17.3	14.3-19.1	14.8-19.6	13.6-18.3	12.6-17.0	13.7-18.4	12.8-16.9	12.0-16.1
	Ningxiang County	430124	31.8	32.1	29.9	30.2	28.5	26.2	24.8	22.2	20.3	18.1	16.6	15.4	14.4	13.2	12.4	11.6	10.8
			27.5-36.2	27.7-36.3	26.0-33.9	26.3-34.5	24.8-32.5	22.9-29.6	21.9-27.8	19.6-24.8	18.1-22.6	16.3-20.0	15.0-18.3	13.8-17.1	12.8-16.0	11.7-14.7	11.0-13.9	10.3-13.2	9.5-12.4
	Ningyuan County	431126	52.9	55.1	56.1	61.4	54.8	50.5	42.2	31.8	25.5	23	19.5	17.5	18	15.9	14.3	13.2	12.2
			45.5-59.8	47.8-62.1	49.1-62.9	54.0-68.9	48.3-61.4	45.0-56.5	37.8-47.0	28.7-35.2	23.0-28.0	20.9-25.3	17.6-21.5	15.7-19.4	16.0-20.1	14.2-17.9	12.8-16.1	11.7-14.9	10.7-14.0
	Pingjiang County	430626	37.8	35.2	31.8	27.6	22.9	18.1	15.5	13.5	12.7	11.3	10.8	11.1	11.5	11.5	11.7	11.3	10.9

Province	County	County Code (2012)	Under-5 Mortality Rate (per 1000 births)																
			1996	1997	1998	1999	2000	2001	2002	2003	2004	2005	2006	2007	2008	2009	2010	2011	2012
			30.7-45.6	29.3-41.7	27.0-36.7	24.2-31.3	20.1-25.6	15.9-20.3	13.5-17.5	11.6-15.6	10.7-14.7	9.7-13.3	9.3-12.8	9.5-12.9	10.0-13.2	10.1-13.0	10.4-13.1	10.0-12.8	9.6-12.5
	Qidong County	430426	49.3	44.5	39.9	36.5	30.9	26	23.6	20.3	19.5	19.1	18.5	18.3	16.9	15.4	14.8	13.5	12.5
			39.9-59.4	37.1-52.4	34.2-46.2	31.7-41.8	26.7-35.5	22.2-30.0	20.0-27.7	17.2-23.9	16.4-23.1	16.0-22.6	15.6-21.9	15.6-21.3	14.6-19.5	13.4-17.4	13.0-16.7	12.0-15.2	10.9-14.2
	Qiyang County	431121	37.5	39.2	42.1	43.4	43	39.2	34.4	26.5	20.7	18.8	16.7	15.5	14.5	13.7	12.1	11.1	10.3
			32.5-42.5	33.9-44.4	36.7-47.6	37.8-49.4	37.5-48.9	34.5-44.3	30.4-38.6	23.5-29.7	18.5-22.9	17.0-20.7	15.1-18.4	13.8-17.1	12.9-16.1	12.2-15.3	10.7-13.6	9.8-12.6	9.0-11.7
	Rucheng County	431026	61.6	62.4	62.9	61.3	62.1	56	53.1	41.3	38.5	34.1	31.7	28.8	25.4	21.4	17.9	15.3	13.7
			52.8-69.9	53.9-70.7	55.0-70.9	53.6-69.0	54.7-69.5	49.9-62.3	47.6-59.3	37.4-45.7	34.7-42.2	31.0-37.5	28.7-34.8	25.8-32.0	22.6-28.4	19.0-23.9	15.9-20.1	13.5-17.3	12.0-15.7
	Sangzhi County	430822	54.5	53.3	51.7	46.1	42.6	42.7	39	33.7	34.5	29.1	25	22	19.4	17.8	16.2	14.7	13.5
			47.2-61.6	46.2-60.3	45.1-58.4	40.3-52.2	37.4-48.5	37.6-48.0	34.6-43.6	29.8-37.5	30.8-38.0	26.3-32.0	22.6-27.5	19.7-24.2	17.2-21.6	15.9-19.9	14.3-18.3	12.9-16.6	11.8-15.4
	Shaodong County	430521	39.9	39.1	39.1	42.4	39.5	36.1	37.8	37.6	35.3	34	30.6	26.3	22.3	18.5	17.6	16.7	15.8
			34.1-45.7	33.6-44.8	33.4-44.8	36.5-48.8	34.1-45.3	31.4-41.4	33.2-42.8	33.6-41.9	32.1-38.6	31.0-37.1	27.7-33.5	23.4-29.2	19.6-25.0	16.2-20.9	15.4-19.9	14.7-19.0	13.9-18.1
	Shaoshan City	430382	35.2	35.1	31.6	34.2	33.2	32.1	28.8	28.3	24.4	21.7	21.1	19.6	18.3	14.1	16.2	15.4	14.5
			29.4-41.2	29.5-41.0	26.6-37.1	28.7-40.3	27.9-39.1	27.4-37.5	24.6-33.1	24.7-32.3	21.6-27.6	19.2-24.3	18.6-23.8	17.2-22.1	15.7-20.9	12.0-16.2	13.9-18.6	13.3-17.7	12.6-16.9
	Shaoyang County	430523	32.7	30.8	29.2	27.7	27.1	25.6	24.4	23.1	21.2	19	18.1	17.7	16.5	15.8	14.5	13.3	12.3
			28.0-37.4	26.6-35.1	25.4-33.1	24.1-31.3	23.7-30.4	22.7-28.7	21.8-27.1	20.8-25.5	19.2-23.3	17.2-20.9	16.4-20.0	15.8-19.6	14.6-18.4	14.0-17.7	12.8-16.2	11.8-15.0	10.8-14.1
	Shifeng District	430204	24.2	23.5	24.2	25.5	21.6	20.2	19.6	19.7	17.8	16.4	12.9	11.6	9.5	9.1	8	7.7	7.2
			19.8-28.7	19.5-28.2	20.0-29.0	20.9-30.6	17.8-25.9	16.7-24.3	16.4-23.3	16.6-23.2	15.3-20.7	13.9-19.0	11.0-14.9	9.9-13.3	8.0-11.0	7.6-10.5	6.8-9.3	6.6-8.9	6.2-8.4
	Shigu District	430407	31.9	26.6	23.4	18.4	19.6	18.3	16.5	15.4	15.6	13.4	13.4	14.5	12.7	11.9	11.2	10.4	9.8
			22.8-43.9	19.4-36.0	17.5-30.9	14.2-23.7	15.5-24.5	14.8-22.3	13.7-19.7	13.1-17.9	13.7-17.9	11.7-15.3	11.6-15.5	12.3-17.2	10.4-15.5	9.3-15.1	8.3-14.7	7.5-13.8	6.9-13.6
	Shimen County	430726	43.5	40.5	37	36.5	33.7	31	27.2	25.5	23.1	20.8	18.6	17.1	15.4	14	12.5	11.4	10.7
			37.6-49.3	34.9-45.8	32.2-42.2	31.6-41.7	29.3-38.5	27.1-35.2	23.9-30.6	22.4-28.5	20.5-25.7	18.5-23.1	16.7-20.7	15.2-19.0	13.6-17.3	12.3-15.8	11.0-14.1	10.0-13.0	9.3-12.2
	Shuangfeng County	431321	26.3	24.8	23.2	22.6	21.1	19.4	17.9	16.2	15.1	15.9	15	15.9	14.9	14.2	13.3	12.5	11.7
			22.6-29.7	21.5-28.0	20.3-26.1	19.7-25.4	18.6-23.7	17.2-21.7	16.1-20.0	14.6-17.9	13.6-16.6	14.4-17.5	13.5-16.5	14.2-17.6	13.1-16.6	12.5-15.9	11.7-15.0	11.0-14.1	10.2-13.4
	Shuangpai County	431123	45.2	44.2	43.5	44.5	42.9	39.5	37.2	33.5	30.4	24.5	19.3	19.4	17.6	15.8	14.5	13.7	12.9
			37.8-52.7	37.2-51.7	36.6-50.7	37.4-52.1	36.3-50.3	33.7-45.9	32.0-42.7	29.4-38.0	27.1-34.1	21.9-27.3	17.1-21.6	17.1-21.8	15.2-19.9	13.6-18.1	12.5-16.6	11.9-15.6	11.2-14.9
	Shuangqing District	430502	32.9	34.1	35	36.1	33.3	31.6	31.5	30.6	32.9	34.3	35.1	32.2	29.9	29.1	24.8	22.8	21.3
			23.6-45.1	25.0-46.0	26.3-46.2	27.8-46.5	26.2-41.6	25.3-38.5	25.8-37.7	25.9-35.6	28.8-37.7	30.3-38.7	30.5-40.2	27.4-37.6	24.7-36.1	22.9-36.5	18.7-32.3	16.7-30.2	15.0-29.3
	Suining County	430527	39.8	37.2	35.5	35.9	32.5	32.6	33.6	34.1	33.8	31.4	29.4	25.5	21.6	19.2	15.7	14.8	13.7
			34.1-45.7	31.7-42.6	30.3-40.7	30.7-41.3	28.0-37.6	28.2-37.4	29.2-38.2	30.3-38.4	30.5-37.2	28.7-34.1	26.7-32.0	22.8-28.1	19.1-24.0	16.9-21.5	13.9-17.7	13.1-16.7	12.0-15.6
	Suxian District	431003	38.4	38.5	39.1	34.8	33.6	29.5	26.9	20.2	20	18.1	17.9	17.4	18.5	15.8	15.5	14.3	13.2
			32.6-44.2	32.7-44.1	33.3-45.0	29.6-40.2	28.6-38.9	25.4-33.9	23.3-30.7	17.9-22.8	17.9-22.2	16.4-20.0	16.2-19.8	15.5-19.3	16.2-20.6	13.8-17.7	13.5-17.6	12.6-16.2	11.6-15.1
	Taojiang County	430922	22.2	20.3	18.7	16.7	14.9	14	12.4	11.7	12.7	12.9	11.2	10.4	10.3	9.3	9.2	9	8.8
			18.9-25.6	17.3-23.3	15.9-21.5	14.1-19.3	12.6-17.3	11.9-16.2	10.7-14.3	10.3-13.3	11.4-14.3	11.6-14.3	10.1-12.5	9.3-11.6	9.1-11.5	8.1-10.4	8.0-10.4	7.9-10.2	7.7-10.0
	Taoyuan County	430725	39.2	36.6	34	30.8	29.3	25.5	21.9	19.3	16.1	13.3	12.1	11.4	10.8	10.5	10.1	9.7	9.4
			33.8-44.4	31.8-41.5	29.7-38.3	26.9-34.6	25.8-32.8	22.6-28.5	19.5-24.6	17.3-21.5	14.5-17.8	11.9-14.6	10.9-13.5	10.1-12.8	9.6-12.2	9.3-11.8	8.9-11.4	8.5-11.0	8.2-10.8
	Tianxin District	430103	27	27.1	24.8	23.1	21.1	16.7	14.7	14.2	13.5	12.5	11.9	11.6	10.8	10.3	9.3	9.3	8.8
			18.4-39.2	18.7-38.6	17.5-35.1	16.5-31.9	15.2-28.7	12.1-22.2	10.9-19.3	10.7-18.3	10.5-17.1	9.8-15.7	9.2-15.0	9.0-14.8	8.3-14.3	7.6-13.9	6.7-13.0	6.5-13.0	6.0-12.4
	Tianyuan District	430211	28.2	27.3	28.2	27.7	24	24.4	23.1	20	18.2	17.1	13	10.8	9.2	8.2	7	7.1	6.9
			23.7-32.8	23.1-31.7	23.8-32.8	23.4-32.3	20.3-28.0	20.9-28.2	19.9-26.5	17.6-22.6	16.3-20.4	15.3-19.0	11.6-14.5	9.5-12.1	7.9-10.4	7.1-9.4	6.0-8.0	6.1-8.1	6.0-8.0
	Zizhixian	431230	43.7	40.8	37.2	32.1	32.4	29.9	28.6	28.1	27.5	23.2	22.7	20	18.8	17.8	16.5	15	13.8
			37.6-49.4	35.3-46.2	32.5-41.8	28.1-36.1	28.5-36.3	26.6-33.5	25.7-31.8	25.4-31.0	24.9-30.2	21.1-25.5	20.5-24.9	18.0-22.1	16.7-20.9	15.8-19.9	14.7-18.5	13.2-16.9	12.1-15.7
	Wangcheng County	430112	36.8	33.9	29.9	26.7	22.7	20.3	17.8	16.1	14.8	13.2	12.9	11.2	10.7	10.1	9.3	8.8	8.5
			30.0-44.2	28.2-40.2	25.5-34.9	23.3-30.7	19.7-25.8	17.8-23.0	15.5-20.2	13.9-18.4	12.7-17.1	11.3-15.2	11.1-15.0	9.7-13.0	9.3-12.2	8.9-11.4	8.3-10.4	7.8-10.0	7.5-9.7
	Wugang City	430581	38.4	36.5	34.1	32.2	31.6	29.4	28.5	29.7	28.9	26.7	23.1	18.7	17.3	15.4	13.4	13.5	13.3
			32.7-44.2	31.3-41.7	29.6-38.9	28.0-36.6	27.6-35.6	26.1-32.9	25.6-31.7	26.9-32.9	26.1-31.6	24.3-29.2	20.9-25.2	16.8-20.7	15.5-19.3	13.8-17.3	11.9-15.0	12.0-15.2	11.6-15.1
	Wuling District	430702	34	33	30	28.8	25.3	22.1	18.1	15.4	13.9	12.5	11.3	11.4	10.4	10.2	9.7	9.4	9.2
			23.2-49.2	22.9-47.0	21.1-42.3	20.6-39.7	18.2-34.3	16.0-29.4	13.4-23.6	11.6-19.8	10.8-17.6	9.8-15.7	8.7-14.3	8.8-14.6	7.9-13.7	7.5-13.7	7.0-13.5	6.6-13.1	6.3-13.0
	Wulingyuan District	430811	55.4	53.4	52.8	48.7	42.9	38.9	32.2	25.5	23.3	22.5	22.9	23.5	22	20.2	18.6	16.8	15.2
			46.2-65.1	44.7-62.8	44.1-62.4	40.4-57.6	35.7-50.8	32.4-45.8	27.0-37.9	21.9-29.9	20.1-26.8	19.4-25.7	19.8-26.3	20.1-27.0	18.5-25.4	17.0-23.6	15.7-21.6	14.3-19.4	13.1-17.8
	Xiangtan County	430321	39.7	36.7	34.8	33.4	30.5	27.8	24.7	23.4	21.5	19.5	18.5	17.3	16.3	14.8	14.2	13.3	12.4
			34.2-45.0	31.8-41.3	30.4-39.1	29.3-37.6	26.9-34.3	24.7-31.1	22.1-27.5	21.1-26.0	19.5-23.7	17.7-21.4	16.7-20.3	15.6-19.2	14.6-18.2	13.2-16.6	12.6-15.8	11.8-15.0	10.9-14.2
	Xiangxiang City	430381	37.2	32.3	28	24.2	21.2	20.5	19.6	19.9	20.3	18.2	16.8	15.5	14.4	13.1	12.1	11.4	10.8
			32.0-42.2	27.7-36.6	24.0-31.9	20.8-27.8	18.2-24.4	17.7-23.5	17.0-22.3	17.6-22.4	18.3-22.5	16.6-19.9	15.3-18.4	13.8-17.0	12.7-16.1	11.5-14.6	10.7-13.6	10.1-12.9	9.5-12.4
	Xiangyin County	430624	33.2	32.2	30.9	33.4	27.8	25.2	21.2	19.6	17.3	15.5	14.3	12.3	11.3	10	9.9	9.7	9.2
			28.4-38.3	27.7-36.9	26.8-35.2	29.1-37.8	24.3-31.3	22.4-28.2	18.9-23.8	17.6-21.8	15.6-19.1	14.0-17.1	12.9-15.8	11.0-13.7	10.1-12.8	8.8-11.2	8.8-11.2	8.6-11.0	8.0-10.5
	Xinhua County	431322	31.3	29.6	26.6	23.5	22.9	20.9	19.9	18.8	18	17.4	16.1	15.5	15.9	15.5	14.6	13.9	13.2
			26.9-35.5	25.5-33.6	22.9-30.3	20.3-27.1	19.8-26.2	18.1-23.9	17.3-22.5	16.6-21.1	16.2-19.9	15.9-19.1	14.6-17.6	13.8-17.0	14.0-17.6	13.7-17.3	12.9-16.5	12.3-15.7	11.6-15.1
	Zizhixian	431227	138.8	123.4	113.8	111.2	99.8	83.4	75.7	70.1	60	51.4	43.3	36.6	29	23.1	19.2	16.6	14.5
			119.9-157.5	106.7-139.3	99.4-128.8	97.2-126.3	87.4-113.3	73.4-93.6	67.2-84.8	62.3-78.1	53.7-66.1	46.6-56.3	39.3-47.6	32.9-40.5	25.9-32.2	20.6-25.8	17.1-21.6	14.6-18.6	12.7-16.5
	Xinning County	430528	35.7	32.1	28.8	23.5	21.3	20.9	21.6	23	22.8	19.9	19.4	18.5	16.3	16.1	15.2	14.2	13.2
			30.4-41.3	27.3-36.9	24.4-33.2	19.9-27.3	18.1-24.8	17.9-24.1	18.7-24.8	20.3-25.9	20.5-25.3	18.2-21.8	17.6-21.2	16.5-20.3	14.4-18.2	14.2-18.1	13.3-17.1	12.5-16.0	11.5-15.0
	Xinshao County	430522	38.6	35.9	33.7	32.5	30	26.8	27.7	24.6	22.8	19.3	16.6	13	12.2	11.7	12.3	12.3	12.9
			32.2-45.3	30.3-41.8	28.8-39.1	27.8-37.4	25.9-34.1	23.5-30.1	24.6-30.9	22.2-27.3	20.7-25.0	17.5-21.1	15.1-18.2	11.7-14.4	10.9-13.7	10.4-13.1	10.9-13.8	10.9-13.9	11.3-14.7
	Xintian County	431128	39.7	37	34.5	29.6	26.5	25.9	24.6	23	21.3	19.3	16.9	16.6	15.8	14.2	13.8	13.2	12.7
			34.1-45.2	31.7-42.1	29.6-39.5	25.3-34.1	22.7-30.6	22.4-29.7	21.4-28.0	20.3-25.9	19.1-23.6	17.6-21.1	15.4-18.5	14.8-18.3	14.0-17.6	12.5-15.9	12.2-15.5	11.7-15.0	11.2-14.6

Province	County	County Code (2012)	Under-5 Mortality Rate (per 1000 births)																
			1996	1997	1998	1999	2000	2001	2002	2003	2004	2005	2006	2007	2008	2009	2010	2011	2012
	Xupu County	431224	48.5	48.6	46.1	50	49.2	47.8	43.6	40	30.7	25.5	22.9	20.6	19.5	18.4	17.7	16.2	14.6
			41.9-55.0	41.9-55.0	39.9-52.5	43.2-56.9	42.7-56.3	41.8-54.4	38.2-49.1	35.2-44.8	27.1-34.2	22.8-28.4	20.4-25.4	18.3-23.0	17.2-21.9	16.1-20.7	15.5-20.0	14.1-18.4	12.8-16.8
	Yanfeng District	430406	31.7	29.7	28.5	22.5	22.3	21.5	17.7	14.4	14.6	13.4	13.6	18.6	18	16.9	15.4	14.5	13.7
			22.7-43.6	21.7-40.1	21.4-37.6	17.3-29.1	17.5-28.1	17.2-26.4	14.5-21.3	12.1-16.9	12.6-17.0	11.6-15.5	11.6-15.9	15.5-22.3	14.7-22.2	13.1-21.6	11.4-20.3	10.5-19.5	9.6-18.9
	Yizhang County	431022	50	51.5	50.3	47.9	42.3	36	29.2	23.5	21.6	20.8	20	19.5	18.2	16.9	15	13.8	12.3
			43.3-56.6	44.7-58.0	44.0-56.7	41.9-53.9	37.2-47.6	32.0-40.3	26.1-32.7	21.1-26.1	19.5-23.9	18.8-22.9	18.0-22.1	17.4-21.6	16.1-20.2	15.0-18.9	13.3-16.8	12.2-15.6	10.8-14.1
	Yongding District	430802	51	48	45.6	42.7	38.3	33.6	29.2	25.7	23	22.3	20.3	18.5	16.8	15.3	13.3	12.3	11.6
			44.2-57.9	41.4-54.4	39.6-51.6	37.3-48.7	33.4-43.7	29.4-37.9	25.7-32.8	22.7-28.7	20.4-25.5	20.0-24.6	18.2-22.5	16.4-20.6	14.8-18.8	13.4-17.1	11.7-15.0	10.8-14.0	10.1-13.3
	Yongshun County	433127	66.6	60.6	52.4	48.4	45.1	40.4	37.5	33.6	30.9	26.2	24.7	21.9	19.6	17.9	16.7	15.4	14.6
			57.6-75.7	52.2-68.6	45.5-59.7	42.0-55.2	39.3-51.5	35.3-45.8	32.9-42.2	29.6-37.5	27.4-34.3	23.5-29.1	22.1-27.3	19.6-24.4	17.3-21.9	15.8-20.0	14.7-18.7	13.6-17.4	12.8-16.7
	Yongxing County	431023	64.5	63.2	60.7	57.8	51.7	45.3	40.5	33.8	31.4	27.4	25.5	22.5	19.3	17.1	14.3	12.3	10.9
			55.7-73.2	54.6-71.6	52.8-68.9	50.4-65.9	45.0-58.9	39.8-51.1	35.8-45.4	29.9-37.7	28.0-34.7	24.8-30.2	23.1-28.1	20.1-24.8	17.2-21.5	15.2-19.1	12.7-16.1	10.9-13.9	9.5-12.4
	You County	430223	39.9	38.7	36.4	34.2	32.1	29.8	28.9	27.4	23.4	21.3	18.2	15.1	13.3	12.7	11.5	10.6	10
			34.5-45.3	33.5-43.8	31.6-41.6	29.5-39.6	27.8-36.9	25.9-34.0	25.2-32.6	24.0-31.0	20.5-26.7	18.7-23.9	16.4-20.2	13.4-16.8	11.7-15.0	11.1-14.4	10.0-13.1	9.3-12.1	8.8-11.5
	Yuanjiang City	430981	33.8	30.2	27.6	25.1	20.3	18.8	18.5	16.8	15.6	16	14.2	13.4	12.7	12.4	11.5	11.1	10.8
			29.0-38.4	25.9-34.3	23.6-31.5	21.4-28.8	17.5-23.4	16.3-21.7	16.1-21.2	14.8-19.0	14.0-17.4	14.5-17.6	12.9-15.7	11.9-14.8	11.2-14.2	10.8-13.9	10.0-13.0	9.7-12.6	9.4-12.3
	Yuanling County	431222	56.1	50.6	45.3	41.2	37	34.1	31.2	29.1	25.7	23.1	20.4	17.9	16.3	15.4	13.8	12.9	12.1
			48.4-63.6	43.9-56.9	39.6-50.7	36.1-46.2	32.6-41.5	30.2-38.1	28.0-34.8	26.3-32.3	23.2-28.2	21.0-25.4	18.3-22.4	16.0-19.8	14.6-18.3	13.7-17.2	12.3-15.5	11.4-14.6	10.6-13.8
	Yuelu District	430104	22.1	24.7	23.3	23.6	20.3	19.3	16.7	14.9	14.3	13.1	13.1	12.4	12	11.2	10.2	10.1	9.7
			15.0-32.1	17.1-35.3	16.4-33.0	16.9-32.7	14.6-27.6	14.0-25.7	12.4-21.9	11.2-19.2	11.1-18.2	10.3-16.5	10.1-16.5	9.6-15.8	9.1-15.8	8.3-15.1	7.4-14.3	7.1-14.1	6.7-13.8
	Yuetang District	430304	55.7	51.5	47.1	48.2	36.2	33	34.6	37.3	32.6	29	26.3	21.6	17.4	15.4	13.1	12.8	11.9
			46.7-64.6	43.5-60.0	39.7-55.0	40.4-56.6	30.4-42.7	27.8-38.9	29.4-40.3	32.6-42.7	29.0-37.1	25.8-32.6	23.3-29.5	19.0-24.3	15.0-19.6	13.2-17.5	11.3-15.0	11.1-14.6	10.3-13.8
	Yueyang County	430621	46.2	43.1	41.4	40.3	36.1	29	25.1	22.2	19.1	16.1	15.4	13.6	12.9	12.4	11.1	10.7	10.2
			37.5-55.9	35.9-51.2	35.1-47.9	35.3-45.9	31.8-40.6	25.6-32.7	21.9-28.3	19.1-25.3	16.2-22.0	13.8-18.7	13.2-18.0	11.7-15.7	11.2-14.6	10.9-14.0	9.9-12.5	9.5-12.0	8.9-11.6
	Yueyanglou District	430602	26.8	23.4	20.7	14.7	11.6	9.5	9.9	10	12.7	13.9	15.2	15.9	15	14	12.8	11.7	10.6
			22.0-31.9	19.3-27.9	17.0-24.8	12.1-17.6	9.6-13.9	7.9-11.3	8.4-11.7	8.5-11.7	11.2-14.6	12.3-15.9	13.3-17.2	14.1-17.9	13.4-16.9	12.4-15.7	11.3-14.6	10.3-13.3	9.2-12.1
	Yuhu District	430302	35.3	33.3	30.9	31.8	28.2	29.9	30.2	26.8	23.9	22.7	22.1	18.5	16.9	15.5	13.9	13.7	12.7
			29.1-41.8	27.6-39.3	25.8-36.7	26.6-37.5	23.8-33.0	25.4-34.8	26.0-34.7	23.5-30.6	21.3-27.0	20.4-25.4	19.7-24.6	16.4-20.7	15.1-19.1	13.8-17.3	12.3-15.6	12.1-15.5	11.1-14.5
	Yuhua District	430111	42.1	37.7	36.2	33.9	28.3	19.2	15.5	16.6	14.8	13.6	12.7	11.7	10.6	10.6	9.3	9.1	8.6
			35.1-49.3	31.6-44.3	30.4-42.8	28.2-40.0	23.7-33.5	16.1-22.9	13.0-18.2	14.3-19.4	13.0-17.0	11.9-15.5	11.0-14.4	10.1-13.3	9.1-12.1	9.0-12.2	8.0-10.8	7.8-10.5	7.4-10.0
	Yunxi District	430603	18.8	17.6	15.9	13.7	11.9	10.5	9.3	7.7	7.4	7.2	7.8	8.5	8.7	9.1	9.1	8.6	8
			15.4-22.6	14.3-21.3	12.9-19.3	11.2-16.8	9.7-14.5	8.5-12.8	7.6-11.3	6.4-9.2	6.3-8.8	6.1-8.4	6.6-9.0	7.2-9.8	7.3-10.1	7.6-10.5	7.7-10.6	7.3-10.0	6.9-9.4
	Zhengxiang District	430408	32.2	30.2	30.2	26.2	24.2	21.7	19.1	13.6	13.1	12.3	11.7	11.8	11.5	11.5	9.9	9.6	8.8
			27.0-37.5	25.5-35.3	25.4-35.2	21.9-30.7	20.3-28.4	18.2-25.4	16.3-22.2	11.7-15.8	11.4-15.0	10.6-14.0	10.1-13.3	10.2-13.5	9.8-13.3	9.7-13.3	8.4-11.4	8.2-11.0	7.6-10.3
	Zizhixian	431228	66.3	61.1	56.4	51.5	48.1	44	41.6	38.8	35.6	29.9	26.6	24.1	21.8	19.5	18	16.3	14.8
			56.9-75.1	52.8-68.9	49.2-63.5	45.0-57.7	42.4-53.9	39.0-49.1	37.3-46.3	35.0-42.8	32.1-38.9	27.2-32.7	24.0-29.2	21.6-26.7	19.5-24.4	17.4-21.9	16.1-20.2	14.4-18.3	13.0-16.9
	Zhongfang County	431221	50	46.5	45.2	41.4	38.5	34.8	32.1	27.6	23.4	22.1	20.5	19.3	19.3	18.2	16	14.4	13.2
			38.3-64.4	36.6-58.4	36.6-55.7	34.3-49.8	32.6-45.2	30.0-39.7	28.5-36.0	24.9-30.4	21.3-25.8	19.9-24.4	18.0-23.2	16.5-22.5	16.0-23.1	14.6-22.4	12.3-20.2	10.6-18.7	9.4-17.7
	Zhuhui District	430405	33.5	33.5	31.8	25.3	27.2	26.2	21.8	19.4	19.2	15.6	15.8	17.9	16.2	15.9	14.2	13.4	12.4
			24.1-45.7	24.7-44.8	24.2-41.7	19.8-32.3	21.7-33.5	21.6-31.5	18.5-25.4	17.0-22.0	17.2-21.5	14.0-17.4	13.9-17.9	15.2-20.9	13.3-19.4	12.5-19.8	10.8-18.4	9.8-17.7	8.7-16.9
	Zhuzhou County	430221	32.2	31.8	30.6	30.2	29.6	30.1	28.7	25.4	23.1	20.6	17.3	14.8	13.5	13	11.7	11.2	10.8
			27.6-37.0	27.3-36.3	26.6-34.9	26.2-34.1	25.9-33.3	26.8-33.7	25.8-32.0	22.9-28.1	20.9-25.4	18.7-22.6	15.7-19.0	13.3-16.4	12.1-15.2	11.6-14.6	10.4-13.2	9.9-12.7	9.4-12.3
	Zixing City	431081	51.9	48	44	38.7	30.7	24.4	25	25.2	22.8	21.9	21.5	19.5	16.8	15.3	13.6	12.2	11
			44.6-58.9	41.3-54.4	37.8-50.2	33.0-44.3	26.3-35.3	21.0-28.1	21.6-28.6	22.2-28.4	20.3-25.6	19.5-24.4	19.0-24.1	17.1-22.0	14.4-19.2	13.1-17.7	11.6-15.6	10.4-14.0	9.5-12.9
	Ziyang District	430902	22	21.4	18.9	17.4	17.3	16.7	14.5	13.7	13.9	12.1	11.6	11.6	11.8	11.1	10.4	10	9.4
			18.7-25.4	18.2-24.6	16.1-21.8	14.8-20.1	14.8-20.0	14.4-19.2	12.6-16.6	12.1-15.4	12.5-15.4	11.1-13.3	10.6-12.7	10.3-12.7	10.4-13.2	9.8-12.4	9.2-11.7	8.9-11.3	8.3-10.8
	yanling County	430225	48.6	44.6	40.6	37.5	33.1	27.9	26.1	23.4	19.8	19.5	18.2	15.4	14.6	13.1	12.3	11.7	11.4
			41.7-55.2	38.3-50.7	34.9-46.4	32.1-42.9	28.6-38.1	24.2-31.9	22.6-29.8	20.6-26.3	17.7-22.0	17.7-21.5	16.5-20.1	13.7-17.0	12.8-16.3	11.5-14.8	10.7-13.9	10.3-13.3	10.0-13.0
ner Mongol	Abag Qi	152522	44.9	46.4	48.4	48.9	50.4	52.9	48.3	37.5	37.7	42	40.5	43.3	39	35.3	26.5	24.3	21.7
			34.4-57.3	36.4-57.9	38.4-60.0	38.4-60.9	39.3-62.9	40.8-66.6	37.3-61.3	29.1-47.0	30.0-46.4	33.7-51.2	32.1-49.6	34.1-53.2	30.8-47.9	28.6-43.1	22.0-31.7	20.8-28.3	18.9-24.8
	Alxa Youqi	152922	50.7	47.7	44.5	39.9	35.6	37.1	39.2	35.4	38.1	39.3	34.3	30.1	27.8	25.8	20.8	19.1	18.1
			37.7-67.1	35.8-61.9	33.9-57.3	30.2-51.5	27.0-46.1	28.1-47.1	29.8-49.8	27.3-44.4	30.3-46.9	31.5-48.3	27.0-42.5	23.4-37.8	21.8-34.8	20.5-32.2	16.9-25.2	16.1-22.8	15.5-21.1
	Alxa Zuoqi	152921	36.3	32.9	29.8	24.4	18.5	17.2	17.1	14.9	17.6	16.8	18.8	17.5	17.1	14.8	15.3	14.5	13.4
			29.5-43.8	27.1-39.7	24.2-36.3	19.4-30.3	14.3-23.5	13.3-22.3	13.1-22.3	11.5-19.2	13.9-22.1	13.3-20.9	14.9-23.2	13.7-21.7	13.5-21.2	11.7-18.3	12.6-18.5	12.2-17.1	11.6-15.5
	Aohan Qi	150430	44.7	41	36.6	33.9	30.2	28.1	26.3	23.3	22.3	22.7	22.3	21.9	21.9	20.7	18.1	16.8	15.7
			36.7-53.1	34.4-47.8	31.6-42.3	29.6-38.7	26.6-34.5	24.6-32.1	22.8-30.3	19.9-27.0	18.7-25.8	18.8-26.5	18.4-26.1	18.3-25.8	18.6-25.4	17.9-23.6	16.0-20.4	15.1-18.7	14.3-17.3
	Ar Horqin Qi	150421	50.1	44.8	42	38.2	34.2	32.4	29.3	27.6	26.3	25.3	26.3	25.7	25.6	25.9	25.8	24.7	23.8
			41.9-58.9	37.9-52.5	35.9-48.9	33.3-44.0	30.1-39.2	28.4-36.8	25.5-33.4	23.8-31.3	22.8-29.9	21.5-29.1	22.4-30.4	22.1-29.9	22.3-29.6	22.9-29.7	22.9-29.2	22.2-27.7	21.5-26.7
	Arun Qi	150721	50.2	51.1	50.4	50.7	49.4	48.7	42.8	38.7	34.7	29.6	25.2	23.8	21.7	19.6	19.1	18.1	17.5
			41.7-59.6	43.0-60.1	43.0-59.1	44.0-58.9	43.2-56.7	42.6-55.3	37.4-48.7	33.8-43.9	30.3-39.3	25.5-33.6	21.9-28.9	20.8-27.2	19.1-24.7	17.6-22.0	17.3-21.1	16.5-19.9	15.9-19.2
	Arxan City	152202	30.6	29.2	28.5	29.8	29.7	30.4	32.6	34.1	30.4	27.8	23.8	21.3	18.6	18.2	17.3	16.9	15.6
			16.5-52.3	15.9-49.7	15.8-47.1	16.4-49.1	16.4-48.8	17.1-48.7	19.0-50.7	20.4-51.7	18.9-45.4	17.8-40.7	15.6-35.1	13.9-31.3	12.0-28.3	11.3-28.6	10.3-28.3	9.4-28.6	8.3-27.4
	Bairin Youqi	150423	69.2	62.3	56.3	46.1	39.6	34.3	30.2	27.8	25.4	24.7	22.8	23.1	23.2	23	21.7	20.4	19
			57.7-81.9	52.5-73.1	48.4-65.3	40.3-52.9	34.9-45.1	30.3-38.8	26.4-34.2	24.3-31.7	22.1-29.0	21.1-28.3	19.6-26.4	19.9-26.6	20.3-26.6	20.5-25.9	19.6-24.0	18.7-22.4	17.2-20.9
	Bairin Zuoqi	150422	53.8	46	40.6	34.9	30.7	30.2	28.1	24.3	23.5	23.3	25.1	26.8	28.8	27.8	26.3	24	21.7

Province	County	County Code (2012)	Under-5 Mortality Rate (per 1000 births)																
			1996	1997	1998	1999	2000	2001	2002	2003	2004	2005	2006	2007	2008	2009	2010	2011	2012
			45.2-63.1	39.4-53.8	35.1-47.2	30.4-40.1	26.9-34.9	26.4-34.4	24.3-32.4	20.8-28.2	20.1-27.3	19.8-27.2	21.3-29.4	22.8-31.5	24.8-33.9	24.1-32.2	23.1-30.0	21.3-27.0	19.4-24.4
	Baiyun Kuangqu	150206	36.4	35.5	39.5	32.8	32	30.6	27.8	27.4	27.2	28.6	24.5	19.5	17.7	14.5	13.1	12.7	12.5
			25.9-49.9	25.4-48.6	28.8-52.8	23.6-44.8	22.8-43.3	21.6-41.8	19.6-37.7	19.8-37.0	19.7-36.5	20.6-38.2	17.5-32.7	13.9-26.0	12.8-23.7	10.7-19.2	10.0-16.9	10.1-15.8	10.1-15.2
	Chen Barag Qi	150725	55.6	52.4	47.8	45.7	44.2	48.1	50.1	76.9	69.6	57.9	48	39.2	27	28	25.5	25.1	24.7
			43.4-69.5	41.7-64.8	38.0-59.1	35.8-57.3	34.2-55.6	36.9-60.8	38.6-63.7	60.4-95.6	55.9-84.0	47.2-69.6	38.5-58.4	31.1-47.9	21.4-33.1	22.7-34.1	21.3-30.5	21.5-29.0	21.7-28.1
	Dalad Qi	150621	64.7	60	54.9	50	44	39.5	33.8	27.3	24.4	23.1	21.3	19.9	19.7	17.9	18.3	17.4	16.2
			54.0-76.1	50.7-70.4	46.9-63.8	43.7-57.3	38.8-50.0	34.8-44.5	29.6-38.2	23.7-31.1	20.9-28.0	19.7-26.7	18.1-25.0	17.0-23.1	17.1-22.7	15.8-20.3	16.3-20.5	15.6-19.3	14.5-18.0
	Lianheqi	150223	60.7	59.1	54.7	48.4	44.3	38.4	34.1	29.5	28.5	26.4	22.9	18.4	14.9	12.3	12.1	11.4	11.2
			49.7-72.8	49.5-69.9	46.7-63.9	42.0-55.7	38.7-50.3	33.1-43.7	29.0-39.8	24.6-34.9	23.5-34.0	21.5-32.0	18.6-27.7	15.0-22.2	12.3-18.0	10.2-14.6	10.2-14.3	9.6-13.5	9.5-13.1
	Dengkou County	150822	37.6	34.5	34.2	30.2	27.6	27.1	21.8	29.1	25.7	26	24.3	22.1	17.5	17.2	17	16	16
			28.3-48.8	26.4-44.0	26.3-43.3	23.2-38.5	20.8-35.5	20.3-35.0	16.2-28.5	22.0-37.6	19.5-32.9	19.7-33.0	18.1-31.2	16.6-28.8	13.1-22.5	13.3-22.0	13.4-21.1	13.2-19.4	13.4-18.8
	Dong Ujimqin Qi	152525	47.5	46.8	45.3	49.2	49.4	49	44.3	39.7	35.4	31.5	30.8	31.9	26.1	25	21.2	18.8	17.3
			37.7-58.3	38.2-56.7	38.0-53.6	42.1-57.0	43.1-56.9	42.8-56.1	37.9-51.5	33.1-46.8	29.1-42.2	25.7-37.8	25.2-36.9	26.3-38.5	21.7-31.3	21.1-29.3	18.1-24.5	16.3-21.4	15.2-19.6
	Donghe District	150202	28.6	27.6	29.2	22.4	21.4	20.7	20.1	17.1	19.2	21.7	21.3	19.4	17.2	17.5	16.8	16.6	16.2
			20.5-40.0	20.5-36.9	22.9-37.0	18.4-27.1	18.2-25.2	17.8-24.0	17.2-23.3	14.4-20.1	16.0-23.0	17.8-26.0	17.3-25.7	15.6-23.8	13.7-21.5	13.4-22.6	12.1-22.5	11.2-23.1	10.2-23.5
	Dongsheng District	150602	49.8	47.6	43.6	40.4	38.1	28.4	22.4	17.1	17.4	15.3	16.4	17.3	17	15	14	13.2	12.3
			40.8-59.2	39.9-55.8	37.5-50.4	35.1-46.2	33.4-43.6	24.8-32.4	19.3-25.8	14.5-19.9	14.5-20.3	12.6-18.0	13.5-19.3	14.3-20.3	14.4-19.7	12.9-17.2	12.4-15.9	11.9-14.7	11.2-13.6
	Dorbod Qi	150929	66	64.4	59	54.6	55.9	58.4	57.6	55.4	53.8	45.6	36	28.7	20.6	15	12.5	11.6	10.4
			55.1-77.5	54.3-75.5	50.3-68.9	47.5-63.2	49.0-64.1	51.2-66.5	50.6-65.3	48.8-62.5	47.4-60.6	39.7-51.4	31.3-40.9	25.1-32.7	18.0-23.5	13.2-16.9	11.1-14.2	10.2-13.0	9.1-11.8
	Duolun County	152531	48.3	49.2	47.2	44.7	39.4	37.7	34.5	31.7	28.9	27.2	24.1	21.7	20.3	18.3	15.6	14.3	13.6
			33.1-69.3	35.1-68.5	34.9-62.7	35.1-56.6	32.0-48.0	31.6-44.6	29.4-40.3	26.9-36.9	24.6-33.4	22.9-31.7	20.1-28.7	17.5-26.7	15.7-25.9	13.1-24.4	10.4-21.8	9.0-21.0	7.9-21.2
	Ejin Horo Qi	150627	71.8	65.8	60.6	57.6	50.7	38.2	31.1	25.5	21.8	21.8	21.2	19	16.7	12.4	10.3	8.9	7.6
			57.2-87.9	54.2-79.2	51.6-70.9	50.1-65.8	44.6-57.4	33.1-43.7	26.3-36.6	20.9-30.6	17.3-26.5	17.4-26.8	16.8-26.4	15.1-23.6	13.4-20.7	10.2-15.0	8.5-12.2	7.5-10.4	6.5-8.8
	Ejin Qi	152923	57.6	55.6	52.3	45.1	39.8	36.6	33.7	33.5	31.6	39	36.9	34.8	28.9	28.5	22.3	21.6	20.2
			38.7-82.9	37.8-79.9	36.3-74.0	31.1-63.9	27.5-56.0	25.5-51.7	23.7-45.9	24.4-44.8	23.5-41.5	29.1-50.6	27.0-48.0	25.6-45.3	21.6-37.4	21.8-36.7	17.5-27.8	17.6-26.3	16.8-24.0
	Erenhot City	152501	36.9	37.5	40.3	37.5	38	39.1	40.6	32.8	35.4	37.3	35.3	35.5	34.2	37.3	31.7	30.3	28.3
			24.3-54.7	25.9-54.3	28.8-55.6	27.4-50.8	28.6-49.8	29.9-50.5	31.3-50.9	26.0-40.2	28.7-42.8	30.5-44.3	28.8-42.3	28.1-43.5	26.1-43.5	26.6-50.3	21.0-45.1	18.6-45.5	16.2-44.6
	Ergun City	150784	47.1	44.5	46.7	45.3	43.7	48.8	50.8	50.2	49.9	42.1	34.2	30.4	27.5	24.4	22.8	22.7	22
			36.4-59.4	35.4-55.4	38.1-56.2	37.7-54.0	37.1-51.3	41.8-56.8	42.6-60.0	41.2-60.4	39.9-61.0	33.2-51.8	26.8-42.5	23.9-37.9	21.7-34.4	19.6-30.0	18.4-27.7	18.7-27.2	18.4-25.9
	Ewenkizu Zizhiqi	150724	43.4	40.9	39.7	40.2	42.2	45.3	47.7	52.3	49.3	45	36.5	32.4	25.9	24.5	21.6	22.1	21.7
			34.6-53.4	33.6-49.2	33.3-46.4	34.6-45.8	37.3-47.9	40.1-51.4	41.9-54.0	45.4-59.9	41.9-56.5	37.8-52.0	30.4-42.5	27.1-38.0	22.0-30.0	21.2-28.0	19.1-24.3	19.8-24.4	19.7-23.9
	Fengzhen District	150981	55	58.9	53.5	49.8	49.8	45.2	40.5	36.9	32.3	24.6	17.6	13.5	11.4	10	10.1	9.4	9
			45.0-65.6	49.4-69.5	45.9-62.1	43.3-57.1	44.0-56.1	39.5-50.7	34.7-46.7	31.2-42.9	26.9-38.1	20.3-29.5	14.4-21.2	11.0-16.3	9.3-13.7	8.3-11.9	8.4-12.0	7.9-11.3	7.5-10.6
	Genhe City	150785	48.1	45.2	41.2	39.6	35.1	38.9	41.8	42.7	41.2	36.9	31.1	28	27.6	26.7	27.3	27.8	27.2
			37.2-60.7	36.0-56.3	33.6-49.6	32.8-47.4	29.6-41.5	33.2-45.6	34.9-49.6	35.0-51.3	33.2-50.2	29.4-45.0	24.8-38.0	22.6-34.4	22.5-33.5	22.1-31.7	23.1-32.0	23.9-32.1	23.8-31.1
	Guyang County	150222	47.6	47.4	46.6	47.6	46.8	44.9	44.5	38.7	35.7	29.3	24.7	19.8	15.3	14.4	15.2	14.6	14.2
			38.3-57.8	39.4-56.0	39.5-53.9	41.3-54.1	41.3-53.0	39.6-50.7	38.7-50.7	33.0-45.0	29.8-42.2	23.9-35.0	19.8-29.9	15.9-23.9	12.4-18.4	11.9-17.1	12.9-17.8	12.6-16.9	12.4-16.2
	Haibowan District	150302	38.7	36.1	36.9	29.9	27.3	26	24.9	23.3	23.6	23	19.5	17.6	15.9	13.5	11.4	10.5	9.4
			31.7-45.9	30.3-42.2	31.7-42.6	26.1-34.0	24.1-31.1	22.8-29.6	21.8-28.5	19.9-26.8	19.8-27.2	19.3-26.7	16.1-22.9	14.5-20.8	13.4-18.6	11.7-15.5	10.0-12.9	9.3-11.6	8.4-10.4
	Hailar District	150702	35.8	35.2	34.3	32.4	30.9	33.5	37.1	40.8	39.1	36.5	27.2	21.7	18	16.8	13.9	14.1	14
			26.9-46.5	27.5-44.9	27.6-42.2	26.9-38.8	26.5-36.2	29.1-38.8	31.9-42.9	34.5-47.7	32.6-46.0	30.2-43.4	22.5-32.5	17.9-26.3	14.9-21.7	14.1-19.9	11.8-16.2	12.0-16.3	12.2-16.0
	Hainan District	150303	44.6	39.6	37.9	35	30.9	25.6	26.5	28	29.4	29.4	24.7	21.7	18.8	17.4	15.3	13.8	13.1
			34.4-56.7	31.1-49.3	29.9-47.2	27.2-44.1	23.7-39.2	19.3-32.7	20.0-34.0	21.4-35.6	22.7-37.0	23.0-37.0	18.9-31.3	16.5-28.0	14.2-24.0	13.6-22.1	12.1-19.0	11.4-16.7	11.0-15.5
	Hanggin Houqi	150826	42.1	40.5	37.2	35	27.6	24.8	23.9	21.4	21.2	23	23.5	22.8	20.2	18.8	17.6	15.9	15.2
			34.5-50.1	33.9-47.7	32.0-43.2	30.4-40.2	24.4-31.0	21.7-27.9	20.5-27.4	18.3-24.8	18.0-24.6	19.6-26.9	20.0-27.4	19.7-26.4	17.7-23.1	16.7-21.2	15.7-19.7	14.3-17.7	13.6-16.8
	Hanggin Qi	150625	56.8	55.3	50.6	51.3	49.5	40.8	37	30.9	29.2	30.5	31.5	26.9	22.8	19.8	16.5	14.9	13.5
			45.8-68.6	45.8-65.7	42.9-59.3	44.3-59.3	43.1-56.3	35.2-46.2	31.6-42.9	26.0-36.3	24.2-34.8	25.1-36.7	26.0-37.8	22.2-32.2	19.0-27.0	16.8-23.2	14.1-19.2	12.7-17.3	11.6-15.6
	Harqin Qi	150428	43.2	41.7	39.9	38.4	36.2	32.2	28.7	23.9	23.1	22.1	21.7	21.5	21.5	20.8	20.6	19.1	18.1
			36.3-50.7	35.2-49.2	34.0-46.9	33.2-44.8	31.5-42.0	28.0-37.2	24.8-33.0	20.6-27.3	20.0-26.3	19.0-25.6	18.5-25.0	18.5-24.8	18.7-24.9	18.4-23.9	18.3-23.3	17.2-21.4	16.3-20.2
	Hexigten Qi	150425	57.7	49.8	43.7	39.7	34.9	29.7	27.8	26	25.3	24.4	24.9	22.2	21	18.5	16.5	15	13.8
			48.1-67.9	42.4-58.0	37.7-50.4	34.7-45.5	30.8-39.3	26.0-33.5	23.9-31.8	22.3-30.0	21.5-29.3	20.8-28.4	21.4-29.0	19.2-25.7	18.4-24.0	16.5-20.8	14.7-18.4	13.5-16.6	12.3-15.2
	Holingol City	150581	35.3	33.7	34.8	36.3	33.3	37.4	31.8	28.6	25.4	24.4	23	21.6	19.6	22.5	20.7	19.6	18.8
			24.8-49.1	24.4-46.1	25.3-46.3	26.7-48.3	24.7-43.7	27.9-48.7	24.0-41.1	21.7-36.3	20.0-31.9	19.3-30.5	18.0-28.7	16.7-27.2	15.4-24.7	18.0-27.7	17.0-25.0	16.7-23.0	16.4-21.6
	Hongshan District	150402	27.3	25	22.4	20.1	15.2	13	11.7	11.6	11.7	12.5	13	14.6	15.5	14.2	13.3	12.4	11.2
			22.0-33.0	20.7-29.9	18.4-27.1	16.1-24.7	11.9-19.1	10.1-16.7	9.0-15.3	9.0-14.8	9.3-14.5	10.1-15.4	10.4-15.9	11.6-18.0	12.4-19.1	11.7-17.2	11.2-15.9	10.8-14.2	9.9-12.6
	Horinger County	150123	104.2	87.4	76.1	60.7	54.3	47.5	37.1	25.1	23.5	21.6	19.6	19.2	20.7	21.6	20.9	21.2	21.7
			87.7-122.5	75.1-102.1	66.1-87.8	52.8-69.5	47.9-61.4	41.3-53.8	31.9-42.6	21.2-29.1	19.7-27.5	18.1-25.4	16.5-23.2	16.3-22.7	17.9-24.0	19.0-24.5	18.5-23.5	19.0-23.6	19.4-24.0
	Horqin District	150502	26.7	27.1	28.2	30.1	24.7	25	21.1	17.1	15.2	16.7	14.4	13.5	13.7	12.9	10.6	9.9	8.9
			21.9-31.9	22.7-32.0	24.2-32.8	26.3-34.5	21.8-28.1	22.0-28.2	18.5-23.8	14.9-19.6	13.1-17.4	14.3-19.3	12.3-16.8	11.6-15.7	11.9-15.8	11.4-14.6	9.4-11.9	8.9-11.1	7.9-10.0
	Horqin Youyi Qianqi	152221	48.2	43.8	41.8	53.3	47.4	44.4	42.5	36.9	32.9	29.6	27.7	24.9	23.1	22	21.2	19.3	18.1
			40.2-56.5	37.0-51.6	35.5-49.0	45.6-61.9	41.1-54.9	38.9-51.3	36.8-49.2	31.2-43.3	27.5-39.0	24.8-35.0	23.2-32.3	20.8-29.4	19.3-27.5	18.3-26.3	18.0-24.9	16.9-22.1	16.2-20.4
	Horqin Youyi Zhongqi	152222	54	47.9	44.5	51.5	49.7	49.4	52.6	50	49.8	49.7	48.2	43.5	39.8	37	33.1	30.7	28.3
			44.9-63.6	40.6-55.8	37.7-51.8	43.2-60.6	41.3-58.7	41.4-58.2	44.5-61.7	42.5-58.6	41.8-59.0	40.8-59.5	38.5-58.6	34.2-53.4	31.3-48.9	29.4-45.0	27.1-39.6	26.3-35.7	24.9-32.4
	Horqin Zuoyi Houqi	150522	45.7	46.9	47.4	48.7	41.9	43.8	42.1	36.9	33.3	32.1	28	25	22.7	21	20.1	18.4	16.9
			37.0-55.0	38.9-56.0	40.2-55.4	42.6-56.0	36.9-47.5	38.8-49.1	37.1-47.6	32.3-41.9	28.7-37.9	27.4-37.0	23.9-32.7	21.3-29.2	19.6-26.3	18.4-24.0	17.8-22.8	16.3-20.6	14.9-19.1

Province	County	County Code (2012)	Under-5 Mortality Rate (per 1000 births)																
			1996	1997	1998	1999	2000	2001	2002	2003	2004	2005	2006	2007	2008	2009	2010	2011	2012
	Horqin Zuoyi Zhongqi	150521	40.4	43.8	46.2	49.9	46.1	49.8	44.2	38.3	33.9	32.1	27.2	26.5	25.1	23.3	20.9	19.1	17.2
			32.6-49.0	36.3-51.7	39.4-53.5	43.3-56.9	40.7-52.4	44.0-56.6	38.6-50.2	32.8-44.1	28.5-39.3	26.7-37.5	22.3-32.1	21.7-31.4	21.0-29.5	19.9-26.9	18.2-23.8	17.0-21.4	15.4-19.1
	Huade County	150922	72.1	67.8	58.7	52.2	48.5	45	40.8	39.8	43.5	41.7	42.3	45	43.7	40.6	40.5	37.4	34.9
			60.0-85.4	57.4-79.6	50.5-68.1	45.5-59.9	42.9-54.7	39.5-50.7	35.2-46.8	34.1-45.8	37.1-50.5	35.6-48.2	36.4-49.5	38.9-52.1	38.2-50.3	36.2-45.8	36.5-45.1	33.9-41.0	31.6-38.4
	Huimin District	150103	32.4	29.3	24.6	20.6	18.8	19.6	21.2	21.4	19.1	18.6	20.1	19.1	18	18.4	17.9	18.6	18.4
			21.5-47.6	19.6-43.1	16.8-36.1	14.0-29.8	12.8-26.8	13.2-27.6	14.5-29.5	15.3-29.3	13.6-26.1	13.1-25.2	14.1-27.2	13.4-26.0	12.7-24.4	13.3-24.7	13.4-23.6	14.4-23.7	14.6-22.9
	Hure Qi	150524	47.4	50.3	51.9	51.8	47.5	46.3	43	38.2	37.1	36.3	33.6	31.9	28.8	24.8	22	19	17.4
			38.4-57.0	42.1-59.6	44.4-60.0	45.2-59.2	42.0-53.9	40.5-52.7	37.0-49.8	32.0-45.0	30.8-43.8	30.0-43.0	27.6-39.8	26.6-37.9	24.2-33.8	21.3-28.6	19.2-24.9	16.8-21.3	15.6-19.4
	Jalaid Qi	152223	46.9	49.2	45.8	49.9	47.9	45.7	41.7	37.8	31.4	29.5	27.5	26.4	23.2	22.3	20.3	17.6	16.3
			38.8-55.8	41.2-58.1	39.2-53.6	43.5-57.6	42.1-54.7	40.3-51.7	36.6-47.3	33.1-42.8	27.3-35.7	25.3-33.6	23.7-31.6	22.9-30.3	20.4-26.4	20.0-25.1	18.3-22.4	16.0-19.4	14.8-17.9
	Jarud Qi	150526	39.5	41.5	39.8	41.8	38.7	42.6	35.3	28.6	24.2	21.7	17.8	18	16.8	17.1	16.4	15.1	14
			24.1-61.8	26.4-63.6	26.3-58.8	29.1-59.2	28.0-52.1	32.1-55.5	27.4-44.4	23.1-34.4	20.1-28.3	18.2-25.4	14.6-21.3	14.3-22.2	12.6-21.9	11.9-23.6	10.6-24.0	8.9-23.2	7.7-22.8
	Jining District	150902	25	23.7	22.2	20.9	20.1	22.1	21.2	18.7	14.9	9	7.4	6.2	5.7	5.5	5.8	5.7	5.3
			19.8-30.7	19.6-28.3	18.6-25.8	18.1-23.9	17.7-22.8	19.5-25.0	18.4-24.4	15.7-22.0	12.2-17.9	7.2-11.1	5.8-9.2	4.9-7.7	4.5-7.0	4.5-6.8	4.8-7.0	4.8-6.8	4.5-6.2
	Jiuyuan District	150207	45.1	42	40.4	35.7	33.5	30.7	30.5	30	28.7	25.9	22.3	18.9	17.5	15.8	16.1	15.6	15.2
			37.4-53.5	35.4-49.4	34.6-47.1	31.0-41.1	29.5-38.4	27.0-34.8	26.7-34.5	26.2-33.8	25.1-32.4	22.4-29.4	19.3-25.5	16.5-21.6	15.4-19.9	14.1-17.7	14.5-17.7	14.2-17.1	13.8-16.7
	Jungar Qi	150622	67.6	60.5	51.3	40.5	34.1	27.2	19.7	16.6	14.4	15.3	15.2	16.2	14.7	13.2	11.4	10.3	9.5
			56.6-79.4	51.6-70.3	44.4-59.1	35.4-46.3	29.9-38.2	23.6-30.8	16.8-22.8	14.0-19.4	12.0-17.0	12.7-18.1	12.6-18.0	13.7-19.0	12.5-17.0	11.5-15.1	10.1-13.0	9.1-11.7	8.4-10.8
	Kailu County	150523	45.5	48.5	53	54.4	50.1	47.2	38.2	29.7	25.5	22.7	20.4	18.9	18	18.6	17.4	15.9	14.3
			36.3-55.1	40.0-57.8	44.9-62.3	46.9-62.9	43.8-56.6	40.9-53.2	32.6-44.3	24.8-35.0	21.0-30.5	18.5-27.5	16.7-24.7	15.5-22.8	14.8-21.6	15.6-22.0	14.8-20.3	13.5-18.5	12.3-16.6
	Kundulun District	150203	20.3	20.2	23.4	20	21.4	21.6	21.6	21.7	21.9	20.7	18.3	16.5	15.6	14.5	15.3	15.2	14.9
			16.8-24.1	17.0-23.9	20.0-27.4	17.4-23.0	18.8-24.4	19.2-24.3	18.9-24.3	19.0-24.7	18.8-25.1	17.5-24.1	15.4-21.6	14.0-19.4	13.5-18.2	12.8-16.4	13.8-17.0	13.9-16.8	13.5-16.4
	Liangcheng County	150925	63.9	63.2	59	60.1	63.6	60.8	57.5	50.7	38	27.3	21.7	15.7	11	12.4	12.3	11.7	11.2
			51.8-77.0	52.5-75.2	50.0-69.3	51.8-69.5	55.7-71.6	53.0-68.4	49.5-66.1	43.0-59.0	31.5-44.9	22.4-33.1	17.6-26.4	12.8-19.1	8.9-13.4	10.2-14.9	10.2-14.6	9.7-13.9	9.4-13.3
	Linhe District	150802	33.9	31.7	29.4	26.5	24.2	25.3	23.3	21	18.6	17.8	17.1	16.8	15.4	15.1	15	14.3	13.3
			28.0-40.3	26.6-37.3	25.2-34.2	23.2-30.5	21.3-27.5	22.4-28.4	20.5-26.4	18.4-23.8	16.1-21.2	15.3-20.5	14.7-19.8	14.5-19.4	13.5-17.6	13.4-17.0	13.5-16.7	13.0-15.8	12.0-14.6
	Linxi County	150424	59.7	54.5	49.2	43.3	38	31.5	27.2	23.2	25.5	26	27.7	26.8	26.2	22.9	21.6	20.6	18.5
			50.1-70.2	46.4-64.1	42.3-57.1	37.5-50.1	33.2-43.7	27.5-36.0	23.5-31.3	19.9-27.0	21.8-29.6	22.1-30.1	23.6-32.2	23.0-31.1	22.7-30.3	20.2-26.2	19.3-24.4	18.5-23.0	16.7-20.6
	Manzhouli City	150781	31.4	30.1	28.8	27.5	25.7	27.9	27.3	25.6	23	22.4	19.1	18.8	18.2	18.9	17.7	18.1	18
			24.6-39.0	24.2-37.0	23.8-34.3	23.3-32.4	22.2-29.8	24.2-32.2	23.2-31.9	21.2-30.5	18.7-27.9	18.0-27.2	15.3-23.4	15.1-23.1	14.7-22.3	15.6-22.6	14.8-21.1	15.3-21.1	15.5-20.6
	Zizhiqi	150722	49	46.7	43.3	39.8	36.1	34.8	33.9	30.7	27.8	26	23.8	24	22.5	21.1	19.7	19.1	18.3
			41.1-57.6	39.4-54.9	37.0-50.8	34.5-46.3	31.5-41.7	30.5-40.0	29.4-38.8	26.6-35.0	24.1-31.6	22.4-30.0	20.3-27.5	20.7-27.8	19.7-26.0	18.7-24.1	17.6-22.2	17.2-21.2	16.6-20.4
	Naiman Qi	150525	45	45.4	46.5	46.6	41.8	45.6	42	38.8	35.2	32.8	28.7	25.6	23.6	21.7	20.6	18.4	16.7
			37.4-53.2	38.2-53.4	39.6-54.5	40.6-54.0	36.6-48.0	39.9-51.9	36.8-47.8	33.9-44.1	30.9-39.9	28.3-37.2	24.8-32.7	22.3-29.2	20.8-26.9	19.5-24.4	18.7-22.7	16.7-20.2	15.1-18.3
	Ningcheng County	150429	42.3	38.9	34.9	30.7	28.7	25.2	24.3	22.8	22.2	21.8	22.3	21.7	21.1	20.1	19.5	18.4	17.7
			35.1-49.9	32.8-45.3	30.0-40.4	26.6-35.4	25.1-33.1	22.0-29.1	20.9-28.0	19.3-26.6	18.8-26.0	18.3-25.5	18.5-26.1	18.2-25.5	18.0-24.5	17.4-23.0	17.2-22.0	16.5-20.6	16.0-19.7
	Ongniud Qi	150426	41.6	38.8	37.7	35.7	34.1	30.3	27.4	25.5	25.2	22.6	24.1	24	22.5	18.7	18.3	16.2	14.7
			34.7-49.0	32.7-45.7	32.1-44.0	31.1-41.2	29.9-39.1	26.6-34.4	23.9-31.2	22.2-28.9	21.9-28.6	19.3-25.8	20.6-27.7	20.8-27.5	19.8-25.7	16.7-21.0	16.6-20.3	14.8-17.8	13.3-16.2
	Oroqen Zizhiqi	150723	52.1	49.3	46.2	45.9	44.1	47	52.8	56.7	55.1	48.6	42.4	35.7	29	34.3	33.5	33.6	33.8
			42.5-62.3	41.1-57.9	39.4-53.2	39.9-52.4	39.0-50.1	41.5-53.5	46.3-59.8	49.1-64.8	46.8-63.2	40.9-56.1	35.3-49.4	29.8-41.9	24.5-33.8	29.6-39.3	29.6-37.7	30.2-37.3	30.7-37.2
	Otog Qi	150624	65.1	57.3	52.7	50.7	41.9	36	29.3	28	22.6	21.2	20.4	18.1	18.5	18.6	15.7	15.1	14.5
			53.3-77.7	47.7-67.8	43.6-62.9	40.8-61.7	33.0-51.8	28.3-45.4	22.9-37.2	22.2-35.2	17.9-28.2	16.7-26.1	15.9-25.1	13.9-22.4	14.3-23.2	14.5-23.2	12.6-19.1	12.6-17.9	12.4-16.9
	Otog Qianqi	150623	58.8	53.6	50.5	49.6	47.6	36.7	29	32	25.9	23.9	25.5	28.2	25.3	26.2	25.3	22.6	20.1
			47.5-71.0	44.3-64.1	41.7-60.6	40.0-60.4	37.5-58.7	29.1-46.1	22.6-36.6	25.6-39.7	20.8-31.7	19.2-29.2	20.5-31.1	22.4-34.5	20.1-31.0	21.3-31.9	21.2-30.1	19.4-26.1	17.6-22.9
	Qahar Youyi Houqi	150928	82.9	81	73.9	71.8	67.7	60.9	49	41.5	35.9	28.2	25.6	24.2	20.4	18.7	16.7	15	13.9
			67.3-99.9	67.1-96.3	62.8-86.4	62.1-82.7	59.4-76.1	53.0-68.6	41.8-56.8	34.8-49.0	29.5-42.8	23.0-34.4	20.6-31.3	19.5-29.5	16.5-24.9	15.3-22.6	13.8-20.0	12.4-18.1	11.6-16.6
	Qahar Youyi Qianqi	150926	68.5	68.3	67	66.8	66.8	61.9	55.7	49.8	46.2	41.8	36.7	33.7	26.2	19.5	16.5	14.6	12.8
			56.0-81.5	57.3-79.9	57.5-77.5	58.1-76.5	58.6-76.3	54.3-70.5	48.3-63.6	42.6-57.4	38.9-53.4	34.8-48.9	30.1-43.2	27.9-39.8	22.0-30.7	16.7-22.5	14.4-18.9	12.9-16.4	11.4-14.2
	Qahar Youyi Zhongqi	150927	80.9	76.1	69.7	68.4	71.4	70.3	65.5	59.1	49.1	38.8	32.7	30.4	24.8	21.3	19.3	17.7	16.1
			67.1-96.1	63.8-89.4	59.8-80.8	59.7-78.5	63.0-81.0	62.4-78.8	57.7-73.9	51.8-66.9	42.2-55.9	33.1-44.9	27.7-38.2	25.8-35.6	21.0-28.9	18.5-24.5	16.8-22.1	15.5-20.1	14.0-18.4
	Qingshan District	150204	25.3	24	27.9	23.6	21.8	22.8	23.2	19.3	20.6	18.9	17.2	16.8	17	16	15.4	15.4	14.7
			18.7-33.8	18.3-31.1	21.5-35.2	18.4-29.9	17.0-27.3	17.9-28.4	18.4-28.6	15.6-23.4	17.1-24.0	15.9-22.0	14.2-20.3	13.7-19.9	13.9-20.3	13.3-19.0	13.2-18.0	13.6-17.4	13.3-16.1
	Qingshuihe County	150124	143.4	117.5	98.4	83.2	69.1	53.5	44.3	39.5	31.3	27.8	23.7	18.3	19.1	21.5	23.1	24.1	26.2
			120.0-168.6	99.9-137.2	84.7-113.7	71.9-95.5	59.5-79.2	45.2-62.0	36.6-52.8	31.9-48.1	24.8-38.9	22.0-34.7	18.6-29.6	14.5-22.8	15.2-23.6	17.6-26.1	19.2-27.4	20.2-28.6	22.2-30.7
	Saihan District	150105	41.2	36.1	32.9	30.9	27.2	24.8	21.6	23.8	22.2	20.2	18.5	17.5	17.5	16.6	16.5	18.4	19.3
			33.3-49.5	29.9-43.0	27.1-39.4	24.8-37.6	21.3-33.7	19.6-31.2	16.9-27.3	19.0-29.5	17.9-27.1	16.3-24.6	14.9-22.5	13.9-21.4	13.9-21.5	13.4-20.2	13.8-19.6	15.8-21.2	16.9-21.9
	Shangdu County	150923	61.2	64.1	59.7	59.5	62.3	60.9	55.4	47.7	40.4	33.2	30.4	24.6	21.5	18.7	17.7	16.3	15.5
			49.7-73.2	53.7-75.2	51.2-69.1	51.9-67.9	54.7-71.1	53.7-69.2	48.1-63.4	40.6-55.1	33.9-47.0	27.4-39.0	24.8-36.2	20.0-29.4	17.8-25.4	15.8-21.9	15.3-20.4	14.3-18.5	13.7-17.3
	Shiguai District	150205	32.7	31	34.1	27.7	27.9	27	25.4	24.2	24.8	21.6	17.7	15.6	12.9	11.1	11.9	10.9	10.4
			23.1-45.1	22.2-42.4	25.0-45.4	20.1-37.5	20.1-37.3	19.4-36.2	18.2-34.2	17.7-32.4	18.0-33.1	15.5-28.9	12.5-23.7	11.0-21.0	9.2-17.4	8.1-15.0	8.9-15.6	8.5-13.8	8.2-12.9
	Songshan District	150404	35	31.9	29	29.6	27.9	26.2	22.8	22.5	19.5	18.7	16.7	15.5	15.1	13	12.4	11.7	10.9
			28.6-41.8	26.7-37.4	24.8-33.6	25.7-34.0	24.5-32.0	23.0-30.0	19.7-26.1	19.2-26.0	16.4-22.6	15.5-21.8	13.9-19.6	13.0-18.2	12.8-17.4	11.2-14.8	11.0-14.0	10.5-12.9	9.8-11.9
	Sonid Youqi	152524	47.2	48.3	48.7	46.9	43.2	45.8	41.6	35.3	33.9	29.6	28.4	27.4	26.3	23.2	22.7	21.1	19.5
			35.8-60.7	37.8-61.3	39.3-59.7	38.7-56.7	36.3-51.3	39.0-53.8	34.7-49.5	28.9-42.6	27.3-41.4	23.5-36.3	22.4-35.0	21.7-33.9	21.1-32.2	19.0-28.0	18.8-27.1	17.8-24.7	16.8-22.6
	Sonid Zuoqi	152523	49.6	52.8	52	47.6	46.5	49.6	46.9	36.4	36.3	33.8	31.9	30.7	31.1	30.6	27.7	25.1	22.3

Province	County	County Code (2012)	Under-5 Mortality Rate (per 1000 births)																
			1996	1997	1998	1999	2000	2001	2002	2003	2004	2005	2006	2007	2008	2009	2010	2011	2012
			38.7-61.9	42.4-65.1	42.8-62.1	39.7-56.6	39.5-54.8	42.5-57.9	39.4-55.4	29.8-43.6	29.3-44.0	27.1-41.2	25.6-38.8	24.9-37.5	25.5-37.7	25.4-36.2	23.5-32.3	21.6-28.9	19.5-25.5
	Taibus Qi	152527	52.3	51.3	52.7	51.8	50.3	49.5	44.4	39	36.6	37.9	34.3	33	31.2	25.3	23.3	20.8	19.1
			42.2-63.3	42.7-61.3	44.8-61.3	44.9-59.3	44.3-56.9	43.2-56.5	38.0-51.7	32.4-46.1	30.0-43.8	31.2-45.3	28.0-41.0	27.2-39.5	26.1-37.1	21.4-29.4	20.1-26.7	18.2-23.6	16.9-21.5
	Togtoh County	150122	89.8	75.3	73.3	62.8	63.6	58.8	49.4	47.7	40.7	34.5	31.7	32.1	30.3	33.5	32.5	31.6	31.8
			73.0-108.0	62.7-88.9	62.7-85.4	54.5-72.1	55.7-73.5	51.4-67.8	42.8-57.1	40.6-55.5	34.3-47.4	28.7-40.6	26.3-37.3	26.7-37.8	25.7-35.3	28.8-38.5	28.5-37.1	28.2-35.7	28.5-35.7
	Tumd Youqi	150221	75.3	67.4	62.1	55.1	53.2	48.8	48	43.4	44.3	36	28.7	22.9	18.7	14.8	15.5	14.7	14.1
			63.3-88.5	57.0-79.4	53.2-72.6	47.8-64.0	46.5-61.2	42.7-55.4	42.1-54.5	38.1-49.0	38.9-50.0	31.2-40.7	24.9-32.8	20.0-26.2	16.3-21.4	13.1-16.7	13.9-17.5	13.2-16.4	12.5-15.8
	Tumd Zuoqi	150121	70.2	61.5	52.1	43.9	36.2	35.1	33.6	36	39.1	34	33.6	31.1	29.8	27.6	27.2	27.4	26.4
			59.0-82.2	52.0-72.1	44.7-60.7	38.1-50.7	31.7-41.8	30.8-40.0	29.1-38.4	31.1-41.1	33.9-44.5	29.1-39.0	28.7-38.8	26.9-36.0	26.1-34.4	24.5-31.5	24.3-30.6	24.7-30.5	23.8-29.4
	Tuquan County	152224	42.4	40.8	38.1	35.5	32.5	34.4	31.2	30.3	28.6	24.7	21.6	21.3	17.5	18.8	17.9	17.1	16.6
			34.3-51.1	33.9-48.3	32.2-45.0	30.4-41.2	28.3-37.4	29.9-39.2	26.7-36.0	25.7-35.5	23.9-33.7	20.6-29.5	17.9-25.8	17.9-25.3	14.8-20.6	16.2-21.7	15.6-20.4	15.0-19.5	14.6-18.8
	Ud District	150304	31	28.1	27.1	22.7	21.9	22.8	22.4	24.4	26.2	25	22.4	19	16	15.5	14.7	13.7	13.1
			24.6-38.1	22.9-34.1	22.6-32.0	19.3-26.6	19.0-25.3	19.8-26.3	19.0-26.1	20.4-28.8	21.6-31.0	20.5-29.7	18.5-26.7	15.8-22.9	13.4-19.2	13.2-18.2	12.6-16.8	11.9-15.6	11.5-14.8
	Ulan Hot City	152201	32.8	31.8	30.4	30.7	27.1	28.3	26.3	25.6	23	22.3	21.1	21.8	21.9	20.4	18.8	17.4	15.8
			25.4-41.2	25.5-39.2	25.2-36.3	26.3-35.4	23.9-30.8	25.0-32.2	22.8-30.3	21.7-30.1	19.2-27.1	18.5-26.2	17.4-25.0	18.1-25.6	18.5-25.4	17.6-23.3	16.5-21.0	15.6-19.2	14.3-17.3
	Urad Houqi	150825	53.3	45.9	41.3	35.4	30.2	22.6	18.6	18.9	20.4	20.8	21.4	19.9	20.9	18.5	17.3	16.7	16.2
			40.8-68.1	35.5-58.2	31.7-52.4	26.9-45.4	22.4-39.3	16.7-29.4	13.7-24.7	14.0-24.7	15.1-26.5	15.4-26.9	15.7-27.8	14.7-26.2	15.7-27.2	14.2-23.6	13.6-21.5	13.6-20.2	13.6-19.2
	Urad Qianqi	150823	49.4	44.9	42.5	41.6	38.1	36	34.5	32.1	28.7	28.6	29.3	28.4	28.1	26.2	25.9	24.1	23.2
			38.5-61.7	36.1-55.3	35.3-50.7	35.8-48.0	33.6-43.2	31.7-40.8	29.8-39.8	27.1-37.7	23.9-33.8	23.8-33.9	24.1-34.8	23.6-33.5	23.7-32.8	22.5-30.0	22.7-29.0	21.5-26.6	21.0-25.5
	Urad Zhongqi	150824	53.6	49	43.1	36.8	29.1	21.4	20.4	20	19.4	22.7	23.2	20.4	19.2	17.5	16.1	14.7	13.8
			43.5-64.8	40.3-58.9	35.2-52.4	29.1-45.5	22.5-37.0	16.4-27.9	15.5-26.9	15.3-26.1	15.0-24.8	17.5-28.7	17.6-29.5	15.4-25.9	14.5-24.5	13.5-22.2	12.7-20.1	12.0-17.8	11.5-16.5
	Uxin Qi	150626	61.8	57.2	51.5	49.8	46	41.1	35.1	32.2	31.2	30.4	33.9	32.2	29.9	23.3	22.3	20.1	18.3
			50.3-74.1	47.6-67.7	43.6-60.4	42.8-57.6	40.0-52.7	35.4-46.9	29.8-40.8	27.1-37.8	26.0-37.0	25.2-36.2	28.1-40.5	27.1-38.2	25.3-34.9	20.0-26.9	19.4-25.5	17.6-22.9	16.0-20.8
	Wuchuan County	150125	78.3	68.2	60.7	56.2	50.3	48.6	49.8	50.8	48.6	46.7	41	34.8	27.9	25.9	25.9	25.1	24.5
			64.6-93.2	57.3-80.4	52.1-70.5	48.9-64.7	44.5-56.8	42.6-54.6	43.0-56.9	43.8-58.3	41.5-56.2	39.9-54.2	35.1-47.8	29.8-40.4	24.2-32.2	22.9-29.3	23.1-29.1	22.4-28.0	21.8-27.2
	Wuyuan County	150821	48.3	43.8	38.7	35.2	33.3	29.3	26.7	28.9	24.4	23.4	24.8	23.2	19.8	19.3	19	17.7	16.6
			39.4-57.8	36.4-52.0	31.9-46.4	28.4-42.8	26.2-41.2	23.2-36.7	20.9-33.7	23.2-35.8	19.7-29.5	19.0-28.6	20.0-30.1	18.3-28.4	15.7-24.4	15.5-23.7	15.7-22.7	14.9-20.7	14.4-19.2
	Xi Ujimqin Qi	152526	51.9	51.7	50	47.7	45.3	45.2	42	36.6	34.1	33.7	32.4	33.7	29.4	28.1	24.4	22.2	19.3
			41.3-63.6	42.3-62.5	42.1-59.0	40.9-55.1	39.6-52.3	39.5-51.8	35.9-48.9	30.5-43.2	28.1-40.6	27.6-40.0	26.5-38.6	28.0-40.1	24.8-34.8	24.0-32.6	21.2-27.8	19.5-25.0	17.2-21.6
	Xianghuang Qi	152528	53.1	56.2	55.7	51.4	49.6	44.7	43.1	37	36.1	33.8	34.2	34	34.9	37.9	32.4	29.7	27.9
			40.9-67.5	44.3-69.8	44.1-69.1	40.1-64.5	38.4-62.4	34.2-56.5	33.3-54.6	28.5-46.4	28.5-44.6	27.0-41.5	27.1-42.4	26.8-42.3	27.3-43.2	30.5-46.3	26.9-38.9	25.5-34.5	24.4-31.8
	Xilinhot City	152502	29.5	29	28.3	27	24.3	26.9	23.8	24.6	21.1	18.5	14.5	13.2	9.5	11.2	10.7	10.5	10.2
			23.6-36.1	23.9-34.9	23.9-33.3	23.1-31.2	21.1-28.0	23.4-31.0	20.2-27.9	20.3-29.3	17.1-25.8	14.9-22.6	11.6-17.9	10.6-16.4	7.6-11.6	9.2-13.6	8.8-12.8	8.9-12.4	8.8-11.9
	Xin Barag Youqi	150727	49.2	51.4	47.7	46.2	44.5	45.8	46.2	47.8	43.2	50.9	38.7	32.4	31.5	34.6	28	28.2	28.2
			39.7-60.7	41.7-63.1	38.1-58.8	36.3-57.9	34.2-57.3	35.1-59.7	35.3-60.4	36.5-61.9	33.1-54.6	39.3-64.1	30.2-48.4	25.1-40.6	24.4-39.6	27.6-43.1	23.1-34.1	24.1-32.8	24.6-32.2
	Xin Barag Zuoqi	150726	61.1	57.7	56.8	60	59.9	59.8	61.5	62.7	58.3	57.6	48.7	42.7	35.3	30.4	26.1	25.3	24.4
			49.3-73.7	47.6-68.3	47.3-67.8	48.9-72.3	48.2-73.3	47.8-73.7	49.4-76.4	51.5-76.3	48.4-69.3	48.3-67.6	41.1-57.5	35.6-50.5	29.1-42.1	25.4-36.0	22.6-30.1	22.6-28.3	22.1-26.8
	Xincheng District	150102	39.4	36	31.3	27.3	25.7	25.5	25.3	25	23.4	21.5	20.7	18.9	17.9	18.6	17	17.7	18.2
			22.8-63.6	21.1-58.0	19.0-49.3	17.0-42.1	16.3-38.9	16.7-37.1	17.3-35.3	18.2-33.2	18.3-29.1	17.8-25.7	17.4-24.4	15.5-22.9	13.8-22.5	13.3-24.8	11.3-23.9	11.1-25.8	10.7-28.2
	Xinghe County	150924	49.8	50.4	46.7	47.3	53.5	55	48.9	42.3	37	25.8	23	19.9	17.3	16.7	15.4	13.5	12.3
			41.5-58.8	42.4-59.2	39.7-54.9	41.0-55.1	46.9-61.9	48.3-62.7	42.9-55.3	37.0-47.7	32.5-41.9	22.3-29.3	19.9-26.4	17.3-22.9	15.1-19.8	14.8-18.8	13.8-17.2	12.2-15.0	11.0-13.7
	Yakeshi City	150782	48.9	47.3	45.1	44.1	41.7	47.6	48.1	41.2	38.3	32.6	26.1	24.3	24.3	24.7	25.5	24.9	23.9
			37.8-61.5	37.9-58.0	37.1-53.5	37.7-50.7	36.5-47.2	42.3-54.0	42.4-54.6	35.6-47.0	32.6-44.1	27.1-38.1	21.6-30.8	20.2-28.8	20.5-28.3	21.3-28.3	22.5-28.8	22.4-27.5	21.7-26.3
	Yuanbaoshan District	150403	34.5	29.6	26.6	28.7	24	20.7	20.1	20.4	18	19.2	20.3	23.8	22.4	20.5	17.9	15.8	14
			27.5-42.4	24.2-35.9	21.8-32.2	23.1-34.9	19.1-29.6	16.1-25.6	15.6-24.8	16.2-24.9	14.7-21.6	15.7-23.0	16.7-24.4	19.2-28.7	18.1-26.9	16.9-24.4	15.2-20.9	14.0-18.0	12.5-15.4
	Yuquan District	150104	24.1	21.5	20.5	18.6	18	21.9	23.5	24.6	23.9	22.3	24.3	23.6	21.6	21.1	20.1	20.3	20.2
			19.3-30.1	17.3-26.8	16.1-25.7	14.2-23.8	13.5-24.0	16.3-29.5	17.5-31.6	18.5-32.5	18.1-30.6	17.2-28.4	19.1-30.6	18.5-29.1	17.3-26.9	17.4-25.7	17.2-23.7	18.0-22.8	18.3-22.2
	Zalantun City	150783	45.1	44.7	42.3	42.7	41.8	41.6	41.6	40.2	37.3	32.7	29.4	25.5	22.3	20.7	20.6	21	21.3
			35.8-55.8	36.3-54.4	35.0-50.1	36.2-49.8	36.3-48.5	36.2-48.2	35.8-48.4	33.6-47.5	30.7-44.6	27.2-38.7	24.7-34.5	21.3-30.0	18.5-26.5	17.3-24.8	17.6-24.1	18.5-24.0	19.0-24.0
	Zhenglan Qi	152530	50.6	53.1	51.3	51.3	48.4	47.4	46.1	37.9	40.8	43.2	42.6	41.1	38.1	34.5	26.8	25	22.5
			40.7-61.7	43.9-63.6	43.5-60.2	44.2-58.8	42.4-55.1	41.5-54.3	39.7-53.5	31.8-44.6	33.9-48.0	36.0-50.8	35.4-50.2	34.5-48.3	32.3-44.4	29.7-39.4	23.6-30.1	22.3-27.6	20.3-24.8
	Zhengxiangbai Qi	152529	67.1	70.8	71.4	67.5	62.1	54	49.6	35.9	35.2	36.3	36.2	36.3	39.9	40.2	34.3	31.6	29.7
			48.2-91.4	52.5-94.2	53.3-93.9	50.8-88.0	46.8-80.5	40.7-69.7	37.6-63.2	27.4-45.8	27.6-44.1	28.5-45.5	27.9-45.1	27.9-45.5	31.1-50.0	31.9-49.5	28.0-41.4	26.9-37.2	25.6-34.2
	Zhuozi County	150921	59.6	58.5	55.2	52.4	55.2	52.5	47.4	43.8	41.6	36.4	34.2	30.2	24	18.8	15.5	13.5	12
			47.9-72.3	48.6-69.9	47.1-64.3	45.5-59.9	48.9-62.5	46.1-59.8	40.7-54.6	36.6-51.5	34.4-49.3	30.1-43.4	28.0-41.0	24.9-36.3	20.0-28.7	15.9-21.9	13.3-17.9	11.7-15.4	10.5-13.6
Jiangsu	Baixia District	320103	17.8	15.4	14.7	13.9	12.5	12.8	11.6	10.2	8.8	7.7	6.5	5.9	5.5	5	4.3	4.2	3.9
			14.5-21.8	12.7-18.6	12.3-17.7	11.5-16.6	10.3-14.8	10.7-15.3	9.8-13.5	8.8-11.6	7.7-9.9	6.9-8.7	5.7-7.3	5.0-6.7	4.7-6.2	4.2-5.6	3.7-4.9	3.7-4.8	3.4-4.5
	Baoying County	321023	29.1	26.2	24.3	21.2	19.4	16	13.5	11.4	10	8.8	8.9	8.9	8.1	7.7	6.9	6.4	6
			24.2-35.0	22.1-31.3	20.7-28.5	18.3-24.6	16.9-22.1	14.0-18.0	11.8-15.3	10.0-13.0	8.7-11.5	7.6-10.2	7.7-10.3	7.7-10.3	7.0-9.3	6.6-8.8	6.1-7.9	5.6-7.3	5.3-6.9
	Beitang District	320204	21.7	21.5	20	18.1	16.5	15.8	14.7	12.2	11.5	9.8	8.8	8	7.1	5.8	5	4.6	4.2
			17.9-26.1	18.0-25.7	16.9-23.5	15.5-21.3	14.3-18.9	13.8-17.9	12.8-16.7	10.6-13.8	10.1-13.1	8.5-11.2	7.6-10.1	7.0-9.1	6.2-8.1	5.1-6.6	4.4-5.6	4.1-5.2	3.7-4.8
	Binhai County	320922	34.3	32.6	32.2	30.3	27	25.7	22.1	18.4	17.1	15.8	13.8	12.2	10.2	8.4	7.1	6.3	5.7
			29.4-39.7	28.2-37.8	27.8-37.1	26.5-34.5	23.7-30.8	22.7-29.0	19.6-24.7	16.5-20.5	15.4-19.0	14.1-17.5	12.2-15.4	10.8-13.6	8.9-11.5	7.4-9.4	6.3-8.0	5.6-7.1	5.0-6.5
	Binhu District	320211	21.7	21.5	20	18.1	16.5	15.8	14.7	12.2	11.5	9.8	8.8	8	7.1	5.8	5	4.6	4.2
			17.9-26.1	18.0-25.7	16.9-23.5	15.5-21.3	14.3-18.9	13.8-17.9	12.8-16.7	10.6-13.8	10.1-13.1	8.5-11.2	7.6-10.1	7.0-9.1	6.2-8.1	5.1-6.6	4.4-5.6	4.1-5.2	3.7-4.8

Province	County	County Code (2012)	Under-5 Mortality Rate (per 1000 births)																
			1996	1997	1998	1999	2000	2001	2002	2003	2004	2005	2006	2007	2008	2009	2010	2011	2012
	Changshu City	320581	19.7	18.9	18.1	19	18.5	17.6	15.2	13	10.4	8.2	7.1	7.2	6.8	6.9	6.8	6.4	6.2
			16.8-22.9	16.2-21.9	15.5-20.8	16.4-21.7	16.2-21.1	15.5-20.0	13.5-17.3	11.5-14.5	9.2-11.6	7.3-9.2	6.2-7.9	6.3-8.1	5.9-7.7	6.1-7.8	6.0-7.7	5.7-7.3	5.4-7.0
	Chong'an District	320202	21.7	21.5	20	18.1	16.5	15.8	14.7	12.2	11.5	9.8	8.8	8	7.1	5.8	5	4.6	4.2
			17.9-26.1	18.0-25.7	16.9-23.5	15.5-21.3	14.3-18.9	13.8-17.9	12.8-16.7	10.6-13.8	10.1-13.1	8.5-11.2	7.6-10.1	7.0-9.1	6.2-8.1	5.1-6.6	4.4-5.6	4.1-5.2	3.7-4.8
	Chongchuan District	320602	17.1	16.9	15.4	14.6	12.4	12.6	10.7	9.1	7.3	7.1	6.6	7	7	6.9	6.9	6	5.6
			14.6-19.9	14.5-19.7	13.2-17.9	12.4-17.1	10.6-14.6	10.8-14.8	9.2-12.4	8.0-10.3	6.5-8.1	6.3-7.8	5.9-7.4	6.1-7.8	6.1-7.9	6.0-7.8	6.0-7.8	5.3-6.8	4.9-6.3
	Chuzhou District	320803	42.9	39.3	33.7	31.6	26.8	21.8	20.5	17.7	14.7	13.1	11.4	9	8.4	8	7.4	6.7	6.5
			35.4-52.0	33.1-46.9	29.0-39.7	27.5-36.6	23.7-30.4	19.2-24.5	17.8-23.4	15.3-20.4	12.7-17.1	11.2-15.3	9.9-13.2	7.8-10.5	7.4-9.6	7.1-9.1	6.5-8.4	5.9-7.6	5.6-7.4
	Dafeng City	320982	36.3	34.5	31.6	29.7	28.4	26.7	23.2	21.4	21.5	18.3	15.6	14.2	11.8	10.3	8.1	7.5	7
			30.1-43.7	29.0-41.2	26.6-37.2	25.4-34.8	24.6-32.5	23.4-30.3	20.2-26.4	18.6-24.1	18.8-24.3	16.1-20.8	13.6-17.8	12.6-16.2	10.4-13.3	9.1-11.5	7.2-9.1	6.6-8.4	6.1-8.0
	Dantu District	321112	26.4	25.1	24.2	23.8	21.7	17.9	15.9	14.5	12.8	13.5	13.6	12.4	12	10.8	8.5	7.7	7.2
			22.0-31.7	21.1-29.8	20.4-28.8	19.7-28.2	18.0-25.8	14.9-21.2	13.5-18.6	12.5-16.6	11.2-14.5	12.0-15.3	11.9-15.4	10.7-14.1	10.3-13.7	9.3-12.3	7.3-9.7	6.7-8.8	6.2-8.2
	Danyang City	321181	23.5	21	18.4	16.5	13.5	10.7	10	9	9.8	9.7	9.8	10.2	9.6	8.2	7.2	6.3	5.6
			19.4-28.3	17.7-24.9	15.7-21.7	14.0-19.4	11.6-15.7	9.2-12.7	8.5-11.8	7.8-10.6	8.5-11.5	8.3-11.2	8.4-11.4	8.8-11.8	8.2-11.0	7.1-9.5	6.3-8.2	5.6-7.1	4.9-6.4
	Donghai County	320722	35.7	34.7	33.3	31.8	30.3	26.2	22.2	18.4	16.1	13.4	11.7	10.6	9.5	8.5	8.1	7.3	6.7
			29.6-43.0	29.1-41.4	28.1-39.1	27.3-37.2	26.3-34.6	22.9-29.5	19.3-25.1	16.0-20.7	14.1-18.3	11.8-15.3	10.3-13.4	9.3-12.0	8.4-10.7	7.6-9.6	7.2-9.1	6.4-8.2	5.9-7.7
	Dongtai City	320981	25.8	25.1	24.8	25.6	24.9	23.4	20.8	19.6	17.8	15.4	13.3	11.9	9.8	8.4	7.9	7.2	6.9
			22.1-29.9	21.5-29.0	21.3-28.6	22.2-29.3	21.8-28.4	20.6-26.6	18.4-23.6	17.5-22.0	16.0-19.9	13.7-17.0	11.8-14.8	10.5-13.3	8.6-11.0	7.4-9.5	7.0-8.8	6.4-8.1	6.0-7.8
	Feng County	320321	32.1	30.5	28.7	25.4	23.9	21	18.7	16.5	15.1	15.6	14.9	13.6	12.7	11.3	8.7	7.9	7.4
			26.4-38.8	25.7-36.4	24.6-33.8	22.1-29.4	21.0-27.1	18.6-23.6	16.4-21.2	14.4-18.8	13.2-17.3	13.6-18.0	13.0-17.2	11.9-15.6	11.2-14.4	10.0-12.7	7.7-9.8	7.0-9.0	6.5-8.5
	Funing County	320923	32	30.1	28.7	26.5	25	23.8	21.7	18.5	17.7	14.7	12.2	11.1	9.6	8.2	7.9	7.2	6.8
			26.5-38.5	25.2-35.9	24.1-33.7	22.6-31.0	21.6-28.5	20.8-26.9	18.8-24.6	16.1-20.9	15.5-20.1	12.9-16.8	10.6-14.0	9.7-12.7	8.4-10.8	7.2-9.2	7.0-8.9	6.4-8.1	5.9-7.7
	Gangzha District	320611	17.1	16.9	15.4	14.6	12.4	12.6	10.7	9.1	7.3	7.1	6.6	7	7	6.9	6.9	6	5.6
			14.6-19.9	14.5-19.7	13.2-17.9	12.4-17.1	10.6-14.6	10.8-14.8	9.2-12.4	8.0-10.3	6.5-8.1	6.3-7.8	5.9-7.4	6.1-7.8	6.1-7.9	6.0-7.8	6.0-7.8	5.3-6.8	4.9-6.3
	Ganyu County	320721	29.5	27.9	26.8	25	24.9	22.5	20.4	18.2	17.4	15.1	13.8	12.4	11	9.5	8.8	8.1	7.4
			24.4-35.6	23.4-33.3	22.7-31.5	21.5-29.2	21.6-28.3	19.8-25.3	17.8-23.1	16.0-20.6	15.3-19.8	13.3-17.2	12.1-15.7	10.9-14.2	9.6-12.5	8.4-10.8	7.7-10.0	7.0-9.2	6.5-8.6
	Gaochun County	320125	26	24.6	22.9	21.6	21.4	19.4	19.9	18.4	15.6	14.2	12.6	11.2	10	10.1	10.3	9.6	9.3
			21.9-30.5	21.0-28.9	19.6-26.7	18.3-25.3	18.0-25.1	16.6-22.7	17.3-23.1	16.3-21.0	14.0-17.3	12.8-15.7	11.2-14.0	9.8-12.5	8.7-11.3	8.8-11.5	9.0-11.6	8.5-10.8	8.1-10.6
	Gaogang District	321203	21.3	22.5	21.2	18.6	16.7	16.8	15.1	14.5	11.5	11.3	9.9	9.9	9.7	9	7.4	6.2	5.6
			17.9-25.0	19.2-26.5	18.2-24.9	15.7-21.8	13.9-19.6	14.3-19.7	13.1-17.6	12.7-16.5	10.2-12.8	10.1-12.6	8.8-11.0	8.6-11.0	8.3-10.9	7.8-10.2	6.5-8.4	5.5-7.0	4.9-6.4
	Gaoyou City	321084	27	25.5	23.5	22.5	21.9	20.9	19.5	16.2	15.7	14	11.3	10.8	9.6	8.4	7.8	7	6.4
			22.3-32.5	21.4-30.5	19.8-27.6	19.2-26.4	18.9-25.1	18.3-23.7	17.0-22.2	14.1-18.4	13.7-17.8	12.2-16.0	9.8-12.9	9.5-12.4	8.4-10.8	7.4-9.5	7.0-8.8	6.2-7.9	5.6-7.3
	Guangling District	321002	21.1	19.6	18.5	16.8	12.5	13	11.7	10.7	11.1	11.4	11.2	10.4	9.7	8.5	7.7	6.9	6.5
			17.1-26.1	15.9-24.5	14.9-22.9	13.5-20.9	9.9-15.6	10.3-16.0	9.4-14.4	8.6-13.0	9.1-13.6	9.3-13.8	9.2-13.5	8.4-12.5	7.9-11.6	7.0-10.2	6.3-9.0	5.8-8.1	5.5-7.6
	Guannan County	320724	40.6	36.7	33.2	31.1	26.3	24	25.6	25.3	22	20.6	15.8	12.3	10	8.5	8	7.4	6.8
			34.6-47.4	31.7-42.7	29.0-38.2	27.2-35.4	23.3-29.9	21.4-27.0	23.0-28.6	22.9-28.1	19.9-24.4	18.4-22.8	14.0-17.6	10.8-13.7	8.8-11.3	7.4-9.6	7.1-9.1	6.6-8.4	6.0-7.8
	Guanyun County	320723	27.9	27.3	25.3	23.9	23.9	22	21.5	20.9	19.3	16.5	14.4	12.8	9.9	8.5	8.1	7.3	7
			23.2-33.6	22.9-32.6	21.3-29.8	20.4-27.9	20.7-27.3	19.2-24.8	18.7-24.4	18.3-23.7	16.9-21.9	14.6-18.8	12.7-16.4	11.3-14.5	8.7-11.1	7.5-9.6	7.2-9.1	6.5-8.3	6.1-8.0
	Gulou District	320302	17.6	16.4	16	15	12.1	14.6	13.4	13.4	9.1	10	7.8	6.3	5.9	6.4	5.7	5.6	5.3
			13.5-23.2	12.6-21.6	12.3-21.0	11.4-19.4	9.2-15.6	11.2-18.6	10.5-16.8	10.7-16.5	7.4-11.1	8.1-12.0	6.4-9.4	5.1-7.5	4.8-7.1	5.3-7.6	4.8-6.7	4.7-6.5	4.5-6.2
	Gusu District	320508	15.1	13.4	13.5	13.7	12.3	14.7	15.3	13.1	10.3	8.7	7.4	7	6.6	6.9	7.6	6.8	6.6
			12.8-17.7	11.5-15.6	11.7-15.7	12.0-15.6	10.8-13.9	13.1-16.5	13.8-17.1	11.8-14.6	9.3-11.4	7.8-9.6	6.6-8.2	6.2-7.8	5.8-7.4	6.1-7.8	6.7-8.5	6.1-7.7	5.8-7.5
	Hai'an County	320621	24.4	23.3	22.6	23.1	21.3	19.3	17	15.3	13.4	12.5	12.6	12.7	11.5	9.5	8	6.8	5.9
			21.0-28.2	20.1-26.9	19.5-26.1	20.2-26.3	18.7-24.3	17.1-21.9	15.1-19.0	13.7-17.1	11.9-14.9	11.1-14.0	11.1-14.0	11.2-14.2	10.1-12.9	8.4-10.7	7.0-8.9	6.0-7.7	5.1-6.7
	Hailing District	321202	21.3	22.5	21.2	18.6	16.7	16.8	15.1	14.5	11.5	11.3	9.9	9.9	9.7	9	7.4	6.2	5.6
			17.9-25.0	19.2-26.5	18.2-24.9	15.7-21.8	13.9-19.6	14.3-19.7	13.1-17.6	12.7-16.5	10.2-12.8	10.1-12.6	8.8-11.0	8.6-11.0	8.3-10.9	7.8-10.2	6.5-8.4	5.5-7.0	4.9-6.4
	Haimen City	320684	26.1	25.6	24.5	22.9	22.1	20.9	19.5	16	15.4	14.2	13.2	12.8	11.5	11.3	10.3	9.2	8.3
			22.1-30.7	21.8-29.9	21.0-28.6	19.3-26.8	18.5-25.8	17.8-24.5	16.9-22.7	14.0-18.3	13.8-17.2	12.7-15.7	11.6-14.6	11.2-14.3	9.9-13.0	9.7-12.8	9.0-11.7	8.1-10.3	7.3-9.5
	Haizhou District	320706	22	20.1	20.3	20.3	21.4	14.9	14.1	11.4	10.4	9.6	9.4	8.6	8.6	7.3	6.9	6.4	6
			17.2-28.5	15.7-26.2	15.9-26.2	15.7-26.1	16.5-27.5	11.4-18.9	11.0-17.8	8.9-14.1	8.3-12.8	7.7-11.8	7.6-11.4	6.9-10.4	7.0-10.4	5.9-8.7	5.6-8.1	5.4-7.5	5.1-7.0
	Hanjiang District	321003	19.8	17.8	16.7	16.8	15.9	14.4	15.5	14.7	12.9	11.4	11.8	11	11.5	10.3	8	8.4	5.4
			16.9-23.0	15.4-20.7	14.5-19.3	14.6-19.4	14.0-18.2	12.6-16.2	13.1-18.1	12.7-16.8	11.4-14.6	10.0-12.8	10.3-13.5	9.4-12.9	9.3-14.1	7.9-13.2	6.1-10.5	5.7-11.8	4.6-6.3
	Hongze County	320829	29.7	27.1	25.2	23.7	22.2	18.6	16.8	14.2	12.4	10.4	10.3	10.4	9.3	9.6	9.2	8.2	7.6
			25.2-34.9	23.2-31.8	21.6-29.4	20.0-27.8	18.6-26.1	15.8-21.8	14.5-19.5	12.4-16.3	11.0-14.0	9.2-11.7	9.0-11.5	9.0-11.7	7.9-10.5	8.3-10.9	8.0-10.4	7.2-9.2	6.6-8.7
	Huaiyin District	320804	38.7	35	33.4	29.5	26.2	22.9	21.7	17.6	15.4	13.3	11.3	10.2	10.2	9.8	9.6	9.2	8.7
			31.8-46.9	29.2-41.6	28.5-39.4	24.9-34.5	22.2-30.4	19.5-26.7	18.4-25.7	15.0-20.8	13.1-18.1	11.4-15.6	9.7-13.2	8.7-11.8	8.7-11.7	8.4-11.3	8.4-10.9	8.1-10.4	7.6-10.0
	Huishan District	320206	21.7	21.5	20	18.1	16.5	15.8	14.7	12.2	11.5	9.8	8.8	8	7.1	5.8	5	4.6	4.2
			17.9-26.1	18.0-25.7	16.9-23.5	15.5-21.3	14.3-18.9	13.8-17.9	12.8-16.7	10.6-13.8	10.1-13.1	8.5-11.2	7.6-10.1	7.0-9.1	6.2-8.1	5.1-6.6	4.4-5.6	4.1-5.2	3.7-4.8
	Huqiu District	320505	15.1	13.4	13.5	13.7	12.3	14.7	15.3	13.1	10.3	8.7	7.4	7	6.6	6.9	7.6	6.8	6.6
			12.8-17.7	11.5-15.6	11.7-15.7	12.0-15.6	10.8-13.9	13.1-16.5	13.8-17.1	11.8-14.6	9.3-11.4	7.8-9.6	6.6-8.2	6.2-7.8	5.8-7.4	6.1-7.8	6.7-8.5	6.1-7.7	5.8-7.5
	Jiangdu District	321012	19	18.4	17	16.5	14.9	13.5	11.3	9.9	7.9	6.9	6.6	6.9	6.6	6.8	6.8	6.1	5.6
			15.6-23.0	15.5-22.0	14.5-20.1	14.3-19.1	13.1-16.9	12.0-15.1	10.0-12.8	8.7-11.3	6.9-9.1	6.0-8.1	5.7-7.7	6.0-7.9	5.8-7.5	6.0-7.7	6.0-7.6	5.4-6.9	4.9-6.4
	Jiangning District	320115	27.8	26.5	24.6	21	20.3	17.2	14.8	14.2	12.3	11.1	9.6	8.7	8	7.1	5.7	5.6	5.2
			22.9-33.6	22.3-31.6	21.1-29.0	18.3-24.4	17.9-23.0	15.2-19.3	13.0-16.7	12.4-16.2	10.8-14.2	9.7-12.9	8.4-11.1	7.6-9.9	7.0-9.0	6.2-8.0	5.0-6.4	4.9-6.3	4.6-5.9
	Jiangyan City	321284	18.3	17.7	16.6	15.9	14.5	12.7	11.6	9.6	9	9	8.3	8.2	8.7	8.4	8.4	7.6	7.1

Province	County	County Code (2012)	Under-5 Mortality Rate (per 1000 births)																
			1996	1997	1998	1999	2000	2001	2002	2003	2004	2005	2006	2007	2008	2009	2010	2011	2012
			15.7-21.1	15.2-20.4	14.3-19.2	13.9-18.1	12.7-16.5	11.2-14.4	10.3-13.1	8.6-10.8	8.0-10.1	7.9-10.1	7.3-9.4	7.1-9.2	7.5-9.8	7.3-9.6	7.3-9.5	6.6-8.7	6.2-8.2
	Jiangyin City	320281	20	19.2	18.5	16.8	15.6	14.1	12.6	11.3	10.8	9.8	9.8	9.2	8.8	7.9	7	6.3	5.6
			17.2-23.2	16.6-22.3	15.9-21.3	14.7-19.1	13.7-17.8	12.4-15.9	11.2-14.1	10.1-12.6	9.6-12.0	8.7-10.9	8.6-10.9	8.1-10.4	7.7-9.9	6.9-8.9	6.2-7.9	5.6-7.1	4.9-6.3
	Jianhu County	320925	36.9	34.8	32.4	29.2	27.3	25.7	25.1	21.6	19.2	17.7	14.4	11.9	10.3	9.5	8.2	7.7	7.2
			31.4-43.1	30.1-40.6	28.3-37.6	25.7-33.6	24.0-31.0	22.7-29.0	22.3-28.1	19.3-24.1	17.2-21.4	15.8-19.8	12.7-16.1	10.4-13.5	9.0-11.7	8.3-10.8	7.2-9.3	6.8-8.8	6.3-8.3
	Jianye District	320105	17.3	16.1	14.8	13.4	12.7	12.2	12.4	10.5	9.3	7.9	6.8	6.8	6	5.5	4.6	4.6	4.2
			13.6-22.1	12.7-20.7	11.8-18.6	10.7-16.8	9.9-15.7	9.7-14.9	10.1-14.8	8.9-12.4	7.9-10.8	6.8-9.1	5.8-7.8	5.7-7.8	5.1-6.9	4.7-6.4	3.9-5.3	3.9-5.2	3.7-4.9
	Jiawang District	320305	21.3	19	18.3	16	14.4	13.1	13.2	12.7	11	10.8	9	8.4	7.8	7.3	6.8	6.3	5.9
			17.0-26.7	15.3-23.8	14.7-22.7	12.8-19.8	11.5-17.8	10.5-16.1	10.8-15.9	10.4-15.1	9.2-13.1	9.0-12.7	7.5-10.6	6.9-9.9	6.4-9.1	6.0-8.5	5.7-7.9	5.3-7.2	5.1-6.9
	Jingjiang City	321282	22.3	21.1	20	17.7	16.7	16	14.5	13.8	14.7	12.6	11.7	11.7	10.6	9.3	8.2	7.4	6.7
			18.9-26.2	18.1-24.7	17.5-23.2	15.5-20.2	14.8-19.0	14.3-18.1	13.0-16.2	12.4-15.3	13.3-16.3	11.3-13.9	10.4-12.9	10.4-13.0	9.4-11.9	8.2-10.5	7.2-9.2	6.6-8.4	5.8-7.7
	Jingkou District	321102	16	15.2	15.4	13.7	11.7	10.1	10.6	8.2	8.3	9.5	8.8	8.4	7.4	6.3	4.9	4.5	3.9
			13.2-19.4	12.7-18.3	13.0-18.2	11.8-16.3	10.0-13.8	8.8-11.7	9.3-12.0	7.3-9.2	7.4-9.3	8.5-10.6	7.8-9.8	7.4-9.3	6.6-8.3	5.6-7.1	4.3-5.5	4.0-5.0	3.4-4.4
	Jinhu County	320831	34.2	31.3	29.3	28.3	26.5	21.9	19.1	18.7	17.3	15.6	14.8	14.2	13.1	12.1	11.8	10.7	10
			29.1-40.1	26.8-36.5	25.1-34.1	24.0-33.1	22.2-31.0	18.6-25.6	16.5-22.2	16.4-21.4	15.5-19.4	14.0-17.3	13.0-16.4	12.4-16.0	11.2-14.7	10.5-13.8	10.3-13.4	9.5-12.1	8.7-11.4
	Jintan City	320482	20.4	21.5	21.2	19.6	17.7	16.4	14.2	11.4	10.7	10.3	9.4	9.1	8.9	8.8	8.6	8	7.4
			17.4-23.9	18.4-25.1	18.3-24.7	16.6-22.9	14.9-20.7	14.1-19.2	12.3-16.4	10.0-13.0	9.6-12.0	9.3-11.4	8.3-10.5	8.0-10.2	7.7-10.0	7.6-10.0	7.5-9.7	7.1-9.0	6.5-8.4
	Jurong City	321183	20.7	18.7	17.4	15.9	14.1	11.1	10.2	8.6	8.6	7.5	7.5	7	6.8	6.6	6.4	6	5.8
			17.4-24.4	15.9-22.0	14.8-20.5	13.3-18.6	11.7-16.7	9.4-13.2	8.7-11.9	7.4-9.8	7.5-9.7	6.6-8.4	6.5-8.4	6.0-7.9	5.8-7.8	5.7-7.5	5.5-7.2	5.3-6.9	5.1-6.6
	Kunshan City	320583	18.7	17.2	16.2	15.6	14	13.6	11.7	10.3	8.6	7.1	6.5	7.3	7.5	8	7.6	7.2	6.7
			15.7-22.0	14.6-20.2	13.8-19.0	13.1-18.3	11.7-16.4	11.5-15.9	10.1-13.5	9.0-11.8	7.6-9.6	6.3-7.9	5.8-7.3	6.3-8.1	6.4-8.4	6.9-9.1	6.7-8.6	6.4-8.1	5.9-7.6
	Lianshui County	320826	37.1	35.1	31.5	29.6	26.3	23.4	22.8	19.7	17.8	15.3	13.8	11.9	9.5	8	6.9	6.2	5.7
			31.3-43.5	30.2-41.1	27.3-36.5	25.9-33.9	23.3-29.9	20.8-26.3	20.5-25.4	17.8-21.9	16.0-19.7	13.7-16.9	12.2-15.3	10.5-13.3	8.3-10.7	7.0-9.0	6.1-7.8	5.5-7.0	4.9-6.4
	Lianyun District	320703	23.2	22.1	20.6	18.2	17.7	17.1	16.1	16.3	14.5	13.1	11.3	10.4	8.9	7.6	6.8	6.6	6.1
			16.0-32.9	15.4-30.8	14.8-28.2	13.3-24.3	13.4-22.8	13.3-21.5	13.0-19.4	13.7-19.2	12.4-16.7	11.4-15.0	9.6-13.2	8.7-12.5	7.0-11.2	5.6-10.0	4.7-9.6	4.4-9.5	4.0-9.1
	Lishui County	320124	28.3	26.4	25	22.8	23.5	20.4	18.4	16	13.9	11.9	10.4	9.6	10.1	9.9	9.7	9.4	9.3
			23.9-33.3	22.5-31.0	21.4-29.2	19.2-26.8	19.7-27.7	17.3-23.9	15.9-21.4	14.0-18.3	12.4-15.7	10.5-13.3	9.2-11.6	8.3-10.8	8.6-11.4	8.6-11.3	8.5-11.0	8.3-10.6	8.1-10.7
	Liuhe District	320116	24.3	23.2	21.9	20.6	18.2	16.2	15.6	14	12.6	11.8	11	10.3	9.9	8	9.6	9.2	9
			20.7-28.3	20.1-26.9	19.1-25.2	18.1-23.6	16.1-20.7	14.4-18.3	13.9-17.5	12.5-15.6	11.3-14.0	10.5-13.2	9.7-12.3	9.0-11.6	8.6-11.2	7.0-9.0	8.5-10.9	8.1-10.4	7.8-10.2
	Liyang City	320481	25.6	24.8	24.2	22.8	20.9	18.1	14.2	15.1	13.8	12.4	11.6	10.6	9.2	8.5	7.8	7	6.6
			22.0-29.7	21.3-28.7	20.9-27.9	19.9-26.0	18.3-23.8	16.0-20.4	12.6-15.9	13.5-16.9	12.3-15.5	10.9-13.8	10.2-13.0	9.3-12.0	8.0-10.3	7.5-9.6	6.9-8.8	6.2-7.9	5.8-7.5
	Nanchang District	320203	21.7	21.5	20	18.1	16.5	15.8	14.7	12.2	11.5	9.8	8.8	8	7.1	5.8	5	4.6	4.2
			17.9-26.1	18.0-25.7	16.9-23.5	15.5-21.3	14.3-18.9	13.8-17.9	12.8-16.7	10.6-13.8	10.1-13.1	8.5-11.2	7.6-10.1	7.0-9.1	6.2-8.1	5.1-6.6	4.4-5.6	4.1-5.2	3.7-4.8
	Nanjinggulou District	320106	15.8	15.4	14	13.3	12.2	12.7	13.1	14.6	13.7	13.3	12.8	10.8	8.4	7.4	5.9	5.6	5.2
			11.1-22.1	11.0-21.0	10.3-18.8	10.0-17.5	9.5-15.7	10.1-15.9	10.9-15.6	12.6-16.7	12.2-15.3	11.9-15.1	11.0-14.8	8.8-13.1	6.5-10.6	5.4-9.8	4.1-8.2	3.7-8.1	3.3-7.7
	Pei County	320322	34.6	31.6	27.6	24.2	20.8	18.9	17.1	15.5	14.8	13.7	12.8	11.9	11.1	10.2	7.2	6.6	6.3
			28.4-41.8	26.4-37.4	23.4-32.6	20.5-28.4	17.5-24.1	16.1-22.1	14.6-20.3	13.2-18.3	12.6-17.4	11.8-16.1	10.9-14.9	10.2-13.8	9.5-12.8	8.8-11.7	6.2-8.2	5.8-7.5	5.5-7.2
	Pizhou City	320382	29.7	29.1	27.4	25.6	23.1	20.6	16.1	13.8	12.4	10.3	8.9	9	8.3	8.4	7.7	7.1	6.8
			24.7-35.8	24.4-34.8	23.1-32.2	22.0-29.9	20.0-26.4	17.9-23.2	14.0-18.3	12.0-15.6	10.9-14.1	9.0-11.7	7.9-10.2	7.9-10.2	7.4-9.4	7.4-9.4	6.8-8.6	6.3-8.0	5.9-7.8
	Pukou District	320111	19.9	18.9	17.8	15.9	17.1	17	16.5	15	14.4	11.9	10.4	10.6	8.5	7.8	7	6.6	6.2
			15.8-25.0	15.2-23.8	14.4-22.0	12.8-19.4	13.8-20.7	13.9-20.3	13.8-19.3	12.9-17.2	12.7-16.3	10.6-13.4	9.1-11.6	9.2-12.0	7.3-9.6	6.7-8.8	6.0-8.0	5.8-7.5	5.4-7.1
	Qidong City	320681	21.7	21.1	20	20.3	18.9	17.9	16.7	15.3	13.8	12.7	12.3	11.8	9.9	9.6	8.1	6.9	6.1
			18.6-25.2	18.2-24.4	17.3-23.0	17.7-23.0	16.6-21.5	15.8-20.2	14.9-18.7	13.7-17.0	12.5-15.4	11.4-14.2	10.9-13.6	10.4-13.2	8.7-11.1	8.4-10.7	7.2-9.1	6.1-7.8	5.4-6.9
	Qinghe District	320802	19.5	17.5	16.2	14.3	12.7	12.5	13.2	11.7	12	11	10.1	9.1	8.5	8.2	7.6	7.3	7
			15.7-24.1	14.2-21.8	13.1-20.0	11.5-17.7	10.1-15.8	9.9-15.4	10.7-16.1	9.5-14.0	9.9-14.3	9.2-13.0	8.4-12.1	7.5-10.9	7.0-10.0	6.8-9.6	6.3-8.8	6.2-8.5	5.9-8.1
	Qingpu District	320811	22.9	21.3	19.9	19.1	18.6	18	16.6	16.4	14.7	13.2	11.7	13.5	12.3	13.1	12.9	12.3	12
			16.8-30.6	16.1-27.7	15.3-25.6	14.9-24.3	14.9-23.2	14.8-21.9	14.1-19.6	14.4-18.8	13.1-16.4	11.8-14.8	10.2-13.5	11.1-16.0	9.7-15.3	9.8-16.9	9.1-17.2	8.4-17.1	7.8-17.1
	Qinhuai District	320104	17.2	15.9	15.4	12.8	12	11.1	10.9	9.5	9.4	8.1	7.6	6.6	5.7	4.8	4.8	4.8	4.5
			13.8-21.7	12.7-20.3	12.3-19.3	10.1-16.0	9.5-14.7	8.9-13.5	8.9-12.9	8.1-11.2	8.1-10.8	7.1-9.3	6.6-8.6	5.7-7.5	4.9-6.5	4.1-5.5	4.1-5.5	4.1-5.4	3.9-5.2
	Qishuyan District	320405	16.6	16.7	16.1	16.2	14.8	15.4	15.3	12.3	10.6	10.2	8.5	7.3	7.7	6.8	6	5.9	5.6
			14.1-19.4	14.3-19.5	14.1-18.7	14.2-18.6	13.1-16.9	13.7-17.4	13.7-17.1	11.1-13.7	9.6-11.7	9.1-11.3	7.6-9.5	6.5-8.2	6.8-8.7	6.0-7.6	5.3-6.8	5.2-6.7	4.9-6.4
	Qixia District	320113	17.9	17.8	16.3	13.9	13.8	15	13.5	12.2	12.1	9.9	8.1	7.4	6.5	5.7	5.1	5.2	4.9
			14.3-22.5	14.3-22.2	13.3-20.1	11.3-16.8	11.2-16.6	12.3-17.8	11.5-15.9	10.6-14.0	10.7-13.6	8.8-11.1	7.1-9.0	6.4-8.4	5.6-7.4	4.9-6.5	4.4-5.8	4.5-5.9	4.2-5.6
	Quanshan District	320311	17.4	17.4	16.4	16.8	14.4	14.6	16.2	14	12.3	12.5	10.7	8	7.8	7.4	6.1	6	5.6
			13.9-22.0	14.0-22.0	13.2-20.5	13.4-20.8	11.3-17.8	11.7-17.9	13.2-19.3	11.6-16.6	10.4-14.4	10.7-14.5	9.0-12.5	6.7-9.4	6.5-9.1	6.2-8.6	5.1-7.1	5.1-6.9	4.8-6.5
	Rudong County	320623	24.7	23.8	23	22.3	21	18.3	15.9	14	13.3	11.1	11.4	11.3	10.6	9.6	9.2	7.9	7.1
			21.2-28.7	20.6-27.6	20.1-26.6	19.5-25.4	18.6-23.9	16.2-20.7	14.2-17.7	12.6-15.6	12.0-14.8	9.9-12.3	10.1-12.6	10.0-12.6	9.3-11.9	8.5-10.8	8.1-10.3	7.0-9.0	6.2-8.0
	Rugao City	320682	22.5	23.4	22.7	23.7	23.3	21.5	20.2	17.1	15.9	14.6	14.2	13.3	11.8	10.7	9.6	8.3	7.2
			19.4-26.0	19.9-27.2	19.4-26.3	20.3-27.3	20.1-26.6	18.7-24.5	17.6-23.2	15.1-19.5	13.9-18.1	12.8-16.5	12.4-16.1	11.6-15.2	10.1-13.5	9.2-12.3	8.2-11.0	7.1-9.5	6.2-8.4
	Runzhou District	321111	22.8	21.1	21.9	22	17.3	15.1	15	9.6	10.2	10.4	8.8	7.9	7.3	6.8	5.7	5.9	5.5
			18.3-28.4	17.1-26.3	17.8-27.0	17.8-26.8	13.9-21.1	12.2-18.2	12.4-17.8	8.1-11.3	8.8-11.8	9.1-11.9	7.5-10.0	6.7-9.1	6.1-8.3	5.8-7.8	4.9-6.6	5.1-6.7	4.8-6.3
	Sheyang County	320924	33.9	32.5	30.7	28.5	26.4	24.1	21.2	17.3	17.9	15.9	13.6	13	10.6	9.2	8.1	7.5	7.1
			28.1-40.8	27.2-38.8	25.9-36.1	24.3-33.3	22.8-30.2	21.0-27.3	18.4-24.1	15.1-19.6	15.6-20.3	13.9-18.2	11.9-15.6	11.4-14.9	9.3-12.0	8.1-10.3	7.2-9.1	6.7-8.4	6.2-8.0
	Shuyang County	321322	38.2	36.4	33.2	31.6	29.5	27.7	25.3	21.3	18.3	14.8	11.8	10.1	8.9	8.2	8	7.4	7.2
			32.4-44.9	31.1-42.7	28.4-38.3	27.3-36.1	25.8-33.6	24.3-31.3	22.4-28.9	18.9-24.1	16.2-20.6	13.0-16.6	10.4-13.2	8.8-11.4	7.7-10.0	7.2-9.3	7.0-9.0	6.5-8.4	6.3-8.2

Province	County	County Code (2012)	Under-5 Mortality Rate (per 1000 births)																
			1996	1997	1998	1999	2000	2001	2002	2003	2004	2005	2006	2007	2008	2009	2010	2011	2012
	Sihong County	321324	33.5	30	27.8	25.7	25.3	25.5	25.3	23.4	20.8	17.4	14.7	12.4	10.4	9.4	8.7	8	7.6
			28.8-38.8	25.8-34.8	24.0-32.0	22.5-29.3	22.3-28.8	22.6-28.8	22.6-28.3	21.0-26.0	18.8-23.1	15.6-19.3	13.1-16.3	10.9-13.8	9.2-11.7	8.3-10.5	7.7-9.8	7.1-9.0	6.6-8.6
	Siyang County	321323	22.2	19.9	18.2	15.7	15	15.7	15.5	14.6	14.9	12	9.3	7.5	6.5	5.7	6.1	5.9	5.9
			18.8-26.1	16.9-23.3	15.6-21.3	13.2-18.4	12.5-17.5	13.3-18.4	13.4-18.0	12.8-16.7	13.4-16.7	10.7-13.3	8.2-10.4	6.5-8.4	5.6-7.3	4.9-6.5	5.3-6.9	5.1-6.7	5.2-6.8
	Sucheng District	321302	29.7	27	25.5	23.5	17.2	20.4	21.5	20.5	19.7	17.9	16.5	13.5	10.9	10.2	9.4	8.7	8.2
			21.5-40.2	19.9-35.7	19.3-33.3	18.1-30.3	13.6-21.8	16.6-24.9	18.2-25.2	18.1-23.2	18.0-21.7	16.2-19.8	14.5-18.7	11.1-15.9	8.6-13.4	7.7-13.1	6.7-12.6	5.9-12.1	5.3-11.7
	Suining County	320324	28	27.7	26.3	25.5	24.8	21.1	18.4	15.7	13.8	11.9	11.7	10.9	9.7	8.7	7.8	7.1	6.7
			23.1-33.9	23.3-33.0	22.5-30.9	22.1-29.4	21.7-28.1	18.7-23.7	16.2-20.8	13.7-17.9	12.0-15.8	10.4-13.7	10.2-13.4	9.6-12.5	8.5-10.9	7.7-9.8	6.9-8.8	6.3-8.0	5.8-7.6
	Suyu District	321311	28.8	26.9	25.9	23.9	22.7	20.1	18.6	17.8	15.9	13.3	11.8	10.5	8.1	7.4	7.8	7.6	7.6
			23.9-34.6	22.5-32.1	21.8-30.7	20.1-28.2	18.9-26.7	17.0-23.5	16.0-21.5	15.6-20.3	14.2-17.8	11.9-14.8	10.4-13.2	9.1-11.8	7.0-9.2	6.4-8.4	6.8-8.9	6.7-8.6	6.6-8.7
	Taicang City	320585	17.4	15.9	14.5	13.7	13.7	12.1	10.3	10	9	9.3	9.5	9.8	9.7	9	7.8	7.2	6.6
			14.4-21.0	13.3-18.9	12.2-17.3	11.3-16.3	11.3-16.3	10.1-14.4	8.7-11.9	8.6-11.4	8.0-10.2	8.3-10.5	8.3-10.6	8.5-11.0	8.4-11.0	7.8-10.2	6.8-8.8	6.4-8.2	5.7-7.5
	Taixing City	321283	27.1	24.6	23.3	22.3	20	17.6	15	13.8	12.3	11.6	12	11.7	10.8	9.8	9.5	8.5	7.8
			22.5-32.6	20.8-29.4	19.9-27.4	19.2-25.8	17.4-22.7	15.5-19.8	13.1-17.0	12.0-15.7	10.7-14.0	10.0-13.4	10.3-13.8	10.1-13.4	9.3-12.4	8.5-11.3	8.3-10.8	7.5-9.7	6.8-8.9
	Tianning District	320402	16.6	16.7	16.1	16.2	14.8	15.4	15.3	12.3	10.6	10.2	8.5	7.3	7.7	6.8	6	5.9	5.6
			14.1-19.4	14.3-19.5	14.1-18.7	14.2-18.6	13.1-16.9	13.7-17.4	13.7-17.1	11.1-13.7	9.6-11.7	9.1-11.3	7.6-9.5	6.5-8.2	6.8-8.7	6.0-7.6	5.3-6.8	5.2-6.7	4.9-6.4
	Tinghu District	320902	20.2	18.1	18.6	17.7	16.5	17	16.3	14.2	14.5	13.5	12.2	11.7	10.3	9.5	7	6.8	6.5
			16.5-24.7	15.0-21.8	15.5-22.5	14.6-21.1	13.5-19.6	14.2-20.2	13.8-19.0	12.2-16.3	12.7-16.4	11.9-15.2	10.6-13.8	10.0-13.3	8.8-11.8	8.1-10.9	6.1-8.1	5.9-7.7	5.7-7.5
	Tongshan District	320312	32.6	30.3	28.1	25.5	23.8	21.6	19.4	16.9	15.5	13.5	11.6	10.2	9.1	8.3	6.9	6.3	5.9
			26.8-39.3	25.6-36.0	24.2-33.0	22.3-29.7	21.1-27.1	18.9-24.4	16.8-22.2	14.5-19.6	13.2-18.0	11.5-15.9	9.9-13.7	8.7-12.0	7.8-10.6	7.2-9.6	5.9-7.9	5.5-7.2	5.1-6.9
	Tongzhou District	320612	21.5	20.1	19.7	17.6	17.2	16.2	14.9	13	12.5	11.2	10.9	11.5	11.3	11	11.5	10.1	9.5
			18.5-25.0	17.4-23.2	17.1-22.7	15.4-20.0	15.1-19.5	14.4-18.3	13.3-16.7	11.7-14.5	11.2-13.9	10.0-12.5	9.6-12.1	10.1-12.9	9.9-12.7	9.7-12.3	10.2-12.9	8.9-11.4	8.3-10.8
	Wujiang District	320509	19.5	18.4	16.9	14.9	14	13.3	11.8	12.3	12.3	10.6	9.2	8.8	7.6	7.7	7.5	6.9	6.5
			16.2-23.3	15.5-21.9	14.2-20.1	12.4-17.7	11.6-16.5	11.1-15.6	10.1-13.7	10.7-14.1	10.9-13.8	9.4-11.9	8.1-10.3	7.6-9.9	6.5-8.6	6.6-8.7	6.5-8.5	6.1-7.8	5.7-7.4
	Wujin District	320412	22	21.6	21.6	19.8	18.6	16.7	16.1	18.9	16.8	15.2	16.2	14.5	11.5	10.3	9.9	9.3	8.8
			18.5-25.8	18.4-25.4	18.5-25.3	16.7-23.2	15.5-21.8	14.3-19.6	13.9-18.6	16.5-21.5	15.1-18.7	13.7-16.8	14.4-18.1	12.8-16.2	9.9-13.0	9.0-11.7	8.7-11.2	8.2-10.4	7.7-9.9
	Wuzhong District	320506	23.1	20.5	19.7	17.9	16.6	15.3	13.8	13.9	12.6	11.4	10	9.4	8.6	6.8	8	7.5	7.1
			19.1-27.9	17.3-24.3	16.8-23.2	15.1-21.0	14.1-19.4	13.0-18.2	11.7-16.6	11.7-16.5	10.6-15.1	9.5-13.5	8.4-11.9	7.9-11.0	7.2-9.9	5.8-7.8	7.0-9.1	6.6-8.5	6.2-8.2
	Xiaguan District	320107	15.2	14.2	14	12.6	12.6	12.7	12.1	10.3	9.7	6.4	5.9	5.5	4.9	4.7	4.5	4.5	4.3
			12.1-18.9	11.4-17.7	11.4-17.2	10.2-15.3	10.2-15.1	10.4-15.2	10.2-14.3	8.8-11.8	8.5-11.1	5.6-7.2	5.2-6.7	4.7-6.3	4.2-5.7	4.0-5.4	3.9-5.2	3.9-5.1	3.8-5.0
	Xiangcheng District	320507	19.7	18.3	17.1	16.1	14.7	14.8	13.8	12.1	11.8	10.4	9.1	8.5	8.1	7.4	7.3	6.7	6.4
			13.0-28.8	12.2-26.4	11.6-24.1	11.3-22.2	10.6-19.9	10.8-19.8	10.4-18.1	9.3-15.7	9.3-14.8	8.3-12.8	7.5-11.0	7.1-10.2	6.7-9.9	5.9-9.2	5.6-9.3	4.9-8.9	4.5-8.8
	Xiangshui County	320921	31.7	28.9	27.5	25	22.2	19.6	18.7	16.2	15.8	14.2	12.5	10.9	9.3	8.2	8.6	8.6	8.6
			27.0-37.0	24.8-33.5	23.6-31.9	21.2-29.1	18.8-25.9	16.8-23.0	16.2-21.7	14.2-18.4	14.2-17.6	12.8-15.7	11.1-13.9	9.5-12.2	8.0-10.5	7.1-9.3	7.6-9.8	7.6-9.6	7.5-9.8
	Xinbei District	320411	16.6	16.7	16.1	16.2	14.8	15.4	15.3	12.3	10.6	10.2	8.5	7.3	7.7	6.8	6	5.9	5.6
			14.1-19.4	14.3-19.5	14.1-18.7	14.2-18.6	13.1-16.9	13.7-17.4	13.7-17.1	11.1-13.7	9.6-11.7	9.1-11.3	7.6-9.5	6.5-8.2	6.8-8.7	6.0-7.6	5.3-6.8	5.2-6.7	4.9-6.4
	Xinghua City	321281	21.9	19.5	18	16	15	14.1	12.7	12.3	11.3	10.6	10.4	10.3	11	10.7	10.4	9.2	8.4
			18.3-25.9	16.7-22.9	15.6-20.9	14.1-18.4	13.3-17.1	12.6-15.9	11.3-14.2	11.1-13.8	10.2-12.7	9.5-11.8	9.2-11.6	9.0-11.5	9.6-12.4	9.4-12.0	9.2-11.8	8.1-10.4	7.4-9.6
	Xinpu District	320705	25.8	24.7	24.5	22.5	20	19.9	19.1	16.2	16.2	14.6	12.8	10.3	9.5	7.5	6.7	6.4	6.1
			21.1-31.5	20.5-29.6	20.7-29.0	19.4-26.3	17.5-23.1	17.5-22.6	17.0-21.4	14.5-18.1	14.6-18.0	13.0-16.2	11.3-14.4	9.1-11.7	8.2-10.8	6.5-8.5	5.9-7.7	5.6-7.3	5.3-7.0
	Xinyi City	320381	38.6	35.3	31.7	28.4	25.2	23.5	20.3	16.9	14.5	12.9	11.4	10.7	10	9	8.2	7.3	7
			32.0-46.4	29.7-42.0	27.1-37.1	24.5-32.8	22.1-28.7	20.7-26.4	17.8-22.9	14.8-19.2	12.7-16.5	11.3-14.8	10.0-13.0	9.5-12.2	8.8-11.3	7.9-10.1	7.2-9.2	6.5-8.3	6.1-8.0
	Xishan District	320205	21.7	21.5	20	18.1	16.5	15.8	14.7	12.2	11.5	9.8	8.8	8	7.1	5.8	5	4.6	4.2
			17.9-26.1	18.0-25.7	16.9-23.5	15.5-21.3	14.3-18.9	13.8-17.9	12.8-16.7	10.6-13.8	10.1-13.1	8.5-11.2	7.6-10.1	7.0-9.1	6.2-8.1	5.1-6.6	4.4-5.6	4.1-5.2	3.7-4.8
	Xuanwu District	320102	19.3	18.1	17.5	16.1	13.2	15.1	14.9	13.2	13.8	13.5	12.7	11.5	9.7	7.6	6.1	6	5.4
			16.1-23.1	15.3-21.5	14.8-20.7	13.5-19.0	11.0-15.6	12.8-17.7	12.8-17.3	11.6-15.1	12.4-15.4	12.1-14.9	11.3-14.1	10.1-12.8	8.3-10.9	6.6-8.6	5.3-6.9	5.4-6.8	4.7-6.2
	Xuyi County	320830	22.5	20.8	19.4	17.5	17	16.1	14.1	13.6	13.3	12.1	11.1	10.2	9.2	8.2	8.3	7.6	7.1
			19.1-26.3	17.8-24.3	16.6-22.6	14.8-20.5	14.3-20.0	13.7-18.8	12.1-16.4	11.9-15.6	11.8-15.1	10.7-13.6	9.7-12.5	8.8-11.6	7.8-10.5	7.0-9.3	7.1-9.5	6.6-8.7	6.2-8.2
	Yandu District	320903	35.5	32.7	30.9	29.5	28.6	27.1	22.9	22	19.6	17.8	16.1	14.7	12.9	11	7.7	7.3	6.9
			30.3-41.6	28.2-38.1	27.0-35.8	25.8-34.0	25.1-32.5	24.0-30.5	20.4-25.7	19.7-24.6	17.5-21.8	15.8-19.9	14.2-18.2	12.9-16.7	11.1-14.6	9.6-12.5	6.8-8.8	6.4-8.3	6.0-7.9
	Yangzhong City	321182	17.2	16.1	16	14.8	14.4	13.6	13.7	13.8	14.6	14.6	14.6	13.9	12.2	10.1	8	7.3	6.5
			14.3-20.5	13.6-19.2	13.5-19.0	12.4-17.4	12.0-17.0	11.5-16.0	11.9-15.9	12.1-15.7	13.1-16.2	13.2-16.0	13.0-16.1	12.3-15.5	10.5-13.7	8.7-11.3	7.0-9.0	6.5-8.2	5.6-7.4
	Yixing City	320282	22.9	22	20.9	20.8	19.7	17.1	15	12.9	11.1	10.2	9.1	7.7	7.4	6.8	6.8	6.4	6
			19.5-26.9	19.0-25.7	18.3-24.2	18.2-23.9	17.3-22.4	15.2-19.3	13.3-16.8	11.6-14.5	9.9-12.4	9.0-11.4	8.0-10.3	6.7-8.7	6.5-8.4	5.9-7.6	6.0-7.7	5.6-7.2	5.3-6.9
	Yizheng City	321081	20.9	19.8	18.9	17.5	16.2	15.5	15.1	13.8	14.3	13	12.3	11.1	9.6	8.3	7.6	6.7	5.9
			17.9-24.4	17.0-22.9	16.2-21.9	14.9-20.4	13.9-18.9	13.3-18.0	13.1-17.3	12.2-15.6	12.9-15.9	11.7-14.4	10.9-13.6	9.7-12.4	8.4-10.9	7.2-9.4	6.7-8.6	5.9-7.5	5.2-6.7
	Yuhuatai District	320114	21.1	19.1	18.4	16.1	13.6	13.1	11.8	10.8	10.2	9.2	7.7	7.1	5.8	5.2	4.8	4.7	4.3
			16.9-26.4	15.4-23.9	15.0-22.6	13.1-19.5	11.0-16.4	10.7-15.6	9.9-13.8	9.3-12.4	9.0-11.6	8.2-10.4	6.7-8.6	6.2-8.1	5.0-6.6	4.5-6.0	4.1-5.5	4.1-5.3	3.8-5.0
	Yunlong District	320303	17.3	16.1	15.1	16.8	14.1	13.7	12.8	11.8	9.8	9.8	9	7.7	7.4	7.1	6.3	6.1	5.8
			13.5-22.6	12.5-20.8	11.7-19.2	13.2-21.1	11.1-17.7	11.0-17.0	10.4-15.7	9.6-14.1	8.1-11.7	8.2-11.7	7.6-10.7	6.5-9.0	6.3-8.7	6.1-8.3	5.5-7.3	5.3-7.0	5.0-6.7
	Zhangjiagang City	320582	20.5	19.1	17.7	16.3	14.8	15.5	14.8	14.6	14.7	13	10.5	9.7	8.4	7.3	7	6.7	6.6
			17.5-24.0	16.5-22.3	15.4-20.5	14.3-18.6	13.1-16.8	13.8-17.5	13.3-16.6	13.2-16.2	13.3-16.3	11.7-14.4	9.4-11.6	8.6-10.8	7.4-9.4	6.4-8.2	6.2-7.8	6.0-7.6	5.8-7.5
	Zhonglou District	320404	16.6	16.7	16.1	16.2	14.8	15.4	15.3	12.3	10.6	10.2	8.5	7.3	7.7	6.8	6	5.9	5.6
			14.1-19.4	14.3-19.5	14.1-18.7	14.2-18.6	13.1-16.9	13.7-17.4	13.7-17.1	11.1-13.7	9.6-11.7	9.1-11.3	7.6-9.5	6.5-8.2	6.8-8.7	6.0-7.6	5.3-6.8	5.2-6.7	4.9-6.4
Jiangxi	Anfu County	360829	47.3	45.3	43.4	43.2	43.1	43.5	40.9	37.8	34.9	32	29.4	28.4	26.7	26.4	25.4	24	22.6

Province	County	County Code (2012)	Under-5 Mortality Rate (per 1000 births)																
			1996	1997	1998	1999	2000	2001	2002	2003	2004	2005	2006	2007	2008	2009	2010	2011	2012
			40.7-54.6	39.6-52.0	38.2-49.2	38.5-48.3	38.8-47.9	39.0-48.3	36.6-45.4	33.8-42.0	31.2-38.7	28.4-35.7	25.9-33.0	24.9-32.3	23.5-30.4	23.4-29.8	22.7-28.5	21.5-26.8	20.3-25.1
	Anyi County	360123	55.3	50.4	43.1	38.1	33.6	32.7	30.7	26.4	23.1	19	15.6	15.2	14.4	13.8	13.8	13.3	12.8
			47.6-63.9	44.1-57.6	38.3-48.9	34.0-42.6	30.3-37.2	29.3-36.0	27.4-34.0	23.5-29.3	20.5-25.8	16.7-21.3	13.8-17.6	13.4-17.2	12.7-16.2	12.4-15.4	12.5-15.4	12.0-14.6	11.5-13.9
	Anyuan District	360302	29.9	29.9	27.4	26.2	23.5	23.5	23.4	22.3	19.5	18.1	18.1	18.8	17.6	16.9	16.4	14.6	12.8
			24.2-36.4	24.7-35.9	22.6-32.9	21.5-31.8	19.2-28.4	19.1-28.4	19.3-27.9	18.7-26.3	16.7-22.6	15.6-20.8	15.4-20.9	15.9-21.9	14.8-20.6	14.3-19.7	14.2-18.9	12.8-16.7	11.4-14.4
	Anyuan County	360726	110.4	97.9	91.1	77.3	65.6	48.1	39.8	31.3	25.5	26.2	29.5	30.6	32.3	31	28.1	24.5	22.1
			92.1-129.6	83.8-112.8	80.2-103.2	69.1-86.1	59.1-73.0	43.0-53.9	35.0-45.7	26.9-36.6	21.4-30.3	21.9-31.4	25.0-35.3	26.2-35.9	28.2-37.5	27.6-34.9	25.4-31.2	22.3-27.0	19.9-24.2
	Changjiang District	360202	54.5	50.9	46	37.1	43.5	36.8	33.8	26.4	25	26.1	25.6	23.9	23	21.6	17	15.5	13.9
			45.6-64.4	43.1-59.6	38.5-54.5	30.6-45.0	35.0-53.6	29.3-46.4	26.6-43.3	20.8-33.8	19.8-31.7	20.7-33.0	20.6-31.9	19.2-29.4	18.8-27.8	18.1-25.7	14.8-19.6	13.8-17.4	12.4-15.4
	Chongren County	361024	93.2	89.2	82.5	70.6	65.7	72.6	60.2	57.9	56.3	49.6	39.7	34.5	27.2	23	19.9	18.5	17.1
			78.5-109.4	76.2-103.5	70.5-96.2	59.6-83.1	54.7-77.7	60.2-85.3	50.1-71.2	49.1-67.4	48.7-64.5	42.9-56.7	33.6-46.0	29.0-40.6	22.7-32.3	19.2-27.2	16.9-23.3	15.9-21.4	14.9-19.6
	Chongyi County	360725	63.9	63.5	59.3	56.6	58.1	57	54	46	39.6	30.5	27.5	23.1	20.5	21.7	21.7	20.4	19.6
			53.5-75.7	54.3-74.2	51.6-68.6	49.7-64.3	51.8-65.4	50.6-63.6	47.7-60.6	40.5-52.0	34.8-44.7	26.5-35.1	23.7-31.7	19.8-26.8	17.6-23.8	18.7-25.1	18.9-24.9	17.8-23.2	17.2-22.2
	Dayu County	360723	63.3	59.9	53.9	48.2	42.5	39	35.8	32.7	31.3	28	23.9	23.4	21.9	24.5	24.2	24.6	24.7
			53.2-74.5	51.2-69.6	46.0-62.8	40.8-56.6	35.5-50.2	32.3-45.9	29.7-42.4	27.5-38.2	27.0-36.1	24.2-32.1	20.3-27.5	19.7-27.3	18.4-25.6	20.8-28.5	21.0-27.9	21.7-28.0	21.9-27.5
	De'an County	360426	43.5	40.3	39.2	37.4	35.9	33.4	30.7	25.2	19.9	15.3	13.3	12.2	11.8	13.2	12.7	11.8	10.9
			35.8-52.6	33.5-48.0	33.5-45.9	32.7-42.9	31.8-40.5	29.9-37.2	27.2-34.3	22.4-28.3	17.7-22.3	13.5-17.3	11.6-15.3	10.6-14.0	10.4-13.6	11.6-15.1	11.2-14.4	10.4-13.2	9.7-12.2
	Dexing City	361181	42.8	36.9	33.1	32.6	34.2	30.2	27.6	25	19.1	15.8	14.9	15.3	15.8	17.8	18.4	17.4	16.8
			35.9-50.6	31.5-43.2	28.7-38.3	28.4-37.1	30.2-38.6	26.6-33.9	23.9-31.3	21.8-28.5	16.6-21.7	13.7-18.2	12.9-17.1	13.2-17.7	13.7-18.1	15.5-20.4	16.2-20.9	15.4-19.6	15.0-18.7
	Dingnan County	360728	88	79.9	72.2	62.6	51.3	49.3	44.7	39.3	34.8	29.9	25.3	22.6	21.2	22.1	21.5	21.1	20.5
			72.8-103.7	67.6-92.6	62.7-82.3	55.6-69.9	46.2-57.0	44.3-54.8	39.7-50.8	34.4-45.3	29.9-40.2	25.6-34.9	21.7-29.6	19.6-26.4	18.6-24.3	19.8-24.8	19.6-23.8	19.3-23.0	18.6-22.4
	Donghu District	360102	24.7	21.5	21.8	19.9	16.3	14.5	12.5	10.6	10	9	9.6	10.3	11.9	12.6	13.5	13.8	13.9
			20.0-30.1	17.7-25.8	18.0-26.2	16.4-24.2	13.2-19.8	11.7-17.5	10.2-15.1	8.8-12.6	8.5-11.7	7.7-10.5	8.0-11.1	8.7-12.1	10.0-13.9	10.6-14.7	11.8-15.7	12.1-15.8	12.3-15.6
	Dongxiang County	361029	32.8	30.2	26.1	23.6	20.1	19.1	19.5	22.7	20.9	20.3	18.7	17.3	14.8	14.4	14.5	13.9	13.2
			27.3-39.2	25.5-35.7	22.2-30.7	19.9-27.8	16.9-23.7	15.9-22.4	16.5-22.7	19.6-26.0	18.5-23.5	18.3-22.6	16.5-21.0	14.9-19.6	12.8-16.8	12.5-16.5	12.9-16.3	12.5-15.4	12.0-14.5
	Duchang County	360428	52.7	50	46.3	48.5	43.1	47	42.2	37.3	32.1	31.8	29.3	28.9	29.6	28.7	28.2	25.6	23.7
			36.5-73.7	35.4-68.7	33.4-62.5	36.4-64.1	33.4-55.7	37.6-58.8	34.8-51.4	31.6-43.4	28.1-36.5	28.0-36.1	25.0-34.4	23.2-35.1	22.5-37.6	20.5-38.3	18.9-40.0	16.2-37.4	14.4-36.1
	Fengcheng City	360981	59.8	57.2	54.3	52.1	50.1	48.7	47.1	48.2	46.5	47.1	46.8	43.5	40.8	33.6	27	23.2	19.7
			52.5-67.5	50.4-64.8	47.7-61.7	45.4-58.9	43.6-56.9	42.6-55.2	40.7-53.5	41.9-54.9	40.5-53.0	40.9-54.0	40.7-53.5	37.6-50.2	35.1-47.4	28.8-39.0	23.5-31.2	20.4-26.5	17.5-22.2
	Fengxin County	360921	47.2	44.4	41.4	39.4	35.6	34	33.6	32.2	30	28.5	26.8	24.9	23.4	25.4	26	25.7	25.5
			40.9-54.3	39.0-50.6	37.0-46.8	35.2-44.1	32.0-39.4	30.5-37.4	30.0-37.2	28.9-35.8	26.9-33.5	25.5-31.8	23.8-29.9	22.0-28.1	20.7-26.3	22.7-28.5	23.3-28.9	23.3-28.5	23.0-28.2
	Fenyi County	360521	83.5	79	71.8	69	58.7	54.7	48.6	44.2	43.5	41.5	38.4	35.7	31.9	29.5	28.1	25.5	24.1
			69.5-98.0	67.0-91.3	62.2-81.8	61.0-77.9	52.2-65.5	48.9-61.1	42.8-55.0	38.5-50.9	37.2-50.5	35.2-48.3	32.8-44.6	30.6-41.4	27.8-36.7	26.2-33.4	25.3-31.5	23.2-28.3	21.7-26.5
	Fuliang County	360222	134.9	124.1	115.3	102.7	95.4	84.8	69.7	65.3	59.9	51	45.2	36.9	29.8	24.4	22	20	17.9
			117.4-154.7	109.3-141.3	102.8-130.4	91.7-114.9	85.7-105.9	76.5-93.3	62.6-76.8	59.0-72.1	54.0-66.0	45.5-56.6	40.3-50.7	32.7-41.6	26.5-33.5	21.8-27.4	19.7-24.6	17.9-22.2	16.0-19.8
	Gan County	360721	105.1	95.7	86.4	79.3	68.2	56.4	48.6	42.2	34.9	30.8	27.4	22.7	18.8	16.6	16.1	15.6	14.9
			85.6-124.9	80.5-111.6	74.9-98.7	70.5-88.9	61.4-75.3	50.6-62.8	43.2-55.3	36.7-49.1	29.9-40.7	26.1-36.4	23.3-32.5	19.4-26.6	16.3-21.8	14.6-18.9	14.3-18.0	13.9-17.3	13.2-16.6
	Gao'an City	360983	50	50.4	47.9	47.1	41.9	40.9	36.7	32.8	27.5	26	26.3	26	24.8	24.6	23.8	21.6	20.5
			41.3-59.1	42.5-58.4	41.5-54.6	41.7-53.2	37.3-46.7	36.5-45.6	32.5-41.7	28.6-37.8	23.5-31.9	22.0-30.4	22.5-30.6	22.2-30.2	21.6-28.6	21.9-27.9	21.5-26.7	19.6-24.0	18.6-22.7
	Gongqingcheng City	360482	33.1	31.9	30.9	27.3	26.6	27	25.6	24.9	24.7	21.6	18.5	16.2	18	15.4	15.8	14.4	13.2
			25.2-42.6	24.6-40.9	24.0-39.4	21.3-34.7	20.8-33.8	21.0-33.7	20.2-31.4	20.3-30.1	20.6-29.3	18.3-25.2	15.4-21.6	13.5-19.2	15.0-21.3	12.9-18.1	13.6-18.5	12.5-16.6	11.6-15.0
	Guangchang County	361030	57.9	54.1	48.2	41.3	34	28.9	26.6	24	22.5	21.6	24.2	20.6	19.7	19.1	17.7	16.2	14.6
			43.3-75.3	41.3-70.3	36.6-62.0	31.5-53.4	25.7-44.0	22.1-36.9	20.6-33.8	18.9-29.8	18.1-27.4	17.5-26.3	19.4-29.2	16.6-25.1	15.8-24.0	15.5-23.1	14.6-21.2	13.6-19.1	12.4-17.0
	Guangfeng County	361122	69.1	62.1	54.3	51.1	43.5	38.6	36	33.5	30.4	28.9	28.2	24.8	22.7	22.1	20.3	19.2	18.1
			57.1-81.4	53.1-72.0	47.4-61.8	45.2-57.1	39.1-48.3	34.7-42.9	32.0-40.8	29.1-38.6	26.1-35.6	24.6-34.2	24.2-33.2	21.4-28.9	19.9-26.0	19.8-24.7	18.5-22.5	17.5-21.0	16.4-19.8
	Guixi City	360681	56.6	53.1	49.2	46	42.1	37.7	35.1	34	31.5	28.4	25.9	22.5	19.4	17.6	16.5	15.7	15.4
			48.3-66.0	46.1-61.2	43.2-56.0	41.1-51.5	37.9-46.8	33.9-41.9	31.3-39.0	30.3-37.8	28.1-34.9	25.2-31.7	23.0-28.9	19.8-25.4	17.2-21.9	15.7-19.7	14.9-18.3	14.2-17.4	14.0-16.9
	Hengfeng County	361125	65	60.3	56.7	52	45.7	40	39.8	35.6	31.1	28.7	27.5	26.8	27.1	26.8	27.9	26.5	25.7
			55.9-75.3	52.7-69.3	50.2-64.6	46.1-58.3	41.0-50.9	35.8-44.4	35.4-44.3	31.5-39.9	27.5-34.7	25.2-32.2	24.2-31.1	23.5-30.5	24.0-30.6	24.0-30.1	25.2-31.0	23.9-29.1	23.3-28.1
	Huichang County	360733	106.5	96.1	88.8	80	75.6	70.2	68.6	65.7	63.3	58.1	48.9	43.5	35.6	29.7	27.8	25.9	25
			92.5-122.7	84.4-109.2	78.6-100.1	71.4-89.2	67.8-84.1	62.8-78.1	61.1-76.1	58.5-72.9	56.8-70.0	51.9-64.2	43.5-54.5	38.6-48.8	31.7-40.0	26.7-33.1	25.1-30.7	23.4-28.4	22.6-27.2
	Hukou County	360429	46.1	45.6	42.6	40.6	35.1	33.9	30.6	23.9	21.7	21.3	22.2	21.5	21	21.2	20.7	18.1	16.1
			38.7-54.6	38.9-53.2	36.3-49.8	34.3-47.6	29.3-41.5	28.1-39.8	25.5-36.3	20.2-27.9	18.6-24.9	18.4-24.3	18.8-25.5	18.1-25.0	17.7-24.5	18.0-24.7	17.9-23.8	15.9-20.6	14.3-18.0
	Ji'an County	360821	51.7	48.9	45.6	43.4	41.5	44.9	45.4	42.7	41.3	39.3	33.8	27.2	22.2	19.4	16.8	14.9	13.6
			43.3-61.4	42.0-57.1	39.8-52.4	38.4-49.2	37.2-46.1	40.5-49.6	40.7-50.1	38.4-47.2	37.2-45.4	35.1-43.4	30.1-37.7	24.1-30.4	19.7-24.9	17.5-21.6	15.2-18.6	13.5-16.4	12.3-14.9
	Jing'an County	360925	71.3	71.2	68.2	69.6	68	70.3	62.8	53.2	44.9	34.8	27.7	28.6	28.1	27.5	26.7	25.2	23.3
			61.4-82.5	62.3-81.6	60.5-77.4	62.1-78.0	61.3-75.4	63.4-77.0	56.3-69.4	47.7-59.0	40.0-50.0	30.7-39.1	24.3-31.4	25.1-32.5	24.9-31.8	24.4-31.0	23.9-29.9	22.6-27.9	20.9-25.7
	Jinggangshan City	360881	54.3	50.9	45.7	39.2	37.3	34.9	32	30	26.3	23.3	22.3	20.9	18.6	19.1	18.6	16.5	15.1
			46.5-62.9	44.5-58.7	40.4-52.3	34.6-44.1	33.4-41.7	31.2-38.8	28.5-35.7	26.7-33.5	23.3-29.3	20.5-26.1	19.7-25.3	18.3-23.8	16.4-21.1	16.9-21.5	16.6-20.7	14.8-18.3	13.6-16.7
	Jinxi County	361027	94.7	105.9	114.8	124	110.6	91.1	45.9	36.5	29.6	26.2	22.2	21.8	19.6	17.6	16.1	15.1	14.1
			82.0-109.1	92.8-120.6	102.1-128.4	111.6-137.6	99.5-122.3	81.4-100.9	40.8-51.2	32.0-41.2	25.7-33.6	22.6-29.9	19.2-25.3	18.8-24.9	17.1-22.3	15.6-19.8	14.4-18.0	13.6-16.6	12.7-15.4
	Jinxian County	360124	51.6	45.5	40.2	35.7	31.1	29.5	28.2	27.6	26.2	26.1	23.4	22	20.5	18.9	15.3	14.7	14.2
			40.1-64.8	36.3-56.4	32.7-49.0	29.8-42.6	26.7-35.9	26.0-33.2	25.5-31.3	25.0-30.5	23.9-28.7	23.7-28.6	21.1-26.0	19.6-24.6	18.3-22.9	17.0-21.1	13.8-16.9	13.3-16.2	12.7-15.5
	Jishui County	360822	59.4	55.9	54.4	49.5	50.3	47.1	44.5	43.5	40.5	34.4	29.9	30	22.8	17.4	15.1	13	11.1
			49.5-70.3	47.6-65.7	47.0-63.1	43.2-56.5	44.4-57.0	41.4-52.9	38.7-50.4	38.1-49.4	35.4-45.9	29.9-39.6	25.8-34.5	25.7-34.7	19.5-26.4	14.9-20.2	13.0-17.4	11.2-14.9	9.7-12.7

Province	County	County Code (2012)	Under-5 Mortality Rate (per 1000 births)																
			1996	1997	1998	1999	2000	2001	2002	2003	2004	2005	2006	2007	2008	2009	2010	2011	2012
	Jiujiang County	360421	70.1	75.3	78.1	84.6	81.3	72.6	49.7	38.8	26.3	22.2	17.7	15.8	14.9	14.1	13.7	13	12
			55.8-84.8	62.6-88.8	67.3-89.8	74.8-94.7	73.5-90.1	65.5-80.6	44.0-56.4	33.4-45.0	22.0-31.5	18.4-26.8	14.7-21.4	13.1-18.8	12.6-17.5	12.1-16.4	11.9-15.7	11.4-14.8	10.5-13.7
	Jizhou District	360802	39.9	40.6	40.7	40.9	35	36.3	28.2	20.1	18.5	18.7	17.8	19.2	19.1	18.8	17.5	15.6	14.3
			31.1-50.2	32.0-50.7	32.1-50.4	32.6-51.4	27.6-43.6	28.5-45.0	22.3-35.1	16.1-24.9	14.9-22.5	15.1-22.9	14.2-21.7	15.2-23.6	15.3-23.6	15.1-23.0	14.2-21.1	13.0-18.5	12.1-16.8
	Le'an County	361025	45.9	43.3	38.5	32.6	36.2	34.3	37.1	35.8	34.5	33.5	27.8	24.2	21.1	20	15.9	15.6	15.4
			36.8-56.4	35.1-52.7	31.2-47.1	26.3-40.3	28.9-44.2	27.5-42.0	30.0-45.0	29.6-42.8	29.1-40.5	28.4-39.1	23.2-32.5	20.0-28.8	17.5-25.2	16.6-23.7	13.4-18.7	13.4-18.1	13.4-17.7
	Leping City	360281	75.9	70.1	64	60	52.3	47.8	42.2	31.9	27.2	24.6	21.5	19.7	18.9	17.8	16.7	14.4	12.9
			62.7-91.4	58.9-83.1	55.2-74.8	52.7-68.4	46.7-58.5	43.2-52.7	37.9-46.6	28.6-35.5	24.2-30.2	21.6-27.7	18.9-24.5	17.2-22.6	16.6-21.5	15.7-20.3	14.8-18.8	12.8-16.1	11.5-14.3
	Lianhua County	360321	46.9	44.4	40.8	38.5	37.8	36.9	36.5	36.4	33.5	31.5	29.4	27.4	25.8	23.8	22.4	19.3	17.9
			40.5-53.9	38.9-50.8	36.0-46.2	34.4-43.1	33.9-41.9	33.2-41.0	32.6-40.3	32.6-40.3	30.1-37.0	28.0-35.0	26.2-32.8	24.1-30.9	22.9-29.1	21.3-26.7	20.2-24.8	17.5-21.4	16.2-19.7
	Lichuan County	361022	64.5	61.3	57.5	57	55.7	50.4	43.7	37.8	30	25.4	19.4	18.2	18.3	17.6	16.3	16.1	16.1
			51.8-79.1	50.3-74.1	48.4-68.1	49.1-65.9	49.2-63.1	44.9-56.2	38.8-48.6	33.6-42.5	26.7-33.6	22.3-28.8	16.9-22.3	15.7-21.0	15.9-21.1	15.3-20.3	14.3-18.7	14.1-18.1	14.3-18.2
	Linchuan District	361002	55.9	58.5	61.8	62.2	63.8	57.8	46.3	40	37	29.7	26.7	22.5	20	17.5	15.2	14.5	13.7
			46.2-65.8	49.4-67.9	53.5-70.5	54.6-70.3	56.1-71.3	51.3-64.6	40.6-52.5	34.8-45.9	31.9-42.8	25.5-34.5	22.9-30.9	19.5-25.9	17.6-22.8	15.8-19.6	13.9-16.8	13.2-15.9	12.4-15.0
	Longnan County	360727	73.7	68.4	63.9	60.7	61.8	66.4	62.9	64.3	59.9	50.8	45.1	35.7	27.6	24.1	24.4	22	20.9
			50.5-103.7	47.4-94.6	45.1-85.7	44.3-79.0	47.7-78.5	52.4-81.4	51.4-74.9	54.8-74.5	52.3-68.0	43.8-58.0	38.1-53.0	28.7-43.8	20.7-35.4	17.0-32.7	15.9-35.0	13.5-32.9	12.4-32.1
	Lushan District	360402	24.7	23.6	22	21.5	19.7	19.6	21.4	17.4	17.2	16.7	17.3	20.2	19.6	18.7	18.3	17.1	15.2
			19.9-30.3	19.2-28.7	18.0-26.8	17.7-26.1	16.3-23.6	16.2-23.4	17.7-25.5	14.4-20.6	14.5-20.2	14.3-19.6	14.8-20.1	17.4-23.1	17.2-22.3	16.5-20.9	16.4-20.5	15.3-18.8	13.7-16.7
	Luxi County	360323	75.3	73.7	70.2	63.6	51.1	48.3	37.6	32.6	32.1	32	28.6	29.4	26.1	24	22.1	19.3	16.9
			62.2-88.9	62.9-85.6	61.3-79.9	56.3-71.0	46.0-56.8	43.3-53.7	33.3-42.7	28.2-37.7	27.5-37.8	27.1-38.1	24.4-33.8	25.4-34.4	22.8-29.8	21.6-26.9	20.2-24.5	17.6-21.1	15.3-18.4
	Nanchang County	360121	77.5	72.1	64.8	59.9	58.2	55.4	48.6	38.2	33.5	27.1	21	19.1	17.4	13.4	12.7	11.9	11.5
			63.0-92.3	60.6-84.3	56.0-74.2	53.0-67.6	52.0-65.0	49.8-61.7	43.2-54.8	33.5-43.9	28.9-38.8	23.3-31.5	18.1-24.7	16.5-22.2	15.2-20.0	11.9-15.1	11.4-14.2	10.7-13.1	10.2-12.7
	Nancheng County	361021	152.6	147.1	137.2	130.3	108.7	91.3	85.8	68.5	57.3	45.8	33.6	24.1	24.5	22.7	21.6	20.7	20.1
			125.4-181.4	125.1-172.2	118.5-158.4	112.4-150.1	92.4-127.1	76.7-109.3	71.4-104.3	56.3-83.8	47.0-70.2	37.1-55.9	27.0-41.0	19.4-29.4	19.7-30.0	18.6-27.4	18.2-25.6	17.8-24.1	17.4-23.1
	Nanfeng County	361023	62.5	57.8	54.8	48	42.7	37	34.6	28.8	28.2	30.1	30.6	31	32.7	32.1	28.2	25.1	24
			50.8-74.8	48.9-68.0	47.0-63.9	41.2-55.6	36.2-49.9	31.0-44.0	28.9-41.7	23.9-35.2	23.4-34.2	25.0-36.0	25.7-36.5	26.0-36.8	27.7-38.6	27.6-37.3	25.0-31.9	22.7-27.9	21.7-26.2
	Nankang City	360782	68.7	67.2	62.2	59.1	55.6	53.4	50.8	46.6	44.3	46	40.8	33.6	28.4	24.6	18.8	17.1	15.9
			59.4-79.0	58.9-76.6	55.0-70.2	52.8-65.9	49.9-61.9	47.7-59.4	45.1-56.4	41.5-51.8	39.6-49.2	41.0-51.1	36.3-45.5	29.8-37.7	25.3-31.9	22.1-27.4	17.0-20.8	15.5-18.8	14.4-17.3
	Ningdu County	360730	62.4	60.5	57.6	56.5	59	53.5	51.9	48.9	44.3	37.4	32.7	27.9	24.7	21.9	20.2	19.1	18.2
			54.1-71.7	53.2-68.7	51.1-65.1	50.5-63.1	53.2-65.6	47.9-59.1	46.5-57.5	43.6-54.1	39.7-49.1	33.3-41.5	28.9-36.6	24.6-31.5	21.9-27.9	19.5-24.5	18.2-22.6	17.1-21.2	16.3-20.1
	Pengze County	360430	35.5	32.7	28.9	25.8	25.7	24.2	22.2	20.9	16.5	14.7	14.2	13.7	13.1	13.6	13.7	12.6	11.4
			30.2-41.5	28.4-37.9	25.4-33.2	22.8-29.1	22.9-28.9	21.6-27.1	19.6-25.0	18.5-23.6	14.5-18.5	12.9-16.6	12.4-16.3	11.9-15.7	11.5-15.0	11.9-15.4	12.1-15.4	11.2-14.1	10.2-12.7
	Poyang County	361128	60.3	59.2	57.5	52.4	49.8	43.6	36.5	34.8	30.1	27.6	26.4	24.8	24.1	24.7	24	23.2	22.7
			49.8-71.2	50.0-68.7	49.9-65.4	46.5-59.0	44.5-55.5	38.9-48.6	32.3-41.5	30.4-40.3	25.8-35.1	23.6-32.4	22.6-31.0	21.5-28.9	21.1-27.7	22.0-27.8	21.7-26.6	21.2-25.5	20.5-24.8
	Qingshanhu District	360111	34.3	31.8	30.1	30.3	30.2	28.4	28.2	23.2	20.9	19.7	18.7	16.2	15.9	15.7	13.9	14.4	14.4
			28.9-40.4	27.3-37.0	26.4-34.7	26.7-34.3	27.0-33.8	25.4-31.5	25.2-31.4	20.7-25.9	18.5-23.3	17.4-22.1	16.4-21.2	14.2-18.5	14.0-18.0	13.8-17.6	12.4-15.6	12.9-16.0	12.9-15.9
	Qingyuan District	360803	34.3	32.8	30.9	34.9	34.8	36.2	34.6	33.3	30.4	30.1	28.6	26.5	23.6	23.4	19.2	16.9	15.2
			24.1-47.3	23.6-44.4	23.1-40.9	27.4-44.4	28.4-42.1	30.8-42.1	30.3-38.8	29.9-36.7	27.7-33.4	27.1-33.4	24.8-32.8	21.8-31.7	18.4-29.5	17.2-30.5	13.4-25.9	11.1-23.8	9.5-22.5
	Qingyunpu District	360104	38.7	29	25.4	22.4	17.6	14.3	11.7	10	10.1	9.3	10.9	11.5	12.1	13.5	13.2	13	12.9
			29.9-49.2	22.6-37.1	19.7-32.2	17.4-28.6	13.6-22.3	11.1-18.1	9.1-14.7	8.0-12.3	8.2-12.2	7.6-11.0	8.9-12.9	9.4-13.8	10.0-14.5	11.2-16.0	11.2-15.5	11.3-15.1	11.3-14.7
	Quannan County	360729	68.1	60.8	56.8	59.4	51.9	51.4	44.9	40.6	31.7	33	27.7	30.7	31.2	30	26.3	23.1	22
			51.9-86.8	47.1-77.2	44.5-71.6	47.0-75.0	41.0-64.9	40.7-63.8	35.8-54.9	33.4-48.9	26.5-37.6	27.8-38.5	23.0-32.4	25.4-36.4	26.0-37.0	25.1-35.4	22.4-30.7	20.1-26.9	19.2-25.1
	Ruichang City	360481	61.7	61.7	60	57.6	51.8	43.7	34.2	26.1	20.2	18.5	16.9	15.2	15.3	15	13.9	13	12.1
			53.1-71.3	54.0-70.5	53.5-67.8	51.7-64.3	46.6-57.2	39.1-48.2	30.3-38.0	23.1-29.2	17.6-22.7	16.1-21.1	14.7-19.3	13.3-17.4	13.5-17.4	13.3-16.9	12.4-15.6	11.7-14.5	10.9-13.3
	Ruijin City	360781	59.9	55.3	52.8	52	52.8	51.6	51.6	49.6	48.4	45.3	38.6	32.4	29.6	25.3	22.9	22.7	22
			51.2-69.7	48.1-64.0	46.5-60.3	46.2-58.7	47.3-58.7	46.6-56.8	46.3-57.0	44.7-54.8	43.5-53.4	40.4-50.4	34.2-43.2	28.6-36.5	26.3-33.3	22.6-28.3	20.6-25.5	20.4-25.1	19.8-24.2
	Shanggao County	360923	65.3	62.5	58.3	54.1	48.6	45.7	39.3	33.2	29.5	26.6	22.8	21.8	20.6	20.8	21.2	20.8	20.7
			52.6-78.4	52.3-73.5	50.0-66.9	47.6-60.6	43.4-54.5	40.6-51.6	34.1-45.3	28.2-38.9	24.5-35.5	22.0-32.4	18.9-27.5	18.2-26.1	17.5-24.1	18.0-23.9	18.7-24.0	18.5-23.3	18.4-23.2
	Shangli County	360322	74.9	71.5	71.9	65.2	62	60.4	54.7	45.6	40.9	35.5	29.6	27.8	26.4	22.7	21.1	18.2	16
			61.3-89.0	60.4-83.3	62.2-82.0	57.6-72.9	55.7-68.5	54.4-67.0	48.7-62.0	39.9-52.5	35.3-47.6	30.4-41.6	25.4-34.8	23.9-32.4	23.0-30.3	20.2-25.6	19.0-23.4	16.5-20.0	14.3-17.6
	Shangrao County	361121	53.5	50	45.9	43.5	42.9	43.8	43.8	43	38.1	34.9	29.3	26.1	22.3	22.1	20.4	19.2	18.1
			45.6-62.3	43.5-58.0	40.4-52.7	38.7-49.2	38.5-47.8	39.4-48.3	39.3-48.5	38.6-47.7	34.1-42.2	31.0-39.0	26.0-33.1	22.9-29.6	19.7-25.2	19.5-24.9	18.2-23.0	17.1-21.5	16.1-20.0
	Shangyou County	360724	73.9	70.2	66.3	66.8	66.1	58	48.9	43.7	33.4	27.2	22.8	20.1	16.8	16.7	15.9	15.3	14.9
			60.3-87.8	59.1-81.9	57.3-75.7	59.2-75.0	59.5-72.9	52.3-64.5	43.5-55.5	38.3-50.5	28.7-39.0	23.1-32.1	19.4-27.0	17.1-23.6	14.5-19.5	14.6-19.1	14.0-18.0	13.5-17.2	13.1-16.9
	Shicheng County	360735	92.2	92.1	89.3	85.6	82	72.4	62.8	51.1	44	36.6	30.5	24	23.1	22.1	20	19.3	19.1
			79.2-107.0	80.4-105.8	79.5-101.3	76.5-95.3	73.9-90.7	65.1-79.8	55.9-69.8	45.4-57.0	38.7-49.5	32.0-41.6	26.6-34.9	20.9-27.7	20.2-26.3	19.3-25.1	17.7-22.7	17.1-21.7	16.9-21.2
	Suichuan County	360827	82.3	75.6	68.9	65.4	60.2	55.6	50.1	46.9	43.6	39.1	35.9	29.3	23.5	19.5	16.2	14.4	12.9
			68.6-96.5	64.0-87.3	59.8-78.5	57.6-74.0	53.4-67.3	49.7-62.0	44.2-56.7	40.9-53.8	37.6-50.5	33.6-45.4	31.1-41.7	25.6-33.8	20.7-26.5	17.5-21.7	14.8-17.8	13.1-15.7	11.6-14.0
	Taihe County	360826	52.1	48.9	44.4	42.9	38.2	34	30.7	27.5	24.3	23.8	23.7	21.9	19	20.9	18.9	17.8	16.7
			41.0-64.6	39.5-59.8	36.7-53.3	36.3-50.4	33.1-43.9	29.6-38.6	26.9-34.9	24.2-31.2	21.4-27.4	20.9-26.9	20.7-26.9	19.1-25.2	16.7-21.6	18.4-23.6	16.8-21.3	15.9-19.9	14.8-18.5
	Tonggu County	360926	47.6	45.7	42.1	39.3	34.6	30.7	29	27.1	27.8	28.7	27.2	25.7	22.3	18.7	19.1	19.1	18.8
			38.5-58.1	37.8-54.9	34.8-50.5	32.5-47.2	28.3-41.5	25.1-36.6	23.9-34.2	22.8-31.7	24.0-31.9	25.2-32.7	23.4-31.1	21.9-29.8	18.9-25.9	15.9-21.7	16.6-22.0	16.8-21.6	16.7-20.9
	Wan'an County	360828	61.4	58.7	53.6	50.5	45.9	42	40.6	40	40.5	38.7	36.9	32.8	28.2	24.9	19.9	17.7	16.1
			51.1-73.4	49.6-69.3	46.5-62.5	44.4-57.7	41.0-51.4	37.8-46.4	36.5-44.8	36.0-44.3	36.5-44.8	34.6-42.9	32.9-41.2	29.0-36.8	25.1-31.7	22.4-27.9	18.0-22.1	15.9-19.5	14.5-17.6
	Wanli District	360105	37.3	35.2	30.9	23.9	19.8	15.6	13.4	11.1	12.5	12.5	15.6	16.3	16.1	16.5	17.2	17.3	16.5

Province	County	County Code (2012)	Under-5 Mortality Rate (per 1000 births)																
			1996	1997	1998	1999	2000	2001	2002	2003	2004	2005	2006	2007	2008	2009	2010	2011	2012
			29.6-46.1	28.3-43.5	24.7-38.0	19.1-29.9	15.6-24.5	12.2-19.5	10.7-16.7	9.0-13.5	10.4-15.1	10.5-14.7	12.9-18.4	13.5-19.4	13.5-19.1	13.9-19.3	14.9-20.0	15.2-19.6	14.6-18.5
	Wannian County	361129	77.3	70.5	63.5	57.4	49.8	47.5	41	38.3	36.4	36.5	33.9	31.4	27.9	23.5	19.7	17.7	15.9
			63.7-91.7	60.0-82.1	55.2-72.3	50.7-64.0	44.7-55.2	42.6-52.9	36.4-46.7	33.2-44.1	31.1-42.8	30.9-43.5	29.0-40.0	27.0-36.6	24.4-32.2	21.0-26.4	17.8-21.9	16.0-19.4	14.3-17.5
	Wanzai County	360922	65.9	66.4	62.4	60.1	57.5	58.9	54.6	49	44.1	36.7	30	26.9	24.2	21.6	20.5	19.9	18.6
			57.2-75.7	58.2-75.5	55.2-70.4	53.4-67.2	51.4-64.1	52.6-65.7	48.7-60.6	43.4-54.5	39.4-48.9	32.7-40.8	26.6-33.5	23.8-30.3	21.6-27.3	19.4-24.1	18.6-22.8	18.1-21.9	16.9-20.4
	Wuning County	360423	65	55.3	47.3	37.9	34.5	29.8	29.8	29.3	26.1	22.9	23.8	23.8	23.7	21.8	18.9	15.4	13.3
			53.7-76.9	47.4-64.5	40.8-54.6	32.5-43.7	29.4-40.3	25.2-35.4	25.0-35.7	24.4-35.5	21.9-31.6	19.1-27.3	20.0-28.2	20.0-28.2	20.1-27.8	18.8-25.4	16.7-21.4	13.9-17.1	12.0-14.6
	Wuyuan Xia	361130	60.3	60.9	58.5	57.1	57.2	60.4	56.8	58.8	52.2	46.7	44.5	40	33.6	29.5	27	24.5	22.4
			52.0-69.5	53.3-69.7	51.5-66.3	51.0-63.8	51.6-63.5	54.5-66.7	50.9-62.8	52.8-65.0	46.9-57.5	41.7-51.7	39.6-49.5	35.5-44.9	29.9-37.7	26.5-32.9	24.5-29.9	22.2-26.9	20.3-24.4
	Xiajiang County	360823	59.1	58.7	56.2	49.8	50.4	48.3	45.8	42.7	44.7	37.1	30.8	29.1	23.9	20.9	20	18.4	16.4
			48.1-71.9	48.6-70.2	46.5-67.3	41.2-60.2	41.2-60.7	39.5-58.1	37.7-54.9	35.7-50.4	38.1-51.9	31.7-43.0	25.8-35.9	24.2-34.5	19.8-28.5	17.4-24.8	16.9-23.4	15.9-21.4	14.3-18.8
	Xiangdong District	360313	68.9	67.8	62	61.2	61.7	50.9	45.6	37.9	34	29.4	29.9	26.4	24.5	21.2	18	15.5	13.6
			57.3-81.9	57.4-79.7	52.4-73.1	51.5-72.4	51.2-73.0	42.0-60.5	37.7-54.5	31.7-44.9	28.9-39.8	24.9-34.4	24.7-35.2	21.7-31.4	20.2-29.4	17.5-25.3	15.1-21.2	13.2-18.2	11.7-15.7
	Xihu District	360103	31.8	27.7	23.8	23.9	22.6	21.2	21.3	18.4	17.1	14.7	15	13.8	12.3	12.6	12	12	11.9
			25.1-39.3	22.4-33.8	19.8-28.7	20.3-28.1	19.6-26.1	18.4-24.1	18.4-24.5	16.0-21.0	14.8-19.6	12.7-17.0	12.9-17.3	11.8-16.0	10.5-14.2	10.8-14.5	10.5-13.8	10.5-13.6	10.5-13.5
	Xinfeng County	360722	66.4	59.8	50.7	44.7	39.8	35.3	32.6	30.4	28.2	26.5	25.8	23.3	25.7	25.6	26.2	25	24.5
			56.6-77.3	52.0-68.9	44.6-57.6	39.9-50.1	35.8-44.0	31.8-39.1	29.1-36.1	27.2-33.7	25.1-31.4	23.4-29.6	22.7-29.0	20.4-26.5	22.6-29.1	22.8-28.9	23.4-29.3	22.4-27.9	22.1-27.2
	Xingan County	360824	64.6	61	54.3	50.6	47.5	41.1	37.5	31.1	32.5	29.8	29.9	33	32.4	28.5	24.8	20.3	16.9
			52.2-78.8	50.4-73.2	44.9-64.5	42.0-60.6	39.4-56.7	33.9-48.7	31.3-44.1	26.4-36.1	28.2-37.1	26.1-33.8	25.8-34.0	28.2-38.1	27.5-37.4	24.4-33.0	21.7-28.5	17.9-23.1	15.0-18.9
	Xingguo County	360732	70.3	66.9	64.2	66.7	67.3	64.9	67.2	65.9	65.2	64.6	61.7	58.4	50.6	47.7	39.4	36.2	33.6
			60.6-81.3	58.3-76.8	56.5-73.1	59.5-74.6	60.7-74.8	58.5-72.0	60.1-74.5	58.8-73.0	58.3-72.1	57.6-72.0	54.6-69.1	51.4-66.2	45.0-57.3	42.6-53.7	35.4-43.7	32.7-40.2	30.4-37.0
	Xingzi County	360427	41.1	40.2	39.1	36.5	34.1	34.5	30.2	26.8	23.9	20.7	16.4	16.5	15.4	14.6	13.4	11.9	10.4
			34.9-48.1	34.8-46.5	34.5-45.0	32.3-41.1	30.6-38.1	31.0-38.4	26.9-33.6	23.9-29.9	21.2-26.7	18.2-23.4	14.4-18.7	14.4-18.9	13.5-17.6	12.8-16.7	11.8-15.3	10.5-13.4	9.2-11.6
	Xinjian County	360122	76.6	66.9	58.9	51.3	43.9	37.5	29.7	28.1	26.6	22	19.7	17.1	14.5	11.3	10.8	10.3	9.6
			63.4-90.3	57.2-77.4	51.6-66.9	45.8-57.2	39.5-48.9	33.7-42.1	26.2-34.1	24.2-32.7	22.5-31.5	18.4-26.5	16.6-23.5	14.5-20.2	12.4-16.8	9.9-12.9	9.6-12.2	9.2-11.6	8.5-10.7
	Xiushui County	360424	37.8	34.7	30.7	25.4	23.8	20.7	19.5	17.9	17.2	14.7	13.4	14.1	13.4	13.7	14.5	14.4	14.6
			29.5-47.0	28.0-42.7	25.3-37.1	21.3-30.0	20.5-27.6	18.0-23.6	17.1-22.1	15.8-20.2	15.2-19.3	12.9-16.5	11.8-15.1	12.3-15.9	11.9-15.1	12.2-15.3	13.1-16.1	13.0-15.9	13.2-16.0
	Xunwu County	360734	92	86.5	77.6	72	62.6	51.3	43.6	40.5	32.8	29.6	28.3	26	22.6	20.5	17.8	15.9	14.1
			74.8-109.8	73.0-101.4	67.5-88.8	64.0-80.6	56.4-69.4	46.2-57.0	38.7-49.3	35.1-46.6	28.0-38.5	25.1-35.3	24.1-33.4	22.4-30.2	19.8-26.1	18.3-23.1	16.0-19.8	14.3-17.5	12.6-15.6
	Xunyang District	360403	38	42.3	39.4	42	40.8	42.3	38.2	28	22	24.1	20.5	16.3	16.5	17.1	14.2	14.4	13.5
			28.5-49.4	32.6-54.7	30.0-50.4	32.5-53.9	31.4-52.4	32.6-53.9	29.9-48.6	22.1-34.7	17.7-26.9	19.5-29.2	16.4-25.0	13.1-20.0	13.2-20.3	13.8-20.7	11.7-17.0	12.1-16.9	11.5-15.7
	Yanshan County	361124	83.9	75.9	65.9	59.6	50.6	46.2	41.7	37.5	28.9	23.7	22	20.1	19.3	19.4	20.3	18.9	18.4
			70.0-98.4	64.4-87.6	57.1-75.1	52.7-67.3	45.0-56.4	41.3-51.6	36.9-47.3	32.8-43.2	24.8-33.6	20.3-27.8	19.0-25.9	17.4-23.3	16.9-22.1	17.3-21.8	18.5-22.6	17.2-20.7	16.7-20.2
	Yifeng County	360924	52.8	50.6	47.4	46.1	43	42.5	44.8	45.2	44.3	41.9	38.5	31.2	28.3	23.7	22.6	21.3	20.5
			45.5-61.0	44.3-58.1	42.0-53.9	41.2-51.8	38.6-47.7	38.3-46.6	40.3-49.5	40.9-50.0	39.9-49.1	37.7-46.4	34.4-42.8	27.7-34.8	25.2-31.6	21.3-26.4	20.4-24.9	19.4-23.4	18.5-22.3
	Yihuang County	361026	56	51.9	47.6	43	39.6	35.1	33.7	32.6	32.2	31.6	31.1	30.1	28.5	27.1	26.6	25.8	25.7
			41.1-74.3	39.3-67.6	37.0-60.2	34.9-52.7	33.1-46.4	30.3-40.1	29.7-37.7	29.3-36.2	29.0-35.8	28.1-35.3	26.8-36.0	24.7-35.9	22.1-35.9	19.9-35.4	18.5-36.0	17.0-36.4	16.1-37.7
	Yiyang County	361126	75.6	74.8	72.4	70.1	68.8	63.5	62	55	46.4	36.8	32.9	28.7	26.3	25.4	25.4	22.7	21
			62.5-89.0	63.1-86.6	62.6-82.8	61.9-79.4	61.2-76.9	56.9-70.7	54.8-70.2	48.1-63.0	39.9-53.7	31.6-42.8	28.4-38.2	24.9-33.1	23.1-30.0	22.8-28.5	23.1-28.1	20.7-24.7	19.0-22.9
	Yongfeng County	360825	59	53.6	51.1	46.7	47.3	44.4	45	41.9	38.5	32.9	30.1	27	25.8	24.4	24.8	22.2	21
			42.0-80.5	39.0-72.0	38.4-66.9	36.7-59.0	38.9-57.1	37.9-51.6	39.5-50.4	37.8-46.3	35.0-42.3	29.5-36.5	26.0-34.8	22.2-32.2	20.0-32.4	17.9-32.0	17.1-33.6	14.5-31.4	13.0-30.9
	Yongxin County	360830	52.5	49.2	45.5	40.3	38.9	35.5	31.4	27.2	23.7	20.3	19.2	17.7	15.7	16.2	15.7	15.2	14.4
			42.7-62.7	41.6-57.6	39.4-52.0	35.6-45.1	35.1-43.1	32.0-39.3	28.0-35.6	23.6-31.3	20.2-27.8	17.2-24.2	16.3-22.7	15.2-20.7	13.7-18.2	14.4-18.2	14.2-17.4	13.8-16.7	13.0-15.7
	Yongxiu County	360425	48.4	47.7	44.8	41.8	36	34	29.2	22.8	22	21.5	18	16.4	14.4	12	11.8	10.8	10.1
			38.0-60.4	37.9-59.4	35.5-55.3	33.4-52.4	28.5-44.8	26.7-42.4	23.1-36.5	18.2-28.3	17.6-27.1	17.2-26.5	14.3-22.1	12.9-20.2	11.3-17.8	9.6-14.9	9.5-14.3	8.9-12.9	8.5-12.0
	Yuanzhou District	360902	47.1	44.7	41.9	41.4	35.1	30.2	29.6	27.9	26.9	27.7	27.2	28.5	27.2	25.3	21.8	20.8	19.7
			40.3-54.6	39.1-51.5	37.1-47.9	36.7-46.5	31.5-39.1	27.0-33.5	26.3-33.0	24.7-31.2	24.0-30.0	24.4-31.0	24.1-30.7	25.1-32.3	24.1-30.6	22.7-28.4	19.7-24.2	18.7-22.8	17.8-21.6
	Yudu County	360731	102.4	92.2	78.5	68.8	66	58.9	60.2	58.1	52.2	50.6	48.3	45.4	42.6	40.6	38.7	36.6	34.5
			85.9-119.0	78.5-106.3	68.4-89.4	60.5-77.7	58.2-73.7	52.4-65.9	52.8-68.0	50.6-66.6	44.6-60.4	43.0-58.6	41.0-56.0	38.7-52.7	36.7-49.2	35.5-46.6	34.4-44.1	32.8-41.4	30.8-38.6
	Yuehu District	360602	28.2	26	23.9	22.5	21	19.7	21	20.5	21.8	19.8	20	18.6	16.9	15.6	14.6	13.7	13.2
			21.3-36.6	19.9-33.3	18.5-30.3	17.7-28.2	16.7-26.1	15.8-24.1	17.2-25.2	17.3-23.8	19.0-24.7	17.7-22.2	17.6-22.4	16.1-21.2	14.5-19.4	13.4-17.9	12.8-16.8	12.1-15.5	11.8-14.7
	Yugan County	361127	73.8	69.8	64.8	58.1	54.3	51.1	43.4	36	32.8	29.1	23.3	26	28.9	30	30.8	30.7	30.8
			57.6-92.2	55.7-86.1	52.1-79.3	47.1-71.8	43.9-65.9	41.2-61.9	35.4-52.2	29.9-42.6	27.9-38.2	24.9-33.6	19.6-27.0	21.8-30.6	24.4-33.9	25.2-35.0	26.7-35.6	26.9-35.1	27.3-34.5
	Yujiang County	360622	56.5	54.2	49.3	47.6	48.4	51.8	52	48.7	45.3	43.8	39.2	33.1	29.6	27.6	21.3	19.2	17.9
			49.0-64.9	47.5-61.9	43.4-55.9	42.5-53.2	43.6-53.8	46.7-57.3	46.5-57.5	43.8-53.9	40.7-49.9	39.1-48.4	35.0-43.6	29.3-37.1	26.3-33.1	24.9-30.8	19.3-23.6	17.4-21.1	16.2-19.6
	Yushan County	361123	62.8	56.1	49.2	46.5	39.1	35.6	33	28.9	25.1	23.9	23.1	22.2	23.7	22.6	22.6	21.8	20.3
			52.1-73.8	47.7-64.9	42.9-56.0	41.2-52.1	35.2-43.5	31.9-39.5	29.2-37.5	25.1-33.3	21.5-29.6	20.3-28.3	19.7-27.3	19.1-25.9	20.7-27.3	20.2-25.5	20.5-25.3	19.8-23.9	18.4-22.3
	Yushui District	360502	54.4	52.6	50	51.8	50	45.5	40.6	35.8	31	27.1	26.5	25.5	21.6	19.6	17.8	16.2	14.8
			45.4-63.5	45.0-60.5	43.2-57.0	44.8-58.3	43.6-56.4	40.0-51.3	35.7-45.9	31.0-40.9	26.6-35.8	23.0-31.4	22.6-30.7	21.8-29.4	18.6-24.9	17.1-22.4	15.7-20.0	14.6-18.0	13.4-16.4
	ZhangGong District	360702	29.1	26.3	24	21.1	20.1	18.4	17.8	18.2	17.3	15.4	15.1	15	14	14.2	13.8	13.8	13.7
			22.6-36.6	20.9-32.6	19.2-29.6	17.0-26.0	16.2-24.7	14.9-22.4	14.5-21.2	15.3-21.4	14.9-19.9	13.4-17.6	13.0-17.3	12.7-17.4	11.8-16.3	12.1-16.4	12.1-15.9	12.2-15.6	12.2-15.3
	Zhangshu City	360982	74.2	72.6	68.8	65.2	65.2	60.2	60	58.3	54.7	48.6	41.3	30.4	27.8	22.6	17.9	17.7	16.9
			60.6-89.8	60.1-86.8	57.2-81.8	54.2-77.9	54.1-77.7	49.6-71.1	50.3-70.7	49.6-67.6	47.4-62.5	42.3-55.4	35.1-47.5	25.5-35.6	23.3-32.8	18.9-26.7	15.2-20.9	15.3-20.5	14.7-19.3
	Zhushan District	360203	54.3	53.2	48.7	39.3	40.2	33.6	32.1	27.6	26.1	24.8	24.6	21	20.6	18.3	15.9	15.2	14.4
			34.3-81.1	33.1-78.7	31.2-71.2	25.4-56.8	26.7-57.7	22.5-47.7	22.2-44.7	19.7-37.4	19.6-33.9	19.2-31.3	19.2-30.9	16.6-26.9	15.9-26.8	13.4-24.9	10.9-22.4	9.9-22.1	8.9-21.9

Province	County	County Code (2012)	Under-5 Mortality Rate (per 1000 births)																
			1996	1997	1998	1999	2000	2001	2002	2003	2004	2005	2006	2007	2008	2009	2010	2011	2012
	Zixi County	361028	59.9	56.9	52.1	47	42.8	38	37.9	29.5	28	22.6	20.1	17.7	18.7	16.6	17	16.1	15.1
			49.7-71.8	47.8-67.6	44.3-60.9	40.6-54.0	37.5-48.7	33.3-43.0	32.9-43.5	25.7-33.7	24.2-32.0	19.6-26.2	17.3-23.3	15.1-20.5	16.1-21.7	14.3-19.2	14.7-19.4	14.0-18.3	13.3-17.1
	xinzhou District	361102	21.8	20.2	19.2	19	18.9	18.1	18.2	14.9	14.6	11.7	10.3	9.9	9.6	9.5	9.6	9.4	9.1
			18.1-26.1	16.9-24.0	16.4-22.4	16.5-21.8	16.7-21.4	16.1-20.2	16.1-20.5	13.2-16.7	13.0-16.3	10.3-13.1	9.1-11.8	8.7-11.3	8.4-10.9	8.4-10.7	8.5-10.8	8.4-10.5	8.1-10.0
Jilin	Antu County	222426	27.7	26.4	25.2	23.2	21.4	19.7	19.1	17.5	16.4	15.4	15	13.6	13	11.8	10.9	10.4	10.2
			22.2-33.7	21.9-31.7	20.9-29.8	19.6-27.2	18.0-25.0	16.5-23.3	15.8-22.6	14.4-20.7	13.6-19.3	12.7-18.1	12.5-17.7	11.4-15.8	10.9-15.0	10.2-13.4	9.7-12.2	9.4-11.4	9.3-11.2
	Badaojiang District	220602	17.2	16.1	15.2	13.1	12.2	12.5	12.9	12.7	12.9	13.1	11.4	11	10.7	9.6	9.6	9.2	9.2
			13.7-21.0	13.3-19.4	12.6-18.0	11.1-15.4	10.3-14.3	10.4-14.7	10.8-15.4	10.5-15.1	10.7-15.2	10.9-15.4	9.4-13.4	9.1-12.8	9.0-12.3	8.3-10.9	8.5-10.8	8.3-10.2	8.3-10.1
	Zizhixian	220623	44.7	42.7	41.1	42.3	39.2	26.7	27.1	25.6	21.3	22.1	20.7	19.1	17.3	15.5	14.9	14.1	13.5
			35.0-56.3	34.7-52.4	33.7-50.1	35.0-50.9	32.2-46.9	21.7-32.1	22.0-32.8	20.2-31.2	16.9-26.1	17.4-27.6	16.1-25.8	15.1-23.7	13.9-21.2	12.6-18.7	12.5-17.7	12.0-16.4	11.7-15.6
	Changling County	220722	27.7	29.5	29.8	27.7	26.8	20	15.4	12.1	10.5	10.3	10.4	10.4	10.6	10.7	10	9.5	9.2
			23.1-32.8	24.8-34.5	25.3-34.3	23.6-31.9	22.9-30.8	17.2-22.9	13.3-17.7	10.4-13.7	9.0-12.0	8.9-11.8	9.0-11.8	9.0-11.9	9.2-12.2	9.4-12.2	8.9-11.3	8.6-10.6	8.2-10.2
	Changyi District	220202	19.2	19.4	18.1	18.6	17.7	15.9	15	15.5	15.7	15	13.6	12	11.5	9.4	8.2	7.8	7.5
			16.2-22.5	16.5-22.5	15.4-21.1	15.6-21.8	14.7-20.8	13.2-18.7	12.5-17.7	13.1-18.0	13.3-18.1	12.9-17.2	11.7-15.6	10.3-13.8	9.8-13.2	8.1-10.7	7.3-9.3	7.0-8.7	6.8-8.3
	Chaoyang District	220104	16.4	15.6	14.6	15.1	14.5	16.7	15.2	12.4	11.5	9.7	8.1	7.8	8.3	7.7	6.9	6.7	6.4
			10.7-24.1	10.4-22.3	9.9-20.7	10.8-20.7	10.6-19.4	12.7-21.7	11.7-19.3	9.8-15.4	9.5-13.8	8.1-11.5	6.7-9.7	6.4-9.4	6.6-10.4	5.8-10.0	5.0-9.5	4.4-9.6	4.0-9.4
	Chuanying District	220204	16.6	17.1	16.5	16.9	15.6	15.7	14.8	13.6	13.7	13.3	12.6	11.7	11.2	9.1	7.4	7	6.9
			13.2-20.4	14.0-20.4	13.8-19.2	14.3-19.5	13.3-17.9	13.5-18.1	12.5-17.2	11.2-16.2	11.3-16.5	10.8-16.1	10.2-15.3	9.5-14.2	9.2-13.5	7.6-10.8	6.3-8.8	6.1-8.1	6.0-7.9
	Da'an City	220882	27.6	26.6	26	23.7	22.6	18.4	17.4	14.5	13.3	12.8	13.5	13.2	13.5	13.6	12.9	11.8	11.1
			23.0-32.6	22.4-31.0	22.1-30.0	20.2-27.3	19.3-26.0	15.8-21.0	15.0-19.8	12.6-16.3	11.5-15.0	11.2-14.4	11.9-15.2	11.7-15.0	12.0-15.3	12.2-15.3	11.7-14.3	10.7-13.0	10.0-12.1
	Dehui City	220183	32	28.7	26	22.5	20.1	17.9	15.5	15.1	13.6	12.5	11.6	11.4	10.9	9.8	8.8	7.7	7.1
			26.8-37.6	24.3-33.4	22.1-29.9	19.1-25.9	17.1-23.1	15.3-20.4	13.4-17.6	13.1-17.0	11.9-15.3	10.9-14.1	10.2-13.1	10.0-12.9	9.6-12.3	8.7-11.1	7.9-9.8	7.0-8.5	6.4-7.8
	Dongchang District	220502	29.1	25.7	24.5	23.2	22.8	19.5	16.8	13.5	11.9	9.8	10.5	10.2	11.2	10.2	8.5	8.3	7.8
			22.8-36.3	21.0-31.2	20.2-29.2	19.5-27.3	19.0-26.9	16.1-23.1	13.6-20.0	10.8-16.3	9.4-14.5	7.9-12.2	8.3-12.9	8.2-12.4	9.1-13.4	8.5-12.0	7.3-9.8	7.3-9.5	6.9-8.8
	Dongfeng County	220421	24.9	25.4	25.2	24.2	23.5	23.2	22.4	17.5	16.1	14.6	12.9	10.8	11.7	10.8	11.2	10.5	10.3
			19.4-31.2	20.7-30.8	20.9-29.6	20.3-28.1	20.0-27.1	19.9-26.9	18.8-26.3	14.4-21.0	13.1-19.5	11.7-17.8	10.4-15.8	8.8-13.1	9.6-14.0	9.1-12.7	9.6-12.9	9.2-11.8	9.2-11.5
	Dongliao County	220422	21.5	20.6	20	20.3	19.7	19.2	18.7	18.3	17	16.3	14.7	13.4	12.5	10.9	9.6	8.5	7.9
			17.3-26.0	17.1-24.5	17.1-23.2	17.2-23.3	16.8-22.6	16.4-22.3	15.9-21.8	15.3-21.5	14.2-20.1	13.4-19.2	12.2-17.4	11.1-15.8	10.5-14.6	9.4-12.5	8.5-10.8	7.6-9.3	7.2-8.7
	Dunhua City	222403	26.6	27.3	28.1	28.7	27.3	25.7	22.7	22.4	21.2	20.3	18.6	17.1	15	13.5	11.9	11.1	10.3
			22.1-31.4	22.9-31.9	23.6-32.7	24.0-33.5	22.9-32.1	21.7-30.3	19.2-26.7	19.2-25.9	18.5-24.2	17.8-22.8	16.4-20.8	15.1-19.2	13.1-16.9	11.9-15.2	10.6-13.3	10.0-12.2	9.3-11.4
	Erdao District	220105	12.4	12	11.6	11.6	10.9	11.9	11.5	10.4	10.3	9.7	8.5	7.8	6.8	6.5	5.7	5.5	5.2
			9.6-15.6	9.7-14.9	9.4-14.1	9.6-14.0	9.0-12.9	9.8-14.2	9.4-13.7	8.4-12.5	8.4-12.3	7.9-11.7	7.0-10.3	6.4-9.3	5.7-8.0	5.6-7.5	5.1-6.5	4.9-6.1	4.7-5.7
	Erdaojiang District	220503	22	21.1	19.7	18.1	18	16.4	14.5	13.1	13	10.3	9.9	9.2	9.2	9	7.8	7.7	7.5
			18.0-26.4	17.4-25.2	16.4-23.4	15.1-21.6	14.8-21.5	13.5-19.7	11.9-17.5	10.9-15.6	10.7-15.5	8.5-12.1	8.2-11.6	7.7-10.9	7.6-10.9	7.5-10.6	6.6-9.2	6.6-9.0	6.4-8.7
	Fengman District	220211	15.8	15	13.9	13.2	13.1	12.7	11.6	10.9	9.6	8.9	7.8	7.3	6.7	6.3	5.6	5.6	5.3
			13.0-18.8	12.5-17.7	11.7-16.3	11.1-15.5	11.0-15.4	10.6-14.9	9.8-13.7	9.3-12.7	8.2-11.1	7.7-10.1	6.7-8.9	6.3-8.4	5.8-7.7	5.5-7.3	4.9-6.3	4.9-6.3	4.7-5.9
	Fusong County	220621	25.7	23.4	22.4	18.4	16	14.1	14.1	12.5	13.4	14.5	15.4	15.1	15.9	15.4	13	11.4	10.8
			21.4-30.6	19.4-27.6	18.6-26.3	15.4-21.8	13.3-18.9	11.6-16.7	11.7-16.7	10.5-14.5	11.3-15.6	12.4-16.8	13.2-17.8	13.0-17.5	13.7-18.1	13.4-17.6	11.5-14.7	10.3-12.7	9.7-11.9
	Fuyu County	220724	28.7	27.3	24.9	26.3	25.6	22.9	23	21.7	18.7	15.4	13.6	11.8	10.6	9.8	9.9	9.4	9.4
			24.0-33.9	23.0-31.9	21.1-28.8	22.4-30.4	21.8-29.4	19.7-26.2	19.9-26.1	18.9-24.4	16.3-20.9	13.6-17.2	12.0-15.2	10.4-13.3	9.4-12.0	8.7-11.0	8.9-11.0	8.5-10.4	8.5-10.3
	Gongzhuling City	220381	20.6	19.9	20.1	20.7	20.1	18.2	16.1	14	11.2	10.7	10.4	10.5	10.5	10.4	10.3	9.8	9.8
			17.1-24.3	16.6-23.3	17.0-23.4	17.6-24.2	17.1-23.4	15.5-20.9	13.9-18.5	12.2-15.8	9.8-12.8	9.5-12.1	9.2-11.8	9.2-12.1	9.1-12.0	9.1-11.9	9.1-11.6	8.8-11.1	8.7-11.0
	Helong City	222406	32.1	32.9	30.5	31.6	29.7	28.6	21.5	22.5	20.8	18	17.1	15	13.7	13.3	12.4	11.7	11.6
			24.8-40.9	26.3-41.0	24.7-37.6	25.9-38.3	24.3-36.0	23.2-34.6	17.4-26.2	17.8-27.7	16.5-25.6	14.1-22.6	13.3-21.4	11.8-18.6	10.9-16.8	10.8-16.1	10.3-14.8	10.0-13.8	10.0-13.4
	Huadian City	220282	21.6	20.1	18.5	16.2	15.1	13.8	13.4	12.3	11.9	11.5	11.8	10.9	11.8	11.4	10.8	9.9	9.5
			18.0-25.5	17.0-23.5	15.6-21.3	13.8-18.7	12.9-17.4	11.8-15.8	11.6-15.3	10.8-13.9	10.4-13.5	10.2-13.0	10.4-13.4	9.6-12.4	10.4-13.4	10.1-13.0	9.6-12.2	8.9-11.0	8.6-10.4
	Huichun City	222404	22.4	22.8	23.6	22.4	21.9	23.6	20.8	17.5	19.4	17.9	16.5	16	14.4	12.1	10.6	9.9	9.2
			17.5-28.1	18.5-28.0	19.3-28.6	18.5-26.7	18.3-25.9	19.6-27.9	17.2-24.6	14.3-20.9	15.9-23.2	14.6-21.5	13.4-19.9	13.1-19.0	11.9-17.0	10.3-14.1	9.2-12.1	8.8-11.1	8.2-10.3
	Huinan County	220523	33.5	30.5	27.9	25.4	23.3	19.5	18.5	17.1	14.7	13.9	12.2	10.8	10.6	11.1	10.3	9.7	9.7
			27.9-39.5	25.8-35.6	23.7-32.2	21.6-29.3	19.8-26.7	16.8-22.3	16.0-21.1	14.9-19.2	12.7-16.5	12.2-15.6	10.8-13.7	9.6-12.2	9.4-11.9	9.9-12.4	9.2-11.4	8.8-10.7	8.8-10.6
	Ji'an City	220582	27.3	25	22.8	20.1	18.5	17.8	18.1	18.8	20.1	19.9	18.8	18	17.3	16.6	15.9	15.5	15.3
			22.1-33.1	20.9-29.7	19.1-26.7	17.0-23.6	15.5-21.8	14.9-21.0	15.1-21.5	15.5-22.2	16.7-23.7	16.5-23.4	15.5-22.0	15.1-21.0	14.7-20.0	14.3-19.0	14.1-17.9	13.9-17.2	13.8-16.9
	Jiangyuan County	220605	31.5	31.2	30.4	26.4	23.5	21.6	22.3	20.3	20	20.3	17.2	14.8	14.2	14.3	12.9	11.7	11
			24.8-39.2	25.5-38.0	25.0-36.7	22.0-31.5	19.6-27.7	17.9-25.7	18.2-26.5	16.2-24.4	16.1-24.1	16.4-24.8	13.8-21.0	12.0-17.8	11.6-16.9	12.0-16.9	11.1-14.9	10.3-13.4	9.7-12.3
	Jiaohe City	220281	26	24.8	23.9	22.2	21.2	18.8	15.4	14.8	14.8	13.7	13.8	13	13	12.1	11.9	11.1	10.6
			21.7-30.8	20.9-29.0	20.3-27.7	18.9-25.8	18.0-24.5	16.1-21.6	13.3-17.6	13.0-16.8	12.9-16.8	12.1-15.5	12.2-15.6	11.4-14.8	11.4-14.9	10.6-13.8	10.6-13.4	9.9-12.4	9.6-11.8
	Jingyu County	220622	42.9	41.5	41.3	37.4	35.4	29.9	27.5	19.8	17.2	15.8	13.4	13.5	13.7	13.9	12.8	11.8	11.2
			35.6-51.0	34.7-48.9	34.7-48.4	31.4-43.9	29.5-41.8	24.8-35.4	22.9-32.8	16.6-23.4	14.4-20.3	13.1-18.4	11.2-15.7	11.3-16.0	11.3-16.2	11.6-16.5	10.7-15.1	10.0-13.9	9.6-13.1
	Jiutai City	220181	25.6	22.9	20.4	19.5	17.7	18	18.4	17.7	16.4	14.2	12.5	11.4	10	9.2	8.8	8	7.6
			21.3-30.1	19.2-26.8	17.1-23.8	16.3-22.8	14.9-20.7	15.4-20.7	15.8-21.2	15.4-20.2	14.4-18.6	12.6-15.8	11.1-13.9	10.1-12.7	8.9-11.3	8.2-10.3	8.0-9.8	7.2-8.8	6.9-8.4
	Kuancheng District	220103	15.2	14.4	13.9	14.6	13.8	14.6	13.4	12.2	9.9	8.4	7.4	6.7	6.4	6.1	5.7	5.4	5.2
			11.9-19.1	11.7-17.5	11.5-16.4	12.2-17.0	11.7-16.0	12.4-16.9	11.2-15.8	10.0-14.7	8.0-12.1	6.7-10.3	5.9-9.1	5.4-8.2	5.2-7.7	5.1-7.3	4.8-6.7	4.7-6.2	4.6-5.9
	Linjiang City	220681	29.3	28.5	28.6	26.6	25.8	25.8	27.3	23	22.6	21.9	19.9	17.8	15.4	14	12.9	12	11.7
			22.6-37.1	22.9-35.2	23.4-35.0	21.9-32.1	21.3-30.7	21.2-30.7	22.5-32.5	18.5-27.7	18.3-27.2	17.6-26.7	15.9-24.4	14.5-21.6	12.6-18.6	11.6-16.6	11.0-15.1	10.4-13.8	10.3-13.3
	Lishu County	220322	22.8	22.1	21.8	21.8	21.2	21.9	21.5	19.1	18.2	16	13.7	11.9	10.5	9.8	9.7	9.5	9.7

Province	County	County Code (2012)	Under-5 Mortality Rate (per 1000 births)																
			1996	1997	1998	1999	2000	2001	2002	2003	2004	2005	2006	2007	2008	2009	2010	2011	2012
			18.6-27.5	18.4-26.2	18.3-25.7	18.2-25.5	17.8-25.1	18.3-25.7	18.1-25.6	16.0-22.8	15.0-21.6	13.3-19.0	11.5-16.1	9.9-14.0	8.9-12.5	8.3-11.4	8.4-11.2	8.4-10.7	8.6-10.9
	Liuhe County	220524	29.9	27.3	24.6	22	19.3	14.9	16.4	16.5	16.1	16.7	16.5	15.2	14.2	14	12.2	11.4	10.8
			25.0-35.3	23.1-31.9	20.8-28.7	18.5-25.6	16.2-22.7	12.5-17.5	13.8-19.3	14.1-19.2	13.9-18.3	14.5-18.8	14.6-18.6	13.4-17.1	12.5-16.0	12.3-15.6	10.9-13.6	10.3-12.6	9.8-11.8
	Longjing City	222405	27.7	30	29.9	28.3	27.9	27.8	22.7	19	16.6	15.4	13.3	11.8	11.9	11.9	11.1	10.6	10.4
			21.6-34.8	24.4-36.4	24.8-35.1	23.7-32.8	23.8-32.2	23.9-32.2	19.0-26.7	15.6-22.8	13.5-20.2	12.4-18.8	10.7-16.2	9.6-14.3	9.8-14.3	10.0-14.0	9.5-12.8	9.3-12.0	9.2-11.6
	Longshan District	220402	17.6	17.6	16.9	16.4	15.2	15.1	15	13.8	13.4	12.4	11.8	10.7	10.2	8.7	7.9	7.3	6.9
			13.8-22.0	14.3-21.4	13.9-20.3	13.7-19.4	12.8-17.9	12.6-17.8	12.4-17.6	11.3-16.2	11.0-15.7	10.3-14.6	9.8-13.9	9.0-12.6	8.6-11.8	7.6-10.0	7.0-8.9	6.6-8.1	6.3-7.6
	Longtan District	220203	15.8	15.6	14.1	13.6	13.4	13.7	13.7	14.1	13.9	13.4	12.5	11.8	10.6	9.9	9	8.8	8.2
			12.2-19.9	12.6-19.2	11.5-17.2	11.2-16.2	11.1-15.9	11.3-16.4	11.5-16.2	11.8-16.5	11.6-16.1	11.2-15.8	10.4-14.7	10.0-13.8	8.9-12.1	8.5-11.3	7.9-10.2	7.9-9.7	7.5-9.0
	Luyuan District	220106	14.3	13.7	12.6	11.2	9.9	10	9.7	8.3	9.2	8.8	7.9	7.3	6.7	5.7	5.2	5.1	4.8
			11.4-17.6	11.4-16.5	10.4-14.9	9.5-13.2	8.3-11.6	8.3-11.8	8.0-11.5	6.8-9.9	7.6-10.9	7.3-10.4	6.5-9.3	6.1-8.6	5.7-7.8	4.9-6.5	4.6-5.8	4.6-5.6	4.4-5.3
	Meihekou City	220581	27.3	26.3	24.4	22.5	20.5	17.4	14.3	13.1	11.8	11.1	10.6	10.4	10.5	9.7	9.7	9.2	8.9
			22.7-32.1	22.3-30.7	20.7-28.1	19.1-25.9	17.5-23.5	15.0-19.9	12.3-16.3	11.4-14.8	10.3-13.3	9.7-12.4	9.4-11.9	9.3-11.8	9.3-11.9	8.7-10.9	8.7-10.7	8.3-10.1	8.1-9.8
	Nanguan District	220102	13.9	13.2	12.7	12.6	12	12.5	12.3	9.4	9.5	8.8	7.9	7.7	7.6	7.1	6.3	6.4	6.1
			11.5-16.5	11.0-15.7	10.5-14.9	10.4-14.9	9.8-14.5	10.1-15.3	9.8-15.1	7.5-11.7	7.6-11.8	6.9-10.8	6.1-9.8	6.0-9.6	6.0-9.5	5.7-8.9	5.0-7.8	5.2-7.7	5.0-7.4
	Ningjiang District	220702	17	16.2	15.7	15.8	15.1	14.3	14.4	14.5	11.2	10.4	8.7	8.2	8	7.3	7.2	7.2	7.5
			14.2-20.1	13.7-19.0	13.3-18.3	13.3-18.5	12.7-17.8	12.0-16.8	12.0-16.9	12.4-16.9	9.6-12.8	9.1-11.8	7.7-9.8	7.2-9.3	7.0-9.1	6.4-8.2	6.4-8.0	6.5-8.0	6.8-8.2
	Nong'an County	220122	24.5	21.9	19.7	18.6	17	15.2	15.1	13.5	11.7	11.1	10.4	9.1	8.6	9.4	9.7	9.2	9
			20.5-28.8	18.5-25.4	16.7-22.6	15.9-21.5	14.5-19.6	13.0-17.3	13.1-17.3	11.8-15.2	10.2-13.2	9.7-12.4	9.1-11.7	8.0-10.3	7.6-9.8	8.3-10.5	8.7-10.8	8.4-10.2	8.2-9.9
	Panshi City	220284	20.9	20.3	19.4	18.6	18.3	16.6	15.7	15.2	14.5	14.4	13.1	12.8	11.4	10.2	9.7	9.3	9.1
			17.0-25.1	16.9-24.0	16.5-22.5	15.9-21.5	15.6-21.2	14.2-19.3	13.3-18.3	12.7-17.9	12.1-17.2	11.9-17.0	10.9-15.5	10.7-15.1	9.6-13.3	8.8-11.8	8.5-10.9	8.3-10.3	8.3-10.2
	Zizhixian	220721	23.4	23.2	22.4	22.2	20.5	17.9	17.5	17.8	14.6	14.4	13.7	12.8	10.8	12.1	12.1	11.8	12
			19.5-27.6	19.6-27.2	19.0-25.8	18.9-25.7	17.4-23.5	15.4-20.5	15.1-19.9	15.5-20.0	12.8-16.5	12.6-16.1	12.1-15.4	11.3-14.5	9.5-12.2	10.7-13.7	10.9-13.5	10.7-13.1	10.8-13.2
	Qian'an County	220723	31.6	31	28.7	26.1	25.8	24.5	24.3	23.4	24.1	21.1	19.9	18.9	17.6	16.2	14.9	13.8	13.3
			25.5-38.5	25.6-36.9	24.2-33.3	22.1-30.0	21.9-29.5	21.0-28.2	20.7-28.1	19.6-27.5	20.0-28.4	17.3-24.9	16.4-23.6	15.6-22.3	14.8-20.6	14.0-18.6	13.1-16.7	12.5-15.3	12.0-14.5
	Shuangliao City	220382	24	23.8	22.9	21.3	19.7	18.7	14.7	13.4	12.2	12.5	11.7	12.1	11.7	11.4	10.9	10.4	10.5
			20.0-28.5	20.0-28.0	19.2-26.8	17.8-24.9	16.5-23.2	15.6-22.1	12.3-17.4	11.4-15.7	10.4-14.1	10.7-14.3	10.1-13.3	10.5-13.9	10.1-13.3	9.9-13.0	9.5-12.3	9.3-11.6	9.4-11.6
	Shuangyang District	220112	25.4	23.9	22.8	22.9	24.2	25.1	23.4	21.6	18.4	15.8	13.4	12.1	11.4	10.6	9.8	9.2	8.6
			21.2-29.9	20.0-28.1	19.0-26.7	19.2-26.8	20.4-28.4	21.4-29.0	20.2-27.0	18.8-24.7	16.1-20.8	14.0-17.6	12.0-14.9	10.7-13.5	10.2-12.8	9.5-11.8	8.9-10.8	8.4-10.2	7.8-9.4
	Shulan City	220283	24.6	23	21.3	20.4	19.6	18.5	18.9	18.4	19.4	18	17.9	16.3	14.6	13.3	12.3	11.4	11
			20.6-29.1	19.3-27.0	18.1-24.9	17.1-23.8	16.5-23.0	15.7-21.7	16.1-22.0	15.8-21.2	16.8-21.9	15.8-20.2	15.9-20.2	14.4-18.2	12.9-16.5	11.7-14.9	10.9-13.6	10.3-12.6	10.0-12.1
	Taobei District	220802	18.8	17.4	16	17	16.4	16.4	15.8	15.1	13.2	11.9	12.2	12.4	12	11.7	9.9	9.4	9
			14.9-23.4	14.2-21.1	13.2-19.2	14.1-20.1	13.7-19.4	13.6-19.4	13.0-18.7	12.2-17.9	10.8-15.8	9.8-14.4	10.0-14.7	10.2-14.8	9.9-14.0	10.0-13.5	8.6-11.2	8.4-10.4	8.1-10.0
	Taonan City	220881	29.1	27.4	26.3	23.5	21.7	20.5	18.7	17.7	17.9	16.5	16	17.4	16.1	16	15.3	13.9	13.3
			24.3-34.3	23.0-32.0	22.2-30.7	19.8-27.4	18.3-25.4	17.3-24.1	15.9-21.8	15.1-20.5	15.5-20.3	14.5-18.5	14.1-17.9	15.5-19.4	14.1-18.1	14.1-18.0	13.7-17.0	12.6-15.3	12.0-14.6
	Tiedong District	220303	21.4	20.2	19.8	17.7	14.6	13.8	13.1	11.3	10.9	11.5	10	9.7	9.6	8.4	8.2	8	8.2
			16.5-27.1	16.3-24.9	16.2-24.1	14.6-21.3	12.1-17.4	11.3-16.4	10.7-15.7	9.0-13.7	8.8-13.2	9.2-14.0	8.0-12.3	7.9-11.7	7.9-11.5	7.0-9.9	7.0-9.4	7.1-9.1	7.3-9.2
	Tiexi District	220302	17.9	18.6	18	16.4	13.4	13.3	11.5	9.6	9.9	10.4	9.4	8.9	9.7	9.1	7.4	7.3	7.1
			13.5-23.2	14.5-23.5	14.4-22.5	13.3-20.4	10.9-16.5	10.7-16.3	9.2-14.1	7.7-11.9	7.9-12.2	8.2-13.0	7.3-11.7	7.1-11.0	7.8-11.8	7.4-10.9	6.2-8.7	6.2-8.5	6.2-8.2
	Tonghua County	220521	35.3	31.3	28.2	22.9	19.5	16.2	14.4	12.8	11.7	10.9	10.9	10.4	10.7	10.2	9.8	9.4	9.3
			29.7-41.6	26.4-36.6	23.9-32.9	19.3-26.8	16.4-22.9	13.6-19.1	12.1-16.9	10.9-14.9	10.0-13.4	9.4-12.4	9.6-12.3	9.1-11.9	9.3-12.1	8.9-11.6	8.6-11.0	8.4-10.4	8.4-10.3
	Tongyu County	220822	27.5	26.7	26.3	23.3	22.8	18.7	16.3	16.7	16.9	15.7	15.6	14.1	14.3	12.4	11.2	10.3	9.8
			23.0-32.5	22.4-31.3	22.2-30.6	19.6-27.2	19.2-26.7	15.8-21.9	13.8-19.1	14.3-19.4	14.7-19.2	13.7-17.5	13.8-17.4	12.5-15.9	12.6-16.1	11.0-13.9	9.9-12.4	9.3-11.4	8.9-10.7
	Tumen City	222402	22	22.5	21.6	20.4	20.5	20.1	18.1	16.9	17.1	14.7	13.2	13.5	12.5	12.1	11.9	11.5	11.5
			17.2-27.6	18.3-27.3	18.0-25.5	17.0-23.8	17.4-23.8	16.9-23.5	14.9-21.5	13.7-20.5	13.7-20.9	11.7-18.0	10.5-16.1	10.9-16.3	10.2-15.0	10.1-14.3	10.2-13.7	10.1-13.0	10.3-12.8
	Wangqing County	222424	29.3	29	28.3	25	21.3	22.1	18	19.5	19.6	16.6	15.8	15.9	12.8	11.5	11.6	11	10.5
			24.3-34.8	24.3-34.2	23.8-33.2	20.9-29.5	17.8-25.2	18.4-26.0	15.1-21.4	16.4-22.9	16.7-22.9	14.2-19.0	13.6-18.0	13.6-18.3	10.9-14.6	9.9-13.3	10.0-13.2	9.7-12.4	9.3-11.8
	Xi'an District	220403	19.3	19.2	18.7	19.5	19.2	18.8	20.9	20.2	18.5	16.6	15.2	13.2	11.7	10.3	9.3	8.5	8.2
			14.4-25.4	14.9-24.4	14.9-22.9	16.0-23.5	16.0-22.8	15.8-22.1	17.6-24.4	16.8-23.8	15.4-21.7	13.7-19.7	12.5-18.1	10.9-15.7	9.8-13.8	8.8-11.9	8.1-10.5	7.6-9.5	7.4-9.2
	Yanji City	222401	23.4	22.8	22.3	21.3	20.5	22	18.5	18.3	16.2	13.7	12.2	11.6	10.2	9.5	9.3	9	8.9
			18.6-29.0	18.8-27.8	18.7-26.5	17.9-24.9	17.2-23.9	18.6-25.5	15.7-21.3	15.6-21.4	13.6-18.8	11.5-16.0	10.2-14.3	9.8-13.6	8.6-11.8	8.1-10.9	8.2-10.5	8.1-10.1	8.0-9.8
	Yitong Manzu Zizhixian	220323	18.6	18.9	18.4	17.2	17.5	15.6	14.8	13.3	12.5	12.2	11.9	11.6	12.5	12.2	12.7	12.6	13
			14.9-22.7	15.4-22.5	15.3-21.5	14.5-19.8	15.1-20.1	13.4-17.9	12.5-17.1	11.1-15.6	10.3-14.7	10.1-14.4	9.7-14.2	9.6-13.7	10.5-14.6	10.5-14.1	11.1-14.4	11.3-14.0	11.7-14.4
	Yongji County	220221	23.6	21.7	20.3	18	17.6	18.7	18	17.7	17.8	17.5	14.8	14.3	12.9	11	10.4	9.4	9.1
			19.7-27.8	18.3-25.3	17.2-23.4	15.3-20.8	15.0-20.3	16.1-21.4	15.6-20.5	15.5-19.9	15.6-20.1	15.4-19.6	13.1-16.7	12.7-16.2	11.4-14.6	9.7-12.3	9.3-11.5	8.6-10.4	8.2-10.0
	Yushu City	220182	33.5	29.4	26.3	21.6	17.1	14.6	13	11.7	12.3	12	11.6	10.6	10.2	9.3	9.4	8.9	8.7
			27.8-39.2	24.8-34.3	22.4-30.5	18.4-25.0	14.6-19.8	12.5-16.8	11.2-14.8	10.2-13.2	10.7-13.9	10.5-13.4	10.3-13.0	9.5-12.0	9.0-11.5	8.3-10.4	8.4-10.4	8.1-9.8	7.9-9.5
	Zhenlai County	220821	28.8	29.2	29.5	30.9	30.3	30.5	26.8	22	18.6	17.3	16.2	16	15.6	15.3	13.7	12.5	11.8
			24.0-34.1	24.6-34.2	25.0-34.2	26.2-35.7	25.8-34.8	26.1-34.9	23.1-30.5	19.3-24.8	16.2-21.0	15.2-19.3	14.3-18.1	14.2-18.1	13.8-17.6	13.6-17.2	12.4-15.2	11.3-13.8	10.7-12.9
Liaoning	Baita District	211002	20.2	18.9	18.2	18.7	16.5	15.6	15.3	14	11.8	12.7	11.7	10.4	9.7	9.2	9.4	9.5	9.5
			16.6-24.2	15.7-22.8	14.9-22.0	15.2-22.7	13.4-19.9	12.9-18.6	12.7-18.2	11.9-16.4	10.0-13.6	10.9-14.6	9.8-13.5	8.7-12.1	8.1-11.4	7.7-10.8	7.8-11.0	8.0-11.1	8.0-11.0
	Bayuquan District	210804	19.9	19.6	18.9	17.1	15.7	14.9	13.8	12.8	10.6	10.1	9.8	9.8	9	8.5	8.2	7.8	7.4
			17.1-23.1	16.7-22.7	16.1-22.0	14.4-20.1	13.3-18.4	12.8-17.2	12.1-15.7	11.5-14.2	9.8-11.6	9.3-10.8	9.0-10.7	8.7-10.7	7.9-10.0	7.5-9.5	7.3-9.2	6.9-8.7	6.6-8.3
	Beipiao City	211381	25.6	24.2	23	22.8	22.1	21.8	20.6	19.2	17.6	16.9	15.7	14.6	14.6	12.9	11.9	11	10.3
			22.4-29.4	21.2-27.9	20.1-26.5	19.8-26.2	19.4-25.1	19.3-24.5	18.4-22.8	17.6-20.9	16.3-18.9	15.7-18.1	14.5-17.1	13.3-16.2	13.1-16.3	11.5-14.4	10.5-13.3	9.7-12.3	9.1-11.5

Province	County	County Code (2012)	Under-5 Mortality Rate (per 1000 births)																
			1996	1997	1998	1999	2000	2001	2002	2003	2004	2005	2006	2007	2008	2009	2010	2011	2012
	Beizhen City	210782	20.2	20.2	19.5	18.8	17.7	16.5	16.7	14.7	12.8	13.7	12.4	10.4	10.1	8.8	7.8	7.1	6.6
			17.2-23.7	17.3-23.7	16.5-22.9	15.7-22.1	14.8-20.8	14.1-19.3	14.5-19.3	12.8-16.6	11.5-14.3	12.3-15.2	10.9-13.9	9.0-11.9	8.6-11.6	7.5-10.2	6.6-9.0	6.0-8.2	5.6-7.6
	Benxi Manzu Zizhixian	210521	24.4	22.7	20.9	20.4	19	18.1	17.3	15.9	14.1	12.6	11	11.7	12.5	12.1	11.4	10.4	9.6
			21.2-28.0	19.6-26.1	17.9-24.0	17.4-23.6	16.2-22.0	15.7-20.9	15.2-19.6	14.3-17.7	13.0-15.4	11.6-13.6	10.0-12.0	10.4-12.9	11.0-14.0	10.6-13.6	10.0-12.9	9.1-11.7	8.4-10.8
	Changhai County	210224	28.4	27.4	27.1	27.5	26.7	24.6	22	21.7	18.9	18.3	16.6	13.6	10.7	9.4	8.7	8.1	7.8
			23.0-34.4	22.5-33.3	22.1-33.0	22.2-33.5	21.5-32.4	20.3-29.5	18.3-26.1	18.5-25.3	16.4-21.7	15.9-20.7	14.3-19.0	11.6-15.7	9.0-12.5	7.9-11.0	7.3-10.1	6.9-9.5	6.6-9.1
	Changtu County	211224	20.6	20	18.8	18.3	16.7	15.9	16.3	15.2	14.8	14	13.2	11.9	11	10.1	10	9.1	8.6
			18.0-23.6	17.5-23.0	16.4-21.6	15.9-21.1	14.7-19.1	14.1-18.0	14.6-18.1	13.8-16.6	13.6-16.1	12.9-15.2	12.1-14.5	10.7-13.2	9.8-12.3	9.0-11.3	8.9-11.1	8.2-10.1	7.7-9.5
	Chaoyang County	211321	27.3	26.1	24.9	23.4	21.9	19.7	17.7	15.7	14.8	13.3	10.9	11.3	11.4	10.7	10.4	9.5	9
			23.9-31.3	22.8-30.0	21.6-28.6	20.4-26.9	19.2-24.9	17.3-22.0	15.9-19.5	14.3-17.1	13.7-15.9	12.3-14.4	10.0-12.0	10.2-12.5	10.2-12.8	9.5-12.0	9.1-11.7	8.4-10.7	7.9-10.0
	Dadong District	210104	19.6	17.9	18.3	16.6	14.8	15.5	14.8	15	14.8	14.6	14	12.8	11.5	9.9	8.3	7.8	7.1
			13.4-26.9	12.8-24.0	13.4-23.9	12.8-21.1	11.8-18.2	13.0-18.3	12.8-16.7	13.6-16.5	13.7-16.1	13.2-16.1	12.2-16.1	10.8-15.1	9.3-14.1	7.6-12.6	6.1-11.0	5.5-10.6	4.8-9.7
	Dashiqiao City	210882	26.6	26.7	26.5	25.1	23.7	22.8	20.2	18.7	17.4	16.6	15	14.8	13.6	12.7	11.8	11	10.4
			23.1-30.6	23.3-30.6	23.0-30.5	21.8-28.9	20.6-27.2	20.0-25.8	18.0-22.6	16.9-20.6	15.9-18.9	15.2-18.0	13.6-16.4	13.3-16.4	12.2-15.2	11.4-14.2	10.5-13.1	9.9-12.2	9.3-11.4
	Dawa County	211121	23.4	22.8	21.6	21.5	21	18.9	19.2	18.4	17.4	16.1	16.2	15.7	14.9	13.9	13.3	12.1	11.3
			20.2-26.9	19.8-26.3	18.6-24.9	18.6-24.7	18.4-23.9	16.8-21.3	17.2-21.4	16.7-20.1	16.0-19.0	14.6-17.7	14.5-18.0	13.9-17.6	13.2-16.7	12.3-15.5	11.8-14.8	10.8-13.5	10.0-12.7
	Dengta City	211081	20.6	20.4	20	20.9	20.2	20.8	19.5	18.7	16.2	15.2	12.9	12.6	12	11.7	11.7	11.3	11
			17.6-23.9	17.4-23.9	17.2-23.3	18.0-24.2	17.6-23.1	18.3-23.5	17.4-21.5	17.2-20.5	15.0-17.4	14.1-16.5	11.8-14.2	11.4-14.0	10.7-13.4	10.4-13.1	10.3-13.1	9.9-12.6	9.7-12.3
	Diaobingshan City	211281	18.9	19.2	18.4	17.7	17.5	17.2	17.1	16.8	15.3	14.6	13.4	12.6	12	10.8	9.7	8.9	8.3
			16.5-21.8	16.9-22.1	16.0-21.1	15.4-20.3	15.3-19.9	15.1-19.3	15.3-18.8	15.4-18.3	14.2-16.5	13.6-15.8	12.3-14.5	11.4-13.9	10.7-13.4	9.6-12.0	8.6-10.9	7.9-10.0	7.3-9.3
	Donggang City	210681	29.7	27.7	26.4	26.2	24.5	21	21.2	18.2	18.6	18.4	16.8	16.4	14.4	13.9	12.4	11.5	10.8
			25.7-34.2	24.0-31.9	22.8-30.5	22.7-30.3	21.2-28.1	18.4-23.9	18.8-23.7	16.4-20.2	16.9-20.4	16.8-20.1	15.3-18.5	14.7-18.3	12.8-16.1	12.3-15.5	11.0-13.8	10.3-12.7	9.7-11.9
	District?Hunnanxin	210112	16.2	16.1	16.1	15.8	16.2	16.1	14.8	15	15.2	13.3	13.3	12.4	11.2	11.5	10.6	10.7	10.3
			13.6-19.2	13.6-18.9	13.5-18.9	13.1-18.7	13.4-19.1	13.7-18.8	12.9-17.0	13.3-16.8	13.9-16.7	12.3-14.5	12.1-14.6	11.0-13.7	9.8-12.6	10.1-13.0	9.2-12.0	9.4-12.1	9.0-11.6
	Dongzhou District	210403	16.9	18	17.7	16.1	14.6	13.4	13.7	12.5	12.5	11.9	11.5	10.6	9.6	8.4	8.1	7.9	7.8
			14.1-20.1	15.2-21.4	14.9-20.9	13.3-19.0	12.0-17.1	11.3-15.7	11.8-15.7	11.0-14.1	11.2-13.8	10.8-13.1	10.2-12.8	9.3-11.9	8.3-10.9	7.3-9.6	7.0-9.3	6.8-9.0	6.7-8.9
	Faku County	210124	18.1	18.1	17.5	17.1	18	17.9	17.7	18.2	17.3	15.6	14.5	13.8	13.4	12.9	12.5	11.8	11.5
			15.6-21.0	15.6-21.1	15.1-20.4	14.8-19.8	15.7-20.7	15.8-20.2	15.8-19.6	16.7-20.0	16.1-18.7	14.5-16.8	13.4-15.8	12.5-15.3	12.1-15.0	11.5-14.4	11.1-13.8	10.6-13.1	10.3-12.7
	Fengcheng City	210682	29.3	27.1	25.9	23.7	23.3	21.8	20.6	20.6	19.1	17.8	16.9	15.7	14.2	12.8	11.5	10.3	9.6
			25.3-33.9	23.6-31.3	22.4-29.9	20.3-27.4	20.2-26.8	18.8-25.1	17.9-23.6	18.1-23.3	17.2-21.3	16.2-19.5	15.4-18.5	14.2-17.4	12.7-15.8	11.4-14.3	10.3-12.9	9.2-11.4	8.6-10.6
	Fushun County	210421	28.4	27.4	26	25.4	23.7	23.3	21.1	21.5	19.6	18	15.5	16.1	13.6	12	11.7	10.4	9.6
			24.8-32.6	23.9-31.6	22.6-29.9	22.1-29.1	20.9-27.0	20.5-26.2	18.9-23.4	19.7-23.4	18.2-21.1	16.6-19.5	14.1-17.0	14.4-17.9	12.1-15.3	10.6-13.6	10.2-13.2	9.0-11.8	8.3-10.8
	Zizhixian	210921	23.9	23.2	23	24.1	23.4	24.8	24.7	22.6	20	18.7	17.4	15.4	15	13.5	13.1	11.9	11
			20.8-27.4	20.1-26.7	19.9-26.5	20.7-27.7	20.1-26.7	21.7-28.0	22.1-27.6	20.4-24.9	17.9-22.1	16.5-21.2	15.1-19.8	13.2-17.6	12.9-17.1	11.7-15.3	11.5-14.7	10.6-13.2	9.8-12.1
	Gaizhou City	210881	26.8	27.3	27.2	27.4	25.4	22.7	20	17.2	16.2	15.3	15.3	14.6	14	12.5	12.2	11.2	10.6
			23.2-30.8	23.7-31.4	23.6-31.4	23.8-31.6	22.1-29.2	19.9-25.8	17.8-22.4	15.4-19.0	14.7-17.6	14.0-16.7	13.9-16.8	13.1-16.3	12.5-15.7	11.1-14.0	10.9-13.6	10.1-12.5	9.4-11.6
	Ganjingzi District	210211	20.5	20.4	20.8	20.7	18.7	18.1	16.8	15.3	12.6	11.9	10.4	9.2	7.7	6.9	6.2	6	5.7
			14.4-27.7	15.0-26.8	16.0-26.7	16.5-25.5	15.7-22.4	15.6-20.7	15.0-18.8	14.0-16.7	11.6-13.6	10.8-13.2	9.1-11.8	7.7-10.9	6.2-9.4	5.3-8.7	4.6-8.0	4.3-7.9	3.9-7.6
	Gongchangling District	211005	24.1	24.3	23.9	23.3	23.8	23.3	24	20.6	21.6	16	14.7	12.4	11.9	10.9	10.9	10.1	9.6
			19.6-29.2	20.1-29.2	19.7-28.8	18.9-28.0	19.4-28.3	19.6-27.4	20.7-27.7	18.2-23.3	19.4-23.8	14.4-17.5	13.1-16.2	10.8-14.0	10.3-13.6	9.4-12.4	9.3-12.4	8.7-11.5	8.3-11.0
	Guta District	210702	19.4	18.4	17.6	17.1	15.3	16.3	15.4	14.3	14.2	13.4	11.7	11.1	10.2	8.9	7.9	7.6	7.1
			16.3-22.9	15.7-21.7	14.8-20.7	14.3-20.1	12.8-18.0	14.0-19.0	13.5-17.6	12.8-15.9	13.0-15.5	12.4-14.4	10.6-12.7	9.9-12.3	8.9-11.4	7.7-10.0	6.9-8.9	6.7-8.7	6.2-8.1
	Haicheng City	210381	18.9	18.5	18.1	17.8	18.3	18.8	18.4	17.4	17.1	15.9	14.9	14.7	14.3	13.4	13.2	12.6	12.1
			16.3-21.8	16.1-21.4	15.6-20.9	15.3-20.6	15.7-21.2	16.1-21.9	15.8-21.4	15.1-20.1	15.0-19.3	14.1-17.9	13.2-16.7	13.0-16.6	12.5-16.3	11.8-15.4	11.6-14.9	11.1-14.3	10.7-13.6
	Haizhou District	210902	23.4	22.2	21.6	21.3	19.4	19.2	16.7	13.1	11.1	8.4	7.7	7.4	7.1	7	7.7	7.2	6.7
			18.9-28.6	18.1-27.1	17.7-26.4	17.2-25.7	15.8-23.2	16.1-22.6	14.3-19.5	11.4-15.0	9.8-12.5	7.4-9.4	6.6-8.7	6.3-8.5	6.0-8.3	5.9-8.2	6.5-9.1	6.0-8.5	5.7-7.9
	Zizhixian	211324	35.4	34.3	32.5	28.2	24.3	22.2	18	17.1	16.6	15.1	14.2	16	15.5	14.7	13.9	12.5	11.8
			30.5-40.9	29.6-39.7	27.8-37.6	24.1-32.8	20.7-28.2	19.1-25.7	15.8-20.5	15.3-19.1	15.1-18.2	13.8-16.4	12.8-15.6	14.1-17.8	13.5-17.5	12.8-16.7	12.1-15.8	10.9-14.2	10.3-13.3
	Heishan County	210726	20	19.2	18.5	16.9	16.9	17.2	16.4	15	14.4	13.8	12.9	12.6	11.8	10.7	10.8	10.3	10
			17.3-23.1	16.5-22.2	15.8-21.4	14.3-19.8	14.4-19.7	14.8-19.8	14.4-18.6	13.5-16.6	13.2-15.7	12.8-14.9	11.7-14.0	11.3-14.0	10.4-13.1	9.4-12.1	9.5-12.2	9.1-11.6	8.8-11.2
	Heping District	210102	18	17.9	16.6	16.4	15	15.4	15.4	14.4	14.8	13.2	11.9	10.4	9.3	8.4	7.9	7.8	7.3
			12.3-24.9	12.7-24.2	12.1-21.9	12.6-21.1	12.0-18.6	12.9-18.3	13.3-17.4	13.0-15.7	13.7-16.1	11.9-14.5	10.4-13.5	8.8-12.3	7.5-11.3	6.5-10.7	5.9-10.4	5.6-10.4	5.0-10.0
	Hongwei District	211004	25	23.9	24.5	24	22.5	23.5	21.8	19	16.7	14.6	13	11.8	10.9	10.7	11.2	10.8	10.2
			17.0-35.2	16.6-32.6	17.5-33.0	17.7-32.0	17.3-29.3	18.5-29.7	17.7-26.8	15.8-22.9	14.3-19.6	12.3-17.2	10.7-15.7	9.4-14.8	8.3-14.0	7.9-14.3	7.9-15.3	7.4-15.0	6.8-14.7
	Huanggu District	210105	19.8	19	18.3	16.8	15.3	15.8	14.9	14.3	14.8	14.7	12.1	11.2	10.6	9.6	8.4	8.6	8.5
			13.5-27.8	13.4-25.7	13.2-24.5	12.6-22.1	12.0-19.7	12.8-19.6	12.4-17.9	12.4-16.5	13.2-16.6	13.1-16.6	10.4-14.1	9.3-13.6	8.4-13.3	7.1-12.4	6.0-11.2	5.9-11.8	5.7-11.8
	Zizhixian	210522	25.6	23.8	22.8	21	19.3	18.5	18.5	17.3	16.3	15.5	16.4	15.7	14.6	12.8	12.5	11.1	10
			22.3-29.4	20.5-27.3	19.6-26.3	18.0-24.3	16.4-22.4	16.0-21.2	16.3-20.8	15.7-19.1	15.0-17.6	14.4-16.6	15.0-17.7	14.1-17.3	12.9-16.3	11.3-14.4	11.0-14.0	9.7-12.4	8.8-11.2
	Jianchang County	211422	30.4	29.8	29.4	28.3	27.4	24.2	23	22.1	22.8	21.3	21	19.1	17.9	15.9	15	14	13.3
			26.5-34.9	26.1-34.2	25.4-33.7	24.3-32.5	23.5-31.4	21.0-27.8	20.3-25.8	20.1-24.3	21.0-24.6	19.7-22.9	19.2-22.8	17.1-21.1	15.8-20.0	14.0-17.8	13.1-16.9	12.3-15.8	11.7-15.0
	Jianping County	211322	26.1	23.6	23.1	21.1	21.6	21.2	20.7	19.7	19.5	18.4	18.4	17.5	17	16.2	15.3	13.9	12.9
			22.8-30.1	20.7-27.2	20.1-26.6	18.4-24.3	18.9-24.6	18.6-23.9	18.5-23.2	17.8-21.7	17.8-21.3	16.7-20.1	16.7-20.3	15.7-19.6	15.1-19.0	14.4-18.2	13.6-17.1	12.4-15.5	11.6-14.3
	Jinzhouxin District	210213	19.6	20.3	20.6	20.4	20.2	20	18.9	16.5	14.7	11.5	9.2	7.7	6.7	6.1	6.2	6	5.9
			17.1-22.6	17.7-23.1	18.0-23.7	17.6-23.4	17.6-23.1	17.4-22.9	16.6-21.5	14.7-18.4	13.4-16.1	10.7-12.4	8.4-9.9	7.0-8.5	6.0-7.4	5.5-6.8	5.5-6.9	5.3-6.7	5.2-6.5
	Kaiyuan City	211282	21.2	20.5	19.8	19.4	17.8	18.1	18.5	17.9	17.5	16.5	15.3	13.6	13.3	11.7	10.4	9.2	8.2

Province	County	County Code (2012)	Under-5 Mortality Rate (per 1000 births)																
			1996	1997	1998	1999	2000	2001	2002	2003	2004	2005	2006	2007	2008	2009	2010	2011	2012
			18.5-24.3	17.9-23.6	17.3-22.8	16.9-22.3	15.7-20.4	15.9-20.5	16.5-20.7	16.2-19.7	16.0-19.0	15.1-17.9	13.9-16.7	12.2-15.1	11.9-14.9	10.4-13.1	9.3-11.6	8.2-10.2	7.3-9.0
	Kangping County	210123	22	22.2	21.6	21.2	22.3	22.2	21.5	20.7	20.4	18	16.7	16.3	15.4	14.2	13.4	12.5	12
			15.1-30.4	15.9-29.7	16.0-28.4	16.3-27.2	17.8-27.5	18.7-26.2	18.9-24.3	18.7-22.7	18.5-22.1	16.0-20.1	14.4-19.2	13.6-19.2	12.5-18.5	11.2-17.4	10.3-16.8	9.3-16.0	8.7-15.7
	Zizhixian	210624	29.4	27.2	26.2	25	23.8	21.7	19.6	20	19.1	17	17.1	16.1	14.8	13.7	12.8	11.4	10.3
			25.6-34.0	23.8-31.2	22.7-30.2	21.8-28.9	20.7-27.3	19.0-24.6	17.5-21.9	18.1-22.0	17.5-20.7	15.6-18.4	15.7-18.8	14.5-17.8	13.3-16.6	12.2-15.3	11.4-14.2	10.2-12.7	9.2-11.4
	Laobian District	210811	25.4	24.1	23.3	22.9	22.1	20.8	18.2	16.7	14.3	12.8	11.4	10.9	12.3	12.7	12.2	11.5	11.2
			21.5-30.0	20.5-28.4	19.6-27.5	18.9-27.2	18.3-26.1	17.5-24.5	15.5-21.3	14.4-19.3	12.5-16.3	11.3-14.5	9.7-13.0	9.2-12.6	10.4-14.3	10.7-14.8	10.3-14.3	9.7-13.4	9.4-13.0
	Lianshan District	211402	21.6	20.9	20.7	18.7	17.2	16.8	14.5	15.3	14.9	13.2	11.1	11	9.3	9.4	9.2	8.8	8.5
			17.7-26.1	17.3-25.1	17.1-24.9	15.3-22.3	14.2-20.3	14.2-19.7	12.6-16.6	13.7-17.0	13.7-16.3	12.2-14.2	10.1-12.2	9.7-12.2	8.1-10.4	8.2-10.6	8.0-10.4	7.7-10.0	7.4-9.6
	Liaoyang County	211021	27.5	27.3	26.1	25.2	23.4	22.2	21	18.4	16.3	14.7	13.3	12.2	11.2	10.7	10.2	9.4	8.8
			24.0-31.6	23.9-31.1	22.7-29.9	21.8-29.0	20.4-26.8	19.4-25.5	18.4-23.9	16.3-20.6	14.7-17.9	13.6-15.9	12.2-14.4	11.1-13.3	10.1-12.4	9.6-11.8	9.1-11.3	8.3-10.4	7.8-9.7
	Liaozhong County	210122	22.3	19.6	19.5	19.4	19.6	19	18.5	18.1	17.5	16.2	14.8	13.5	11.6	10.4	9.7	9.3	9.1
			15.3-30.4	14.0-26.2	14.4-25.5	15.1-24.5	15.9-23.9	16.1-22.3	16.4-20.9	16.5-19.7	16.2-19.0	14.6-18.1	12.8-16.9	11.3-16.0	9.3-14.2	8.1-13.2	7.3-12.7	6.7-12.3	6.2-12.2
	Linghai City	210781	19.8	18.9	18.9	17.5	16.7	14.9	14.1	11.2	10	8.5	7.3	6.4	6	6.4	6.5	6.5	6.7
			16.8-23.1	16.2-22.3	16.3-22.0	15.1-20.2	14.6-19.0	13.1-16.7	12.6-15.5	10.2-12.3	9.2-10.8	7.8-9.2	6.6-8.1	5.7-7.2	5.3-6.8	5.6-7.3	5.7-7.5	5.6-7.4	5.8-7.6
	Linghe District	210703	17.1	16.8	16.3	15.1	13.4	12.3	11.5	10.1	8.9	7.4	6.7	6	5.6	5.9	6.1	5.9	5.8
			14.5-20.1	14.4-19.9	14.0-19.1	13.0-17.5	11.7-15.3	10.8-13.9	10.3-12.8	9.2-11.0	8.3-9.6	6.9-8.1	6.1-7.4	5.4-6.7	5.0-6.3	5.2-6.6	5.3-6.9	5.1-6.6	5.1-6.6
	Lingyuan City	211382	28.2	28.6	27.7	27.1	25.1	23.8	20.7	18.9	17.8	17.6	16.5	16.3	15.7	13.9	13.2	11.7	10.9
			24.3-32.6	24.7-32.9	23.9-32.0	23.4-31.5	21.7-29.0	20.6-27.2	18.3-23.4	16.7-21.1	16.0-19.7	15.8-19.5	14.7-18.3	14.4-18.3	13.8-17.8	12.3-15.8	11.6-14.8	10.5-13.1	9.7-12.1
	Lishan District	210304	18.1	17.6	17.3	17.2	15.4	16.4	16.3	15.6	15.2	14.8	13.5	11.7	10.3	8.5	7.1	6.7	6.3
			15.5-20.9	15.0-20.4	14.8-20.2	14.6-20.0	13.1-17.9	14.1-19.0	14.3-18.4	14.1-17.1	14.0-16.4	13.7-15.9	12.3-14.6	10.5-12.9	9.1-11.5	7.5-9.6	6.3-8.0	5.9-7.5	5.6-7.0
	Longcheng District	211303	16.9	16.5	16.6	14.9	14	13.5	13.6	12.4	13.4	12.5	12.2	12.3	12.3	11.5	11.2	10.4	9.8
			14.2-20.1	13.9-19.6	13.9-19.7	12.3-17.8	11.6-16.6	11.3-15.8	11.7-15.7	10.9-14.1	12.1-14.9	11.4-13.7	11.0-13.5	10.9-13.7	10.8-13.8	10.1-13.0	9.8-12.7	9.1-11.7	8.6-11.1
	Longgang District	211403	20.9	20.4	19.9	17.8	15.9	14.7	13	12.2	11.8	11.3	10.3	9.9	9.2	11.2	11.2	11	10.7
			13.4-30.9	12.9-29.8	12.9-29.0	11.7-25.6	10.6-22.2	10.2-20.3	9.2-17.7	9.0-16.1	9.0-15.3	8.7-14.5	7.9-13.1	7.6-12.8	7.0-11.9	8.3-14.9	8.1-14.9	7.7-14.9	7.4-14.9
	Lushunkou District	210212	19.9	21.4	20.1	21.1	20.9	18.8	17.6	15.6	11.4	11	9	8.9	7.6	7.7	7.4	7.3	7.1
			16.7-23.5	18.3-25.1	17.0-23.4	17.7-24.6	17.7-24.4	16.3-21.7	15.4-19.9	14.0-17.3	10.5-12.5	10.2-11.9	8.1-9.9	7.9-9.9	6.7-8.6	6.7-8.7	6.4-8.4	6.4-8.3	6.2-8.0
	Mingshan District	210504	22.7	22.2	21.7	19.1	17.2	16	14.8	12.7	10.6	9.7	8.9	8	8	7.5	7.1	6.8	6.5
			17.9-28.2	17.7-27.6	17.2-27.1	15.1-23.9	13.6-21.2	12.9-19.5	12.1-17.8	10.6-15.0	9.0-12.4	8.1-11.3	7.4-10.5	6.6-9.5	6.5-9.5	6.1-9.0	5.7-8.5	5.6-8.2	5.3-7.7
	Nanfen District	210505	26.8	26	24.4	27.1	24.1	22.4	20.5	19.8	15.2	16.1	15	15.3	13	11.7	10.1	8.9	8.3
			21.9-32.3	21.5-31.6	19.9-29.6	21.8-33.0	19.5-29.3	18.2-27.2	16.9-24.7	16.7-23.5	12.9-17.9	13.7-18.8	12.6-17.8	12.7-18.2	10.7-15.6	9.5-14.0	8.2-12.0	7.4-10.6	6.9-9.9
	Nanpiao District	211404	22.7	21.7	21.5	20.8	20.9	20.5	18.9	19.2	18.1	15.5	12.7	9.3	12	13.1	13.8	13.2	12.9
			19.2-26.7	18.4-25.5	18.1-25.3	17.2-24.6	17.4-24.7	17.3-24.1	16.0-22.0	16.6-22.1	15.9-20.6	13.6-17.6	10.8-14.5	7.9-10.9	10.1-14.0	11.0-15.3	11.6-16.0	11.2-15.4	10.9-15.0
	Panshan County	211122	20.4	19.9	19.3	19.7	20.2	20	19.9	18.5	18.2	17.5	16.6	15.5	14.8	13.3	12.5	11.1	10.4
			17.8-23.4	17.4-23.0	16.9-22.2	17.1-22.6	17.8-23.0	17.6-22.6	17.8-22.1	16.9-20.2	16.9-19.7	16.2-18.9	15.3-18.2	14.1-17.1	13.3-16.5	12.0-14.8	11.1-13.9	9.9-12.4	9.2-11.6
	Pingshan District	210502	20.2	19.4	18.7	18.3	15.7	15	13.6	13.5	11.7	12	12.4	11.4	10.2	9.3	8.7	8.1	7.6
			17.5-23.4	16.9-22.5	16.3-21.6	15.9-20.9	13.9-18.0	13.2-16.8	12.2-15.1	12.3-14.7	10.8-12.6	11.0-13.0	11.3-13.7	10.2-12.8	9.0-11.6	8.1-10.6	7.5-10.0	6.9-9.3	6.5-8.6
	Pulandian City	210282	22.1	22	20.8	21	21.2	18.8	18.1	16.5	16	13.5	12.2	10.9	9.4	8.6	8	7.4	7.1
			19.2-25.5	19.2-25.3	18.0-23.9	18.1-24.2	18.4-24.3	16.4-21.6	15.8-20.6	14.6-18.6	14.4-17.6	12.3-14.6	11.3-13.3	9.9-11.9	8.5-10.4	7.7-9.5	7.2-8.9	6.6-8.2	6.3-7.8
	Qianshan District	210311	19.1	18.4	17.8	17.6	17.4	17.4	17.2	15.3	16.5	16	13.6	12.4	12	12.1	11.3	11	10.7
			16.4-22.1	15.8-21.3	15.2-20.6	14.8-20.5	14.7-20.2	15.0-20.0	15.1-19.6	13.8-16.9	15.2-17.9	14.9-17.2	12.4-14.8	11.0-13.6	10.5-13.3	10.6-13.6	9.9-12.7	9.7-12.3	9.4-12.0
	Qinghe District	211204	23.9	22.5	21.7	17.3	15.6	15.1	13.7	11.9	11.7	10.8	11.5	12.4	12.9	14.4	13.8	12.3	10.8
			19.4-28.9	18.1-27.6	17.4-26.6	13.8-21.4	12.4-19.4	12.1-18.7	11.0-16.7	9.7-14.5	9.6-14.0	8.9-13.0	9.4-13.9	10.1-15.0	10.5-15.6	11.8-17.3	11.4-16.5	10.2-14.6	9.0-12.8
	Qinghemen District	210905	29.4	27.8	28.5	27.2	23.1	20.2	14.4	13.6	15.3	14.2	15	13.6	11.1	10.6	10.1	9.2	8.6
			24.0-35.6	22.9-33.8	23.2-34.6	21.8-33.1	18.7-28.2	16.5-24.6	11.8-17.4	11.4-16.2	12.9-17.9	12.1-16.6	12.6-17.7	11.2-16.1	9.1-13.2	8.8-12.7	8.3-12.1	7.6-10.9	7.2-10.2
	Zizhixian	210423	26.1	25	24.5	24.1	23.8	23.1	22.6	22	20.2	19.4	17.8	15.1	14	12.8	12	10.7	10.3
			22.5-30.3	21.5-29.0	20.9-28.4	20.4-28.1	20.3-27.6	20.0-26.6	19.9-25.6	19.9-24.3	18.6-22.0	18.0-20.9	16.1-19.4	13.4-16.8	12.3-15.7	11.1-14.4	10.4-13.6	9.3-12.2	8.9-11.6
	Shahekou District	210204	18.5	18.7	19.3	20.7	18	20	18.5	15.6	12.1	10.7	8.1	6.6	6.2	6.1	5.7	6	5.9
			15.2-22.3	15.5-22.4	15.9-23.2	16.9-24.8	14.8-21.5	16.8-23.6	15.6-21.8	13.4-18.0	10.5-13.9	9.2-12.2	6.9-9.4	5.5-7.7	5.2-7.4	5.0-7.3	4.7-6.8	5.0-7.2	4.9-7.0
	Shenbeixin District	210113	23.1	21.9	22.2	20	19.6	17.7	16.1	16.3	16	15.1	14.3	12.7	11.8	11.6	9.8	9.9	9.6
			19.0-27.7	18.3-26.2	18.5-26.5	16.4-24.0	16.2-23.2	14.9-20.9	13.8-18.6	14.3-18.5	14.4-17.7	13.7-16.7	12.8-15.9	11.1-14.3	10.3-13.4	10.0-13.2	8.5-11.2	8.6-11.3	8.3-10.9
	Shenhe District	210103	18.3	18.3	17.6	17.3	15.2	14.9	14	12.9	11.1	10.3	9	8.5	8	7.2	6.9	6.9	6.7
			12.6-25.1	13.0-24.5	12.9-23.0	13.2-21.8	12.3-18.7	12.5-17.6	12.3-15.9	11.7-14.0	10.2-12.0	9.3-11.3	7.8-10.3	7.2-10.0	6.5-9.7	5.7-9.0	5.2-8.8	5.0-9.0	4.7-8.9
	Shuangta District	211302	24.1	22.5	18.9	18.5	17.1	17.5	20.1	15.7	13.6	11.9	11.2	9.6	9.6	9.3	9.1	8.7	8.3
			21.0-27.7	19.7-25.9	16.5-21.8	16.2-21.3	15.0-19.5	15.4-19.6	18.0-22.2	14.4-17.1	12.7-14.7	11.1-12.8	10.3-12.3	8.7-10.6	8.5-10.7	8.3-10.5	8.0-10.2	7.7-9.8	7.3-9.2
	Shuangtaizi District	211102	24.6	23.2	22.9	20.7	19.3	18.6	17.4	16.3	15.9	15.2	14.2	14.8	13.8	12.9	11.8	10.9	10.2
			21.2-28.5	19.9-26.8	19.5-26.7	17.6-24.2	16.5-22.5	16.1-21.4	15.3-19.8	14.7-18.1	14.7-17.2	14.1-16.3	13.0-15.2	13.3-16.1	12.2-15.3	11.5-14.4	10.5-13.2	9.7-12.1	9.0-11.3
	Shuncheng District	210411	20.1	18.8	18.7	18	17.3	17.4	15.4	14.3	13.1	13	10.4	13.3	12.8	11.6	11.3	10.9	10.5
			13.5-28.6	12.9-26.0	13.1-25.8	12.9-24.5	12.9-23.1	13.2-22.5	12.0-19.5	11.5-17.8	10.8-16.0	10.6-15.8	8.2-13.0	10.3-16.8	9.7-16.8	8.5-15.8	8.0-15.6	7.4-15.4	6.9-14.9
	Suizhong County	211421	35.5	34.2	33.7	30.9	27.9	23.9	20.1	17.3	15.9	14.8	13.2	12.5	11.3	10.7	10.4	9.9	9.6
			30.9-41.0	29.9-39.3	29.3-38.9	26.7-35.7	24.2-32.1	20.8-27.5	17.5-22.8	15.3-19.5	14.3-17.5	13.5-16.1	12.1-14.3	11.3-13.7	10.2-12.6	9.6-11.9	9.3-11.6	8.8-10.9	8.6-10.6
	Sujiatun District	210111	17.7	18.5	17.5	16.7	16.1	17.3	16.6	16.3	16.7	15.2	13.8	14.3	12.9	13.9	12.5	12.3	12
			15.2-20.5	15.9-21.3	14.9-20.2	14.1-19.5	13.6-18.7	14.9-19.8	14.6-18.7	14.7-18.0	15.3-18.1	14.2-16.3	12.7-14.9	12.8-15.6	11.4-14.3	12.3-15.5	11.1-14.0	11.0-13.7	10.6-13.3
	Tai'an County	210321	21.6	21.3	20.5	18.5	18.9	18.6	19	18.3	17.3	17.5	16.2	15.4	14.1	12.8	12.9	12.3	12.1
			18.9-24.8	18.6-24.5	17.8-23.5	16.1-21.3	16.6-21.6	16.4-21.1	17.0-21.2	16.6-20.1	15.8-18.8	16.0-19.0	14.7-17.7	13.8-17.2	12.6-15.8	11.4-14.3	11.5-14.4	11.0-13.7	10.8-13.4

Province	County	County Code (2012)	Under-5 Mortality Rate (per 1000 births)																
			1996	1997	1998	1999	2000	2001	2002	2003	2004	2005	2006	2007	2008	2009	2010	2011	2012
	Taihe District	210711	16.9	17.1	16.5	15.5	15.9	15.4	13	12.1	11.4	9.1	8.4	8.4	7	7.1	7.4	7.2	7
			13.8-20.5	14.1-20.6	13.5-19.9	12.5-18.8	12.9-19.2	12.8-18.4	10.9-15.5	10.4-14.1	9.8-13.0	7.8-10.4	7.2-9.7	7.1-9.8	5.9-8.2	6.0-8.4	6.2-8.7	6.0-8.4	5.9-8.2
	Taiping District	210904	20.7	20.4	20.5	18.7	16.5	15.1	14.7	13.8	11.7	10.8	10	9.8	9.2	8.6	9.3	8.7	8.1
			16.6-25.4	16.4-25.2	16.3-25.1	14.8-23.2	13.0-20.6	12.0-18.7	11.9-17.9	11.4-16.6	9.9-13.8	9.1-12.7	8.3-11.7	8.1-11.5	7.6-10.8	7.2-10.2	7.8-11.0	7.3-10.2	6.8-9.5
	Taizihe District	211011	19.7	19.2	19.3	19.6	19.1	19	18.7	16.6	14.2	13.6	11.8	10.5	9.9	10	9.4	9	8.6
			16.1-23.9	15.9-23.2	15.9-23.2	15.9-23.6	15.6-22.7	15.9-22.3	16.0-21.6	14.5-18.8	12.8-15.8	12.2-15.0	10.5-13.1	9.1-11.9	8.6-11.2	8.7-11.5	8.1-10.8	7.7-10.3	7.4-9.9
	Tiedong District	210302	16	16.1	15.7	16	15.1	15.7	17.3	16.5	14.5	14.8	14.4	12.6	11.7	10.7	8.7	8.5	7.9
			13.7-18.5	13.8-18.7	13.4-18.2	13.5-18.6	12.9-17.6	13.5-18.2	15.2-19.6	14.8-18.2	13.4-15.8	13.7-16.0	13.2-15.6	11.2-13.9	10.3-13.0	9.4-12.0	7.7-9.8	7.5-9.5	7.0-8.9
	Tieling County	211221	25.8	24.7	23.7	22.5	21.9	21.3	20.4	19.7	20.3	19.7	17.9	16.6	15.3	13.1	11.2	9.8	8.7
			22.5-29.6	21.6-28.4	20.5-27.2	19.3-25.8	18.7-25.1	18.4-24.2	18.0-22.9	17.9-21.7	18.8-21.9	18.3-21.0	16.4-19.2	14.9-18.2	13.5-17.1	11.5-14.6	9.9-12.6	8.6-11.0	7.7-9.8
	Tiexi District	210106	20	19.6	18.8	18.5	16.6	17.2	15.4	14.4	13.6	14	13.1	12.8	11.4	10.2	8.6	7.8	7.1
			13.6-27.9	14.0-26.8	13.6-25.0	14.1-24.0	13.0-20.7	14.1-20.8	13.2-17.8	12.9-15.9	12.5-14.8	12.6-15.4	11.4-15.0	10.8-15.1	9.2-13.9	7.8-13.0	6.3-11.3	5.4-10.5	4.8-9.7
	Tiexi District	210303	17	17	16.4	16.8	16	16.6	17.1	16.2	15.5	15.1	13.2	11.6	10.8	9.6	8.9	8.8	8.6
			14.7-19.6	14.6-19.6	14.1-19.0	14.3-19.6	13.6-18.6	14.3-19.2	15.1-19.4	14.6-17.9	14.3-16.8	14.0-16.2	12.1-14.3	10.4-12.8	9.5-12.0	8.5-10.7	7.9-9.9	7.8-9.7	7.7-9.5
	Wafangdian City	210281	20.2	19.9	20.7	19.9	19.8	18.7	19.1	17.7	16.7	15.2	13.4	11.3	9.9	8.7	8.3	7.8	7.5
			17.7-23.2	17.4-22.8	17.9-23.7	17.2-22.8	17.2-22.8	16.4-21.5	16.7-21.7	15.7-19.9	15.1-18.5	13.9-16.5	12.3-14.5	10.2-12.4	9.0-11.0	7.8-9.6	7.4-9.2	6.9-8.7	6.6-8.3
	Wanghua District	210404	17.7	17	16.5	14.9	13.9	13.4	14.2	14	13.2	14.3	12.2	10.9	9.9	10.2	8.8	8.7	8.6
			14.5-21.3	14.0-20.5	13.4-20.0	12.1-18.2	11.2-16.9	11.0-16.1	11.8-17.0	11.9-16.4	11.3-15.1	12.3-16.3	10.5-14.1	9.3-12.7	8.3-11.5	8.6-11.9	7.4-10.3	7.4-10.2	7.3-10.0
	Wensheng District	211003	19.9	20.3	18.8	20.3	19.8	20.5	22.7	19.6	17.3	14.4	12.6	10.8	10	10.7	11.8	11.8	11.8
			16.6-23.6	17.1-24.1	15.7-22.3	16.7-24.2	16.3-23.5	17.3-24.1	19.4-26.3	17.1-22.4	15.3-19.5	12.9-16.1	10.9-14.2	9.3-12.4	8.6-11.6	9.1-12.3	10.0-13.6	10.1-13.7	10.1-13.6
	Xifeng County	211223	32.4	32.2	30.4	31	30.7	26	23.6	22	20.3	18.4	17.7	15.4	13.6	11.9	10.4	9.1	8.1
			28.3-37.3	28.0-37.2	26.5-35.0	27.0-35.4	27.0-34.9	23.0-29.3	21.1-26.1	20.1-24.1	18.7-21.9	16.9-20.1	16.0-19.6	13.7-17.3	12.0-15.5	10.4-13.6	9.0-12.0	7.8-10.5	7.0-9.3
	Xigang District	210203	21.2	20.9	20.7	26.3	23.7	22.5	19.5	16.5	14	11.1	10.4	9.8	9.3	9.7	8.2	8.1	7.7
			16.6-26.7	16.2-26.5	16.0-26.4	20.5-33.6	18.6-30.0	17.8-28.1	15.6-24.0	13.5-19.9	11.6-16.7	9.2-13.2	8.6-12.4	8.1-11.7	7.6-11.2	7.9-11.6	6.6-9.8	6.7-9.6	6.4-9.2
	Xihe District	210911	20.2	20.1	19.6	19.5	19.1	18.5	15.8	14.4	13.7	10.6	8.9	8.9	8.7	7.9	8.1	8	7.8
			16.4-24.5	16.6-24.3	16.1-23.7	15.8-23.5	15.6-22.8	15.5-21.9	13.4-18.4	12.5-16.6	12.1-15.5	9.3-11.9	7.7-10.2	7.6-10.3	7.3-10.1	6.6-9.2	6.8-9.5	6.7-9.4	6.5-9.1
	Xihu District	210503	20.2	20	19.4	18.7	18.2	18.2	14.8	15.2	14	12.6	12.7	11.9	10.8	11.2	10.6	10.1	9.7
			16.8-24.1	16.7-23.8	16.0-23.3	15.2-22.5	14.9-21.8	15.1-21.7	12.4-17.6	12.9-17.7	12.1-16.1	10.8-14.4	10.8-14.6	10.1-13.9	9.0-12.6	9.4-13.1	9.0-12.4	8.6-11.8	8.2-11.2
	Xinbin Manzu Zizhixian	210422	35.2	33.1	30.5	25.1	24.7	24.1	20.7	19.2	20.2	16.7	15.6	14.6	13.5	11.1	11.7	11	10.6
			30.4-40.8	28.4-38.3	25.8-35.5	21.1-29.5	20.7-28.9	20.5-28.1	17.8-24.0	16.7-21.9	17.9-22.7	14.9-18.7	13.6-17.7	12.6-16.8	11.5-15.6	9.4-12.9	9.9-13.6	9.4-12.8	9.0-12.3
	Xinfu District	210402	22.3	20.9	19.8	18.5	17.7	15.6	15	12.8	12.4	11.9	11.2	11.8	13.6	12.5	11.1	10.8	10.6
			17.9-27.0	16.9-25.7	15.8-24.6	14.6-23.0	14.0-22.1	12.4-19.3	12.0-18.6	10.4-15.7	10.1-15.0	9.6-14.4	9.0-13.6	9.4-14.4	10.8-16.7	10.0-15.4	8.8-13.5	8.7-13.1	8.6-12.8
	Xingcheng City	211481	27.3	26.4	26	22.6	21.3	17.9	16	13.9	12.8	11.9	11.6	12	11.7	12.1	12	11.6	11.2
			23.8-31.4	23.2-30.4	22.7-29.9	19.7-26.0	18.7-24.2	15.8-20.1	14.3-17.7	12.7-15.2	11.8-13.7	10.9-12.8	10.6-12.7	10.9-13.3	10.5-13.2	10.7-13.5	10.6-13.5	10.1-13.0	9.8-12.6
	Xinglongtai District	211103	18.1	16.8	16.4	15.9	15.4	14.9	14.3	14.8	15.5	13.2	13.1	12.8	12.1	11.8	10.9	10.4	9.7
			15.6-21.0	14.4-19.5	14.1-19.1	13.8-18.5	13.5-17.7	13.2-16.9	12.8-15.9	13.5-16.3	14.3-16.7	12.2-14.3	12.1-14.3	11.6-14.1	10.8-13.5	10.5-13.1	9.6-12.2	9.2-11.7	8.5-10.9
	Xinmin City	210181	21.4	21.2	21.2	19.8	21.7	20.4	19.4	19.3	16.9	15.8	16.8	15.7	14.1	12.3	11	9.6	8.9
			14.7-29.4	15.3-28.3	15.8-27.7	15.3-25.3	17.4-26.7	17.2-24.0	17.1-21.9	17.5-21.1	15.3-18.6	14.0-17.8	14.4-19.3	13.0-18.7	11.4-17.1	9.6-15.1	8.3-13.8	7.0-12.4	6.3-11.7
	Xinqiu District	210903	27.4	26.6	24.9	24.3	23.2	24	18.9	21.9	22.5	18.7	17.7	17	12.9	12.4	13.6	12.4	11.8
			22.3-33.2	21.7-32.5	19.9-30.7	19.4-30.1	18.4-28.6	19.3-29.5	15.4-23.2	18.1-26.2	19.0-26.6	15.7-22.1	14.8-21.0	14.1-20.3	10.6-15.3	10.2-14.8	11.2-16.2	10.4-14.7	9.9-14.0
	Xishi District	210803	20.8	21	21.1	20.4	20.7	18.8	16.8	14.6	13.1	11.6	10.9	10.6	11	10.3	9.8	9.3	8.8
			17.5-24.7	17.7-24.9	17.6-25.0	16.7-24.3	17.0-24.6	15.8-22.1	14.3-19.6	12.7-16.8	11.6-14.8	10.2-13.0	9.4-12.3	9.1-12.1	9.4-12.7	8.7-11.9	8.3-11.4	7.9-10.8	7.5-10.3
	Xiuyan Manzu Zizhixian	210323	25	22.9	21.5	19.7	19.8	19.4	19.2	18.5	17.7	17	17	16.3	15.3	13.5	12.5	11.4	10.5
			21.6-28.8	19.9-26.4	18.6-24.9	17.1-22.7	17.1-22.8	17.0-22.2	16.9-21.6	16.5-20.6	15.9-19.6	15.3-18.8	15.2-18.9	14.4-18.4	13.4-17.3	12.0-15.4	11.1-14.1	10.2-12.8	9.4-11.7
	Yi County	210727	34.3	33.3	30.2	28.9	26.9	24	21.4	18.4	15.5	12.9	11	9.5	7.9	8	7.4	7	6.9
			26.0-44.0	26.2-41.4	24.7-35.9	24.9-33.3	23.7-30.6	21.0-27.5	18.3-25.0	15.3-22.0	12.7-19.1	10.5-16.1	8.9-13.7	7.9-11.6	6.6-9.4	6.9-9.3	6.5-8.5	6.2-7.9	6.0-7.8
	Yinzhou District	211202	22.5	21.7	21.4	20.8	18.4	18.7	17	14.3	11.8	12.1	13.3	11.5	10.8	10.9	8.9	8	7.1
			18.9-26.9	18.2-25.8	17.7-25.5	17.1-25.0	15.1-22.0	15.5-22.2	14.2-20.1	12.2-16.7	10.1-13.6	10.4-13.9	11.3-15.4	9.6-13.4	9.0-12.7	9.1-12.9	7.4-10.5	6.7-9.4	5.9-8.3
	Yuanbao District	210602	23.4	21.5	21.9	21.1	21	18.9	19.5	19.9	19.4	18.2	19.1	16.2	14.5	12.5	11.1	10.3	9.7
			19.9-27.3	18.3-25.1	18.5-25.6	17.6-24.8	17.6-24.7	16.1-22.0	17.0-22.3	17.8-22.2	17.7-21.1	16.8-19.7	17.4-20.8	14.5-17.9	12.7-16.2	10.9-14.1	9.7-12.6	9.0-11.6	8.5-10.9
	Yuhong District	210114	20.3	19.4	18.5	16.4	19.1	19.7	19.8	18.6	16.8	18.2	17.1	15.7	15.2	14	12.2	11.8	11.5
			16.9-24.3	16.1-23.2	15.3-22.0	13.6-19.4	16.0-22.6	16.8-22.9	17.1-22.6	16.5-20.8	15.2-18.6	16.4-20.0	15.2-19.1	13.8-17.7	13.4-17.3	12.2-16.0	10.6-13.9	10.2-13.5	10.0-13.2
	Zhangwu County	210922	23.2	23.9	23.9	24.1	25.3	24.4	24.8	24.7	24.7	22	21.3	19.2	17	15.8	14.2	12.9	12.1
			19.9-26.9	20.4-27.8	20.3-27.8	20.3-28.1	21.5-29.4	21.1-28.1	21.8-28.0	22.3-27.2	22.8-26.8	20.5-23.5	19.4-23.0	17.1-21.2	15.0-19.0	13.9-17.8	12.5-16.1	11.4-14.6	10.6-13.6
	Zhanqian District	210802	24.6	24.1	23.6	22.1	20.6	18.9	16.5	13.5	12.1	11.9	10.8	10.4	10.5	10.7	9.7	9.6	9.5
			19.6-30.4	19.4-29.5	18.8-28.7	17.6-26.8	16.5-24.9	15.6-22.6	13.9-19.4	11.7-15.7	10.7-13.7	10.5-13.3	9.4-12.1	9.0-11.9	9.0-12.1	9.1-12.4	8.3-11.2	8.2-11.1	8.1-11.0
	Zhen'an District	210604	26.9	26.2	25.1	24.2	24.6	22.4	20.3	20.4	20	17.1	18.8	18.3	13.9	14.6	13.5	12.6	11.8
			21.9-32.7	21.8-31.5	20.6-30.2	19.6-29.0	20.1-29.3	18.8-26.4	17.4-23.6	17.9-23.2	17.9-22.3	15.4-19.0	16.7-20.9	16.0-20.7	12.1-15.8	12.6-16.6	11.7-15.5	10.9-14.4	10.2-13.5
	Zhenxing District	210603	21	20.9	19.6	18.9	18.3	17	16.4	15.7	14.5	13.3	12.1	10.5	8.8	7.9	8.3	8.5	8.6
			17.7-24.7	17.8-24.5	16.6-23.0	15.9-22.2	15.4-21.4	14.5-19.7	14.3-18.7	14.0-17.5	13.2-15.9	12.1-14.5	10.8-13.3	9.2-11.7	7.7-10.0	6.8-9.0	7.2-9.5	7.4-9.7	7.5-9.8
	Zhongshan District	210202	22.1	23.1	23.4	27.3	24.5	23.2	20.7	17.3	13.7	12.2	10.5	9.4	11.1	13.4	11.8	12.3	12.7
			17.5-27.4	18.3-29.0	18.6-29.1	21.6-34.1	19.4-30.7	18.5-28.8	16.7-25.2	14.3-20.9	11.5-16.3	10.2-14.5	8.7-12.5	7.8-11.2	9.2-13.2	11.1-15.8	9.9-14.0	10.4-14.5	10.7-14.9
	Zhuanghe City	210283	19.5	20.2	20.2	20	20.1	19.8	19.3	17.6	15.9	13.4	11.8	10.5	8.7	8.3	8	7.3	6.9
			17.0-22.4	17.7-23.3	17.6-23.2	17.4-23.0	17.7-22.8	17.5-22.3	17.3-21.3	16.1-19.2	14.7-17.1	12.4-14.4	10.8-12.8	9.5-11.6	7.8-9.8	7.3-9.3	7.0-9.1	6.4-8.2	6.0-7.7
Ningxia	Dawukou District	640202	36.1	33.5	35	31.6	31.1	36.9	32.4	31.2	29.3	23.7	22.3	21.8	20.2	18.1	16.7	15.8	14

Province	County	County Code (2012)	Under-5 Mortality Rate (per 1000 births)																
			1996	1997	1998	1999	2000	2001	2002	2003	2004	2005	2006	2007	2008	2009	2010	2011	2012
			27.6-47.0	25.8-43.1	27.3-44.2	25.0-39.3	25.0-38.2	30.3-44.0	27.3-37.9	26.9-35.5	25.9-32.7	21.1-26.6	19.5-25.3	18.8-25.3	17.0-24.0	14.9-22.0	13.5-20.7	12.4-19.7	10.8-17.6
	Haiyuan County	640522	87.5	77.5	70.7	64.1	57.2	49.6	47.2	47.4	46.2	43.6	40.9	37.2	33.6	31.7	29.1	27.4	25.7
			74.6-101.7	67.0-89.3	62.2-80.5	56.6-72.3	50.5-64.3	43.6-55.9	41.6-53.5	42.2-53.4	40.7-52.1	38.5-48.6	36.5-45.5	33.4-41.2	30.3-37.4	28.8-34.8	26.5-31.8	25.0-30.0	23.4-28.1
	Helan County	640122	47.8	47	44.9	47.7	40.9	36.6	35.4	29.9	26.5	23.8	22.4	20.7	20.1	18.8	18.4	17.6	16.8
			40.5-55.3	40.5-54.0	38.8-51.3	41.3-54.4	35.6-46.8	32.1-41.4	31.3-39.7	26.6-33.4	23.8-29.4	21.4-26.5	20.2-24.9	18.4-23.1	17.9-22.5	16.8-21.1	16.5-20.6	15.8-19.6	15.1-18.6
	Hongsibao District	640303	58.3	56.6	50.5	53.6	51.3	52.4	50.2	42.3	35.5	37.4	31.6	29.4	25.9	24.5	22.8	20.4	18.7
			44.4-77.1	43.1-74.0	38.8-64.9	41.4-67.9	40.2-64.5	42.0-64.5	40.8-60.0	35.1-49.5	30.1-40.9	32.3-42.9	27.1-36.7	24.9-34.3	21.7-30.8	20.2-29.8	18.4-28.3	16.2-25.4	14.5-23.6
	Huinong District	640205	44.8	42.5	39.1	39.9	35.5	35.9	33.3	28.2	28.3	28.5	22.6	21.7	20.8	16.9	14.4	12.9	11.6
			37.9-52.0	36.4-48.9	33.5-44.8	34.4-45.7	30.9-40.6	31.6-40.8	29.6-37.5	25.2-31.4	25.5-31.3	25.6-31.4	20.2-25.1	19.3-24.0	18.6-23.2	15.1-18.9	12.9-16.1	11.7-14.4	10.5-12.9
	Jinfeng District	640106	34.1	32.9	28.4	27.4	25	23.6	18.5	21	19.3	16.3	14.4	13.5	13.4	12.9	11.7	12.5	11.9
			28.7-39.8	28.1-38.1	24.3-32.6	23.7-31.5	21.7-28.7	20.8-26.7	16.4-20.7	18.9-23.3	17.5-21.3	14.7-17.9	13.1-15.9	12.1-15.0	12.1-15.0	11.7-14.4	10.6-13.1	11.3-13.8	10.7-13.1
	Jingyuan County	640424	79.2	75.4	71.4	65.1	62.1	55.3	53.2	45.7	48.4	47.7	41.2	37.6	34.6	30.2	29	26.5	24.4
			67.9-90.7	65.4-85.7	62.1-80.7	57.2-73.6	54.8-70.0	48.9-62.5	47.5-59.5	41.1-50.4	44.0-53.0	43.4-52.4	37.4-45.6	34.0-41.4	31.3-38.3	27.4-33.5	26.3-32.1	24.1-29.2	22.1-26.8
	Lingwu City	640181	49	47.4	43.4	42.1	38	36.7	33.1	29.1	29.2	27.2	24.9	24.2	22.6	19.9	19	17.1	15.9
			42.6-55.3	41.5-53.3	38.4-48.8	37.0-47.2	33.6-42.7	32.5-41.2	29.5-36.8	26.3-32.0	26.6-32.0	24.8-29.6	22.8-27.1	22.0-26.4	20.6-24.7	18.1-21.8	17.3-20.8	15.6-18.8	14.4-17.4
	Litong District	640302	53.4	52.3	48.3	45.4	40.3	38.5	35.8	31.6	27.1	26.4	22.1	20.6	20.2	20.7	19.8	19.4	19.2
			46.3-60.4	45.8-58.8	42.6-54.3	39.9-51.0	35.7-45.4	34.1-43.1	32.0-39.7	28.5-34.7	24.6-29.6	24.1-28.9	20.3-24.2	18.8-22.5	18.4-22.1	18.9-22.7	18.1-21.8	17.7-21.4	17.4-21.1
	Longde County	640423	65.6	65.2	65	61.8	61.1	57.7	58.4	55.1	53.2	46.7	42.7	38.6	36.1	31.3	28.5	26	24.2
			57.1-74.0	57.5-73.1	57.2-73.2	54.4-69.9	53.7-69.3	50.8-65.2	52.1-65.4	49.7-61.0	48.5-58.2	42.5-51.1	38.7-47.2	34.7-43.0	32.4-40.5	28.1-35.0	25.6-31.5	23.6-28.5	22.0-26.6
	Pengyang County	640425	69.2	64.5	63.2	60.7	56.8	52.6	49.9	45.5	45.2	41.3	36.9	33.9	30.4	26.4	24.7	22.9	21.5
			60.5-78.1	56.8-72.6	55.6-71.1	53.3-68.6	49.9-64.7	46.2-59.6	44.3-56.0	40.9-50.5	41.0-49.7	37.6-45.3	33.4-40.8	30.5-37.9	27.2-34.2	23.6-29.7	22.3-27.5	20.7-25.1	19.5-23.5
	Pingluo County	640221	52.9	51	47.3	46.9	42.9	38.8	37.2	31.8	26.4	24.2	22.8	22.3	21.5	19.6	17.3	15	13.1
			45.9-60.0	44.7-57.4	41.7-53.3	41.3-52.7	38.0-48.3	34.4-43.5	33.2-41.3	28.6-35.0	24.1-28.9	22.2-26.5	20.8-25.1	20.3-24.4	19.5-23.6	17.8-21.7	15.7-19.1	13.6-16.4	11.9-14.4
	Qingtongxia City	640381	44.7	41.6	40.3	40.9	36.3	37.1	32.7	28.7	26	24.3	21.8	20.5	18.7	17.2	16.3	15.6	14.9
			38.3-51.3	36.2-47.3	35.3-45.7	35.9-45.9	32.2-40.9	32.9-41.6	29.3-36.3	26.0-31.5	23.8-28.4	22.3-26.5	20.0-23.7	18.7-22.4	17.0-20.4	15.7-18.9	14.9-17.9	14.2-17.2	13.5-16.3
	Tongxin County	640324	70.7	67.6	62.5	61	54	47.6	42.6	37.6	34.9	28.4	29.4	25.9	24.9	25	25.3	23.4	23.4
			60.1-82.3	58.3-78.0	54.8-71.0	53.7-69.0	47.6-60.5	42.0-53.5	37.7-48.1	33.4-42.3	30.7-39.3	25.1-31.7	26.3-32.8	23.2-28.8	22.4-27.7	22.8-27.5	23.1-27.7	21.4-25.6	21.3-25.7
	Xiji County	640422	80.7	75.3	69.9	59.6	56.3	53.3	47.5	44	42.2	41	37.8	34.5	32.2	28.9	26.3	23.8	22.2
			68.9-93.6	65.0-86.5	61.4-79.4	52.6-67.5	49.5-63.0	47.0-59.9	42.1-53.6	39.1-49.6	37.3-47.5	36.3-45.7	33.9-42.0	31.0-38.3	29.0-35.7	26.3-31.6	24.0-28.7	21.8-26.1	20.2-24.3
	Xingqing District	640104	34.1	32.9	28.4	27.4	25	23.6	18.5	21	19.3	16.3	14.4	13.5	13.4	12.9	11.7	12.5	11.9
			28.7-39.8	28.1-38.1	24.3-32.6	23.7-31.5	21.7-28.7	20.8-26.7	16.4-20.7	18.9-23.3	17.5-21.3	14.7-17.9	13.1-15.9	12.1-15.0	12.1-15.0	11.7-14.4	10.6-13.1	11.3-13.8	10.7-13.1
	Xixia District	640105	34.1	32.9	28.4	27.4	25	23.6	18.5	21	19.3	16.3	14.4	13.5	13.4	12.9	11.7	12.5	11.9
			28.7-39.8	28.1-38.1	24.3-32.6	23.7-31.5	21.7-28.7	20.8-26.7	16.4-20.7	18.9-23.3	17.5-21.3	14.7-17.9	13.1-15.9	12.1-15.0	12.1-15.0	11.7-14.4	10.6-13.1	11.3-13.8	10.7-13.1
	Yanchi County	640323	49.6	47.9	43.9	43.1	42.5	40	37.8	37.5	34.7	32.6	30	28.6	25.5	24	22.2	21.6	20.2
			42.5-56.8	41.6-54.4	38.5-49.6	37.8-48.8	37.5-48.1	35.4-44.8	33.8-41.8	33.8-41.1	31.9-37.9	29.9-35.6	27.5-32.8	26.1-31.2	23.2-27.9	21.9-26.4	20.2-24.4	19.7-23.7	18.4-22.1
	Yongning County	640121	35.6	32.9	30.5	28.7	25.9	25.5	24.4	25.2	21.4	18.6	19.2	16.6	15.7	14.9	14.4	13.7	12.8
			30.4-40.9	28.5-37.5	26.5-34.5	25.2-32.5	22.8-29.3	22.6-28.7	21.7-27.2	22.7-27.9	19.4-23.5	16.9-20.4	17.6-21.2	15.0-18.3	14.2-17.4	13.5-16.6	13.1-15.9	12.4-15.1	11.6-14.1
	Yuanzhou District	640402	66.7	68	62.4	65	64.6	60.6	57.4	49.9	46.3	40.7	36.5	32.1	29.2	24.9	23	22.1	20.7
			57.9-75.5	59.9-76.6	54.9-70.6	57.1-73.6	56.7-72.9	53.7-68.1	51.3-64.2	45.2-55.0	42.2-50.7	37.1-44.5	33.0-40.2	28.7-35.9	26.1-32.8	22.3-27.9	20.7-25.5	20.0-24.3	18.8-22.7
	Zhongning County	640521	56.5	52.6	52.6	49.6	46.8	46.3	43.1	39	37.7	32	30.4	30.5	28.2	24.9	23.8	21.6	19.9
			48.3-64.9	45.6-59.8	45.8-59.5	43.6-56.0	41.3-52.8	41.0-52.1	38.4-47.9	35.2-43.1	34.3-41.3	29.2-35.1	27.8-33.4	27.7-33.5	25.6-31.2	22.5-27.5	21.6-26.4	19.6-23.7	18.1-21.8
	Zhongwei City Chengqu	640502	56	57.4	55.1	56.8	53	51.1	49.5	44.1	37.1	33	30.8	29.3	27.3	27.2	25.5	24.9	23.3
			49.1-63.1	50.5-64.4	48.4-62.2	49.8-64.4	46.3-60.6	44.8-58.3	43.7-55.9	39.4-49.1	33.4-41.0	29.9-36.3	27.8-34.2	26.2-32.9	24.4-30.9	24.2-30.7	22.8-28.4	22.5-27.4	21.2-25.8
Qinghai	Baima County	632622	115.3	107.1	94.1	98.2	92.7	81.1	63.3	76.6	58.1	56.4	53.2	52	39.1	37	38.8	37.6	36.5
			96.7-134.9	89.7-126.0	78.4-111.3	82.0-116.2	77.1-110.1	67.1-96.3	52.7-74.9	65.6-88.0	50.4-66.2	48.8-64.1	45.4-61.8	44.3-61.4	32.9-46.7	31.2-44.4	33.2-45.3	32.7-43.2	31.8-41.4
	Chengbei District	630105	52.4	59.8	54.7	28.4	23.1	23.4	20.7	19.5	19.2	19.1	18.1	18	18.7	17.9	16.2	15.6	14.8
			39.8-67.9	46.8-75.5	43.9-67.5	23.1-34.6	19.3-27.7	20.1-26.9	18.1-23.5	16.7-22.3	16.0-22.4	15.5-22.7	14.5-22.0	14.1-22.5	14.4-24.1	13.5-22.9	12.2-20.8	11.7-20.5	11.0-19.5
	Chengdong District	630102	52.4	59.8	54.7	28.4	23.1	23.4	20.7	19.5	19.2	19.1	18.1	18	18.7	17.9	16.2	15.6	14.8
			39.8-67.9	46.8-75.5	43.9-67.5	23.1-34.6	19.3-27.7	20.1-26.9	18.1-23.5	16.7-22.3	16.0-22.4	15.5-22.7	14.5-22.0	14.1-22.5	14.4-24.1	13.5-22.9	12.2-20.8	11.7-20.5	11.0-19.5
	Chengxi District	630104	52.4	59.8	54.7	28.4	23.1	23.4	20.7	19.5	19.2	19.1	18.1	18	18.7	17.9	16.2	15.6	14.8
			39.8-67.9	46.8-75.5	43.9-67.5	23.1-34.6	19.3-27.7	20.1-26.9	18.1-23.5	16.7-22.3	16.0-22.4	15.5-22.7	14.5-22.0	14.1-22.5	14.4-24.1	13.5-22.9	12.2-20.8	11.7-20.5	11.0-19.5
	Chengzhong District	630103	52.4	59.8	54.7	28.4	23.1	23.4	20.7	19.5	19.2	19.1	18.1	18	18.7	17.9	16.2	15.6	14.8
			39.8-67.9	46.8-75.5	43.9-67.5	23.1-34.6	19.3-27.7	20.1-26.9	18.1-23.5	16.7-22.3	16.0-22.4	15.5-22.7	14.5-22.0	14.1-22.5	14.4-24.1	13.5-22.9	12.2-20.8	11.7-20.5	11.0-19.5
	Chindu County	632723	98.7	89.1	88.3	87.2	84.1	83.3	78.2	74.9	64.8	64.3	65.9	58.4	52.1	50	39.9	38.2	35.5
			80.0-119.6	71.5-109.2	70.5-109.2	68.9-108.6	66.4-105.2	65.6-104.1	61.4-97.2	59.9-91.1	52.1-77.9	52.2-77.7	53.3-79.8	47.1-71.3	42.2-64.2	40.8-61.2	32.8-47.8	32.0-45.4	29.9-41.9
	Zizhixian	630121	118.7	117.1	107.6	102.5	94.4	84.2	70	39.9	37	37.2	33	60.1	61.9	58.7	51.7	47.4	41.5
			96.9-142.8	94.9-141.6	86.8-131.5	81.9-125.8	75.4-117.1	66.4-104.5	55.1-86.7	31.7-48.9	29.8-44.7	30.2-45.1	26.5-40.3	48.9-72.7	50.8-75.3	48.5-70.8	43.1-61.4	40.3-55.6	35.3-48.2
	Delhi City	632802	84.5	74.9	72.1	50	44.4	44.7	41.5	38.7	39.1	28	28.2	20	22.9	20.5	19.6	17.8	17.3
			58.5-119.0	53.2-104.9	51.2-98.7	35.4-68.7	31.6-60.2	32.2-59.8	30.1-54.4	28.9-49.6	29.5-49.9	21.2-36.3	21.3-36.8	15.1-26.8	16.9-31.4	14.8-28.6	13.8-27.7	12.1-25.1	11.4-24.6
	Dulan County	632822	91.7	87.3	79.8	86	77.2	72.7	66.4	63.1	54.2	44.8	41.8	39.2	37.4	34.7	30.1	27.5	26.2
			63.8-128.6	62.4-121.1	56.9-109.0	62.1-116.3	56.1-102.4	53.3-95.4	48.9-85.7	47.5-79.7	41.1-68.6	34.2-57.5	31.8-54.3	29.8-51.7	27.9-50.7	25.2-47.6	21.3-42.2	18.8-38.5	17.4-37.2
	Gadee County	632623	115	112.5	97.9	94.3	101.3	92.8	108.3	122.7	120.2	105.7	105.1	82.6	73.4	66.4	57.3	51.4	43.5
			95.8-135.9	93.6-133.2	80.7-116.3	78.1-112.2	84.4-121.1	77.2-109.5	91.9-125.9	106.6-139.2	106.6-134.6	93.6-118.1	92.1-119.6	71.5-96.2	62.7-86.2	57.2-78.6	49.8-66.6	45.3-58.5	38.1-49.0
	Gangcha County	632224	85.9	83.5	74	76	76	69.2	68.3	66.9	63.1	56.6	49.9	43.4	41.4	38.8	35.9	35.7	33.1
			73.8-98.3	71.9-95.3	64.1-84.7	66.4-86.4	66.5-85.6	60.2-77.6	59.3-76.9	58.0-75.8	54.9-71.7	49.2-64.2	43.2-56.7	37.5-50.1	35.9-47.7	34.1-44.0	31.7-40.1	31.8-39.6	29.6-36.7

Province	County	County Code (2012)	Under-5 Mortality Rate (per 1000 births)																
			1996	1997	1998	1999	2000	2001	2002	2003	2004	2005	2006	2007	2008	2009	2010	2011	2012
	Golmud City	632801	66.8	65.8	64.3	51.5	50.7	47.2	48.8	41.6	40.6	28.7	27.4	19.6	23.2	20.7	19.1	18.3	16.8
			56.5-78.0	55.6-76.9	54.0-75.8	43.1-61.1	42.1-60.1	38.9-56.2	40.8-57.6	35.4-48.3	35.0-46.7	24.6-33.0	23.1-32.2	16.5-23.5	19.4-27.9	17.3-24.9	16.2-22.4	15.8-21.1	14.6-19.3
	Gonghe County	632521	104.4	95.2	88.6	98.2	97.3	96.4	82.3	74.1	64.3	51.4	41.9	40.3	37.6	34.5	30.4	28.3	25.8
			89.7-119.6	82.0-108.9	76.9-101.1	86.1-111.1	85.7-108.8	85.2-108.0	72.6-92.2	65.3-82.9	56.7-72.0	44.6-58.3	36.2-48.2	34.9-46.3	32.5-43.5	29.9-39.9	26.5-34.8	24.7-32.0	22.5-29.0
	Guide County	632523	85.9	76.2	74.5	71.2	63.5	59.9	56.3	52.1	43.5	37.2	32.1	25.9	25.8	23.4	23.3	21.7	20.8
			74.0-97.9	65.8-86.4	64.7-85.1	62.2-80.7	55.4-71.7	52.1-67.5	48.9-63.7	45.2-59.3	37.9-49.4	32.4-42.1	27.8-36.4	22.4-29.7	22.4-29.4	20.6-26.5	20.6-26.1	19.4-24.1	18.7-23.0
	Guinan County	632525	102.4	94.3	86.4	86.5	78.4	73.8	71.2	61.1	52.9	45.2	35.8	27.9	28.1	26.1	25.6	24.2	22
			88.1-117.1	81.4-107.9	75.0-98.8	75.7-97.9	68.8-87.8	64.8-82.6	62.7-79.9	53.7-68.6	46.5-59.3	39.3-51.1	31.0-40.8	24.2-32.1	24.5-32.3	22.7-30.0	22.4-29.1	21.4-27.2	19.4-24.6
	Haiyan County	632223	74.6	64.5	61.4	59.6	54.1	55.1	48.9	42.8	38.9	36.8	33.2	34.3	32	31.1	27.5	25.5	25
			51.4-105.7	45.5-90.8	43.4-84.5	42.4-81.6	38.7-72.7	39.9-73.1	35.7-63.8	32.0-54.6	29.3-49.7	28.0-47.5	25.2-43.4	26.1-45.4	23.8-43.6	22.5-42.9	19.4-38.6	17.4-35.7	16.6-35.5
	Zizhixian	632324	86.1	92.3	93.9	88.7	86.8	78.8	76.5	73.8	74	68.7	63.5	54.7	45.9	41.1	42.9	38.9	36.6
			72.1-101.7	77.7-107.7	79.4-110.5	75.5-104.3	73.7-101.4	66.4-91.8	65.2-88.2	63.9-83.2	65.4-83.0	60.7-77.1	55.7-72.2	47.7-63.6	39.8-53.7	35.7-48.2	37.6-49.2	34.7-43.8	32.6-40.5
	Zizhixian	632127	82.2	75.1	66.1	61.1	55.1	46.7	37.6	33	30.1	23.4	19	17.7	17.3	17	18.6	17.4	17.3
			66.6-98.5	63.0-88.5	56.9-76.2	53.1-69.6	48.2-62.2	40.4-53.0	31.8-43.7	27.4-38.9	24.7-36.3	19.0-28.3	15.6-23.0	14.7-21.2	14.7-20.3	14.9-19.4	16.6-20.8	15.6-19.3	15.4-19.3
	Huangyuan County	630123	69.1	66.4	60	53.9	45	44.1	39.5	33.7	32	31.9	29.8	26.3	25.7	23	20.5	18.8	17.2
			56.2-82.5	55.9-78.3	51.5-69.3	46.6-61.6	39.1-51.1	38.1-50.0	33.6-45.7	28.1-39.6	26.2-38.3	25.8-38.5	24.2-35.9	21.6-31.7	21.6-30.5	19.9-26.4	18.1-22.9	16.8-20.8	15.4-19.1
	Huangzhong County	630122	58.3	56.7	55.7	51.8	47.3	50	49	40.1	39.5	38.6	36.5	32.7	32.7	29.7	25.7	23.8	20.8
			49.9-67.1	48.8-64.9	47.8-64.1	44.8-59.2	40.9-54.3	42.7-57.1	41.7-56.1	33.7-46.1	33.3-45.6	32.9-44.2	31.3-41.9	28.3-37.8	28.4-37.4	26.1-33.5	22.9-28.8	21.3-26.4	18.6-23.0
	Huzhu Tuzu Zizhixian	632126	64.8	65.3	59.9	59	55.2	52.4	47.4	37.2	33.9	31.2	30.8	27.8	28.8	27.4	25.8	24.6	22.7
			53.8-77.0	55.1-77.1	51.1-70.0	50.4-68.6	47.3-63.9	44.2-60.6	39.8-55.3	30.9-43.9	27.4-40.6	25.2-37.6	24.9-37.3	22.7-33.7	23.9-34.7	23.3-32.2	22.3-29.7	21.5-28.1	20.0-26.0
	Jainca County	632322	64.8	63.8	62.1	67.1	74	76.4	84.9	84.9	70.5	56.8	47.1	36.6	34.2	30.7	29.5	26.9	25.7
			53.9-77.1	53.5-75.3	52.4-73.1	57.7-77.8	64.5-84.5	66.9-86.8	74.5-95.4	75.7-94.6	62.9-78.4	50.1-63.9	41.1-53.5	31.9-41.9	29.9-39.0	26.9-35.3	26.0-33.6	23.7-30.3	22.6-28.8
	Jigzhi County	632625	102.2	92.7	85.3	86.9	95.7	91.1	95.3	97	100.2	88	92.8	79.4	84.1	73.4	74.7	70	64.6
			86.7-119.2	78.9-107.5	73.1-98.9	75.6-98.8	84.2-108.5	80.1-102.6	84.2-107.2	85.9-108.5	88.6-111.9	77.7-98.6	81.3-104.7	69.1-89.9	73.6-94.9	64.8-82.5	66.4-83.4	62.7-77.7	58.0-71.2
	Ledu County	632123	57.1	48.7	47.5	43.9	36.9	34.3	28.7	27.3	24	23	20.6	19.2	19.1	17.9	16.9	16.6	16.1
			46.8-68.1	41.0-57.2	40.5-55.5	37.9-50.9	31.8-42.4	29.3-39.4	24.2-33.3	22.7-32.1	19.6-28.6	18.6-27.8	16.7-24.9	15.8-23.2	16.1-22.7	15.5-20.6	15.0-18.9	14.8-18.6	14.3-17.9
	Madoi County	632626	151.9	120.2	109.5	111.8	111.5	87	79.3	88.6	88.8	76.3	77.8	77.2	75.4	70.2	59.4	56.4	49.9
			129.0-176.5	101.5-140.1	91.8-129.3	94.3-131.6	94.3-131.9	72.8-102.5	67.4-92.7	77.0-100.9	78.5-99.7	67.2-86.0	68.1-88.8	67.0-89.3	65.0-88.3	60.9-82.3	52.1-68.3	50.0-63.3	44.3-55.5
	Maqeen County	632621	65.9	61.9	58	55.8	55.4	52.2	53.4	58	54.5	53.7	62.9	53.4	44.4	41.1	36.3	34.5	32
			56.5-75.7	53.2-70.8	50.2-66.4	48.9-63.1	48.8-62.4	46.0-58.7	47.0-60.0	51.1-64.9	47.9-61.3	47.1-60.5	54.9-71.2	46.3-60.6	38.7-50.3	36.1-46.7	32.2-40.9	30.7-38.3	28.4-35.5
	Zizhixian	632221	71.1	62.8	57.8	54.8	49.2	47.6	44.3	36.5	34.7	32.7	28.5	27.5	26.6	25	23.9	22.9	21.9
			61.5-80.9	54.4-71.8	50.1-66.4	47.4-63.0	42.5-56.4	40.8-54.4	37.8-50.8	30.9-41.9	29.3-40.0	27.9-37.7	24.6-32.9	23.5-32.1	22.9-30.9	21.6-28.7	20.9-27.2	20.2-25.8	19.5-24.5
	Zizhixian	632122	249.2	228	229.3	215.9	188.9	159.1	134.6	109.7	85.6	69.5	52.6	43.9	40.2	34.7	31.9	29.8	28.4
			215.3-284.0	196.8-261.3	198.6-262.7	186.8-247.5	163.9-214.9	138.6-180.6	116.6-152.4	94.9-124.7	74.4-97.1	60.5-78.9	45.8-60.2	38.2-50.4	35.0-45.8	30.4-39.9	28.1-36.2	26.4-33.4	25.1-31.6
	Nangqeen County	632725	94.9	93.3	93.1	88	85.9	83.4	87.8	87.3	81.6	75.2	63.7	54	39	33.8	28.2	26.8	24.5
			78.6-113.4	77.6-110.3	78.2-109.7	75.4-101.8	74.6-98.0	72.7-94.2	76.8-98.4	76.9-97.6	72.0-91.0	66.3-84.0	55.6-72.1	46.7-61.5	34.0-44.5	29.5-38.8	24.7-32.1	23.5-30.2	21.4-27.5
	Ping'an County	632121	73.3	63.9	53.2	41.2	31.8	28.1	23.2	19.2	18.1	17.5	16.9	21.2	20.2	19.6	18.5	17	17
			59.6-88.0	53.5-75.5	45.7-61.5	36.1-46.5	28.1-35.6	24.3-31.9	19.5-27.0	15.8-23.0	14.5-22.1	13.8-21.7	13.4-20.8	17.0-25.8	16.5-24.2	16.5-23.0	15.8-21.4	14.6-19.7	14.5-19.8
	Qilian County	632222	77.5	60.3	57.6	60	59.8	56.1	49.4	54.7	50	48.3	40.6	38.3	34.4	32.9	31.6	32	32.4
			64.4-92.1	50.1-71.7	47.8-68.7	50.3-71.6	50.4-71.2	46.8-65.9	42.1-57.5	47.4-62.1	44.2-56.2	42.7-54.0	35.8-46.5	33.3-44.6	29.8-40.4	28.5-38.5	27.7-36.3	28.5-36.0	28.9-35.9
	Qumarleeb County	632726	81	82.2	81.6	76.5	74.8	68.8	75.6	79.5	75.1	69.4	59.5	49.8	46	43.3	35.7	34.1	31.7
			67.6-95.6	68.8-96.9	68.0-96.1	64.2-90.3	62.5-88.5	56.9-81.4	63.6-88.6	68.3-90.9	65.3-85.2	59.8-79.4	50.5-69.4	41.8-59.5	38.3-55.6	36.2-52.3	30.1-42.3	29.1-39.7	27.0-36.7
	Tarlag County	632624	125.1	113.9	103.9	101.2	98.5	82.8	86.3	104	97	88.8	83.6	66.6	54.1	49.2	48.6	44	39.4
			106.9-144.4	97.0-131.5	88.4-121.4	86.5-118.5	84.2-114.6	69.9-96.5	73.9-99.5	90.3-117.3	85.9-108.6	78.5-99.5	73.7-95.3	58.0-77.4	46.9-63.5	42.7-57.5	42.7-55.9	39.1-49.4	35.0-43.9
	Tianjun County	632823	87.2	80.1	78.3	78.4	73.4	71.2	60.5	56.3	52.4	44.3	39.3	35.9	33.3	31.8	27.9	26.4	24.2
			60.5-122.6	57.0-111.8	55.8-106.9	56.5-106.4	53.2-97.6	52.2-93.5	44.4-78.4	42.3-71.3	39.7-66.3	33.8-56.8	29.8-51.1	27.3-47.5	24.8-45.3	23.1-43.9	19.7-39.1	18.0-36.9	16.1-34.3
	Tongde County	632522	81.6	79	72.3	70.5	65.9	59	62.9	63.9	62.5	61.8	51	43.3	31.3	28.4	27.3	26.4	24.2
			70.2-93.4	68.2-90.0	62.5-82.8	61.3-80.1	57.4-74.3	51.4-66.4	54.8-70.9	55.4-72.3	54.4-70.7	54.2-69.6	44.6-58.0	37.8-49.5	27.4-35.5	24.8-32.6	24.1-31.1	23.3-29.8	21.3-27.1
	Tongren County	632321	68.6	68	66	70.4	73.2	76	75.9	66	52.7	44	36	32.5	31.9	30.8	30.7	30.7	30.5
			57.8-80.5	57.6-79.2	56.4-76.7	61.2-80.2	64.3-83.1	66.8-85.4	67.3-85.2	58.6-73.8	46.8-58.8	38.7-49.4	31.4-40.9	28.2-37.2	27.9-36.4	26.9-35.1	27.1-34.7	27.2-34.2	27.1-33.8
	Ulan County	632821	79.2	75.8	77.7	84.8	74.6	74.8	71.3	59.2	52.1	40.5	39.4	36.4	35.4	31.4	27.4	26.3	24.2
			54.7-112.0	53.8-106.0	55.3-106.1	61.2-114.7	54.2-99.2	54.9-98.1	52.7-91.8	44.5-74.9	39.5-66.0	30.9-52.2	29.9-51.3	27.6-48.1	26.3-48.0	22.8-43.3	19.3-38.4	18.0-36.9	16.1-34.4
	Xinghai County	632524	114.8	102.6	93.8	87.5	82.5	74.4	70.4	67.3	63.7	55.1	43.4	32.6	27.1	25.4	24.4	24.4	23.2
			98.8-131.1	88.6-116.9	81.6-107.2	76.6-98.8	72.5-92.4	65.5-83.2	61.9-79.0	59.1-75.5	56.0-71.5	48.1-62.0	37.9-49.3	28.2-37.2	23.6-30.8	22.2-29.1	21.6-27.6	21.6-27.2	20.6-25.8
	Zizhixian	632128	63.7	63	57.1	56.7	51.9	45.1	38.9	33.2	25.5	21	19	18.8	17.9	17.5	17.2	16.3	15.6
			54.5-73.5	53.9-72.4	49.5-65.4	49.5-64.2	45.8-58.6	39.6-50.8	34.3-44.0	29.3-37.4	22.4-28.7	18.2-23.9	16.5-21.8	16.3-21.5	15.5-20.5	15.2-20.2	15.1-19.6	14.4-18.4	13.7-17.5
	Yushu County	632721	124.5	131.9	124.9	128.4	129.2	114.3	99.5	89.8	77.9	74.3	64.3	58.4	44.9	40.7	33.2	31.6	28.3
			103.5-147.7	111.0-155.1	105.8-146.0	110.7-147.5	112.9-147.5	100.4-129.6	87.5-112.4	79.3-100.7	68.8-87.3	65.1-83.8	55.7-73.6	50.7-67.3	38.8-52.2	35.1-47.4	28.7-38.5	27.3-36.4	24.3-32.7
	Zadoi County	632722	126.7	130.3	127.1	125.3	121.4	100.4	86.4	81.8	71	68.5	65.3	57.2	51.3	47.1	30.1	29.4	27.2
			108.5-145.6	112.0-148.8	110.4-144.9	110.1-141.1	107.3-135.6	89.2-112.8	76.9-96.7	72.4-91.6	62.6-79.6	59.4-77.9	56.4-75.0	49.4-66.1	44.2-59.5	40.7-54.6	26.0-34.8	25.6-33.7	23.5-31.0
	Zeekog County	632323	77.9	78.2	72.9	73.4	70.3	67.6	62.4	56.5	51.1	41.7	32.1	26.5	23.9	21.4	23.7	22.4	22.2
			67.0-89.2	67.3-89.4	63.2-83.5	64.2-83.2	61.6-79.0	59.2-75.8	54.6-70.2	49.4-63.9	44.8-57.6	36.6-47.0	28.0-36.6	22.9-30.3	20.8-27.2	18.7-24.5	20.8-26.9	19.8-25.2	19.6-24.9
	Zhidoi County	632724	85.5	82.1	82.6	81.3	75.1	61.6	59.1	54.3	48.2	47.6	44	37.9	38.4	36.1	27.1	26.7	25.3
			72.9-98.9	69.9-94.7	70.2-96.1	69.4-94.9	63.8-87.7	51.8-72.2	50.4-68.7	47.0-61.5	42.3-54.4	41.5-54.0	38.0-51.0	32.2-45.0	32.3-46.1	30.3-43.5	23.0-32.0	22.9-30.9	21.8-29.1
Shaanxi	Ansai County	610624	59.1	58.3	54.7	53.4	60.1	56.6	57.3	62	60.5	55.5	45.3	35.8	29	26	21.9	20.2	18.8

Province	County	County Code (2012)	Under-5 Mortality Rate (per 1000 births)																
			1996	1997	1998	1999	2000	2001	2002	2003	2004	2005	2006	2007	2008	2009	2010	2011	2012
			49.6-69.2	49.1-68.2	46.1-63.8	45.0-61.9	51.2-68.9	49.2-64.4	50.5-64.9	55.8-68.9	55.0-66.4	50.2-60.7	40.7-50.6	31.5-40.6	25.2-33.0	22.8-29.5	19.4-24.5	18.2-22.3	17.0-20.7
	Baihe County	610929	76	77.5	70.4	68.2	61	51.3	50.2	43.1	38.3	31	26.9	24.8	23	22.9	22.2	20	18.6
			47.1-118.0	49.7-116.0	47.3-101.9	48.0-94.0	45.1-81.5	40.0-65.0	41.4-59.9	37.6-49.0	34.6-42.2	26.9-35.3	22.0-32.3	18.9-31.4	16.4-30.9	15.3-32.7	14.0-33.4	11.8-31.2	10.2-30.0
	Baishui County	610527	47.5	48.5	46.6	45.8	43	40.1	37.5	35.5	32.4	29.2	28.1	25.5	22.8	18.7	15.8	13.3	11.6
			35.5-60.8	37.7-60.5	37.2-57.2	37.9-54.8	35.8-51.2	33.3-47.5	30.9-44.7	28.9-42.9	26.0-40.0	23.0-36.0	22.4-34.9	20.5-31.7	18.8-27.8	16.0-22.3	14.0-18.2	11.9-14.8	10.5-12.8
	Baota District	610602	63.7	62.6	59	54.3	48.7	46.1	46.9	42.4	42.2	42.3	33.8	30.1	28.5	24.7	21.9	21	20.6
			54.0-73.9	53.0-72.3	49.6-68.3	45.7-63.5	40.4-57.6	38.0-54.6	39.1-54.9	36.2-49.0	37.0-47.6	37.2-47.6	29.4-38.4	25.9-34.5	24.4-32.9	21.1-28.6	19.1-25.1	18.4-24.0	18.1-23.2
	Baqiao District	610111	25.7	23.7	21.2	19.7	17.7	14.2	13.1	12.8	11.7	11.1	9.4	10.1	11.8	11.4	10.7	10.6	10.8
			21.2-30.7	19.5-28.4	17.3-25.6	15.9-24.2	14.0-21.9	11.1-17.6	10.3-16.1	10.4-15.5	9.6-14.0	9.1-13.3	7.7-11.2	8.3-12.1	9.7-14.1	9.5-13.5	9.0-12.5	9.1-12.2	9.4-12.3
	Beilin District	610103	19.8	19.3	17.1	15.3	13.9	13.9	12.6	12.5	12.1	11.7	11	11.4	11.9	11.3	11.1	11.6	11.7
			17.1-22.5	16.7-21.9	14.7-19.6	13.2-17.7	11.9-16.3	11.7-16.2	10.7-14.5	10.8-14.2	10.8-13.5	10.5-12.9	9.9-12.2	10.2-12.8	10.5-13.4	10.0-12.8	10.0-12.5	10.5-12.8	10.6-12.8
	Bin County	610427	45.6	45.9	46.2	47.5	50.7	52.7	52.4	58.7	58.8	55.3	46.6	38.7	29.6	22.7	20.5	17.9	16.3
			39.3-52.0	39.5-52.5	39.3-53.6	39.6-56.3	41.9-60.4	43.8-62.2	43.3-61.4	49.0-69.4	49.3-69.0	47.3-64.1	40.7-53.1	34.0-43.9	26.0-34.0	19.9-26.3	18.1-23.4	16.1-20.1	14.7-18.0
	Chang'an District	610116	30.6	28.2	25.6	22.6	18.5	17.6	16.3	14.4	15.5	15.2	13.9	14.7	14.2	14.1	14	14.2	14.1
			26.2-35.3	24.0-32.3	21.7-29.5	19.1-26.4	15.4-21.7	14.5-21.0	13.6-19.3	12.3-16.7	13.6-17.6	13.3-17.1	12.0-16.0	12.7-16.9	12.3-16.3	12.2-16.2	12.3-15.8	12.6-15.9	12.5-15.6
	Changwu County	610428	47.7	51.1	52.2	51.4	52.3	54.7	54.6	53.3	61	59.4	55.7	42.9	30.4	19.3	14.7	12.2	9.8
			41.1-54.6	44.0-58.4	44.8-59.8	44.0-59.5	44.9-60.9	46.9-63.6	47.0-62.7	46.7-60.1	55.1-67.2	53.8-65.0	50.1-61.3	37.9-47.6	26.8-34.0	17.1-21.7	13.1-16.4	11.0-13.5	8.8-10.8
	Chencang District	610304	45.8	45.7	44.9	42.8	38.2	33.6	26.3	20.2	16.4	16.3	16.5	16.9	17.1	17.8	17.2	16.7	17.6
			39.6-52.2	39.7-51.7	38.8-51.0	36.8-49.1	33.0-43.9	29.2-38.5	22.9-30.0	17.8-23.0	14.4-18.4	14.4-18.5	14.3-18.9	14.5-19.6	14.7-20.0	15.3-20.6	15.0-19.6	14.7-18.8	15.7-19.5
	Chengcheng County	610525	56	53.7	55.4	56.4	53	49.7	46.7	50.2	47.5	39.9	36.2	32.6	27.8	22.5	19.4	16.7	14.2
			48.6-64.4	46.2-61.8	47.0-64.4	47.5-66.2	44.7-62.5	41.5-58.3	39.5-54.4	43.0-58.1	41.1-54.0	35.2-44.9	32.0-40.8	28.8-37.2	24.4-31.7	19.8-25.5	17.2-21.7	15.0-18.5	12.9-15.6
	Chenggu County	610722	66.6	63.8	61.1	61.3	57.7	55.2	52.8	49.1	42.8	40	36.3	34.9	35.4	34.9	33.9	31.5	29.6
			57.9-75.7	55.1-73.3	52.1-70.5	52.0-71.7	48.8-67.7	46.2-64.9	44.4-61.6	41.8-56.9	36.7-49.1	34.9-45.4	31.5-41.5	30.2-40.3	30.5-41.3	30.3-40.6	29.4-39.0	27.9-35.9	26.4-33.3
	Chunhua County	610430	49.6	48.6	46.9	52.1	53.9	57	54.3	53.5	52.4	54.1	44.6	38.9	31.4	24.4	17.8	14.5	12.5
			39.7-61.0	39.0-59.6	37.6-57.3	42.2-63.3	44.1-65.5	47.2-68.1	45.9-63.3	46.7-61.0	47.2-57.6	49.8-59.2	40.5-48.9	34.7-43.3	27.7-35.3	21.6-27.7	15.8-20.0	13.0-16.1	11.2-13.8
	Dali County	610523	64.3	66.1	69.1	68.2	72	68.4	60.4	55.6	54.4	47.3	42.1	38.3	33.6	29.8	27.1	23.3	20.9
			55.5-73.0	57.4-74.9	59.7-78.6	58.8-78.3	62.0-82.7	59.6-78.3	53.1-68.3	49.8-61.9	49.1-59.9	42.5-52.4	37.6-47.3	33.6-43.5	29.3-38.6	26.0-34.1	24.0-30.5	20.9-25.8	18.9-23.0
	Danfeng County	611022	58.8	60.2	56.6	54.6	51.9	48	45.1	39.4	35	33.1	30	29.5	28.2	25.9	24	21.3	20.2
			49.8-68.2	50.9-69.7	47.6-65.6	46.1-63.9	43.6-61.0	39.9-56.4	37.8-52.9	33.9-45.2	31.1-39.2	29.5-36.8	26.4-33.7	25.7-33.4	24.4-32.2	22.3-29.8	20.9-27.3	18.8-24.2	17.9-22.6
	Dingbian County	610825	63.6	55.6	50.3	41.8	35.5	26.4	21.6	17.2	14.4	12	12.4	12.4	13.4	13.8	15.3	14.4	14.4
			54.2-73.8	47.3-64.4	42.5-58.1	35.5-48.6	29.9-41.6	21.9-31.1	18.1-25.3	14.7-20.0	12.5-16.4	10.4-13.6	10.8-14.2	10.6-14.3	11.4-15.4	11.9-16.0	13.4-17.5	12.8-16.3	12.8-16.0
	Feng County	610330	59.4	58.4	56.8	58.5	53.8	51.4	48.4	42.3	38.2	33.7	31	32.7	30.2	28.9	29.4	27.7	28
			51.0-68.2	50.3-66.7	48.7-64.8	50.2-67.1	46.3-62.0	44.7-58.9	42.4-54.9	37.6-47.3	34.2-42.5	30.1-37.4	27.6-34.9	28.7-37.2	26.2-34.9	25.3-33.0	26.0-33.3	24.8-30.8	25.3-31.0
	Fengxiang County	610322	40.8	39.3	39.8	37.8	36.9	37.5	36.3	33.6	34.6	33.4	27.7	24.2	22.9	18.9	18.3	17.9	18.2
			35.5-46.5	34.1-44.5	34.2-45.5	32.3-43.7	31.4-42.6	32.2-43.3	31.6-41.5	29.8-37.7	31.0-38.3	30.0-37.0	24.7-31.1	21.2-27.5	20.0-26.2	16.6-21.4	16.2-20.5	16.1-19.8	16.5-20.0
	Foping County	610730	74	71.6	69.1	70.9	60.4	59.7	56.4	48	36.9	37.3	30.5	27	29.4	27.5	28	24.9	23.8
			60.5-89.3	57.9-86.7	55.6-84.1	56.3-87.6	46.9-75.6	46.2-74.5	44.2-69.6	38.4-59.1	29.5-45.0	30.0-45.4	24.4-37.1	21.6-32.9	23.8-35.8	22.4-33.3	23.2-33.5	21.0-29.4	20.3-27.7
	Fu County	610628	65.1	65.3	61.2	57.9	50.9	47.2	44.8	39.8	33.6	29.9	24.3	21.2	18.1	17.6	16.2	15.6	14.7
			53.5-77.7	53.8-77.9	50.7-72.8	48.1-68.6	43.0-59.8	40.7-54.7	39.4-50.9	35.5-44.5	30.5-37.0	27.0-32.8	21.6-27.1	18.5-24.2	15.7-20.8	15.3-20.1	14.3-18.3	13.9-17.4	13.2-16.2
	Fufeng County	610324	59.6	55.1	50.8	47	39.3	31.2	31.2	30.2	26.7	27.2	30.4	27.1	26.4	26.1	25	24	22.9
			43.3-76.4	42.4-68.6	41.1-61.4	39.6-55.1	33.5-45.3	26.7-36.0	26.0-36.8	24.6-36.4	21.3-33.1	21.5-34.3	24.1-38.8	22.0-34.2	21.7-32.8	22.2-31.2	22.1-28.8	21.7-26.6	20.7-25.2
	Fugu County	610822	76.2	65.9	65.5	53.6	56.9	57.4	54.4	54.5	53.4	42.4	30.4	20.3	14.8	8.8	8.8	8.4	7.9
			65.7-87.1	56.5-75.4	55.9-75.4	45.5-62.1	48.3-65.8	48.6-66.9	46.7-62.2	47.8-61.3	48.2-58.9	38.9-46.5	27.5-33.6	17.9-22.8	12.9-16.8	7.7-10.1	7.7-10.0	7.4-9.5	7.0-8.9
	Fuping County	610528	55.9	53.3	51.2	48.5	39.3	39.9	36.8	31.7	30.4	27.9	28.1	27.7	27.9	27	27.1	23.3	21.6
			48.3-63.3	46.1-60.5	43.9-58.4	41.5-55.8	33.3-45.6	33.4-46.6	31.0-42.4	27.4-36.2	27.0-34.0	24.9-31.1	25.0-31.4	24.3-31.2	24.4-31.6	23.6-30.7	23.9-30.6	20.8-26.0	19.4-23.9
	Ganquan County	610627	77	69.8	60.6	49.8	41.5	34.7	32.2	30.3	26.4	26.2	28.5	29.1	29.8	30.3	28.1	27.4	24.9
			59.2-96.3	55.9-84.6	50.5-71.3	42.4-57.8	35.0-49.3	28.3-42.5	25.4-40.5	23.4-38.7	20.0-33.9	19.8-33.9	21.8-37.0	22.9-37.0	24.2-36.7	25.5-36.1	24.5-32.4	24.5-30.5	22.5-27.4
	Gaoling County	610126	40.7	38.4	35	33.7	34.3	34.1	34.1	31	27.3	20.9	19.2	18.9	17.8	18.3	19.2	18.6	18.2
			33.8-48.0	32.1-45.4	29.3-41.0	28.2-39.4	29.3-39.9	29.5-39.4	30.0-38.6	27.6-34.6	24.7-30.2	18.9-23.1	16.9-21.5	16.5-21.6	15.4-20.6	15.8-21.0	17.0-21.8	16.5-20.7	16.3-20.1
	Hanbin District	610902	42.8	41.2	39.4	37.5	37.6	38.4	35	33.4	30.2	25.8	20.9	18.3	16.6	14.4	13.4	12.7	11.9
			35.7-50.8	34.3-48.7	32.7-46.3	31.4-44.0	31.8-43.8	32.7-44.2	30.0-40.1	29.1-37.9	26.8-33.7	23.2-28.5	18.8-23.3	16.4-20.6	14.6-18.8	12.7-16.3	11.9-14.9	11.4-14.1	10.8-13.1
	Hancheng City	610581	53.7	48.9	45	43.4	42.2	43.1	37.7	34.1	29.7	24.8	21.4	19.7	18.8	15.4	14.3	12.9	12.4
			46.0-61.8	41.7-56.0	38.1-51.9	36.8-50.6	35.4-49.4	35.7-50.8	31.6-44.0	29.1-39.5	25.7-33.8	21.5-28.1	18.4-24.6	16.7-22.8	15.9-21.9	13.1-18.0	12.3-16.6	11.2-14.9	10.9-14.1
	Hantai District	610702	48.7	47.4	43.4	38.3	35.4	31	29.9	26.6	22.5	22.2	21.2	20.6	20.3	20	19.8	19.1	18.7
			40.8-57.2	40.0-55.4	36.7-50.4	32.5-44.3	30.3-40.6	27.0-35.4	26.5-33.9	23.9-29.6	20.4-24.8	20.0-24.4	18.9-23.7	18.1-23.5	17.7-23.3	17.6-22.7	17.6-22.2	17.2-21.0	16.9-20.5
	Hanyin County	610921	65.8	65.6	64	61.4	62.4	58.4	57.2	52.7	47.1	46.5	41.4	39.9	39.9	40.8	39.3	37.4	36.8
			42.0-100.2	44.1-96.2	44.9-91.0	45.3-82.7	47.7-80.6	46.9-72.0	48.1-67.7	46.1-59.6	41.6-53.3	39.9-53.7	34.2-49.2	31.4-49.7	29.6-52.1	29.1-55.2	26.7-55.0	24.6-53.9	22.9-54.2
	Hengshan County	610823	70.8	64.4	65.1	64.9	67.7	62.3	54.3	51.7	42.6	31.8	27.5	24.8	21.3	18.4	17.7	16.1	15.4
			57.5-85.8	51.8-78.5	52.4-79.4	51.9-80.1	53.7-83.6	49.0-76.5	43.0-66.3	42.2-62.6	34.8-51.0	25.8-38.3	22.3-33.1	20.0-30.1	17.3-25.9	15.0-22.3	14.7-21.2	13.5-18.9	13.2-18.0
	Heyang County	610524	58.8	55.6	52	43.7	39.4	37.1	34	31.7	27.8	27	23.2	24.1	24.1	24.8	23.3	21	19.4
			50.9-66.8	48.4-63.0	44.9-59.2	37.5-50.1	33.9-45.3	32.1-42.4	29.9-38.6	28.3-35.5	25.0-30.7	24.2-29.9	20.6-26.1	21.0-27.5	20.9-27.6	21.6-28.4	20.6-26.1	18.8-23.2	17.6-21.4
	Hu County	610125	27.6	25	23.3	20.2	17.8	17.8	16.6	15.3	14	12.1	12	12.5	14.1	14.9	15.5	14.9	13.6
			22.6-33.0	20.6-30.0	19.3-27.9	16.5-24.4	14.4-21.4	14.5-21.4	13.7-19.7	13.1-17.8	12.3-15.9	10.7-13.5	10.6-13.5	11.0-14.2	12.4-16.0	13.0-17.0	13.8-17.5	13.4-16.6	12.3-15.0
	Hua County	610521	47.3	46.7	45.5	45.2	40.6	43	40.1	38.2	36.5	35.9	35.2	32.4	29.4	26.6	24.8	22.5	20.9
			40.9-53.8	40.5-52.9	39.3-51.8	38.8-52.0	35.0-46.7	37.4-49.4	35.3-45.6	34.3-42.6	32.9-40.2	32.4-39.5	31.5-39.3	28.4-36.9	25.6-33.5	23.4-30.2	22.1-27.8	20.3-24.8	19.0-23.1

Province	County	County Code (2012)	Under-5 Mortality Rate (per 1000 births)																
			1996	1997	1998	1999	2000	2001	2002	2003	2004	2005	2006	2007	2008	2009	2010	2011	2012
	Huangling County	610632	54.4	55.2	52.3	52.4	52.1	50.2	44.8	38.8	33.4	29.7	29.7	32.8	31.3	37.4	33.9	32.3	30
			44.8-64.9	45.7-65.8	43.3-62.2	43.1-62.6	42.7-62.1	41.4-59.9	37.3-52.5	33.3-44.8	29.5-37.7	26.4-33.3	26.1-33.4	28.7-37.1	27.3-35.5	32.7-42.7	30.0-38.3	29.0-36.0	26.9-33.1
	Huanglong County	610631	68.8	68.8	67.5	65	66.9	64.4	56.3	49.3	39.3	31.9	25.2	23.2	24.3	27.3	25.2	24.5	23.5
			54.6-85.1	54.7-84.7	53.5-83.8	51.3-81.0	52.9-83.5	51.0-79.3	45.0-68.6	40.5-59.1	32.8-46.1	26.7-37.5	21.0-29.7	19.3-27.4	20.3-28.8	23.0-32.0	21.5-29.3	21.3-28.4	20.6-26.8
	Huayin City	610582	48.7	45.1	41.9	37.5	35.1	35.7	36.5	37	33.1	33.4	30.8	29	26.4	25.4	22.7	20.9	19.6
			41.6-56.2	38.4-51.9	35.3-48.5	31.7-44.0	29.3-41.2	29.7-42.0	30.6-42.6	32.0-42.5	29.6-37.0	30.1-37.1	27.5-34.4	25.6-32.7	23.1-29.9	22.2-29.0	20.1-25.7	18.6-23.4	17.5-21.6
	Jia County	610828	94.8	83.9	77.7	70.5	55.6	44	38.5	36.8	34.8	30.1	25.4	23	18.9	16.9	15.7	15.2	14.6
			79.6-111.4	69.9-98.9	63.7-92.0	56.5-85.4	43.6-68.7	34.2-54.9	29.9-48.1	29.1-45.8	27.5-42.8	23.7-37.1	20.1-31.5	18.1-28.5	15.0-23.3	13.6-20.7	12.8-19.0	12.7-18.1	12.4-17.2
	Jingbian County	610824	67.5	56.4	53.8	41	41.5	34.4	25.1	24.3	24.4	17.6	15.2	13.3	11.9	11	9.7	8.8	8.2
			57.8-77.7	48.0-64.5	45.8-61.7	34.7-47.6	34.6-48.7	28.4-40.9	20.8-29.8	20.2-28.7	20.5-28.5	14.8-20.8	12.6-18.0	11.0-15.9	9.8-14.2	9.1-13.0	8.2-11.5	7.5-10.2	7.1-9.5
	Jingyang County	610423	38.6	37.9	41.1	42.7	42.2	43.3	38.5	35.4	32.7	29.4	24.8	23.6	22.9	21.4	20	18.2	16.8
			33.6-44.2	32.7-43.6	34.9-47.8	36.2-50.1	35.5-49.4	36.3-50.7	32.8-44.8	30.5-40.8	28.6-37.0	26.1-33.0	22.0-27.8	20.9-26.9	20.0-26.1	18.8-24.3	17.7-22.6	16.4-20.2	15.2-18.6
	Jintai District	610303	29.7	31.4	30.4	28.3	25.4	24.2	23.2	24	23.7	23.4	24.1	23.8	22.9	22.1	22.3	22.1	22.3
			25.7-33.7	27.1-36.0	26.0-35.1	24.2-32.9	21.4-29.6	20.4-28.2	19.7-26.9	20.6-27.6	20.5-27.0	20.6-26.5	21.0-27.4	20.6-27.6	19.7-26.7	19.0-25.8	19.3-25.9	19.4-25.4	19.7-25.3
	Lan'gao County	610925	52.4	50.4	46.9	47.1	46.2	41.4	40.5	38.3	33	31.1	30.1	29.8	28.6	27.2	24	21.5	19.6
			43.9-61.6	42.4-59.2	39.5-54.9	39.8-54.7	39.2-53.1	35.9-47.1	35.6-45.7	34.3-42.6	30.0-36.4	28.0-34.3	26.8-33.5	26.1-33.9	25.0-32.9	23.9-30.9	21.4-27.0	19.3-23.7	17.7-21.5
	Lantian County	610122	65.6	58.5	49.5	40.3	31.3	25.9	21.3	18.3	16.7	13.3	13.4	14	14.6	15.1	17.8	17.7	17.9
			49.4-84.2	46.1-73.1	40.1-60.0	33.9-48.4	26.9-36.6	22.6-29.7	18.6-24.2	15.8-21.3	14.1-20.0	10.8-16.4	10.7-17.0	11.1-17.8	11.8-18.1	12.7-18.2	15.5-20.7	15.8-20.0	16.1-20.0
	Lianhu District	610104	24	21.7	18.8	17.8	17.2	17.2	16.6	18.2	15.2	13.9	13	15.1	14.6	16.7	15.9	15.8	15.6
			19.8-28.6	17.8-26.0	15.4-22.7	14.4-21.8	13.8-21.1	13.7-21.1	13.4-20.0	15.1-21.6	13.0-17.6	11.9-16.0	11.1-15.0	12.9-17.5	12.4-17.0	14.4-19.3	13.8-18.1	14.0-18.0	13.8-17.5
	Lintong District	610115	26.6	23.7	20.7	19.4	16.3	13.6	11.9	10.7	9.7	9	9.7	11.2	12.1	12.9	14	13.7	13.8
			19.7-34.1	18.6-29.2	16.9-24.8	16.4-22.7	13.7-19.0	11.1-16.4	9.5-14.8	8.3-13.6	7.4-12.5	6.8-11.9	7.5-12.6	8.8-14.2	9.8-14.9	10.8-15.4	12.2-16.2	12.3-15.2	12.5-15.2
	Linwei District	610502	51.5	49.6	51.4	52.9	51.2	58	55	55.7	50.1	46.6	41.4	34.2	25	18.6	13.7	10.9	8.7
			44.3-58.8	42.7-56.5	44.0-58.8	45.3-60.5	44.1-58.7	50.4-66.2	48.5-62.0	50.1-62.0	45.4-54.9	42.3-51.3	37.0-46.2	30.1-39.0	21.7-28.7	16.2-21.3	12.0-15.5	9.7-12.3	7.7-9.6
	Linyou County	610329	60.3	57.3	54.1	57.8	54.5	54	51.6	53.4	43.1	43.5	43.8	44.2	43.8	42.1	39.9	38.5	35.5
			50.0-71.6	47.4-68.1	44.7-64.3	47.4-69.2	44.4-65.3	44.2-64.7	42.7-61.3	45.5-61.6	37.9-48.7	38.4-48.7	38.5-49.3	38.6-49.9	38.0-49.7	36.7-48.1	35.2-45.3	34.3-43.2	31.7-39.4
	Liquan County	610425	41.5	40.8	39.6	38.8	34.7	36.6	38.5	36	34.9	35.1	33.9	30.4	28.9	25.7	20.9	18.6	15.1
			34.3-49.3	33.8-48.7	32.8-46.9	32.5-46.3	29.2-41.0	30.9-42.7	33.0-44.5	31.5-40.8	31.5-38.6	32.0-38.6	30.5-37.3	27.0-33.8	25.5-32.3	22.7-28.7	18.7-23.4	16.8-20.6	13.7-16.6
	Liuba County	610729	66.9	64.6	59.6	56.1	48.7	45.3	39.9	39.7	32.5	31.6	30.1	35.2	34.9	36.2	36.6	32.1	29.8
			57.4-76.8	55.0-74.0	50.4-68.6	47.4-65.6	40.6-57.3	37.4-53.8	33.3-46.9	33.8-46.1	28.4-36.9	27.9-35.7	26.3-34.2	30.6-39.9	30.2-39.9	31.5-41.5	32.2-41.5	28.6-36.1	26.6-33.1
	Long County	610327	66.8	64.7	58.1	52.8	49.2	34.1	29.7	26.5	23	22.7	25.9	27.6	31.8	30.6	28.4	26.3	25.1
			56.1-77.9	54.2-75.7	48.4-68.2	43.5-63.3	39.8-59.1	27.5-41.3	24.1-35.7	21.9-31.3	19.6-26.6	19.5-26.2	22.2-29.9	23.6-31.7	27.2-36.4	26.4-35.2	24.8-32.2	23.3-29.7	22.4-28.0
	Lueyang County	610727	70.8	70.4	65.2	60.9	53.5	50.9	46.8	43.1	37.9	36	33.4	33.8	32	32.1	32	27.7	26.3
			52.1-90.1	54.8-87.0	52.8-78.6	51.3-71.5	45.7-61.4	43.6-58.6	39.1-54.9	35.2-51.7	30.3-46.8	28.5-45.2	26.6-42.5	27.4-42.7	26.4-39.7	27.3-38.4	28.2-36.8	25.1-30.8	23.9-28.9
	Luochuan County	610629	52.6	50.6	49.1	46.7	44.9	42.8	41.8	44	44.5	44.9	45.9	45.8	43	38.1	33.5	30	27.3
			35.1-78.3	35.4-71.4	35.6-67.3	35.3-61.2	34.9-56.8	34.7-51.9	35.2-49.2	38.4-49.9	39.3-50.3	38.9-51.8	37.9-54.8	35.8-57.4	31.6-56.7	26.0-52.5	21.6-48.2	18.0-44.6	15.6-42.6
	Luonan County	611021	79.6	81.8	77.6	72.5	65.3	56.5	48.8	48.6	48.5	43.6	35.8	28.8	23.1	16.5	15.8	14.9	14.4
			68.2-92.0	69.9-93.7	66.0-89.4	61.7-83.8	55.5-75.7	47.5-65.8	41.3-56.1	42.2-55.3	43.5-54.0	39.1-48.3	31.7-40.0	25.2-32.7	19.9-26.5	14.2-19.0	13.8-18.1	13.1-16.9	12.8-16.2
	Mei County	610326	50.8	49.8	45.9	44.1	41	40.4	38.3	32.8	32	32.5	31.5	32.8	35	35.1	33.2	31.9	32
			42.9-58.9	42.1-57.9	38.9-53.3	37.3-51.5	34.8-47.8	34.4-47.1	33.1-44.3	28.6-37.3	28.7-35.4	29.5-35.7	28.4-34.8	29.2-36.5	31.0-39.2	31.0-39.3	29.8-37.2	28.9-35.3	29.0-35.3
	Mian County	610725	57.5	57.7	55.7	57.1	56	52.7	49.9	45.2	40.2	35	31.9	29.1	28.9	27.4	28.4	26.4	24
			49.8-66.2	49.7-66.5	47.3-65.0	48.4-67.2	47.1-65.7	44.3-61.5	42.6-58.1	39.0-51.9	35.3-45.3	31.2-39.2	28.4-35.6	25.8-32.9	25.3-32.9	24.2-31.0	25.3-31.9	23.8-29.2	21.7-26.4
	Mizhi County	610827	92.7	90.5	83.6	76.2	65	48.9	46.3	46.8	45	39.9	35.7	31.1	21.6	18.9	17.8	16.9	16.4
			68.2-117.9	70.6-111.8	68.1-100.4	64.4-89.1	55.8-74.4	41.9-56.4	38.7-54.4	38.3-56.6	36.1-55.6	31.4-50.2	28.3-45.5	25.0-39.6	17.7-26.9	15.9-22.6	15.4-20.5	15.0-19.2	14.5-18.3
	Nanzheng County	610721	61.7	59.8	56.9	57.1	54.8	50.3	44.5	40.1	35.5	33.4	32.4	31.1	33.1	32.3	32.8	31	30.3
			46.3-78.5	46.7-74.3	45.6-70.0	47.3-69.0	45.4-65.4	41.8-59.6	36.5-53.1	32.5-48.8	28.3-43.8	26.3-41.3	25.5-40.7	24.8-39.1	27.0-40.9	26.9-39.1	28.0-38.7	27.1-35.7	26.8-34.5
	Ningqiang County	610726	85	85.3	84.1	86.3	87	83.2	79.6	70.3	58.3	47.5	41.6	34.4	32	30	30.3	26.2	23.4
			63.0-109.2	66.0-106.9	66.9-103.6	71.5-102.8	72.9-102.7	70.2-97.6	66.0-94.2	58.4-84.3	46.9-70.8	38.0-58.6	33.4-51.7	28.2-42.7	26.7-39.2	25.7-35.6	26.7-34.5	23.8-29.0	21.2-25.7
	Ningshan County	610923	50.7	48.2	46.2	46.3	47.5	45.3	41.2	39.4	37.3	30.1	26.8	25.1	22.7	21.9	21.6	19.1	19.1
			40.2-62.9	38.3-60.3	36.7-57.8	36.9-57.7	38.1-58.5	36.5-55.0	33.7-49.1	33.3-45.9	32.7-42.2	26.5-33.9	23.6-30.3	21.7-28.6	19.6-26.0	18.9-25.1	18.9-24.8	17.0-21.7	17.0-21.4
	Pingli County	610926	59.1	57.1	56.9	47.1	50.1	43	38.8	36.7	34.1	29.3	27	26.1	25.8	25.2	26.1	24.2	23.1
			45.9-74.4	44.4-72.8	43.9-72.8	36.0-60.3	38.8-63.9	33.4-54.1	30.7-48.2	29.8-44.6	28.7-39.9	24.8-34.1	22.7-31.5	22.1-30.3	21.7-30.1	21.4-29.4	22.5-30.5	21.2-27.8	20.3-26.1
	Pucheng County	610526	41.2	40.7	40.5	39.8	41.2	40.2	34.5	27.8	26.3	25.3	24.9	27.2	27.3	23.2	21.4	18.9	16.8
			35.5-46.9	35.2-46.2	34.7-46.3	34.1-45.7	35.4-47.3	35.1-45.8	30.3-39.0	24.9-30.9	23.6-29.0	22.8-27.9	22.2-27.9	23.8-30.9	23.7-31.2	20.2-26.5	19.0-24.0	16.9-20.9	15.2-18.5
	Qian County	610424	55.6	54.8	53.3	57.5	56.6	56.9	61.7	62.4	51.4	50.9	47.1	40	32.6	29.9	21.5	17.6	15.8
			48.3-63.1	47.6-62.1	46.0-61.0	49.4-66.2	48.3-65.0	49.0-65.3	54.1-69.8	55.8-69.5	46.4-56.5	45.9-56.2	42.1-52.7	35.2-45.3	28.5-37.3	26.2-34.2	19.0-24.2	15.7-19.6	14.2-17.5
	Qianyang County	610328	50.1	47.9	43.6	36.4	37.8	40.7	38.1	34.8	36.7	36.4	35	35.2	31.8	27.2	25.3	23.5	22.2
			41.9-58.5	40.2-56.1	36.3-51.2	30.1-43.3	30.9-45.1	33.3-48.7	31.6-44.8	29.7-40.2	32.4-41.4	32.3-40.7	30.8-39.3	30.7-39.8	27.6-36.2	23.6-31.2	22.2-28.7	20.9-26.5	19.8-24.7
	Qindu District	610402	23.8	23.9	22.7	24.3	22.2	22	22.8	23.8	24.9	25.6	22.1	20.2	16.6	12.4	9.5	8.9	7.7
			20.2-27.5	20.3-27.5	19.4-26.3	20.7-28.3	19.0-25.8	18.8-25.6	19.6-26.3	20.8-26.9	22.4-27.5	23.2-28.1	19.9-24.2	17.9-22.5	14.6-18.6	11.0-14.0	8.5-10.7	8.0-9.9	7.0-8.4
	Qingjian County	610830	80.4	75.3	69.3	62.2	57.1	51.2	47.1	48	39.1	30.1	21.8	15.8	12.6	12.4	11.7	11.6	11.5
			67.7-93.7	63.3-87.6	58.1-80.8	51.7-73.5	47.0-67.7	41.9-61.2	39.0-55.4	40.4-56.0	33.3-45.0	25.6-34.9	18.4-25.5	13.1-18.5	10.4-14.9	10.4-14.7	9.9-13.8	9.9-13.5	10.0-13.2
	Qishan County	610323	51.7	49.5	46.9	44	41.1	40.1	38.7	35	31	31.1	27.5	26.9	25.2	25.8	25.4	25	25.3
			33.0-78.8	33.1-72.3	32.9-66.9	32.2-59.5	31.1-53.2	31.8-49.8	32.3-46.0	30.7-39.6	28.0-34.2	27.6-35.1	22.8-32.5	20.8-33.7	18.2-33.6	17.2-36.4	15.7-37.3	14.9-38.1	14.3-40.3
	Sanyuan County	610422	44.5	40.5	44	45.2	41.6	47.1	45.9	42.7	40.6	37.8	29.2	25.4	22.8	20.8	18.1	15.7	14.2

Province	County	County Code (2012)	Under-5 Mortality Rate (per 1000 births)																
			1996	1997	1998	1999	2000	2001	2002	2003	2004	2005	2006	2007	2008	2009	2010	2011	2012
			38.3-51.1	34.8-46.6	37.5-50.8	38.4-52.2	35.5-47.9	41.0-53.7	40.6-51.9	38.4-47.4	36.9-44.6	34.3-41.5	26.1-32.6	22.3-28.8	19.8-26.2	18.1-23.8	16.0-20.4	14.0-17.5	12.7-15.6
	Shangnan County	611023	85.5	86.1	84.5	75.9	77.6	73.4	61.8	59.2	56	45.9	35.2	32.7	28.2	24.2	22.1	20.9	19.6
			69.9-103.1	69.8-104.1	68.5-102.5	60.8-93.4	61.5-95.6	58.1-90.1	48.9-75.1	48.5-71.2	46.2-66.2	37.7-54.6	28.8-42.0	26.7-39.2	23.0-33.9	19.8-29.0	18.5-26.3	17.7-24.5	16.8-22.7
	Shangzhou District	611002	69.8	71.1	73.4	72.2	70	64.9	58	54.5	49.8	40.2	34.2	28.5	24.5	19.6	19	17.4	15.6
			60.6-79.2	61.7-80.5	63.7-83.6	62.1-82.7	60.3-80.3	56.5-74.2	51.2-65.8	48.7-60.8	44.8-55.0	36.0-44.5	30.3-38.6	24.8-32.7	21.1-28.5	16.9-22.7	16.5-21.7	15.3-19.7	13.9-17.5
	Shanyang County	611024	112.6	113.3	118.1	115.6	106.1	85.1	64.5	52.5	46	39.1	29.4	26.3	22.3	16.8	16.2	15.3	14.5
			83.4-143.4	89.2-139.4	97.3-141.4	98.4-134.5	90.9-122.6	70.9-101.2	52.5-78.6	41.8-65.4	35.6-58.9	30.0-50.9	22.6-38.0	20.5-33.5	17.8-27.8	13.9-20.3	13.8-19.2	13.1-17.6	12.7-16.6
	Shenmu County	610821	61.1	55.7	55.8	45.5	47.9	37	28.2	21.1	24.5	16.3	16.2	17.5	13.8	10.6	9	7.5	6.9
			50.0-73.8	45.4-67.4	45.1-67.5	36.5-56.0	37.8-59.2	28.9-46.1	22.2-34.9	16.9-25.9	19.7-29.7	13.1-19.9	13.0-19.6	14.0-21.2	11.1-16.9	8.6-12.9	7.4-10.8	6.3-8.8	5.9-8.0
	Shiquan County	610922	63.8	62.5	61.7	66.6	69.6	67.9	66.7	59.5	48.9	40.1	35.6	33.9	33.9	33.7	32.6	30.2	27.1
			55.1-72.4	54.2-70.8	53.1-70.1	57.4-76.3	60.1-79.9	59.2-77.7	58.9-75.5	53.4-66.3	44.1-53.8	36.1-44.4	31.6-39.9	29.7-38.7	29.5-39.0	29.4-38.7	28.9-36.7	27.0-33.4	24.5-29.7
	Suide County	610826	90.2	85.1	82.7	79.4	74.2	70.3	68.7	63.7	57	48.1	38.5	32.7	24.8	20.4	18.2	16.9	15.9
			77.7-103.0	73.1-97.8	70.8-95.6	67.4-92.0	62.7-86.8	59.5-82.0	58.6-79.9	54.8-73.4	49.6-64.7	42.5-54.0	34.1-43.2	29.1-37.1	21.9-28.1	18.1-23.0	16.3-20.4	15.2-18.7	14.4-17.5
	Taibai County	610331	61.4	58.7	56.6	57.3	56	54.5	54.3	49.3	43.7	39.3	34.8	31.5	31.3	26.7	26.6	25.9	24
			51.6-71.6	49.7-68.6	47.8-65.9	48.5-66.4	47.8-64.3	47.3-62.2	48.0-61.4	44.5-54.8	39.7-48.0	35.6-43.2	31.0-38.9	27.6-35.7	27.3-35.8	23.3-30.6	23.6-29.9	23.2-28.6	21.7-26.3
	Tongguan County	610522	48.3	47	44	44.8	45	45.3	43.6	42.1	39.7	37.4	34.1	32.4	29.9	27.7	25.5	22.6	20.4
			41.2-55.9	40.3-54.2	37.4-50.7	38.0-51.5	38.7-51.7	39.4-51.8	38.5-49.4	37.8-47.0	36.0-43.7	33.8-41.2	30.5-38.1	28.4-36.9	26.0-34.1	24.4-31.4	22.7-28.6	20.4-24.9	18.5-22.4
	Wangyi District	610202	44.2	48.7	45.5	43.6	40.6	41.5	39.5	34.3	37.2	30.8	27.2	24.4	23	18.3	18.3	18	17.7
			36.7-52.3	40.6-57.5	38.0-53.8	36.2-52.0	33.9-48.1	35.1-48.4	33.7-45.6	29.9-38.9	33.6-41.0	28.2-33.7	24.6-29.8	21.7-27.1	20.3-25.8	16.2-20.7	16.4-20.6	16.2-19.9	16.1-19.5
	Weibin District	610302	25.7	23	21.5	21.3	18	17.7	16.8	15.6	13.3	14.7	16.2	16	18.1	17.3	16.5	16.1	16.1
			21.3-30.3	19.2-27.2	18.0-25.4	17.7-25.3	15.0-21.3	14.8-20.9	14.1-19.6	13.5-17.9	11.9-14.9	13.2-16.2	14.5-18.0	14.2-17.9	15.9-20.5	15.2-19.6	14.7-18.6	14.5-17.9	14.6-17.7
	Weicheng District	610404	31.8	30.8	32.1	31.2	29.1	28	26.3	24.4	29.7	31.6	30.1	27.2	21.2	17.4	12	10.1	8.9
			27.5-36.2	26.7-34.9	27.7-36.7	26.9-36.1	24.9-34.3	23.7-33.0	22.4-30.6	20.9-27.9	26.3-33.1	28.4-35.1	26.9-33.4	24.1-30.3	18.7-23.7	15.4-19.5	10.8-13.4	9.1-11.2	8.1-9.8
	Weiyang District	610112	21.8	20.2	19.1	16.2	14.2	14	13.2	12.8	12	10.3	10.4	9.6	9.4	10	10.1	10.2	10.1
			18.4-25.3	17.0-23.5	16.1-22.2	13.7-19.1	11.9-16.7	11.7-16.5	11.1-15.3	11.1-14.7	10.8-13.5	9.3-11.5	9.3-11.7	8.5-10.8	8.2-10.6	8.7-11.3	8.9-11.4	9.2-11.4	9.1-11.1
	Wubu County	610829	105.2	94.7	86.4	78.7	66.8	48.2	50.3	33.1	28.2	32.5	27.8	25	22.2	18.5	17.1	16.3	15.6
			88.8-122.9	79.5-110.5	72.3-100.9	64.8-93.6	54.1-80.3	38.7-58.5	40.4-60.8	26.8-40.2	22.9-34.1	26.3-39.2	22.4-33.7	20.0-30.3	17.8-27.0	15.0-22.5	14.2-20.6	13.7-19.2	13.3-18.2
	Wugong County	610431	49.2	48	46.7	42.5	41	35.3	34.1	28.6	28.4	29	31.2	28	25.3	22	17.9	15.4	13.3
			36.4-62.5	37.8-59.1	38.6-55.8	36.1-49.7	35.0-47.7	29.2-42.2	27.9-41.5	23.0-35.4	22.4-36.0	22.6-36.8	24.7-39.1	22.5-34.9	20.8-30.7	18.7-26.0	15.7-20.6	13.9-17.0	12.0-14.6
	Wuqi County	610626	48.9	48.4	52.4	49.4	50.6	42.9	37	32.8	29	25.8	21.4	18.3	18.1	17.6	16.1	16	16
			39.8-59.0	39.6-58.9	42.7-63.5	40.6-59.8	41.6-60.5	35.6-51.1	30.9-43.4	28.1-37.9	25.6-32.6	22.8-28.9	18.8-24.2	15.9-20.8	15.7-20.6	15.3-20.1	14.1-18.3	14.2-18.0	14.3-17.7
	Xincheng District	610102	18.1	16.2	16.1	17.2	14.8	12.6	10.7	10.4	11.4	10.1	9.7	10.1	10.8	9.9	9.3	8.9	8.8
			14.2-22.8	12.6-20.3	12.7-20.2	13.5-21.8	11.5-18.8	9.7-15.9	8.3-13.3	8.4-12.8	9.3-13.7	8.2-12.1	8.0-11.7	8.2-12.1	8.9-12.9	8.2-11.8	7.8-10.9	7.6-10.3	7.7-10.1
	Xingping City	610481	55	53.8	52.3	49	52.2	49.9	55.2	52.4	50.4	48.4	44.6	35.4	28.6	22.8	17.8	15	12.8
			47.4-63.1	46.1-61.5	44.6-60.1	41.6-56.8	44.5-60.4	42.3-57.9	47.4-63.1	46.1-59.0	45.5-55.6	44.3-53.1	40.3-49.3	31.4-39.6	25.1-32.3	20.1-25.9	15.7-20.1	13.3-16.8	11.5-14.2
	Xixiang County	610724	93.3	94.2	88.4	86.1	81.8	79.5	78.3	63.7	49.6	43	35.2	30.2	28.4	25.2	22.8	19.7	17.6
			71.2-118.9	74.0-116.7	71.1-108.5	70.9-104.7	67.6-98.0	65.4-94.9	64.2-93.9	51.5-76.7	39.8-60.7	34.5-52.9	28.3-43.4	24.6-37.2	23.4-34.6	21.3-30.0	19.9-26.0	17.8-21.8	15.9-19.3
	Xunyang County	610928	65	61.2	59	49.2	41.6	38.1	35.6	30.7	28.3	25.2	22.6	22.1	22.1	21.4	21.9	20.9	20.4
			41.0-99.7	40.3-89.9	40.8-84.7	35.6-67.6	31.2-54.4	29.9-47.8	29.7-42.4	26.9-34.8	25.4-31.3	22.2-28.7	18.7-27.0	16.9-28.3	15.7-30.2	13.9-31.1	13.3-33.2	12.1-32.7	11.1-33.1
	Xunyi County	610429	50.6	50.6	48.8	53.1	64.7	73.4	69.2	58.5	52	43.5	31.8	26.1	22.5	18.6	14.8	12.3	11.1
			41.9-60.2	41.8-60.3	40.2-58.0	43.6-63.7	53.0-77.2	60.3-87.6	57.6-81.2	49.9-67.6	45.2-58.9	37.6-49.5	27.2-36.6	22.0-30.3	18.9-26.4	15.7-21.9	12.7-17.4	10.6-14.3	9.7-12.7
	Yanchang County	610621	63.9	62.7	59.7	61	57.5	50.5	42.9	41.4	32.2	29.2	22.7	20.4	18.6	18	16	15.1	14.5
			52.8-75.9	52.0-74.5	49.8-70.5	51.1-71.3	48.9-66.9	43.7-58.1	37.9-48.6	37.0-46.0	29.0-35.6	26.2-32.4	20.0-25.7	17.7-23.5	15.9-21.6	15.5-20.8	13.9-18.3	13.3-17.1	12.9-16.2
	Yanchuan County	610622	55.6	55.8	57.9	57.4	55	50.8	51.3	48.3	47	47	47.3	46.4	43.8	35.7	30.1	26.9	23.4
			48.2-63.3	48.2-63.8	49.8-66.6	49.1-66.9	46.7-64.8	43.0-59.7	43.9-59.8	42.1-55.6	41.5-53.6	41.2-52.9	41.1-53.7	40.0-53.3	37.8-50.3	30.9-40.9	26.4-34.2	23.9-30.4	21.1-26.1
	Yang County	610723	71.9	75.8	76.2	73.2	73.8	73.8	72.1	67.8	58.8	54.1	45.9	41.6	40.4	39.1	32.9	29.8	27.1
			62.5-81.8	65.5-87.0	64.6-87.9	61.8-86.1	62.2-87.0	61.9-87.3	60.7-84.5	57.8-78.9	50.3-67.4	47.2-61.2	40.0-52.2	36.2-47.9	35.1-46.7	34.2-44.9	29.0-37.6	26.7-33.4	24.5-30.1
	Yangling District	610403	42.8	46.7	45.8	47.8	42.2	39	37.2	25.4	18.3	15.6	16.4	13.4	13	11.6	10.4	9.2	8.1
			35.0-51.4	38.5-56.1	37.6-54.8	39.3-57.6	34.2-51.0	31.6-46.9	30.4-44.2	21.1-30.0	15.3-21.4	13.0-18.3	13.6-19.4	11.0-15.9	10.7-15.5	9.6-13.8	8.8-12.4	7.9-10.8	7.0-9.3
	Yanliang District	610114	24.8	23.2	20.5	18.6	17	16.3	15.6	14	13.9	13.4	15.6	15.7	16.9	17.7	18.4	17.9	18.8
			21.0-28.8	19.6-26.8	17.2-23.7	15.6-21.9	14.1-20.2	13.3-19.4	12.9-18.4	11.9-16.2	12.2-15.7	11.9-15.0	13.8-17.6	13.7-17.7	14.7-19.1	15.5-20.1	16.3-20.7	16.1-19.9	17.0-20.6
	Yanta District	610113	24.8	24.5	21.6	19.3	16.3	15.8	14.9	13	12.8	11.6	11.2	10.8	10.4	10.3	10.8	11.1	11.5
			21.4-28.1	21.3-27.8	18.6-24.6	16.6-22.2	14.0-18.8	13.6-18.1	13.0-16.9	11.5-14.6	11.5-14.2	10.4-12.8	9.9-12.6	9.4-12.3	9.0-12.0	9.0-11.8	9.6-12.1	9.9-12.2	10.4-12.6
	Yaozhou District	610204	55	58.2	54.6	54.2	52.9	48.4	42.8	38.8	36.8	31.4	26.1	21.7	20.4	17.6	17.1	16.6	16.7
			47.4-62.9	50.5-66.3	46.9-62.4	46.5-62.2	45.3-60.6	42.1-55.5	37.5-48.7	34.3-43.7	32.9-41.1	27.8-35.2	22.8-29.8	18.7-25.2	17.4-23.9	15.1-20.4	14.8-19.5	14.6-18.8	14.8-18.8
	Yichuan County	610630	63.4	64.2	61.1	56.4	50.7	47.9	45.9	39.3	34	31.9	27	22.5	21.1	18.3	16.8	15.9	15.2
			54.5-72.9	54.9-73.2	52.1-70.3	48.0-65.4	42.7-59.0	39.7-56.0	38.6-53.3	33.8-45.3	29.5-38.4	28.0-36.0	23.4-30.8	19.3-25.9	18.0-24.5	15.6-21.3	14.5-19.4	13.9-18.2	13.3-17.2
	Yijun County	610222	60.2	57.5	54.7	50.3	45.4	37	34.3	32.5	31.1	31.3	30.1	28.3	24.7	21.2	19.9	20.5	20.9
			50.2-70.7	48.2-67.7	45.5-64.1	41.4-60.0	37.1-54.1	30.2-44.6	28.4-41.0	27.5-38.1	26.8-35.6	27.0-35.9	25.8-34.8	23.9-32.8	20.9-28.6	18.1-24.6	17.2-23.0	17.9-23.4	18.4-23.6
	Yintai District	610203	47.1	47.7	46.1	44.6	39.9	41.6	42.3	37.7	38.1	35.7	32.9	33.1	32.4	24.8	22.3	20.8	19.6
			39.2-55.7	39.8-56.3	38.3-54.3	37.1-52.7	33.2-47.3	34.9-48.9	35.7-49.3	32.6-43.1	34.3-42.4	32.4-39.3	29.7-36.5	29.4-37.1	28.4-36.5	21.8-28.1	19.8-25.2	18.7-23.1	17.6-21.6
	Yongshou County	610426	52	51.7	52	53	54.6	56.1	55	51.9	58.9	58	55.4	48.7	40.6	27.4	21	16.8	14.5
			45.3-59.2	44.8-58.6	44.7-59.5	45.1-61.3	46.3-63.6	47.9-65.1	47.5-63.4	45.8-58.9	52.1-66.3	51.4-65.0	49.0-62.4	42.6-55.9	35.1-46.7	24.0-31.2	18.8-23.6	15.1-18.5	13.1-15.9
	Yuyang District	610802	66	56.1	51.4	47.2	40.8	35.6	30.2	27.5	33.2	33.4	31.5	33.4	33.3	33.1	32.4	32.3	32.3
			49.8-83.2	44.5-68.3	42.6-60.6	40.2-54.8	34.3-48.4	29.1-43.8	23.7-38.1	21.1-35.3	25.1-42.7	25.2-43.5	24.1-40.5	26.4-42.3	27.3-40.8	28.0-39.1	28.3-37.0	29.0-35.9	29.2-35.6

Province	County	County Code (2012)	Under-5 Mortality Rate (per 1000 births)																
			1996	1997	1998	1999	2000	2001	2002	2003	2004	2005	2006	2007	2008	2009	2010	2011	2012
	Zhashui County	611026	82.7	83.3	79.1	72	60.6	54.8	50	43	35	29.5	24.4	21.1	15.9	14.9	15.6	14.9	14.6
			71.4-94.0	72.5-94.3	68.3-89.9	62.0-82.3	52.1-69.4	47.6-62.7	43.8-57.0	37.8-48.4	31.0-39.4	26.1-33.4	21.2-28.1	18.1-24.5	13.4-18.6	12.7-17.3	13.4-18.0	13.0-17.0	12.8-16.4
	Zhen'an County	611025	80.2	81.4	79.1	74.2	66.4	55.9	46.3	35.8	32.5	31.4	28	26	23.7	19.3	19.6	18.6	18.4
			69.7-91.3	70.8-92.3	68.4-90.2	63.7-85.0	57.1-76.3	48.6-64.0	40.8-52.5	32.0-40.0	29.2-35.9	28.2-34.7	24.9-31.5	22.7-29.7	20.6-27.3	16.8-22.1	17.4-22.1	16.7-20.7	16.6-20.2
	Zhenba County	610728	79.6	82.6	79.2	82.8	79.5	77.7	70.1	63.5	48.1	38.8	33	29.5	27.9	27.4	26.9	23.8	22.2
			68.6-90.7	71.4-93.9	68.1-90.0	71.2-94.5	68.7-91.2	67.8-88.5	62.0-79.4	57.0-70.9	43.2-53.1	34.7-43.3	29.1-37.3	25.6-34.0	24.0-32.5	23.6-31.6	23.5-30.7	21.0-26.8	19.8-24.8
	Zhenping County	610927	54.5	53.2	51.4	52.3	46.2	44.6	39.7	37.8	33.2	32.9	31.3	30.2	28.7	27.9	28.9	26.2	26
			43.6-66.4	43.0-65.1	41.3-62.6	42.3-63.9	37.3-56.5	36.4-53.9	32.7-47.1	32.3-43.7	29.3-37.4	29.2-36.7	27.7-35.2	26.4-34.0	25.0-32.5	24.3-31.8	25.6-32.6	23.5-29.3	23.4-28.7
	Zhidan County	610625	48.8	47.9	44.9	39.6	42.3	39.2	37.7	39.2	37.3	37.9	36.3	32.6	28.6	27.1	22.3	20.3	19.1
			41.9-56.1	40.9-54.8	38.2-51.8	33.4-46.1	35.8-49.1	33.1-45.6	32.1-43.4	34.2-44.2	33.5-41.1	34.5-41.6	32.9-39.8	29.0-36.2	25.2-32.0	24.1-30.6	19.9-25.0	18.3-22.5	17.3-20.9
	Zhouzhi County	610124	50.8	48.3	40.4	37.7	32.7	30.2	29.3	25.8	22.6	19.7	17.6	17	16.7	16.6	18.5	19.2	19.5
			37.4-64.8	37.4-59.8	32.9-48.7	31.7-44.3	28.1-37.5	25.8-35.0	24.3-34.4	21.0-31.4	17.8-28.1	15.4-25.2	13.8-22.6	13.5-21.6	13.7-21.0	14.0-19.9	16.2-21.1	17.3-21.4	17.6-21.4
	Zichang County	610623	54.1	64.1	58.8	51.8	50.1	44.6	39.2	37.7	38.4	32.9	26.2	23.5	23.1	21.5	20.1	19.7	18.6
			45.1-63.6	54.1-74.9	49.5-68.6	43.7-60.5	42.5-58.3	38.1-51.7	33.8-45.0	32.6-43.1	33.6-43.4	28.7-37.4	22.6-30.0	20.1-27.3	19.6-26.8	18.4-24.9	17.5-22.9	17.4-22.1	16.7-20.7
	Ziyang County	610924	65.7	64.8	65.1	63.7	63.1	59.8	56.3	52.1	51.6	47.2	41.7	38.1	35.1	28	21.3	18.9	17.7
			56.9-75.7	55.7-75.0	55.1-75.8	53.5-74.8	53.0-74.4	49.9-70.3	47.6-65.5	44.7-60.2	44.9-58.4	42.0-52.9	37.2-46.6	33.9-43.0	31.0-39.8	24.8-31.5	19.0-23.8	17.0-21.0	16.1-19.4
	Zizhou County	610831	71.4	67	63.3	55.5	52.2	38.9	44.4	42.7	37.9	33.5	26.2	21.5	18	15.6	14.9	13.5	12.6
			53.3-91.6	49.4-88.2	46.0-83.8	39.8-74.7	36.9-71.4	27.6-53.4	32.0-59.7	30.8-56.9	27.8-49.5	24.8-44.1	19.3-34.2	16.2-27.6	13.8-23.0	12.1-19.6	11.9-18.3	11.1-16.3	10.5-15.0
Shandong	Anqiu City	370784	21.3	21.5	21.1	19.8	19.1	19.4	18.4	15.4	14.3	13.1	11.4	9.6	8.2	7.2	6.9	6.5	6.1
			18.2-24.9	18.6-25.3	18.2-24.8	17.0-23.1	16.3-22.1	16.6-22.2	16.1-20.7	13.7-17.1	12.9-15.7	11.9-14.4	10.1-12.6	8.4-10.7	7.1-9.3	6.2-8.2	5.9-7.8	5.6-7.4	5.3-7.0
	BinCheng District	371602	17.6	17.7	18	18.2	18.5	17.2	17.7	15.2	14.8	13.7	13.9	12.6	11.9	9.5	9.4	9.1	8.5
			15.2-20.5	15.4-20.5	15.5-20.8	15.7-21.0	16.0-21.3	14.9-19.5	15.5-19.8	13.7-16.7	13.5-16.0	12.5-14.8	12.6-15.1	11.3-13.9	10.4-13.2	8.3-10.6	8.3-10.6	8.0-10.3	7.4-9.7
	Boshan District	370304	19.7	19.7	18.9	17.5	16.3	15.8	14.8	12.8	12.4	11.8	10.7	10.1	9.6	9.4	9.2	9.3	9.1
			17.3-22.7	17.2-22.6	16.4-21.7	15.3-20.1	14.3-18.7	13.8-17.9	13.1-16.6	11.5-14.1	11.3-13.5	10.9-12.8	9.8-11.6	9.1-11.0	8.6-10.6	8.4-10.4	8.2-10.3	8.3-10.5	8.0-10.4
	Boxing County	371625	26	25.1	25.2	23.6	23.3	21.4	19.9	17.1	17.4	18	17.4	18.4	17.4	16.4	14.6	13.6	12.3
			22.7-29.7	21.9-29.0	22.0-29.1	20.6-27.0	20.3-26.5	18.7-24.3	17.5-22.3	15.2-19.0	15.7-19.2	16.4-19.7	15.9-19.1	16.6-20.2	15.6-19.2	14.7-18.2	13.0-16.3	12.1-15.3	10.8-14.0
	Cangshan County	371324	34.5	33.2	31.9	30.6	30.7	27.4	26	23.2	22	20	19.2	18	17.5	16.7	14.8	12.7	11.1
			30.0-39.9	28.6-38.3	27.5-36.9	26.3-35.5	26.4-35.5	23.7-31.5	22.6-29.7	20.3-26.2	19.4-24.6	17.9-22.4	17.0-21.4	15.9-20.2	15.5-19.7	14.7-18.9	13.0-16.8	11.1-14.4	9.7-12.6
	Cao County	371721	39.8	37.3	36.1	30.9	29.5	30.9	28.9	22.9	21.2	19.2	16.8	15.3	16.6	14.3	13.3	12.7	12.3
			27.2-55.6	26.0-50.9	26.0-48.7	23.1-40.5	23.2-36.7	25.4-36.8	24.6-33.6	20.1-25.9	18.8-23.7	16.9-21.6	14.3-19.3	12.7-18.1	13.4-20.4	10.9-18.1	9.8-17.5	9.0-17.1	8.4-16.8
	Changdao County	370634	26.4	25.6	24.8	24.3	21.9	23.6	19.7	16.5	16.4	16.3	14.6	14	14.3	13.4	12.2	11.8	11.3
			20.8-33.5	20.1-32.7	19.4-32.1	18.8-31.3	17.0-28.2	18.2-29.6	15.5-24.7	13.3-20.3	13.2-20.0	13.1-19.9	11.8-17.7	11.3-16.9	11.5-17.2	10.9-15.9	10.1-14.4	9.9-13.8	9.5-13.3
	Changle County	370725	27.5	27	27.4	27.3	26.5	24.5	22.2	17.7	16.9	14	12.5	10.5	10.4	9.7	9.3	9	8.7
			23.9-31.9	23.8-31.3	24.1-31.5	24.0-31.1	23.4-30.0	21.8-27.4	19.9-24.6	16.2-19.4	15.6-18.2	13.0-15.1	11.5-13.5	9.5-11.5	9.4-11.5	8.7-10.7	8.3-10.3	7.9-10.1	7.6-9.9
	Changqing District	370113	25.9	26.5	26.2	25.5	25.7	24	22.4	21	21.8	20.5	19.5	18.2	15.6	13.2	11.4	10.7	9.8
			22.6-29.7	23.1-30.5	22.9-30.3	22.2-29.1	22.6-29.3	21.1-27.3	19.8-25.2	18.8-23.3	19.8-23.9	18.7-22.3	17.8-21.2	16.5-20.0	14.0-17.1	11.8-14.7	10.2-12.7	9.4-12.0	8.6-11.2
	Changyi City	370786	22.9	22.6	22.3	22	20.8	19.4	17.6	15.1	13.9	13.6	13	13.4	13.6	13	12.9	12.3	11.7
			19.8-26.6	19.6-26.1	19.4-25.7	19.0-25.1	18.1-23.7	17.0-22.0	15.7-19.8	13.7-16.7	12.9-15.1	12.7-14.6	11.9-13.9	12.1-14.6	12.2-15.1	11.6-14.5	11.5-14.4	10.9-13.7	10.2-13.3
	Chengwu County	371723	45	40.3	37.6	28.7	27.3	24	20.8	18.7	18.8	17	16.4	15.7	14.6	16.2	15.6	14.9	14.3
			38.8-52.3	34.6-47.1	32.0-44.5	24.1-33.9	22.8-32.4	20.2-28.2	17.5-24.3	15.8-21.6	16.0-21.7	14.4-19.5	14.0-19.1	13.1-18.5	12.0-17.1	13.4-19.0	13.0-18.2	12.6-17.4	12.2-16.9
	Chengyang District	370214	14.1	15.2	15.2	14.6	14.3	14.8	12.9	12.1	11.7	10.4	9.6	9.1	8.3	8	7.5	7.4	6.9
			12.3-16.1	13.3-17.5	13.4-17.6	12.9-16.7	12.6-16.1	13.0-16.6	11.5-14.3	11.0-13.3	10.7-12.7	9.7-11.2	8.8-10.4	8.3-10.0	7.5-9.2	7.1-8.8	6.7-8.4	6.5-8.3	6.1-7.9
	Chiping County	371523	34	32	31.5	28.3	26.3	25.8	26.5	23.2	25.8	23.8	20.6	19.2	18	14.4	15	14.8	14.8
			29.0-39.9	27.5-37.8	26.9-37.4	23.9-33.5	22.1-31.0	21.9-29.9	22.7-30.4	20.3-26.2	22.8-28.8	21.2-26.5	18.3-22.9	16.7-21.6	15.5-20.3	12.4-16.3	13.0-17.0	12.9-16.8	12.8-17.0
	Daiyue District	370911	17.6	17.3	17.1	17.7	15.7	16.3	16.1	14.2	14.3	13.9	12.8	12	11.2	9.7	8	7.3	6.4
			15.4-20.2	15.1-19.9	14.9-19.7	15.5-20.2	13.7-17.9	14.3-18.5	14.2-18.1	12.7-15.8	13.0-15.7	12.7-15.2	11.7-14.0	10.8-13.2	10.0-12.4	8.7-10.9	7.1-8.9	6.5-8.2	5.6-7.3
	DeCheng District	371402	46.3	44.9	41.4	35.9	30.9	28.1	23.4	22.9	22.6	19.5	18.8	14.7	12.3	10.7	11.5	10.9	10
			39.5-54.5	38.5-53.0	35.3-49.0	30.4-42.4	26.0-36.2	23.6-32.7	20.0-27.1	19.8-26.1	19.8-25.6	17.0-22.1	16.3-21.5	12.5-16.9	10.3-14.3	9.0-12.4	9.6-13.3	9.3-12.7	8.5-11.8
	Dingtao County	371727	30.5	29.5	27.9	25.4	24.4	22.1	21.1	25.3	27.7	24.5	22.6	17.7	15.5	13.9	13.4	12.7	12.3
			26.6-35.2	25.8-34.0	24.2-32.1	21.8-29.3	20.9-28.0	19.2-25.2	18.5-23.8	22.7-28.0	25.4-30.2	22.5-26.6	20.6-24.6	15.9-19.6	13.7-17.2	12.3-15.5	11.9-15.0	11.3-14.3	10.8-14.1
	Dong'e County	371524	30.6	30.5	29.2	28.6	26.7	23.8	21.8	18.8	18.3	16.9	15.1	13.4	12.7	12	10.4	10.5	10.5
			26.7-35.5	26.6-35.2	25.3-33.6	24.6-32.9	22.9-30.7	20.6-27.1	19.2-24.4	16.9-20.9	16.7-20.0	15.4-18.3	13.6-16.5	11.9-14.9	11.1-14.2	10.4-13.4	9.2-11.8	9.2-11.8	9.1-12.0
	Dongchangfu District	371502	33.9	34.2	33.3	30.3	28.6	28.3	26.1	23.3	24.9	22.7	19.9	15.4	10.6	8.6	7.9	7.7	7.4
			28.3-40.6	28.9-40.9	28.0-39.9	25.2-36.4	23.7-34.3	23.6-33.3	22.0-30.5	19.9-26.9	21.5-28.4	19.5-25.9	16.9-22.9	13.0-17.9	8.7-12.4	7.1-10.0	6.6-9.2	6.5-9.0	6.3-8.7
	Donggang District	371102	30.2	28.1	27.6	24.3	21.7	19.6	16.7	14.9	14.7	13.1	13.3	13.3	12.1	10.8	9.3	8.2	7.4
			23.5-38.7	22.5-34.8	22.8-33.7	20.3-28.9	18.6-24.9	16.8-22.6	14.2-19.5	12.4-17.6	12.1-17.7	10.7-16.1	11.0-16.3	11.1-16.1	10.2-14.4	9.2-12.5	8.1-10.5	7.2-9.3	6.5-8.4
	Dongming County	371728	41.7	39.1	38.4	38.7	37.8	33.7	33.9	29.1	31.2	30.3	30.5	27.5	25.6	23.2	20.6	18.5	16.7
			35.0-49.7	33.0-46.6	32.3-46.0	32.4-46.3	31.7-44.7	28.6-39.0	29.1-38.8	25.5-32.7	27.8-34.6	27.2-33.5	27.3-33.8	24.2-30.8	22.2-28.8	20.1-26.2	17.8-23.3	16.1-20.9	14.5-19.2
	Dongping County	370923	24.2	24.5	24.3	24.4	23.9	23.9	22.4	18.3	17.1	15.9	14.2	13.5	13.1	13.2	12.2	11.3	10.5
			21.2-27.8	21.4-28.1	21.2-28.0	21.2-28.0	20.7-27.1	21.0-27.1	20.0-25.1	16.7-20.2	15.7-18.5	14.7-17.1	13.1-15.3	12.2-14.8	11.7-14.5	11.7-14.7	10.9-13.6	10.0-12.6	9.2-11.9
	Dongying District	370502	15.6	14.7	13	10.4	9.2	9.4	8.4	7.1	7.2	6.3	6	5.9	5.4	4.9	5.2	5.2	5.2
			13.6-18.0	12.8-16.9	11.3-15.0	8.9-12.0	7.8-10.6	8.1-10.8	7.4-9.5	6.3-7.9	6.4-7.9	5.7-6.9	5.4-6.7	5.2-6.6	4.7-6.1	4.3-5.5	4.5-5.9	4.5-5.8	4.5-5.9
	Fangzi District	370704	19.5	19.4	18.5	17	15	13.8	11.7	9.4	9.4	8.1	7.6	7.4	7	6.8	6.9	6.9	6.7
			17.0-22.4	17.0-22.3	16.3-21.3	14.9-19.3	13.2-16.9	12.2-15.6	10.4-12.9	8.5-10.3	8.6-10.1	7.4-8.7	7.0-8.2	6.7-8.1	6.3-7.8	6.1-7.5	6.1-7.7	6.1-7.7	5.8-7.6
	Fei County	371325	33.1	31.7	30.5	29.4	28.4	26.9	27.8	23.7	23.3	23.3	24	24	23.9	23.4	22.1	19.7	17.8

Province	County	County Code (2012)	Under-5 Mortality Rate (per 1000 births)																
			1996	1997	1998	1999	2000	2001	2002	2003	2004	2005	2006	2007	2008	2009	2010	2011	2012
			28.6-38.5	27.1-36.8	26.0-35.5	24.9-34.4	24.3-33.2	22.9-31.3	23.7-31.9	20.2-27.1	20.1-26.7	20.1-27.0	20.5-28.0	20.3-28.1	20.1-28.1	19.7-27.8	18.7-26.2	16.7-23.2	15.0-20.9
	Feicheng City	370983	20.2	20	19.8	19.9	17.8	17.1	16	14.9	14.6	14.7	14.2	13.7	11.8	10.9	9.3	8.3	7.3
			17.6-23.2	17.5-22.9	17.4-22.8	17.5-22.7	15.6-20.1	15.0-19.2	14.4-17.8	13.6-16.4	13.5-15.8	13.6-15.8	13.1-15.4	12.5-15.0	10.7-13.0	9.8-12.1	8.3-10.5	7.4-9.4	6.4-8.3
	Fushan District	370611	24.4	22.2	20.5	18.2	16	16.6	15.6	13	12.3	10.9	8.7	8.2	8.1	7.5	7.7	8	8.1
			19.0-31.2	17.8-27.5	17.2-24.4	15.7-21.1	13.9-18.3	14.4-19.3	13.3-18.6	10.8-15.9	10.0-15.2	8.8-13.6	7.1-10.8	6.7-9.9	6.7-9.7	6.4-8.6	6.7-8.7	7.1-9.0	7.1-9.2
	Gangcheng District	371203	44.8	35.7	28.8	26.5	23.7	23.6	27.3	30.2	27	22.1	18.3	15.1	11.1	10.6	9.7	8.9	8.1
			37.2-53.7	29.7-43.1	23.7-35.3	21.7-32.8	19.2-29.2	19.1-28.5	22.4-32.7	25.2-35.7	22.7-31.8	18.5-26.0	15.2-21.5	12.5-18.0	9.0-13.2	8.7-12.5	8.1-11.4	7.5-10.4	6.8-9.5
	Gaomi City	370785	18.6	16.9	16.7	14.3	12.2	10.8	9.4	7.1	6.1	5.3	4.8	4.5	4.5	5.1	5.7	6	6.2
			13.0-25.4	12.1-22.5	12.3-21.5	11.1-17.9	9.9-14.5	9.1-12.5	8.2-10.5	6.4-7.8	5.5-6.7	4.6-6.0	4.1-5.6	3.7-5.5	3.5-5.6	3.8-6.6	4.1-7.6	4.1-8.3	4.0-8.8
	Gaoqing County	370322	31	34.1	32.9	31.7	29.1	26.3	23.2	19.4	20.5	19.9	17.1	15.8	14.3	12.4	10.5	10.2	9.6
			26.0-36.9	28.9-40.6	27.8-39.4	26.4-37.9	24.2-34.8	21.9-30.9	19.5-27.2	16.6-22.5	17.6-23.4	17.1-22.7	14.6-19.7	13.3-18.3	11.9-16.7	10.3-14.4	8.8-12.3	8.7-11.9	8.1-11.2
	Gaotang County	371526	40.7	40.1	40.2	36.1	32.4	37.5	37.8	33.1	30.9	27	22.5	18.2	15.7	13.8	11.9	11.3	11
			35.6-46.8	34.9-46.3	34.8-46.4	31.1-41.2	28.1-36.9	32.8-42.5	33.7-42.5	30.0-36.7	28.2-33.8	24.3-29.7	20.1-25.0	16.2-20.3	13.8-17.6	12.2-15.6	10.6-13.4	10.0-12.7	9.7-12.6
	Guan County	371525	41.6	40.6	40.1	37.2	33.8	30.7	28.1	23.4	20.3	16.3	12.5	9.4	8.2	7.4	7	7	7
			36.2-48.3	34.6-47.4	34.3-47.1	31.6-43.5	28.8-39.3	26.4-35.5	24.1-32.3	20.3-26.8	17.9-22.8	14.7-17.9	11.4-13.6	8.6-10.3	7.4-9.0	6.6-8.2	6.2-7.8	6.2-7.9	6.2-8.0
	Guangrao County	370523	24.1	22.7	21.4	19.3	18.9	16.8	16.8	15.2	15.7	14.4	13.3	12.3	13	13	13.1	13	12.8
			16.7-33.2	16.1-30.8	15.8-28.2	14.7-24.8	15.1-23.5	13.9-19.9	14.5-19.2	13.5-16.8	14.3-17.3	12.9-16.0	11.5-15.3	10.1-14.7	10.1-16.2	9.7-16.9	9.3-17.6	8.7-17.9	8.4-18.4
	Haiyang City	370687	26.8	25.3	25	23.7	22.4	22.1	20.7	17.6	16.9	14.7	11.7	11.2	9.2	7.8	7	6.6	6.2
			23.4-30.9	22.0-29.1	21.6-28.7	20.6-27.3	19.5-25.7	19.3-25.2	18.2-23.3	15.7-19.3	15.3-18.5	13.4-16.1	10.6-12.8	10.1-12.4	8.2-10.2	6.9-8.7	6.2-7.8	5.8-7.4	5.4-7.1
	Hanting District	370703	19.5	19.4	18.5	17	15	13.8	11.7	9.4	9.4	8.1	7.6	7.4	7	6.8	6.9	6.9	6.7
			17.0-22.4	17.0-22.3	16.3-21.3	14.9-19.3	13.2-16.9	12.2-15.6	10.4-12.9	8.5-10.3	8.6-10.1	7.4-8.7	7.0-8.2	6.7-8.1	6.3-7.8	6.1-7.5	6.1-7.7	6.1-7.7	5.8-7.6
	Hedong District	371312	37.1	34.6	33.3	30.1	27.8	24.5	22	18	18.2	16.8	15.8	15.5	14.1	13.1	11.9	10.4	9.3
			28.9-47.6	27.8-43.1	27.8-39.4	25.9-34.8	24.1-31.8	21.3-28.3	18.7-26.1	15.0-21.9	14.9-22.5	13.7-20.6	12.9-19.3	12.8-18.8	11.9-16.9	11.3-15.1	10.5-13.4	9.3-11.7	8.1-10.5
	Hekou District	370503	15.6	14.7	13	10.4	9.2	9.4	8.4	7.1	7.2	6.3	6	5.9	5.4	4.9	5.2	5.2	5.2
			13.6-18.0	12.8-16.9	11.3-15.0	8.9-12.0	7.8-10.6	8.1-10.8	7.4-9.5	6.3-7.9	6.4-7.9	5.7-6.9	5.4-6.7	5.2-6.6	4.7-6.1	4.3-5.5	4.5-5.9	4.5-5.8	4.5-5.9
	Huaiyin District	370104	19.8	20.1	18.5	18.6	17.7	17.3	17.7	16.7	16.7	14.8	14.3	13.1	11.5	10	8.9	8.6	7.8
			17.3-22.8	17.4-23.2	16.0-21.5	16.0-21.5	15.1-20.5	14.7-20.1	15.0-20.5	14.2-19.3	14.3-19.1	12.9-16.9	12.5-16.4	11.4-14.9	10.0-13.1	8.7-11.5	7.7-10.2	7.4-9.8	6.8-8.9
	Huancui District	371002	20.9	19.3	18.8	17.7	16.1	15.9	14.4	12.6	11.9	11	10.2	9.8	9.8	10.3	10.1	10.5	10.6
			14.9-28.2	14.1-25.7	14.1-24.3	13.7-22.5	13.0-19.9	13.4-18.9	12.6-16.4	11.2-14.0	10.6-13.3	9.5-12.5	8.5-11.9	8.0-11.8	7.8-12.1	7.8-13.1	7.3-13.2	7.4-14.3	7.1-14.6
	Huangdao District	370211	14.1	15.2	15.2	14.6	14.3	14.8	12.9	12.1	11.7	10.4	9.6	9.1	8.3	8	7.5	7.4	6.9
			12.3-16.1	13.3-17.5	13.4-17.6	12.9-16.7	12.6-16.1	13.0-16.6	11.5-14.3	11.0-13.3	10.7-12.7	9.7-11.2	8.8-10.4	8.3-10.0	7.5-9.2	7.1-8.8	6.7-8.4	6.5-8.3	6.1-7.9
	Huantai County	370321	20.3	19.1	17.9	17.9	17.1	15.8	15.6	14.6	15.2	13.7	13.1	12.7	10.9	10.3	9.8	9.3	9.1
			17.7-23.5	16.7-22.0	15.6-20.6	15.5-20.5	14.8-19.6	13.8-17.9	13.8-17.5	13.2-16.1	14.0-16.5	12.7-14.7	12.0-14.1	11.4-13.8	9.7-12.0	9.1-11.5	8.7-10.9	8.3-10.4	8.0-10.4
	Huimin County	371621	32.5	32	31.6	31.3	32.2	28.3	25.3	22.4	20.2	18.4	20.6	19.6	17.7	15.1	13.5	12.4	11.6
			28.1-37.8	27.7-37.1	27.3-36.7	26.9-36.2	27.6-37.1	24.5-32.2	22.3-28.5	20.0-24.9	18.2-22.3	16.6-20.3	18.3-22.9	17.1-22.1	15.2-20.1	13.0-17.3	11.5-15.5	10.7-14.3	9.9-13.5
	Jiaonan City	370284	20.5	21	19.9	19.6	17.8	16.2	14.6	12.7	11.7	10.8	10.2	9.9	8.7	8	7.6	7.1	6.7
			17.8-23.5	18.3-24.0	17.3-22.9	17.1-22.5	15.4-20.4	14.1-18.5	13.0-16.4	11.5-14.1	10.8-12.7	10.0-11.5	9.4-10.9	9.0-10.8	7.8-9.6	7.1-8.9	6.7-8.4	6.3-7.9	5.8-7.6
	Jiaozhou City	370281	19.7	19.8	19.4	18.1	16.4	13.4	12.4	9.9	9.4	7.7	7.2	6	6	5.7	6	6.1	6
			12.9-28.5	13.3-28.1	13.4-26.9	13.1-24.4	12.5-21.1	10.8-16.6	10.5-14.3	8.9-10.9	8.6-10.1	7.0-8.5	6.3-8.2	4.9-7.2	4.7-7.4	4.3-7.5	4.3-8.2	4.1-8.5	3.9-8.7
	Jiaxiang County	370829	32	31.3	30.5	29.1	30.5	29.2	27.8	26.6	24.6	21.8	19.2	16.1	14.3	12.6	11.5	10.4	9.6
			28.0-36.7	27.3-35.8	26.6-35.1	25.3-33.4	26.4-34.7	25.6-33.1	24.8-31.0	24.3-29.4	22.7-26.7	20.3-23.3	17.6-20.6	14.5-17.5	12.7-15.8	11.1-14.0	10.1-12.8	9.2-11.6	8.3-10.9
	Jimo City	370282	20.6	20.4	19.8	18.9	17.2	17	15.9	13.7	13.3	12.4	11.7	11.5	11	11.3	10.3	9.6	9
			18.0-23.7	17.9-23.5	17.3-22.6	16.5-21.5	15.2-19.4	15.1-19.0	14.3-17.5	12.5-15.0	12.2-14.4	11.4-13.5	10.7-12.8	10.4-12.8	9.9-12.2	10.1-12.6	9.2-11.5	8.5-10.8	7.9-10.3
	Jinxiang County	370828	23.1	21.3	20	16.7	17.7	16.6	15.7	13.2	14	12.7	11.9	11.2	11.7	12.3	10.5	9.7	8.9
			19.1-28.0	17.7-25.8	16.5-24.4	13.7-20.4	14.5-21.5	13.7-19.9	13.1-18.5	11.3-15.4	12.1-16.1	10.9-14.6	10.2-13.7	9.5-13.0	9.9-13.6	10.3-14.1	8.9-12.2	8.3-11.2	7.6-10.4
	Jiyang County	370125	32.8	32.9	32.7	30.9	29.5	27.8	27.5	26.9	29.3	28.8	25.5	22.8	19.3	16.5	15	13.5	12.6
			28.3-38.2	28.5-38.2	28.3-37.9	26.7-35.7	25.4-33.9	24.1-31.6	24.3-30.9	24.3-29.7	27.0-31.8	26.8-31.1	23.4-27.5	20.5-24.8	17.2-21.4	14.7-18.4	13.3-16.8	12.0-15.1	11.0-14.4
	Ju County	371122	29.1	27.1	26.9	25.7	23.4	21.1	19.4	16.7	17.8	18.5	16.4	17.8	16.1	13	11.9	10.4	9.2
			25.2-33.7	23.6-31.3	23.2-31.0	22.0-29.7	20.0-26.9	18.2-24.0	16.9-21.9	14.8-18.6	16.2-19.5	16.8-20.2	14.8-18.0	15.8-19.8	14.1-17.9	11.4-14.6	10.4-13.3	9.1-11.7	8.0-10.5
	Juancheng County	371726	42.5	38.5	36.1	36.2	34.3	32.3	30.8	26.4	24.1	22.2	18.7	17	15.9	15.2	14.4	14.2	14
			37.1-48.9	33.9-44.3	31.6-41.4	31.9-41.4	30.2-38.9	28.6-36.2	27.6-34.1	24.0-28.9	22.2-26.1	20.6-23.9	17.2-20.3	15.4-18.5	14.3-17.4	13.6-16.9	12.9-16.1	12.6-16.0	12.3-16.0
	Junan County	371327	36.2	36.2	35.8	33.2	31.5	28.8	27.4	23.5	22.2	22.1	23.2	22.6	21.8	20.4	18.6	16.5	14.3
			31.6-41.7	31.5-41.6	31.2-41.3	29.0-38.0	27.4-35.9	25.2-32.7	24.1-30.8	21.0-26.2	20.0-24.6	20.0-24.4	21.0-25.5	20.3-25.1	19.5-24.4	18.1-22.9	16.5-20.9	14.6-18.6	12.5-16.3
	Juye County	371724	30.7	28.9	27.3	24.6	24.1	23.4	24.3	56	47.6	38.8	33.1	26.1	17	18	16.9	15.8	14.9
			26.2-36.0	24.8-34.2	23.3-32.4	20.7-29.1	20.2-28.3	19.9-27.0	21.0-27.7	49.7-62.1	43.3-52.2	35.4-42.3	29.9-36.4	23.1-29.1	14.9-19.0	15.7-20.2	14.7-19.1	13.8-17.8	12.9-17.1
	Kenli County	370521	22.6	20.6	20.3	18.6	17.4	16.1	15.6	13.4	13.4	12.3	12	11.5	10.8	10.1	9.7	9.4	8.9
			14.1-34.2	13.0-31.5	13.1-30.2	12.2-27.1	11.8-24.8	11.4-22.1	11.5-20.7	10.3-17.5	10.3-17.0	9.5-15.8	9.1-15.7	8.5-15.6	7.7-15.1	6.9-14.5	6.4-14.4	6.1-14.4	5.6-13.7
	Kuiwen District	370705	19.5	19.4	18.5	17	15	13.8	11.7	9.4	9.4	8.1	7.6	7.4	7	6.8	6.9	6.9	6.7
			17.0-22.4	17.0-22.3	16.3-21.3	14.9-19.3	13.2-16.9	12.2-15.6	10.4-12.9	8.5-10.3	8.6-10.1	7.4-8.7	7.0-8.2	6.7-8.1	6.3-7.8	6.1-7.5	6.1-7.7	6.1-7.7	5.8-7.6
	Laicheng District	371202	44.8	35.7	28.8	26.5	23.7	23.6	27.3	30.2	27	22.1	18.3	15.1	11.1	10.6	9.7	8.9	8.1
			37.2-53.7	29.7-43.1	23.7-35.3	21.7-32.8	19.2-29.2	19.1-28.5	22.4-32.7	25.2-35.7	22.7-31.8	18.5-26.0	15.2-21.5	12.5-18.0	9.0-13.2	8.7-12.5	8.1-11.4	7.5-10.4	6.8-9.5
	Laishan District	370613	24.4	22.2	20.5	18.2	16	16.6	15.6	13	12.3	10.9	8.7	8.2	8.1	7.5	7.7	8	8.1
			19.0-31.2	17.8-27.5	17.2-24.4	15.7-21.1	13.9-18.3	14.4-19.3	13.3-18.6	10.8-15.9	10.0-15.2	8.8-13.6	7.1-10.8	6.7-9.9	6.7-9.7	6.4-8.6	6.7-8.7	7.1-9.0	7.1-9.2
	Laixi City	370285	17	17.6	16.7	15.9	14.3	15.5	15.6	13.6	15.2	14.7	13.3	12.7	12.6	11.3	10.9	10	9.3
			14.8-19.6	15.3-20.2	14.6-19.3	13.9-18.2	12.5-16.4	13.6-17.6	13.8-17.5	12.3-15.0	14.1-16.5	13.7-15.9	12.3-14.4	11.5-13.8	11.3-13.9	10.1-12.5	9.7-12.2	9.0-11.2	8.1-10.6

Province	County	County Code (2012)	Under-5 Mortality Rate (per 1000 births)																
			1996	1997	1998	1999	2000	2001	2002	2003	2004	2005	2006	2007	2008	2009	2010	2011	2012
	Laiyang City	370682	28	28.3	28.4	26.6	23	23.7	21	18.5	18.5	17.8	14.9	13.6	13.1	11.8	11.5	11.7	11.8
			24.2-32.6	24.5-32.8	24.5-32.9	22.9-30.7	19.7-26.5	20.5-26.9	18.5-23.6	16.6-20.5	16.9-20.2	16.4-19.3	13.5-16.2	12.1-15.0	11.5-14.5	10.3-13.2	10.1-12.9	10.3-13.1	10.3-13.5
	Laizhou City	370683	18.8	17.7	17.3	15.7	13.9	13.5	13	11.1	10.5	9.2	7.3	7.3	6.2	6.8	7	7.1	7.2
			16.2-21.8	15.3-20.6	14.9-20.3	13.4-18.4	11.8-16.2	11.5-15.5	11.3-14.8	9.8-12.5	9.4-11.7	8.2-10.2	6.5-8.2	6.3-8.2	5.3-7.0	5.8-7.7	6.0-7.9	6.1-8.0	6.2-8.2
	Lanshan District	371103	30.2	28.1	27.6	24.3	21.7	19.6	16.7	14.9	14.7	13.1	13.3	13.3	12.1	10.8	9.3	8.2	7.4
			23.5-38.7	22.5-34.8	22.8-33.7	20.3-28.9	18.6-24.9	16.8-22.6	14.2-19.5	12.4-17.6	12.1-17.7	10.7-16.1	11.0-16.3	11.1-16.1	10.2-14.4	9.2-12.5	8.1-10.5	7.2-9.3	6.5-8.4
	Lanshan District	371302	37.1	34.6	33.3	30.1	27.8	24.5	22	18	18.2	16.8	15.8	15.5	14.1	13.1	11.9	10.4	9.3
			28.9-47.6	27.8-43.1	27.8-39.4	25.9-34.8	24.1-31.8	21.3-28.3	18.7-26.1	15.0-21.9	14.9-22.5	13.7-20.6	12.9-19.3	12.8-18.8	11.9-16.9	11.3-15.1	10.5-13.4	9.3-11.7	8.1-10.5
	Laoshan District	370212	14.1	15.2	15.2	14.6	14.3	14.8	12.9	12.1	11.7	10.4	9.6	9.1	8.3	8	7.5	7.4	6.9
			12.3-16.1	13.3-17.5	13.4-17.6	12.9-16.7	12.6-16.1	13.0-16.6	11.5-14.3	11.0-13.3	10.7-12.7	9.7-11.2	8.8-10.4	8.3-10.0	7.5-9.2	7.1-8.8	6.7-8.4	6.5-8.3	6.1-7.9
	Leling City	371481	56.3	52.5	42.5	37.9	31.9	33.6	35.4	32.9	30	25.7	24.8	22.5	19	18.4	18.3	16.9	15.1
			49.0-64.5	45.8-59.9	37.0-48.9	32.9-43.5	27.6-36.3	29.3-38.1	31.6-39.6	29.9-36.3	27.6-32.6	23.9-27.6	22.7-26.7	20.3-24.6	16.9-21.0	16.3-20.4	16.2-20.5	14.9-18.9	13.2-17.2
	Liangshan County	370832	39.9	38.7	38.4	37.4	37.3	38.7	35.7	31	28	23.6	15.6	14	11.8	9.8	9.7	9.1	8.7
			34.8-45.8	33.9-44.3	33.8-44.1	32.9-42.5	32.8-42.0	34.3-43.3	32.1-39.5	28.3-33.9	25.9-30.4	21.8-25.7	14.1-17.2	12.5-15.7	10.4-13.3	8.6-11.1	8.4-11.0	7.9-10.3	7.6-10.0
	Licang District	370213	14.1	15.2	15.2	14.6	14.3	14.8	12.9	12.1	11.7	10.4	9.6	9.1	8.3	8	7.5	7.4	6.9
			12.3-16.1	13.3-17.5	13.4-17.6	12.9-16.7	12.6-16.1	13.0-16.6	11.5-14.3	11.0-13.3	10.7-12.7	9.7-11.2	8.8-10.4	8.3-10.0	7.5-9.2	7.1-8.8	6.7-8.4	6.5-8.3	6.1-7.9
	Licheng District	370112	19.8	20.1	18.5	18.6	17.7	17.3	17.7	16.7	16.7	14.8	14.3	13.1	11.5	10	8.9	8.6	7.8
			17.3-22.8	17.4-23.2	16.0-21.5	16.0-21.5	15.1-20.5	14.7-20.1	15.0-20.5	14.2-19.3	14.3-19.1	12.9-16.9	12.5-16.4	11.4-14.9	10.0-13.1	8.7-11.5	7.7-10.2	7.4-9.8	6.8-8.9
	Lijin County	370522	23.8	21.9	21.2	20.6	18.5	17.8	16.6	15.2	14.9	15.3	16.3	16.8	15.4	13.2	12.2	11.2	10.1
			20.4-27.7	18.9-25.6	18.3-24.8	17.6-24.1	15.7-21.6	15.2-20.5	14.5-18.9	13.4-17.0	13.3-16.5	13.8-16.9	14.6-18.1	14.8-18.7	13.4-17.3	11.5-14.9	10.6-13.7	9.8-12.6	8.8-11.6
	Ling County	371421	53.8	48.8	43.1	40.5	34.8	28.7	25.6	25.3	22.6	21.1	21.9	18.1	16.1	12.7	15.7	14.3	13.4
			45.5-63.8	41.5-58.0	36.5-51.5	33.9-48.4	28.9-41.6	23.8-33.9	21.5-30.1	21.5-29.3	19.5-26.1	18.0-24.2	18.6-25.2	15.3-21.1	13.4-18.9	10.6-14.8	13.2-18.4	12.2-16.7	11.4-15.7
	Linqing City	371581	33	33.3	31.2	29.9	27.9	25.9	25.7	21.5	21.3	20.5	18.8	16.3	15.7	11.9	11.4	10.9	10.5
			28.8-37.8	29.1-38.1	27.4-35.9	26.3-34.1	24.6-31.5	22.9-29.0	23.0-28.4	19.6-23.4	19.7-23.0	19.0-22.2	17.2-20.5	14.7-18.1	14.0-17.5	10.5-13.4	10.0-12.9	9.5-12.4	9.1-12.0
	Linqu County	370724	26.6	26.7	27.9	28.2	28.6	28.9	30.3	26.1	24.1	21.8	18	14.6	12.5	10.2	9.4	8.9	8.5
			23.2-30.7	23.1-31.0	24.1-32.4	24.3-32.6	24.6-32.8	24.8-33.3	26.0-34.9	22.5-29.8	21.1-27.1	19.6-24.2	16.3-19.8	13.2-16.0	11.2-13.8	9.1-11.3	8.4-10.6	7.9-10.1	7.4-9.6
	Linshu County	371329	35.4	33.5	31.9	31.3	31.1	27	25.3	21.4	21	19.7	18.9	18.5	17.8	15.7	14.1	12.4	10.9
			30.9-40.7	29.3-38.5	27.9-36.7	27.5-35.7	27.4-35.3	23.9-30.5	22.6-28.2	19.5-23.5	19.3-22.7	18.3-21.2	17.4-20.5	16.8-20.1	16.0-19.6	14.0-17.3	12.6-15.8	11.0-14.0	9.5-12.4
	Linyi County	371424	52	51.5	50.3	45	40.2	36.1	30.8	27.6	27.3	24.5	22.9	23.1	18.8	16.5	14.2	12.5	10.9
			45.3-59.7	45.0-59.0	44.1-58.0	39.5-51.3	35.4-45.5	31.9-40.5	27.5-34.2	25.1-30.2	25.1-29.5	22.6-26.4	21.1-24.8	21.0-25.3	16.9-20.7	14.8-18.3	12.6-15.8	11.0-14.1	9.5-12.4
	Linzi District	370305	19.7	19.7	18.9	17.5	16.3	15.8	14.8	12.8	12.4	11.8	10.7	10.1	9.6	9.4	9.2	9.3	9.1
			17.3-22.7	17.2-22.6	16.4-21.7	15.3-20.1	14.3-18.7	13.8-17.9	13.1-16.6	11.5-14.1	11.3-13.5	10.9-12.8	9.8-11.6	9.1-11.0	8.6-10.6	8.4-10.4	8.2-10.3	8.3-10.5	8.0-10.4
	Lixia District	370102	19.8	20.1	18.5	18.6	17.7	17.3	17.7	16.7	16.7	14.8	14.3	13.1	11.5	10	8.9	8.6	7.8
			17.3-22.8	17.4-23.2	16.0-21.5	16.0-21.5	15.1-20.5	14.7-20.1	15.0-20.5	14.2-19.3	14.3-19.1	12.9-16.9	12.5-16.4	11.4-14.9	10.0-13.1	8.7-11.5	7.7-10.2	7.4-9.8	6.8-8.9
	Longkou City	370681	22.1	21.4	20.8	21.4	18.6	17.4	14.8	12.3	13.3	12.9	12.8	14.4	14	11.9	11.4	10.7	10
			19.2-25.6	18.7-24.6	18.0-24.1	18.7-24.6	16.2-21.1	15.4-19.7	13.3-16.6	11.2-13.6	12.2-14.5	11.8-14.1	11.6-14.1	12.9-16.0	12.6-15.6	10.6-13.3	10.2-12.7	9.4-12.0	8.8-11.4
	Luozhuang District	371311	37.1	34.6	33.3	30.1	27.8	24.5	22	18	18.2	16.8	15.8	15.5	14.1	13.1	11.9	10.4	9.3
			28.9-47.6	27.8-43.1	27.8-39.4	25.9-34.8	24.1-31.8	21.3-28.3	18.7-26.1	15.0-21.9	14.9-22.5	13.7-20.6	12.9-19.3	12.8-18.8	11.9-16.9	11.3-15.1	10.5-13.4	9.3-11.7	8.1-10.5
	Mengyin County	371328	34.8	33.2	30.9	28	26.7	25.5	24.4	21.9	24.4	23.5	22.2	23.4	22	21.8	21.2	19.6	18.1
			30.3-39.9	29.0-38.0	26.9-35.6	24.3-32.1	23.1-30.5	22.2-29.2	21.6-27.5	19.7-24.2	22.4-26.7	21.7-25.5	20.3-24.1	21.1-25.8	19.7-24.4	19.4-24.4	18.8-23.7	17.4-22.1	15.9-20.6
	Mudan District	371702	41.2	41.2	38.3	34.6	35.6	31.7	30.5	26.8	28.2	25.4	24.7	23	20.1	17	14.5	13.3	12.1
			35.7-47.8	35.3-47.6	33.0-44.4	29.6-40.1	30.6-41.2	27.3-36.6	26.4-34.8	23.4-30.3	25.0-31.7	22.7-28.5	22.1-27.6	20.5-25.8	17.8-22.6	15.0-19.2	12.8-16.4	11.8-15.1	10.6-13.7
	Muping District	370612	24.4	22.2	20.5	18.2	16	16.6	15.6	13	12.3	10.9	8.7	8.2	8.1	7.5	7.7	8	8.1
			19.0-31.2	17.8-27.5	17.2-24.4	15.7-21.1	13.9-18.3	14.4-19.3	13.3-18.6	10.8-15.9	10.0-15.2	8.8-13.6	7.1-10.8	6.7-9.9	6.7-9.7	6.4-8.6	6.7-8.7	7.1-9.0	7.1-9.2
	Ningjin County	371422	49.7	46.1	43.4	44	35.5	37	37.4	34.2	25.6	29	27.2	21.5	18.2	19.4	13.5	12.6	11.6
			40.8-60.2	38.0-56.2	35.4-53.4	35.8-54.4	28.7-44.1	30.0-44.9	30.7-44.9	28.4-40.5	21.3-30.3	24.2-34.3	22.6-32.0	17.7-25.6	14.8-21.6	16.0-23.0	11.2-15.9	10.6-14.7	9.8-13.7
	Ningyang County	370921	27.5	26	26.7	24.5	22.4	20.4	19.3	15	13.7	12.7	12.4	11.6	12.6	11.4	9.6	8.7	7.9
			23.9-31.8	22.6-30.0	23.1-30.8	21.0-28.3	19.0-25.8	17.5-23.3	16.8-21.9	13.1-16.9	12.0-15.3	11.2-14.3	10.8-14.1	9.9-13.3	10.6-14.5	9.6-13.3	8.0-11.1	7.5-10.1	6.7-9.2
	Penglai City	370684	21.6	22	21.5	22.1	19.8	19.8	18.5	16.4	16.2	17.3	15.8	16.1	15.5	14.3	12.8	12.3	11.9
			18.3-25.3	18.8-26.0	18.3-25.4	19.0-25.9	17.2-23.0	17.4-22.8	16.4-21.0	14.8-18.3	14.8-17.8	15.7-18.9	14.3-17.5	14.5-18.0	13.9-17.2	12.8-15.9	11.4-14.4	10.9-13.9	10.4-13.5
	Pingdu City	370283	22.4	21.7	20.9	19.8	18.5	17.9	16.8	13.5	11.5	10.7	11.1	10.9	10.1	9.5	9.1	8.1	7.5
			17.4-28.7	17.5-26.8	17.6-24.8	17.1-22.9	16.1-21.1	15.5-20.8	14.2-20.1	11.2-16.6	9.3-14.3	8.5-13.4	9.0-13.9	8.9-13.3	8.4-12.1	8.2-11.0	8.0-10.3	7.3-9.2	6.6-8.5
	Pingyi County	371326	31.6	31.3	30.4	30.9	29.4	27.4	25.6	20.8	20	19.5	20.1	19.6	20.2	18.3	15.8	13.3	11.5
			27.6-36.2	27.3-35.9	26.4-34.8	26.9-35.4	25.5-33.5	24.1-31.2	22.8-28.5	18.9-22.9	18.5-21.8	18.2-21.0	18.6-21.7	17.7-21.3	18.0-22.2	16.3-20.3	14.0-17.5	11.8-14.8	10.1-13.1
	Pingyin County	370124	29.3	29.4	27.4	28.4	29.8	28.6	29	23.3	23.1	22.6	18.6	16.9	15.8	13.9	13	12.3	11.7
			20.5-40.1	21.0-39.2	20.2-35.5	22.1-35.6	24.2-35.7	23.9-33.1	25.4-32.6	20.8-25.7	20.9-25.6	19.9-25.6	15.8-21.7	13.8-20.6	12.3-19.9	10.3-18.3	9.2-17.5	8.2-17.4	7.6-17.0
	Pingyuan County	371426	70.8	68	69.8	63.9	57.2	47.1	35.1	28.1	25.9	23.1	21.7	20	15.4	15	14.2	13.2	12
			60.1-83.6	57.8-80.7	58.7-83.8	53.5-76.6	47.5-68.3	38.9-55.9	29.1-41.9	23.5-33.2	21.7-30.4	19.3-27.1	18.1-25.5	16.5-23.6	12.6-18.4	12.3-17.7	11.7-16.7	11.0-15.4	10.1-14.2
	Qihe County	371425	52.9	45.2	39.8	31.1	27.1	24.6	22.3	22.1	23.3	21.4	18	16.2	13	10.5	9.1	8.5	8
			41.8-67.0	36.8-55.6	33.4-47.2	26.5-36.0	23.4-31.5	20.8-29.4	18.2-27.5	17.8-27.7	18.4-29.3	16.8-27.4	14.2-22.6	13.0-20.1	10.6-15.7	8.7-12.5	7.8-10.6	7.4-9.8	6.9-9.3
	Qingyun County	371423	58.7	55.3	47.5	45.3	39.1	35.5	30.8	25.8	25.3	23.6	24.1	23.7	22.6	21.8	20.3	18.5	17
			51.0-67.4	48.3-63.4	41.6-54.7	39.6-51.7	34.5-44.4	31.3-40.1	27.5-34.4	23.4-28.5	23.2-27.5	21.8-25.6	22.1-26.1	21.5-25.9	20.3-24.9	19.5-24.1	18.1-22.6	16.4-20.8	14.9-19.3
	Qingzhou City	370781	22.4	22	22	22	21.5	20.5	20.3	17.8	16.6	14.5	12.6	11.4	12.1	10.6	9.8	9.2	8.8
			19.5-25.9	19.2-25.3	19.1-25.3	19.2-25.2	18.7-24.4	18.0-23.3	17.9-22.8	15.9-19.6	15.1-18.0	13.2-15.7	11.5-13.7	10.3-12.6	10.9-13.4	9.4-11.8	8.7-10.9	8.1-10.4	7.7-10.0
	Qixia City	370686	22.3	21.5	22.3	21.3	20	23.3	21.6	18.3	17.9	15.1	11.7	11.1	10.6	11.1	12	12	12

Province	County	County Code (2012)	Under-5 Mortality Rate (per 1000 births)																
			1996	1997	1998	1999	2000	2001	2002	2003	2004	2005	2006	2007	2008	2009	2010	2011	2012
			19.3-26.0	18.7-25.0	19.2-25.8	18.4-24.7	17.2-23.1	20.2-26.5	19.0-24.2	16.5-20.3	16.4-19.6	13.8-16.3	10.6-12.8	9.9-12.3	9.3-11.8	9.7-12.4	10.5-13.4	10.6-13.5	10.5-13.7
	Qufu City	370881	40.6	38.1	36.1	35.9	33.2	28.4	28.2	22.4	17.1	16.5	15.7	14.2	13.3	11.9	10.3	9.2	8.5
			31.4-52.4	30.7-47.7	30.1-43.7	30.8-41.7	29.2-37.6	25.0-32.4	24.4-32.6	18.8-26.6	14.1-20.7	13.4-20.7	12.8-19.8	11.6-17.5	11.2-16.1	10.2-13.9	9.0-11.7	8.2-10.5	7.4-9.7
	Rencheng District	370811	20.1	18.4	17.1	15.8	14.9	15.1	14.4	12.8	13.1	12.8	12.8	12	11.5	10.5	9.8	9.1	8.5
			17.6-23.1	16.1-21.1	14.9-19.7	13.8-18.2	12.9-17.0	13.2-17.2	12.8-16.1	11.6-14.1	12.1-14.2	11.9-13.7	11.8-13.7	10.9-13.1	10.3-12.8	9.4-11.6	8.7-10.9	8.2-10.2	7.5-9.7
	Rongcheng City	371082	19.4	18.6	17.9	16.2	16.2	18	18.1	16.6	16.5	15.3	13.3	12.2	12.1	11.7	11.8	11.4	11.1
			16.9-22.2	16.2-21.3	15.6-20.6	14.1-18.5	14.0-18.4	15.8-20.4	16.1-20.2	15.1-18.3	15.2-17.9	14.3-16.4	12.2-14.3	11.0-13.3	10.9-13.4	10.4-13.0	10.5-13.2	10.2-12.8	9.8-12.7
	Rushan City	371083	20.9	20.1	19.4	17.8	16.6	17.6	15.9	13.2	12.6	11.4	10.4	10.7	11.5	11.5	12.3	12.5	12.3
			17.9-24.3	17.4-23.4	16.7-22.6	15.2-20.7	14.1-19.3	15.1-20.2	13.8-18.0	11.8-14.7	11.5-13.8	10.5-12.5	9.4-11.3	9.6-11.8	10.3-12.8	10.2-12.9	10.9-13.8	11.2-14.0	10.8-14.0
	Shan County	371722	32.8	31.1	31.5	28.8	30	29.8	29.7	27.9	28.8	28.4	27.3	25.4	26.6	27.2	26.4	25.3	25.5
			28.5-37.7	27.0-35.8	27.3-36.3	25.0-33.2	26.0-34.3	25.9-34.0	26.0-33.7	24.5-31.2	25.6-32.2	25.3-32.0	24.1-30.7	22.2-28.7	23.2-30.5	23.6-31.4	23.0-30.5	21.8-29.3	21.9-29.5
	Shanghe County	370126	35.1	32.8	32.3	31	30.5	30.1	30.1	27.3	28.5	26.2	26.3	23.1	20.4	17.6	16.8	14.9	13.8
			30.7-40.4	28.6-37.7	28.1-37.2	27.0-35.5	26.6-34.8	26.4-34.3	26.6-33.9	24.3-30.3	25.6-31.5	23.8-28.9	23.7-29.0	20.7-25.6	18.2-22.8	15.7-19.8	14.9-18.9	13.2-16.8	12.1-15.7
	Shanting District	370406	33	33.2	33.7	27.7	28.7	28.5	29.9	29.4	29.2	27.2	23.9	19.3	17.2	16.3	15.3	14.7	14.4
			22.2-46.3	23.0-46.0	24.2-45.5	20.6-36.5	22.6-36.3	23.7-34.5	25.9-34.3	26.6-32.4	27.1-31.6	24.7-29.8	20.6-27.5	15.7-23.4	13.1-21.8	11.8-21.8	10.4-21.4	9.5-21.1	9.0-21.2
	Shen County	371522	32.6	33.5	33.2	32.8	32.6	31.2	28.1	25.3	23.7	19.5	16.5	13.9	12.2	11.4	10.8	10.6	10.2
			28.5-37.4	29.3-38.4	29.2-38.2	28.8-37.4	28.8-36.8	27.6-35.1	25.1-31.2	23.0-27.6	21.9-25.6	18.0-21.0	15.2-17.9	12.6-15.2	11.0-13.5	10.2-12.6	9.6-12.1	9.3-12.0	8.9-11.6
	Shibei District	370203	14.1	15.2	15.2	14.6	14.3	14.8	12.9	12.1	11.7	10.4	9.6	9.1	8.3	8	7.5	7.4	6.9
			12.3-16.1	13.3-17.5	13.4-17.6	12.9-16.7	12.6-16.1	13.0-16.6	11.5-14.3	11.0-13.3	10.7-12.7	9.7-11.2	8.8-10.4	8.3-10.0	7.5-9.2	7.1-8.8	6.7-8.4	6.5-8.3	6.1-7.9
	Shinan District	370202	14.1	15.2	15.2	14.6	14.3	14.8	12.9	12.1	11.7	10.4	9.6	9.1	8.3	8	7.5	7.4	6.9
			12.3-16.1	13.3-17.5	13.4-17.6	12.9-16.7	12.6-16.1	13.0-16.6	11.5-14.3	11.0-13.3	10.7-12.7	9.7-11.2	8.8-10.4	8.3-10.0	7.5-9.2	7.1-8.8	6.7-8.4	6.5-8.3	6.1-7.9
	Shizhong District	370103	19.8	20.1	18.5	18.6	17.7	17.3	17.7	16.7	16.7	14.8	14.3	13.1	11.5	10	8.9	8.6	7.8
			17.3-22.8	17.4-23.2	16.0-21.5	16.0-21.5	15.1-20.5	14.7-20.1	15.0-20.5	14.2-19.3	14.3-19.1	12.9-16.9	12.5-16.4	11.4-14.9	10.0-13.1	8.7-11.5	7.7-10.2	7.4-9.8	6.8-8.9
	Shizhong District	370402	35.4	34.2	33.2	32	30.7	31.3	29.3	27.9	27.1	25.6	23.8	21.3	18.5	16.6	11.9	11.6	10.9
			30.8-40.8	29.7-39.5	28.8-38.2	27.7-36.8	26.6-35.0	27.4-35.6	25.9-32.9	25.0-30.9	24.7-29.6	23.5-27.8	21.8-25.8	19.3-23.3	16.7-20.4	14.8-18.4	10.5-13.3	10.2-13.1	9.5-12.4
	Shizhong District	370802	20.1	18.4	17.1	15.8	14.9	15.1	14.4	12.8	13.1	12.8	12.8	12	11.5	10.5	9.8	9.1	8.5
			17.6-23.1	16.1-21.1	14.9-19.7	13.8-18.2	12.9-17.0	13.2-17.2	12.8-16.1	11.6-14.1	12.1-14.2	11.9-13.7	11.8-13.7	10.9-13.1	10.3-12.8	9.4-11.6	8.7-10.9	8.2-10.2	7.5-9.7
	Shouguang City	370783	22.3	22.3	22.7	22.2	20.9	19.6	17.6	15	13.6	12.1	9.8	8.8	8.5	8.3	7.6	7.4	7
			19.4-25.5	19.4-25.4	19.8-26.0	19.5-25.2	18.4-23.7	17.3-22.0	15.8-19.5	13.6-16.4	12.6-14.8	11.2-13.1	9.0-10.6	8.0-9.7	7.6-9.4	7.4-9.3	6.8-8.6	6.5-8.3	6.1-7.9
	Sifang District	370205	14.1	15.2	15.2	14.6	14.3	14.8	12.9	12.1	11.7	10.4	9.6	9.1	8.3	8	7.5	7.4	6.9
			12.3-16.1	13.3-17.5	13.4-17.6	12.9-16.7	12.6-16.1	13.0-16.6	11.5-14.3	11.0-13.3	10.7-12.7	9.7-11.2	8.8-10.4	8.3-10.0	7.5-9.2	7.1-8.8	6.7-8.4	6.5-8.3	6.1-7.9
	Sishui County	370831	40.9	39.2	35	31.9	30.8	26.6	25.8	21.3	18.8	17.7	16.7	14.1	13.8	13.9	12.9	12.1	11.4
			35.6-46.9	34.3-44.9	30.7-40.4	28.0-36.3	27.2-34.9	23.5-29.9	23.0-28.6	19.3-23.4	17.3-20.4	16.4-19.1	15.3-18.1	12.7-15.4	12.5-15.3	12.4-15.4	11.5-14.4	10.7-13.6	10.0-13.0
	Tai'erzhuang District	370405	44.6	43.2	44.6	42.3	42.9	41.1	38	31.4	29.1	25.8	23.1	19.6	17	15.1	10.7	10.1	9.6
			38.8-51.5	38.0-49.8	39.2-51.1	37.3-48.1	37.8-48.4	36.5-45.8	34.1-42.0	28.8-34.1	27.0-31.4	24.0-27.8	21.2-25.2	17.7-21.6	15.1-18.9	13.3-16.8	9.4-12.0	8.9-11.5	8.3-11.0
	Taishan District	370902	17.6	17.3	17.1	17.7	15.7	16.3	16.1	14.2	14.3	13.9	12.8	12	11.2	9.7	8	7.3	6.4
			15.4-20.2	15.1-19.9	14.9-19.7	15.5-20.2	13.7-17.9	14.3-18.5	14.2-18.1	12.7-15.8	13.0-15.7	12.7-15.2	11.7-14.0	10.8-13.2	10.0-12.4	8.7-10.9	7.1-8.9	6.5-8.2	5.6-7.3
	Tancheng County	371322	42	40.5	38.1	35.3	31.7	27.4	24.9	21.3	19.8	20.6	20.2	20.4	18.6	18.3	17.2	15.4	14
			36.3-49.0	34.6-46.9	32.7-44.5	30.0-41.2	27.1-36.9	23.5-31.8	21.5-28.6	18.5-24.2	17.3-22.4	18.3-23.3	17.8-22.8	17.8-23.1	16.3-21.2	16.1-20.9	15.1-19.7	13.4-17.5	12.2-16.0
	Tengzhou City	370481	32.7	33.3	32.4	34.2	34.6	33.8	35.5	32.8	31.5	29.2	27.8	22.6	17.5	15.8	13.3	12.7	11.9
			28.1-38.3	28.3-38.9	27.3-38.1	28.3-40.7	28.5-40.9	28.2-39.9	29.6-41.4	27.6-38.2	26.9-36.3	25.7-32.9	25.2-30.5	20.6-24.5	15.7-19.3	14.0-17.6	11.8-15.0	11.2-14.3	10.4-13.5
	Tianqiao District	370105	19.8	20.1	18.5	18.6	17.7	17.3	17.7	16.7	16.7	14.8	14.3	13.1	11.5	10	8.9	8.6	7.8
			17.3-22.8	17.4-23.2	16.0-21.5	16.0-21.5	15.1-20.5	14.7-20.1	15.0-20.5	14.2-19.3	14.3-19.1	12.9-16.9	12.5-16.4	11.4-14.9	10.0-13.1	8.7-11.5	7.7-10.2	7.4-9.8	6.8-8.9
	Weicheng District	370702	19.5	19.4	18.5	17	15	13.8	11.7	9.4	9.4	8.1	7.6	7.4	7	6.8	6.9	6.9	6.7
			17.0-22.4	17.0-22.3	16.3-21.3	14.9-19.3	13.2-16.9	12.2-15.6	10.4-12.9	8.5-10.3	8.6-10.1	7.4-8.7	7.0-8.2	6.7-8.1	6.3-7.8	6.1-7.5	6.1-7.7	6.1-7.7	5.8-7.6
	Weishan County	370826	34.7	33.9	29	28.8	30.6	25.5	27.2	24	22.5	20.3	19.4	16.3	14.3	13.5	11.8	10.9	10.1
			27.6-43.2	26.9-42.9	23.0-36.8	22.6-36.5	24.3-38.6	20.3-31.6	22.1-33.1	19.9-28.9	18.9-26.5	17.0-23.9	16.3-22.7	13.5-19.2	11.7-16.8	11.2-15.9	9.8-13.8	9.2-12.7	8.6-11.9
	Wendeng City	371081	20.3	20.6	19.8	19	18.9	18.1	18	16.1	15.4	13.5	11.8	14	13.8	15.1	14.8	14.4	14.2
			13.9-28.3	14.5-28.0	14.4-26.2	14.5-24.3	15.2-23.2	15.2-21.3	15.8-20.4	14.6-17.7	14.1-16.9	12.1-15.1	10.0-13.7	11.3-17.0	10.7-17.4	11.2-19.8	10.5-20.1	9.7-20.2	9.2-20.6
	Wenshang County	370830	31.1	28.6	26.9	28.4	27.9	26.6	25.5	20.2	17.3	14.4	11.7	9.5	9.9	8.6	8.6	8.1	7.8
			27.2-35.9	24.9-32.8	23.3-30.9	24.6-32.7	24.0-32.0	23.2-30.2	22.5-28.6	18.1-22.5	15.6-18.9	13.1-15.8	10.5-12.9	8.4-10.7	8.6-11.1	7.4-9.7	7.4-9.7	7.0-9.2	6.7-9.0
	Wucheng County	371428	55.2	49	42.8	37.6	39.9	40.7	42.4	39.2	37	28.9	25	21.9	18.6	16.4	15.1	13.7	12.4
			45.8-66.1	40.9-59.0	35.2-52.2	30.8-46.4	32.5-48.9	33.3-48.9	35.0-50.4	32.8-45.9	31.2-43.1	24.3-33.7	20.9-29.3	18.1-25.8	15.2-22.0	13.6-19.4	12.5-17.7	11.6-16.0	10.5-14.7
	Wudi County	371623	28.8	27	25.8	25.3	24.7	23.3	23.7	22.1	23	22.3	22.1	20.8	18.6	17.1	14	13.2	12.2
			25.1-33.2	23.6-31.2	22.5-29.8	22.1-28.9	21.7-28.1	20.5-26.5	21.0-26.6	19.8-24.4	21.0-25.1	20.4-24.2	20.2-24.0	18.8-22.7	16.7-20.4	15.3-18.9	12.4-15.6	11.7-15.0	10.7-13.9
	Wulian County	371121	23.2	23.8	23.5	22.7	22.5	20.6	18.8	17	15.3	14.3	17.2	18.5	18.1	16.4	14.5	12.5	10.8
			20.2-26.6	20.8-27.3	20.4-27.0	19.6-26.1	19.3-25.8	17.8-23.4	16.6-21.2	15.2-18.9	14.0-16.8	13.1-15.5	15.7-18.7	16.6-20.3	16.0-20.0	14.5-18.2	12.9-16.2	11.1-13.9	9.5-12.3
	Xiajin County	371427	65.2	63.9	59.1	46.4	38.5	34.5	36.3	29.8	32.3	32.3	28.5	23.4	19	14.4	14.4	12.7	12.1
			56.3-75.7	55.2-74.1	50.7-69.1	39.4-54.2	32.5-44.9	29.4-39.9	30.9-41.5	25.9-33.8	28.3-36.4	28.4-36.5	24.9-32.3	20.0-27.0	15.9-22.0	12.1-16.7	12.1-16.7	10.9-14.7	10.3-14.2
	Xintai City	370982	22.7	22.2	21.1	19.5	18.1	16.3	15.1	13.3	13.3	11.9	12.4	12.7	12.9	13.2	13.5	12.3	11.4
			15.4-31.9	15.4-30.6	15.2-28.7	14.4-25.4	14.2-22.5	13.4-19.4	13.1-17.3	12.2-14.7	12.3-14.4	10.7-13.1	10.7-14.2	10.4-15.3	10.2-16.2	9.8-17.2	9.6-18.2	8.3-17.3	7.4-16.4
	Xuecheng District	370403	39.1	38.5	35.6	37.4	38	36.2	33.5	29.8	28.6	25	23.2	19.9	16.5	14.2	11.3	10.8	10.2
			33.5-45.7	33.4-44.9	30.9-41.5	32.6-42.9	33.4-43.2	32.1-40.6	30.2-37.1	27.3-32.5	26.4-30.8	23.2-27.1	21.2-25.5	17.9-22.3	14.6-18.5	12.4-16.0	9.8-12.8	9.4-12.3	8.8-11.7
	Yanggu County	371521	30.4	29.7	29	29.2	31.7	31.8	33	29	29.2	24.4	21.5	17.4	14.6	11.8	9.5	8.7	8
			26.5-34.8	26.0-34.1	25.5-33.3	25.7-33.3	27.9-35.8	28.2-35.5	29.7-36.5	26.5-31.6	27.0-31.5	22.7-26.3	19.9-23.3	15.8-19.0	13.2-16.2	10.5-13.1	8.4-10.6	7.7-9.8	7.0-9.1

Province	County	County Code (2012)	Under-5 Mortality Rate (per 1000 births)																
			1996	1997	1998	1999	2000	2001	2002	2003	2004	2005	2006	2007	2008	2009	2010	2011	2012
	Yangxin County	371622	41.5	38.5	35.5	33	27.4	25.5	24.5	20.7	18.7	17.6	17.5	16.8	16.1	16.6	15.5	14.8	13.8
			36.1-47.8	33.4-44.3	30.7-41.0	28.2-38.1	23.3-31.7	21.9-29.2	21.3-28.0	18.2-23.2	16.5-20.9	15.6-19.7	15.3-19.8	14.5-19.2	13.7-18.6	14.1-19.1	13.1-18.0	12.7-17.0	11.8-16.1
	Yanzhou City	370882	26.5	25.1	24.5	23.5	23.8	22.4	21.4	18.5	18.4	17	15.3	13.4	11.4	9.3	7.8	7.3	6.5
			18.1-36.9	17.4-34.2	17.7-32.9	17.8-30.5	19.1-29.3	18.7-26.3	18.7-24.1	16.8-20.3	16.9-20.2	15.0-19.1	12.8-18.0	10.7-16.5	8.7-14.7	6.8-12.5	5.4-10.9	4.7-10.5	4.0-9.6
	Yicheng District	370404	41.6	40.2	38	39.8	39.9	36.6	31.8	28.2	22.8	18.9	15.8	14.7	12.7	13.3	10.9	10.3	9.8
			34.2-50.6	33.3-48.9	31.3-46.4	32.7-48.9	32.6-48.5	30.0-43.8	26.4-37.7	23.8-33.0	19.3-26.6	15.9-22.0	13.2-18.5	12.2-17.3	10.4-15.0	11.0-15.7	9.1-12.9	8.6-12.0	8.3-11.6
	Yinan County	371321	36.4	34.1	32.4	29.7	27.7	25.2	25.3	21.9	20.2	20.3	20.4	19.3	17.9	18.6	18	16.1	14.7
			31.8-41.9	29.7-39.2	28.2-37.3	25.9-33.9	24.2-31.7	22.1-28.7	22.3-28.5	19.6-24.4	18.2-22.2	18.4-22.4	18.5-22.5	17.3-21.4	15.9-20.0	16.5-21.0	15.9-20.2	14.2-18.2	12.9-16.8
	Yishui County	371323	38.1	37.7	35.3	32.6	28.4	24.5	22	18.5	18.8	19.9	20.6	20.5	19.6	19.2	17.7	15.9	14.4
			29.7-49.0	30.2-46.8	29.2-42.8	27.4-38.4	24.6-32.6	21.1-28.2	18.7-25.6	15.4-22.0	15.3-22.7	16.1-24.5	16.8-25.3	17.0-25.0	16.5-23.4	16.4-22.4	15.4-20.2	13.9-18.0	12.6-16.4
	Yiyuan County	370323	35	33.8	31.1	29.8	27.6	23.6	20.9	18.3	18	16.6	15.3	14.1	12.8	11.1	10.1	9.6	9.1
			27.2-45.0	27.0-42.0	25.7-37.9	25.0-35.3	23.8-31.6	20.3-27.2	17.7-24.2	15.3-21.6	14.8-21.6	13.6-20.4	12.6-18.8	11.7-17.1	10.8-15.1	9.6-12.9	8.8-11.3	8.5-10.9	8.0-10.4
	Yucheng City	371482	40	36.5	31.8	24.7	21.7	20.9	19.3	16.7	17.2	17.5	16.5	15.6	15.1	15.2	12	11	10.2
			34.6-46.4	31.7-42.4	27.3-37.1	20.9-28.9	18.3-25.3	17.8-24.2	16.6-22.2	14.5-18.9	15.1-19.5	15.3-19.7	14.4-18.8	13.4-17.9	12.7-17.4	12.8-17.5	10.1-13.9	9.5-12.8	8.7-12.0
	Yuncheng County	371725	49.2	46.2	46.2	50.9	44.1	34.9	25.4	18.8	12.9	12.6	9.5	9	9.7	11.6	10.7	11.9	12.8
			41.9-58.1	39.4-54.7	39.0-55.2	42.7-60.5	36.7-52.3	28.9-41.0	21.1-30.0	15.8-22.0	10.9-15.0	10.6-14.7	8.0-11.1	7.4-10.6	7.9-11.5	9.5-13.6	8.9-12.5	10.0-13.8	10.9-15.1
	Yutai County	370827	34.2	32.7	31.7	29.8	31.6	28.4	26.5	21.6	18.6	14.9	14.2	12.5	11.9	11.8	11.2	10.3	9.9
			29.9-39.4	28.5-37.5	27.6-36.4	26.0-34.0	27.7-36.0	24.9-32.1	23.6-29.6	19.6-23.7	17.0-20.1	13.7-16.1	13.1-15.4	11.3-13.6	10.7-13.1	10.5-13.1	10.0-12.5	9.2-11.7	8.7-11.3
	Zhangdian District	370303	19.7	19.7	18.9	17.5	16.3	15.8	14.8	12.8	12.4	11.8	10.7	10.1	9.6	9.4	9.2	9.3	9.1
			17.3-22.7	17.2-22.6	16.4-21.7	15.3-20.1	14.3-18.7	13.8-17.9	13.1-16.6	11.5-14.1	11.3-13.5	10.9-12.8	9.8-11.6	9.1-11.0	8.6-10.6	8.4-10.4	8.2-10.3	8.3-10.5	8.0-10.4
	Zhangqiu City	370181	26.4	26.1	25.6	25.7	26.7	25.6	26.1	24.3	26.1	23.9	22.7	21	18.8	15.9	14.7	13.6	12.5
			23.0-30.3	22.8-30.0	22.4-29.6	22.5-29.4	23.4-30.3	22.6-29.0	23.1-29.1	21.9-26.8	23.8-28.6	21.9-26.0	20.8-24.8	19.0-23.1	16.8-20.8	14.3-17.7	13.0-16.4	12.1-15.3	11.0-14.3
	Zhanhua County	371624	33.3	32.4	31.6	32.4	28.4	23.4	22.9	20.4	17.6	17.4	17.5	17.3	15.8	12.8	11.9	11.5	10.4
			28.4-38.9	27.8-38.1	27.1-37.4	27.5-38.0	24.0-33.1	19.9-27.1	19.7-26.2	17.8-23.0	15.5-19.9	15.2-19.5	15.2-19.9	14.8-19.8	13.3-18.3	10.8-14.8	10.0-13.8	9.8-13.3	8.8-12.2
	Zhaoyuan City	370685	22.8	21.3	21.3	20.7	17.7	17.4	17.9	15.9	15.5	14	12.3	10.5	9.1	7.5	7.8	7.4	6.9
			19.9-26.1	18.6-24.4	18.5-24.4	18.0-23.7	15.4-20.2	15.2-19.8	16.0-20.1	14.5-17.6	14.2-16.8	13.0-15.0	11.2-13.2	9.5-11.5	8.0-10.1	6.6-8.4	6.9-8.7	6.6-8.4	6.0-7.9
	Zhifu District	370602	24.4	22.2	20.5	18.2	16	16.6	15.6	13	12.3	10.9	8.7	8.2	8.1	7.5	7.7	8	8.1
			19.0-31.2	17.8-27.5	17.2-24.4	15.7-21.1	13.9-18.3	14.4-19.3	13.3-18.6	10.8-15.9	10.0-15.2	8.8-13.6	7.1-10.8	6.7-9.9	6.7-9.7	6.4-8.6	6.7-8.7	7.1-9.0	7.1-9.2
	Zhoucun District	370306	19.7	19.7	18.9	17.5	16.3	15.8	14.8	12.8	12.4	11.8	10.7	10.1	9.6	9.4	9.2	9.3	9.1
			17.3-22.7	17.2-22.6	16.4-21.7	15.3-20.1	14.3-18.7	13.8-17.9	13.1-16.6	11.5-14.1	11.3-13.5	10.9-12.8	9.8-11.6	9.1-11.0	8.6-10.6	8.4-10.4	8.2-10.3	8.3-10.5	8.0-10.4
	Zhucheng City	370782	21.7	21.2	20.9	18.1	16.9	15.2	14.4	11.6	10.9	9.3	8.3	7.3	7	7.1	7.3	7.1	7
			18.8-25.3	18.6-24.6	18.4-24.1	16.0-20.7	14.9-19.2	13.5-17.0	12.9-15.9	10.6-12.6	10.1-11.8	8.6-9.9	7.6-8.9	6.6-8.0	6.3-7.7	6.3-7.9	6.5-8.1	6.2-8.0	6.1-7.9
	Zichuan District	370302	19.7	19.7	18.9	17.5	16.3	15.8	14.8	12.8	12.4	11.8	10.7	10.1	9.6	9.4	9.2	9.3	9.1
			17.3-22.7	17.2-22.6	16.4-21.7	15.3-20.1	14.3-18.7	13.8-17.9	13.1-16.6	11.5-14.1	11.3-13.5	10.9-12.8	9.8-11.6	9.1-11.0	8.6-10.6	8.4-10.4	8.2-10.3	8.3-10.5	8.0-10.4
	Zoucheng City	370883	31.6	30.7	28.7	31.3	30.7	26.4	24.1	20.7	17.7	15.4	14.8	14.8	12.9	11.4	10.1	9.4	8.4
			27.6-36.1	26.9-35.1	25.1-33.0	27.5-35.6	27.0-34.7	23.3-29.5	21.6-26.7	18.8-22.7	16.2-19.2	14.2-16.8	13.5-16.4	13.3-16.5	11.4-14.5	10.0-12.8	8.8-11.4	8.2-10.6	7.3-9.7
	Zouping County	371626	29.2	28.5	27.4	24.9	24.4	23.3	21.3	19.8	21.3	20	18.5	17.2	15.8	13.5	12.1	11.5	10.4
			25.3-34.0	24.8-33.0	23.8-31.6	21.6-28.6	21.1-27.8	20.4-26.4	19.0-23.9	18.1-21.9	19.7-23.1	18.7-21.4	17.1-19.8	15.6-18.7	14.1-17.4	12.0-15.0	10.8-13.5	10.2-12.9	9.1-11.8
Shanghai	Baoshan District	310113	14.9	13.8	14.9	14.5	16.2	14.7	13.9	12.3	11.3	9.7	9.1	8.5	8.2	8.6	8.1	7.9	7.8
			12.4-17.6	11.5-16.6	12.1-18.3	11.5-18.0	12.9-20.0	11.9-18.2	11.0-17.4	10.0-15.0	9.4-13.3	8.2-11.5	7.6-10.7	7.2-10.1	7.0-9.6	7.3-10.0	6.9-9.4	6.9-9.2	6.9-8.9
	Changning District	310105	11.2	10	10.4	9.9	9	8.8	8.1	6.1	5.3	4	3.7	3.1	3.1	3.4	3.3	3.3	3.3
			9.5-13.0	8.6-11.7	8.8-12.3	8.3-11.6	7.6-10.6	7.4-10.2	6.8-9.4	5.2-7.0	4.6-6.0	3.5-4.5	3.2-4.2	2.7-3.5	2.8-3.5	3.0-3.8	2.9-3.6	3.0-3.7	3.0-3.6
	Chongming County	310230	21.6	20.3	19.5	18.9	17.4	14.3	13.2	12.2	12.3	13.1	13.4	14.6	14.7	15.3	15.2	15.1	15.3
			18.3-25.1	17.3-23.8	16.5-23.0	15.9-22.4	14.5-20.7	11.8-16.9	10.9-15.5	10.3-14.2	10.4-14.4	11.1-15.4	11.3-15.7	12.2-17.2	12.2-17.3	12.8-18.2	12.8-17.9	12.9-17.5	13.3-17.7
	Fengxian District	310120	18.5	18.3	17.5	17.4	16.2	12.8	11.7	9.9	9.3	10.5	11.3	11.3	10.7	11.3	9.1	8.8	8.9
			15.3-21.8	15.2-21.9	14.4-21.2	13.8-21.4	12.7-20.2	10.0-16.1	9.3-14.3	8.1-12.0	7.8-10.8	9.1-12.0	9.6-13.1	9.3-13.3	8.6-12.8	9.3-13.3	7.8-10.6	7.9-10.0	8.1-9.8
	Hongkou District	310109	14.1	13.2	12.8	11.7	10.2	10.8	10.7	8.8	8.4	7.9	6.2	5.6	5.2	4.9	4.7	4.7	4.6
			11.1-17.3	10.4-16.2	10.3-15.7	9.6-14.0	8.4-12.1	9.1-12.6	9.2-12.2	7.6-9.9	7.3-9.4	7.0-8.8	5.5-7.0	5.0-6.4	4.6-5.8	4.3-5.5	4.2-5.3	4.2-5.3	4.2-5.1
	Huangpu District	310101	12.1	10.7	10.1	8.7	7.4	8.7	8.7	8	7.5	6.6	4.7	3.9	3.7	3.6	3.1	3.2	3.3
			9.6-14.8	8.6-13.0	8.1-12.4	7.1-10.5	6.1-8.9	7.2-10.2	7.3-10.0	6.9-9.2	6.5-8.6	5.8-7.4	4.2-5.4	3.4-4.5	3.2-4.2	3.2-4.1	2.7-3.5	2.8-3.6	2.9-3.6
	Jiading District	310114	13.4	12.2	12.6	11.6	12.6	11.9	11.6	9.6	11.4	11.7	11.1	10.6	9.7	7.9	8.4	8.4	8.4
			11.2-15.8	10.1-14.6	10.4-15.3	9.2-14.3	9.8-15.6	9.4-14.8	9.5-14.2	7.9-11.3	9.8-13.0	10.3-13.1	9.5-12.9	8.7-12.5	7.9-11.6	6.5-9.4	7.2-9.7	7.5-9.5	7.6-9.3
	Jing'an District	310106	5.9	6.2	5.9	5.3	4.5	4.1	4.2	4.1	3.9	3.9	3.9	3.6	3.9	5.1	4.6	4.7	4.6
			4.4-7.9	4.5-8.5	4.3-8.2	3.7-7.5	3.0-6.4	2.8-5.9	2.9-6.0	2.8-5.8	2.7-5.4	2.9-5.3	2.8-5.1	2.6-4.7	2.8-5.2	3.8-6.6	3.6-5.8	3.8-5.7	3.9-5.5
	Jinshan District	310116	16.3	15.2	14.2	14.8	15.4	15.3	14.1	13.2	12.8	13.1	13.1	14.3	14.8	15.3	14.5	13	12.2
			13.7-18.9	13.0-17.7	12.1-16.6	12.4-17.4	13.0-18.1	13.0-18.0	11.9-16.5	11.4-15.2	11.1-14.8	11.3-15.2	11.3-15.1	12.3-16.4	12.7-16.9	13.2-17.5	12.6-16.7	11.5-14.7	10.8-13.8
	Minxing District	310112	19.9	18.2	17.7	19.5	18.3	14.8	13.6	11.3	9.4	9.4	9.2	8.7	8.3	7.2	7	6.7	6.6
			16.1-23.8	14.8-21.8	14.6-21.2	16.3-23.0	15.5-21.3	12.7-17.1	11.7-15.5	9.8-12.8	8.2-10.6	8.2-10.6	8.1-10.5	7.6-9.9	7.3-9.4	6.3-8.1	6.1-7.9	6.0-7.5	5.9-7.3
	Pudongxin District	310115	14.7	13.9	14	12.8	12	11.4	10.7	9.6	9.3	9.6	9.2	8.4	7.5	6.4	9.3	9.8	10
			9.2-20.9	9.4-18.9	10.1-18.4	9.8-16.2	9.6-14.6	9.1-14.0	8.3-13.4	7.3-12.3	7.0-12.2	7.1-12.9	6.8-12.5	6.3-11.2	5.8-9.8	5.2-7.9	8.0-10.9	8.7-11.0	9.0-11.2
	Putuo District	310107	13.1	11.8	11	10.4	10.9	11.4	10.2	9.7	8.6	8.5	9.9	12.3	13.1	13.5	12.8	12.1	10.9
			10.5-15.8	9.5-14.3	8.9-13.3	8.3-12.6	8.7-13.2	9.2-13.6	8.4-12.1	8.0-11.6	7.2-10.2	7.2-9.9	8.5-11.3	10.7-13.9	11.5-14.8	12.0-15.1	11.5-14.2	10.9-13.4	9.9-12.0
	Qingpu District	310118	15.2	14	14.5	12.2	12	12.1	12.4	10.7	9.7	11	10.6	10	11.5	10.7	11.1	11	10.5
			12.8-17.6	11.8-16.3	12.3-16.9	10.3-14.2	10.1-14.0	10.3-14.0	10.5-14.2	9.2-12.1	8.4-11.0	9.7-12.4	9.4-12.0	8.8-11.3	10.1-12.8	9.5-11.9	9.9-12.3	9.9-12.2	9.5-11.6
	Songjiang District	310117	16.8	16.6	16.8	16.1	16.5	15.1	13.8	11.4	11.5	10.8	10.4	8.8	9.9	9.9	8.8	8.7	8.8

Province	County	County Code (2012)	Under-5 Mortality Rate (per 1000 births)																
			1996	1997	1998	1999	2000	2001	2002	2003	2004	2005	2006	2007	2008	2009	2010	2011	2012
			13.6-20.2	13.5-20.1	13.5-20.7	12.7-19.9	12.9-20.7	11.8-19.0	10.9-17.0	9.3-13.8	9.6-13.6	9.3-12.5	8.7-12.1	7.2-10.5	8.0-12.1	8.1-11.8	7.5-10.3	7.7-10.0	7.9-9.8
	Xuhui District	310104	11.8	9.9	9.8	9.2	7.5	8.2	8.7	7.5	7.1	9.5	11	12.6	14.1	13.4	10.5	8.7	6.8
			9.2-14.8	7.6-12.6	7.5-12.4	7.1-11.8	5.7-9.6	6.3-10.3	6.9-10.8	6.0-9.4	5.8-8.7	7.9-11.2	9.4-12.7	10.9-14.4	12.3-15.9	11.9-15.0	9.4-11.7	7.9-9.7	6.1-7.5
	Yangpu District	310110	14.1	13.5	12	12.7	10.8	10.4	10.5	9.8	7.9	7.4	7.3	6.6	5.5	6.6	6.8	6.8	6.6
			11.2-17.3	10.8-16.8	9.5-15.3	9.8-16.3	8.1-14.0	7.8-13.7	8.1-13.5	7.5-12.4	6.2-9.8	5.9-9.0	5.7-8.9	5.2-8.3	4.2-7.0	5.2-8.3	5.5-8.3	5.7-8.0	5.7-7.7
	Zhabei District	310108	13.7	13.5	14	13.9	14.8	15.1	14.3	13.9	16.2	14.3	13.4	13.7	13.3	9.1	8.9	8.5	8.2
			11.6-15.9	11.3-15.6	11.5-16.7	11.1-17.0	11.6-18.2	11.9-18.8	11.3-17.6	11.5-16.5	13.8-18.6	12.4-16.5	11.2-15.8	11.1-16.3	10.6-15.9	7.5-10.7	7.6-10.3	7.6-9.6	7.4-9.0
Shanxi	Anze County	141026	37.6	34.4	30	24.4	24.3	20.2	20.5	20.9	18.9	17.2	17.6	15.7	14.1	16.2	15.6	14.6	14
			23.4-57.6	22.0-51.4	19.9-43.5	16.8-34.1	17.5-33.0	15.2-26.5	16.0-25.8	17.2-25.3	16.1-22.0	14.5-20.3	14.3-21.7	12.0-20.3	10.0-19.0	10.8-22.7	10.0-22.7	8.9-22.1	8.2-21.5
	Baode County	140931	52	52.5	50	46.8	46.1	44.2	39.5	34.8	31.4	27.4	22.6	16	12.3	10.3	9.6	8.7	7.9
			44.3-60.4	44.4-61.3	42.1-59.1	38.9-55.9	38.3-54.8	37.1-52.1	33.7-45.8	30.2-39.2	27.7-34.9	24.0-30.8	19.5-25.9	13.5-19.0	10.1-14.9	8.4-12.5	7.7-11.6	6.9-10.4	6.4-9.4
	Changzhi County	140421	52.4	50.3	47.2	44.1	36.7	30.3	24.6	20	17.7	17.5	17.8	17.6	15.6	14.3	13.7	12.8	12.2
			38.0-68.3	38.9-62.7	38.8-56.6	38.3-50.3	32.0-41.8	25.6-35.6	20.0-30.5	15.6-25.7	13.4-23.6	13.1-23.5	13.4-23.5	13.6-22.7	12.1-19.7	11.4-17.8	11.1-16.8	10.4-15.5	9.7-14.8
	Cheng District	140202	24.5	21.6	19.2	17.2	14.3	20.4	17.8	15.8	14.5	12.8	11.9	11.8	11.5	10.6	9.8	8.7	7.6
			19.2-30.1	17.1-26.7	15.1-23.8	13.4-21.4	11.3-17.7	16.5-24.8	14.9-21.2	13.8-18.1	13.1-16.2	11.4-14.3	10.4-13.6	10.0-13.7	9.7-13.5	9.0-12.4	8.3-11.3	7.4-10.1	6.4-8.8
	Cheng District	140302	27.1	29.3	27.9	23.2	23.1	20.8	17.8	16.6	19.1	18.4	18.8	19.7	18.9	15.8	15.8	14.2	12.9
			21.3-33.2	23.4-35.8	22.5-33.9	18.8-28.2	18.9-27.9	17.3-24.9	15.1-20.9	14.5-19.0	17.0-21.5	16.5-20.6	16.6-21.1	17.3-22.2	16.4-21.5	13.6-18.0	13.4-18.3	11.9-16.4	10.8-14.9
	Cheng District	140402	31.7	27.8	24.1	22.9	19.9	18.7	16.2	17.7	18.5	18.1	18.3	19.3	16.5	14.2	12.1	11.5	10.6
			20.5-46.3	18.8-39.0	16.6-33.2	16.7-30.8	15.0-25.8	15.0-23.2	13.7-18.9	15.9-19.7	17.0-20.2	15.9-20.4	15.0-21.9	14.8-24.2	11.9-21.6	9.8-19.6	7.8-17.4	7.0-17.0	6.2-16.1
	Cheng District	140502	18.6	19.4	18.3	20.3	28.3	28.1	25.8	23.7	20.7	18	14	11.5	10.3	9.3	9	8.8	8.2
			13.8-24.6	14.4-25.6	13.3-24.4	14.7-27.7	20.3-38.3	20.4-37.3	19.1-33.6	18.1-30.3	16.0-26.2	13.9-22.9	10.7-17.9	8.7-14.9	7.9-13.4	7.1-11.9	7.0-11.4	6.8-10.9	6.4-10.2
	Dai County	140923	54.9	50.5	46.5	43.9	36.9	37.5	39.8	33.6	29.6	26.3	21.2	15.8	15.8	12	12.1	10.9	10.1
			46.5-63.6	43.0-58.8	39.9-53.7	37.7-50.7	31.8-42.2	32.7-42.7	35.3-44.8	30.0-37.5	26.7-32.8	23.5-29.2	18.4-23.9	13.5-18.3	13.2-18.6	10.0-14.3	9.8-14.5	8.8-13.1	8.1-12.1
	Daning County	141030	37.3	35.5	32	34.4	31.6	26.5	24.4	22.8	22.4	21.8	21	19.6	18.6	19.7	17.4	16.1	15
			27.1-50.0	25.9-47.7	22.8-43.4	24.2-47.2	21.9-43.5	18.6-36.4	17.5-32.6	16.7-29.9	17.0-29.0	16.5-28.3	15.8-27.2	14.7-25.6	14.0-24.4	15.1-25.4	13.5-22.2	12.5-20.1	11.7-18.6
	Datong County	140227	30.2	29.1	27.5	27.4	26	23.7	19.3	17.1	13.3	12.5	11.7	13.3	12.3	12.6	12.7	11.6	10.4
			24.1-36.6	23.5-35.1	22.5-33.0	22.6-32.9	21.6-31.0	20.0-27.8	16.6-22.2	15.0-19.6	11.7-15.1	11.0-14.0	10.2-13.2	11.4-15.3	10.4-14.2	10.7-14.7	10.6-14.9	9.5-13.6	8.5-12.2
	Dingxiang County	140921	37.2	36.2	33.5	30.8	28.2	27.3	24.8	19.5	17	15.7	13.6	12.2	14	13.9	13.6	12.8	12.1
			29.9-45.0	29.5-43.7	27.7-39.9	25.7-36.5	23.9-33.0	23.3-31.4	21.7-28.0	17.6-21.7	15.5-18.6	14.4-17.1	12.3-15.0	10.8-13.6	12.2-15.8	12.1-15.8	11.7-15.6	10.9-14.7	10.2-13.7
	Fangshan County	141128	80.1	82	75.6	70.2	67.7	39.2	55.4	48.9	61.6	46.5	36.9	28.6	22.9	16	10.8	9.9	9.4
			63.0-98.6	64.0-101.6	59.3-93.9	55.8-87.6	54.4-84.6	31.2-48.7	45.1-67.8	40.1-59.0	51.7-72.6	38.8-54.8	30.5-43.7	23.3-34.3	18.6-27.8	12.9-19.4	8.6-13.3	7.9-12.2	7.4-11.6
	Fanzhi County	140924	51	49.2	49.2	47.8	47.7	45.9	43.9	40	33.6	25.9	21.2	16.8	13.6	11.9	12.1	11.1	10.1
			43.5-59.1	41.6-57.8	41.1-58.3	39.4-57.4	38.9-57.1	37.7-54.7	36.9-52.0	34.2-46.1	29.2-38.1	22.5-29.1	18.5-24.1	14.3-19.5	11.4-16.1	9.9-14.1	10.1-14.2	9.1-12.9	8.3-11.7
	Fenxi County	141034	40.2	39	36.3	38.4	35	38.7	31.9	29.1	27.9	26.9	20.7	23.2	25.7	22.8	20.8	19.4	17.6
			31.7-49.2	31.2-48.1	28.7-44.8	30.3-47.4	27.8-43.2	31.7-46.8	27.0-37.4	25.4-33.3	24.8-31.5	23.6-30.5	17.8-23.9	19.5-27.3	21.6-30.4	19.1-26.8	17.5-24.3	16.3-22.4	14.7-20.3
	Fenyang City	141182	43.4	44.2	44.9	43.3	43.8	41.4	35.3	28.4	27.5	26.9	25.5	25.9	25.3	23.1	19.9	18.5	16.9
			37.2-50.1	37.6-51.6	37.6-53.2	35.6-52.1	35.7-52.6	33.7-49.9	29.2-42.2	23.8-33.4	23.4-32.0	22.7-31.3	21.6-29.8	21.7-30.5	21.0-29.9	19.3-27.3	17.1-23.1	16.1-21.1	14.8-19.1
	Fushan County	141027	68.2	65	58.3	52.3	54.7	53.3	49.2	41.6	37	30	24.5	20.9	17.5	13.7	12.5	11.3	10.6
			58.7-78.6	55.2-75.8	49.4-68.4	43.9-62.2	45.6-64.7	45.0-62.6	42.5-56.5	36.7-46.7	33.4-40.6	27.0-33.0	21.7-27.5	18.1-24.2	14.8-20.6	11.5-16.1	10.4-14.5	9.4-13.1	8.8-12.2
	Gaoping City	140581	41.2	38.7	37.7	33.5	27.9	25.7	23.5	20.9	19.3	18	18.7	16.3	14.4	13.8	13.9	12.7	12
			35.2-48.0	33.1-44.8	32.6-43.3	28.9-38.7	24.0-32.2	22.0-29.6	20.3-27.2	18.0-24.4	16.6-22.5	15.1-21.1	15.6-22.2	13.3-19.6	11.7-17.7	11.0-16.9	10.9-17.1	10.0-15.7	9.4-14.7
	Gu County	141025	43.8	40.1	36	33.9	32.4	30.7	29.5	26.8	26	27.3	24.6	21.6	18.6	16	13.8	12.5	11.6
			26.2-70.3	24.2-62.5	21.8-54.7	21.0-50.6	21.3-46.5	21.1-42.2	21.0-39.3	20.6-34.2	20.9-31.7	22.4-32.8	19.5-30.6	16.6-27.7	13.7-24.9	11.0-22.5	9.0-20.0	7.7-18.3	6.9-17.7
	Guangling County	140223	34.2	32.1	28.6	26.7	22.8	22.9	21	18.3	15.9	15.5	13.5	12.8	11.8	10.6	10.4	9.4	8.5
			28.5-40.4	26.8-37.7	24.1-33.6	22.4-31.3	19.3-26.8	19.5-26.7	18.2-24.3	16.0-20.8	14.0-17.9	13.6-17.4	11.9-15.2	11.1-14.6	10.2-13.4	9.2-12.1	9.1-11.8	8.2-10.6	7.4-9.5
	Gujiao City	140181	26	24.1	22.3	23.5	22.2	20.6	22.6	19.5	18.2	15.1	13.7	11.9	12.7	12.1	12.3	11.7	10.9
			19.5-33.6	17.9-31.3	16.7-29.2	17.4-31.0	16.6-29.2	15.5-26.8	17.6-28.9	15.7-24.0	15.1-21.7	12.5-18.2	11.1-16.7	9.6-14.5	10.3-15.6	9.9-14.8	10.1-14.9	9.5-14.0	8.8-13.0
	Hejin City	140882	40.5	38.8	37.2	34.9	29.5	28.2	22.2	17.7	15.7	13.9	11.5	11.8	10	11.9	11	10.8	10.6
			29.3-52.8	29.9-48.4	30.4-44.7	30.2-40.2	25.5-33.9	23.5-33.4	17.8-27.6	13.8-22.7	11.9-20.6	10.5-18.4	8.8-15.1	9.3-15.0	8.2-12.2	10.1-14.1	9.6-12.7	9.4-12.4	8.9-12.1
	Hequ County	140930	58	54.4	50.9	38.1	37.1	38.6	31.6	33.7	28.4	26	22.2	17.8	12.3	10.6	9.7	9	8.1
			43.6-75.4	40.9-71.0	38.2-67.0	28.2-50.4	27.4-48.9	28.9-50.6	23.8-41.4	25.6-43.6	21.7-36.5	19.9-32.9	17.2-28.3	13.6-22.8	9.4-15.8	8.2-13.6	7.4-12.4	6.8-11.3	6.2-10.1
	Heshun County	140723	56.7	56.1	53.7	53.3	48.3	45.9	43	37	31.6	28.3	25.3	22.8	20.5	23.3	23	21.5	20.9
			46.8-67.6	46.8-66.5	45.4-63.0	45.2-62.5	41.3-55.8	39.7-52.3	37.8-48.4	33.3-41.2	29.0-34.7	25.9-30.8	22.9-27.9	20.2-25.5	17.8-23.3	20.1-26.6	19.5-26.4	18.2-24.7	17.6-23.8
	Hongdong County	141024	35.5	33.5	31.3	33.9	29.5	27.6	25.8	25.2	27.1	23	19.4	16.9	15	11.7	9.4	8	6.9
			29.0-42.3	27.4-40.4	25.2-37.9	27.0-41.5	23.5-36.3	22.1-33.6	21.3-30.8	21.5-29.3	23.6-31.0	20.0-26.6	16.4-22.8	14.1-20.2	12.5-18.0	9.6-13.9	7.7-11.2	6.6-9.4	5.7-8.2
	Houma City	141081	25.5	23.4	21.6	23	18	16.8	14.2	13	12	14	13.6	14.8	14.7	15.2	13.4	12.3	11.2
			18.9-33.5	17.4-31.2	16.2-28.7	17.2-30.3	13.3-23.5	12.6-21.9	10.7-18.4	9.9-16.8	9.2-15.5	10.8-17.9	10.4-17.5	11.4-18.9	11.3-18.8	11.7-19.3	10.2-16.9	9.5-15.5	8.6-14.0
	Huairen County	140624	23.6	22.8	21.8	18.9	18.5	16.7	14.4	12	10.7	11.1	10.2	10.1	11	9.5	8	7	6.2
			18.2-29.8	17.5-28.8	17.0-27.6	14.9-23.8	14.8-23.1	13.6-20.6	11.8-17.4	10.0-14.3	9.0-12.6	9.4-12.9	8.6-11.9	8.4-12.0	9.1-13.1	7.8-11.3	6.5-9.6	5.7-8.4	5.0-7.5
	Huguan County	140427	80.1	73	66.4	58.7	46.3	35.3	29.5	22.8	19.2	18.8	17.5	16.7	15.4	13.3	13.5	12.8	12.4
			58.4-102.8	55.3-92.8	51.9-82.5	46.7-72.5	37.0-56.8	28.2-43.7	23.4-36.7	17.8-28.8	14.7-24.5	14.4-24.6	13.6-22.7	13.2-21.4	12.6-19.2	11.2-16.0	11.8-15.6	11.5-14.3	10.8-14.0
	Hunyuan County	140225	60.7	54.4	45.8	37	32.3	28.1	22.7	21.9	19.3	16.5	15.2	12.6	11.7	10.6	10.7	9.8	8.9
			50.4-71.5	45.1-64.5	38.2-54.6	30.8-44.5	26.8-38.9	23.3-33.7	18.8-27.3	18.2-26.5	16.1-23.2	13.5-19.7	12.3-18.4	10.1-15.5	9.3-14.5	8.4-13.2	8.4-13.3	7.7-12.2	6.9-11.0
	Huozhou City	141082	41	38.2	34.2	35.9	31.6	30.6	28.2	25	24.8	22.4	19.4	18.7	17.3	14.6	10.2	8.9	7.9
			24.7-64.8	23.3-58.8	21.4-51.4	22.8-52.4	21.3-44.5	21.8-41.0	21.0-36.2	20.2-30.6	21.0-29.2	18.9-26.5	15.7-23.7	14.3-24.1	12.4-23.4	9.8-20.9	6.4-15.0	5.3-13.4	4.6-12.4

Province	County	County Code (2012)	Under-5 Mortality Rate (per 1000 births)																
			1996	1997	1998	1999	2000	2001	2002	2003	2004	2005	2006	2007	2008	2009	2010	2011	2012
	Ji County	141028	42.3	38.6	35.3	35.2	32.7	27.6	26.3	24.7	23	22.8	21	19.3	18	16.7	15.1	13.9	12.7
			24.7-69.0	22.9-60.9	20.8-54.4	21.4-53.5	20.7-47.8	17.7-40.0	17.5-36.6	17.7-33.5	17.1-30.3	16.9-30.2	15.2-28.5	13.5-27.1	12.3-26.0	10.9-24.7	9.3-22.8	8.3-21.7	7.3-20.1
	Jiancaoping District	140108	24	24.7	21.4	19.9	16.6	16.6	16.2	14	12.8	12.4	11	12.3	12.8	13.8	13.6	12.8	12.1
			19.0-29.4	19.8-30.1	17.0-26.1	15.7-24.6	13.3-20.4	13.6-20.1	13.7-19.2	12.2-16.0	11.4-14.4	10.9-13.9	9.5-12.6	10.4-14.4	10.8-15.0	11.7-16.1	11.5-15.7	10.9-14.6	10.2-13.8
	Jiang County	140826	71.5	64.2	54.9	44.7	34.2	24.8	18	16.3	13.8	12.6	13.1	16.6	16.8	20.1	20.8	19.7	18.9
			53.3-91.1	50.9-78.7	46.1-65.1	38.8-50.9	29.6-39.5	20.6-29.8	14.3-22.7	12.6-21.4	10.3-18.5	9.3-17.1	9.9-17.5	13.0-21.2	13.7-20.5	17.2-23.6	18.2-23.8	17.3-22.2	16.1-21.2
	Jiao District	140311	34.6	33.8	35.7	31.7	29.6	26.1	23.8	29.7	31.3	32.6	30.5	29.7	25.5	22.2	19.3	16.8	14.4
			20.8-54.4	20.9-51.8	22.3-53.6	20.8-46.0	20.3-41.3	18.8-34.9	18.3-29.9	24.7-35.0	28.0-35.1	28.9-36.3	25.9-35.5	23.7-36.2	19.2-32.8	15.5-29.9	12.8-26.8	10.4-24.3	8.5-21.4
	Jiao District	140411	44.2	40.4	35.7	29.3	25.7	23.9	20.6	19.9	20.3	19.4	18.1	17.5	15.7	13.8	10.8	10.1	9.7
			37.8-51.2	34.4-46.8	30.4-41.2	25.3-34.0	22.1-29.6	20.6-27.2	18.2-23.3	17.9-22.1	18.6-22.2	17.6-21.2	16.2-20.1	15.4-19.8	13.4-18.0	11.8-15.9	8.9-12.6	8.3-11.9	7.9-11.3
	Jiaocheng County	141122	38.5	37.4	35.2	31.2	30.9	26.3	23.9	20.7	19.5	16.5	14.8	14	12.4	12.4	10.7	10.2	9.5
			32.2-45.4	31.6-43.9	30.0-40.9	26.6-36.4	26.5-35.5	22.9-30.0	21.1-26.9	18.6-22.9	17.8-21.3	15.0-18.0	13.4-16.4	12.3-15.7	10.7-14.1	10.7-14.2	9.1-12.4	8.5-11.8	8.0-11.0
	Jiaokou County	141130	71.2	68.2	67.3	68.8	69.4	66.1	64.8	64.1	54.3	52.7	45.9	38.4	29.7	24.9	13.2	12.3	11.4
			57.5-85.2	55.5-81.8	55.6-79.9	57.4-81.2	58.8-81.1	56.4-76.1	56.8-73.2	57.8-71.3	49.4-59.7	48.0-57.6	41.0-50.6	33.5-43.3	25.3-34.4	21.0-29.0	10.8-15.6	10.0-14.6	9.2-13.6
	Jiexiu City	140781	33.5	32	29.5	30.4	28.8	25.5	24.4	23.1	20	21.2	21.3	20.5	19.9	18.3	16.8	15.7	14.8
			27.9-39.4	26.9-37.7	24.8-34.5	25.7-35.7	24.6-33.7	21.8-29.5	21.2-28.0	20.4-26.2	17.9-22.3	18.9-23.7	18.8-23.9	17.9-23.2	17.3-22.6	16.0-20.7	14.7-19.0	13.7-17.7	12.7-16.6
	Jingle County	140926	59.7	57.4	55.5	52	50.3	42.4	39.4	34.8	25.2	21.5	18.3	11.4	10.4	9.3	8.9	8.3	7.8
			35.4-95.9	34.5-89.2	33.3-84.8	31.7-77.8	32.4-72.6	27.7-59.6	26.7-54.2	25.3-46.3	18.9-33.0	16.1-28.1	13.3-24.6	8.1-16.1	7.1-15.0	6.0-13.7	5.5-13.5	5.0-12.9	4.5-12.4
	Jinyuan District	140110	27.3	26.8	23.8	22	19.9	19.1	16.2	15.1	19.9	18.9	16.4	14.9	13.3	12.2	10.7	9.9	9.1
			21.6-33.1	21.6-32.4	19.4-28.6	18.1-26.4	16.4-23.9	15.9-22.6	13.9-18.9	13.1-17.2	17.7-22.4	16.9-21.2	14.5-18.5	13.0-16.9	11.5-15.2	10.5-14.0	9.1-12.5	8.3-11.5	7.5-10.5
	Jishan County	140824	52.2	51.5	50.2	54.5	47.1	40	37.2	37.3	27	29.1	29.2	27.6	25.5	24.9	20.2	17.7	16.2
			41.1-63.8	41.0-62.7	40.8-60.4	44.9-65.2	39.4-56.2	33.7-46.8	32.2-42.6	33.0-42.0	24.3-30.2	26.1-32.2	25.9-32.5	24.0-31.2	21.8-29.5	21.1-28.9	16.8-23.7	14.5-20.9	13.2-19.0
	Kelan County	140929	78.5	76.4	71.9	69.1	61.3	54.9	39.3	37.5	31.2	30.3	25.6	19.4	14.2	13	11.5	10.4	9.6
			62.6-94.4	61.8-91.9	59.1-85.9	57.4-82.6	51.4-73.1	46.5-64.3	33.7-45.5	32.6-43.2	27.3-35.8	26.1-34.7	21.8-29.5	16.2-22.9	11.7-17.0	10.6-15.7	9.2-13.9	8.3-12.7	7.6-11.7
	Kuang District	140203	29	27.9	26.9	23.8	20.6	19.7	16.4	8.7	8.8	8.1	8.5	9.1	7.6	10.8	10.9	10.1	9.4
			21.1-39.2	20.2-37.9	19.5-36.6	17.5-32.0	15.0-27.4	14.5-26.2	12.3-21.6	6.5-11.4	6.8-11.4	6.2-10.3	6.6-10.9	7.0-11.6	5.9-9.7	8.4-13.6	8.6-13.7	7.9-12.5	7.3-11.6
	Kuang District	140303	35	32.5	28.9	27.5	27.9	23.1	21.1	24.9	24.3	22.1	24	21.7	16.6	13.7	12.1	10.6	9.1
			26.1-45.3	24.2-42.4	21.9-37.6	21.0-35.4	21.8-35.3	18.5-29.1	17.2-25.9	20.8-29.8	20.8-28.2	18.9-25.5	20.5-27.7	18.3-25.3	13.9-19.5	11.4-16.2	9.9-14.5	8.7-12.7	7.3-10.9
	Lan County	141127	58.4	57.7	55.3	51.4	58.1	49	47.2	42.3	36.1	27.5	23.2	18.3	14.9	13.4	11.2	10.3	9.6
			43.0-77.0	42.1-76.9	41.1-74.0	38.1-68.1	43.6-75.9	36.7-63.7	36.1-60.3	32.7-53.8	28.2-45.6	21.4-34.4	18.0-29.2	14.1-23.1	11.5-18.9	10.4-17.0	8.6-14.1	8.0-12.9	7.4-11.9
	Licheng County	140426	58.3	53.6	48.1	41	34.9	30.7	25.9	25.3	23.4	23.1	20.8	19.2	17.1	15.4	16.2	15.8	16
			43.2-74.5	41.9-65.9	40.4-56.6	35.7-47.1	29.8-40.7	25.5-37.3	20.4-32.9	19.3-32.8	17.8-30.7	17.4-30.7	16.0-27.0	15.3-24.4	14.1-21.1	13.1-18.2	14.1-18.7	13.7-17.8	13.6-18.1
	Lin County	141124	50.6	48.4	45.6	44	38.3	35.4	31.4	29.2	26.9	25.9	24.9	23.3	20.3	18.3	14.9	13.2	11.7
			40.8-61.5	38.9-59.4	37.0-55.5	35.4-54.0	31.1-46.7	29.0-42.4	26.2-37.1	24.9-33.8	23.2-30.7	22.3-29.6	21.4-28.6	19.9-27.1	17.2-23.9	15.6-21.3	12.8-17.2	11.4-15.0	9.9-13.1
	Lingchuan County	140524	105.7	106.7	99.3	90	79.5	68.8	58.5	43.3	35.8	27.9	19.4	14.2	11.8	12	12.5	12.6	13
			77.7-136.2	83.3-131.9	81.9-118.3	78.2-102.7	69.3-90.5	58.2-81.1	47.6-71.9	33.8-55.2	27.3-46.9	21.0-37.3	14.7-25.4	11.0-18.1	9.4-14.7	9.8-14.7	10.3-15.0	10.3-14.9	10.5-15.5
	Lingqiu County	140224	29.8	27.3	25.3	22.8	21.9	21.9	22.3	19.4	19	17.5	17	15.1	13.5	10.4	10.3	9.3	8.7
			23.9-35.9	22.2-33.1	20.9-30.1	19.0-27.1	18.4-25.7	18.6-25.4	19.5-25.4	17.3-21.6	17.2-21.0	15.8-19.3	15.0-19.1	13.1-17.3	11.5-15.7	8.8-12.2	8.5-12.2	7.6-11.1	7.0-10.4
	Lingshi County	140729	46.8	47.4	47.9	49.4	42.7	41.2	37.8	31.5	29.8	30.1	26.5	24.8	22.2	19.3	16.5	15.1	13.6
			40.1-54.1	40.1-55.5	40.1-56.7	40.8-59.5	34.9-51.2	33.8-49.4	31.6-44.8	26.7-36.6	25.8-34.1	26.0-34.2	22.9-30.5	21.1-28.7	18.9-26.0	16.5-22.5	14.2-19.1	12.9-17.1	11.6-15.3
	Linyi County	140821	45.6	46.1	45.3	43.7	43.6	39.6	36.6	30.8	26.2	22.9	20.6	18.6	17.1	15	13.7	12.1	10.5
			39.7-52.6	39.2-54.3	37.4-54.4	35.4-53.4	34.9-53.4	31.9-48.4	29.6-44.3	25.5-36.5	22.1-30.6	19.3-26.5	17.4-23.9	15.7-21.9	14.4-20.2	12.8-17.6	11.8-15.8	10.5-13.7	9.1-11.7
	Lishi District	141102	30.4	28.8	28.7	26.9	23.3	22	20.6	17.6	14.2	11.6	9.1	8	7	6.7	6.1	5.8	5.4
			24.0-37.3	22.9-35.4	23.3-34.5	22.2-32.2	19.5-27.5	18.6-25.4	18.0-23.4	15.8-19.7	12.9-15.7	10.4-12.8	8.1-10.1	7.0-9.1	5.9-8.1	5.6-7.8	5.0-7.1	4.8-6.9	4.4-6.4
	Liulin County	141125	42.8	40.8	38.8	35	34.8	35.7	34.9	33.3	30.9	29.3	22.3	18.4	10.6	10.7	9.6	8.9	8.2
			36.8-49.5	34.8-48.3	32.0-47.0	28.4-42.6	27.7-43.0	28.4-44.2	27.9-42.7	27.2-40.1	25.9-36.4	25.2-33.6	19.3-25.3	15.8-21.3	9.0-12.3	9.0-12.5	8.1-11.3	7.4-10.3	6.8-9.6
	Loufan County	140123	45.4	42.5	39.1	39.7	46	40.9	44.1	41.5	32.7	25.2	21	17.5	14.9	14.6	13.7	12.6	11.3
			37.9-53.5	35.7-50.0	33.2-45.7	33.6-46.3	39.6-53.0	35.6-46.6	39.1-49.5	37.5-45.8	30.1-35.7	23.0-27.5	18.9-23.3	15.4-19.7	12.7-17.1	12.4-16.8	11.4-16.0	10.4-14.8	9.3-13.2
	Lucheng City	140481	57.4	54.5	48	43	37.7	30.5	28.2	25.8	23.1	21.9	22.2	19.5	18.8	17.4	16.7	15.8	15
			41.8-74.3	41.7-68.1	38.7-58.6	36.2-50.8	31.5-44.4	24.9-36.9	22.2-35.1	19.9-33.1	17.6-30.0	16.6-28.6	17.2-28.3	15.5-24.2	15.4-22.6	14.8-20.3	14.6-18.9	14.1-17.7	13.1-16.9
	Nanjiao District	140211	22.5	20.4	18.5	15.6	13.5	11.5	8.9	7.1	6.8	6.2	7	8.1	7.4	7.7	7.5	7	6.4
			17.4-27.9	16.0-25.4	14.8-23.0	12.6-19.2	11.1-16.4	9.5-13.7	7.6-10.5	6.1-8.2	6.0-7.7	5.5-6.9	6.1-7.9	7.0-9.3	6.4-8.5	6.6-8.7	6.4-8.7	5.8-8.1	5.3-7.4
	Ningwu County	140925	88.5	89.2	87.8	86.1	86.1	78.7	62.9	53	42.4	35.1	26	14.6	13.4	11.9	11.1	10.1	9.2
			76.2-102.7	75.7-105.7	72.6-106.0	70.0-104.0	69.5-104.8	63.6-95.6	51.3-75.8	43.9-62.6	36.1-48.9	30.4-39.7	22.3-29.8	12.2-17.0	11.1-15.9	9.7-14.2	9.0-13.5	8.2-12.1	7.5-10.9
	Pianguan County	140932	58.4	56.6	52.8	47.9	42.9	38.7	34.5	29.2	23.8	26.4	22.9	20.3	18.1	18	14.7	13.4	12.4
			46.8-71.4	44.6-70.0	41.5-66.0	36.9-60.8	32.6-54.9	29.2-49.2	26.8-43.3	23.3-36.1	19.2-29.1	21.2-32.5	18.2-28.5	16.0-25.5	14.3-22.8	14.3-22.5	11.7-18.2	10.7-16.3	9.9-15.1
	Pingding County	140321	48.6	47.1	44.6	42.2	39.8	34.5	32.8	27.9	26.5	22.1	19	17.3	16.5	15.3	14.9	13.7	13
			29.7-75.0	29.5-70.5	28.9-65.2	28.7-59.0	28.4-54.6	26.3-44.9	26.7-40.3	24.2-32.2	24.3-29.1	20.2-24.4	16.5-21.8	14.0-21.0	12.4-21.1	10.5-20.6	9.6-20.9	8.4-19.8	7.6-19.5
	Pinglu District	140603	32.2	32.6	30	27.5	29.1	24.2	20	18.1	16.1	13.3	10.9	10.2	9.6	9	9.2	8.3	7.8
			26.4-38.4	26.9-38.8	25.0-35.8	22.9-33.1	24.2-34.8	20.2-28.8	16.6-23.9	15.2-21.7	13.4-19.3	10.9-15.9	8.8-13.2	8.2-12.6	7.7-12.0	7.1-11.2	7.2-11.4	6.5-10.4	6.0-9.6
	Pinglu County	140829	34.8	34.1	34.4	34.5	34.7	37.6	38.3	35	30.8	26.2	22.5	19.1	16.2	14	13.7	12.5	11.5
			28.7-41.5	28.4-40.5	29.1-40.3	29.2-40.7	29.7-40.2	32.7-42.8	33.8-43.0	31.7-38.7	28.3-33.6	23.9-28.7	20.1-24.9	16.8-21.7	13.7-18.8	11.7-16.4	11.3-16.2	10.2-14.8	9.3-13.6
	Pingshun County	140425	66	62.5	57.2	51	43	40.5	38.9	34.4	33.5	32.6	28.1	23.5	21.1	20.3	19	18.2	17.5
			57.1-75.9	53.6-72.4	49.4-66.0	43.9-59.0	36.9-49.9	34.9-46.7	33.8-44.3	30.2-38.7	29.8-37.1	29.1-36.2	25.0-31.3	20.6-26.3	18.4-23.8	17.8-22.9	16.5-21.6	15.6-20.6	15.0-19.7
	Pingyao County	140728	45.5	44.2	40.3	37.7	34.8	31.6	29.9	25	22.1	19.2	18.1	16.4	15.4	14.8	14.7	13.5	12.5

Province	County	County Code (2012)	Under-5 Mortality Rate (per 1000 births)																
			1996	1997	1998	1999	2000	2001	2002	2003	2004	2005	2006	2007	2008	2009	2010	2011	2012
			37.2-54.9	36.1-53.7	33.1-48.6	30.7-45.9	28.6-41.8	26.3-37.3	25.5-34.7	21.8-28.5	19.6-24.7	17.0-21.5	15.9-20.5	14.1-18.9	13.1-17.9	12.6-17.2	12.6-16.9	11.6-15.2	10.7-14.0
	Pu County	141033	63.1	58.3	53.9	51.3	45.4	28.7	26.8	25	27.3	26.5	27.5	28.2	26.4	23.6	22	19.1	16.9
			51.6-75.1	47.8-69.8	43.9-64.9	41.1-62.2	36.5-55.3	23.1-34.8	22.2-31.9	21.4-29.2	23.8-31.4	22.9-30.6	23.2-32.4	23.5-33.6	21.9-31.6	19.5-28.2	18.1-26.1	15.7-22.4	13.8-19.8
	Qi County	140727	35.7	34.1	33.1	35.9	33.6	34.6	34.6	31.6	27.1	24.8	21.3	20.4	19.5	18.9	17.9	16.1	14.9
			29.6-42.7	28.2-40.5	27.9-39.1	30.1-42.3	28.5-39.2	29.7-40.2	30.3-39.6	28.3-35.4	24.4-29.9	22.5-27.3	19.2-23.6	18.0-22.8	17.0-22.0	16.6-21.3	15.6-20.2	13.9-18.2	12.8-16.7
	Qin County	140430	72.1	71.1	65.9	64.3	58.2	45.4	38.1	33.2	27.3	22	20	17.6	14.4	14.4	15.3	15.2	14.6
			52.5-94.4	55.0-89.2	53.8-79.7	55.5-74.6	49.8-67.3	37.9-53.9	30.6-46.8	26.1-42.4	21.1-35.7	16.8-28.7	15.5-26.0	14.0-22.2	11.8-17.4	12.2-16.9	13.2-17.6	13.0-17.4	12.3-16.8
	Qingxu County	140121	31.8	32.1	28.6	25.9	25.2	23.4	22.9	20	19.3	17.9	16.6	16.3	16.1	16.7	16.1	15	13.9
			26.7-37.4	26.8-38.2	23.9-34.2	21.5-31.3	20.6-30.4	19.2-27.9	19.2-27.1	16.9-23.2	16.5-22.2	15.3-20.6	14.2-19.2	13.7-19.2	13.3-19.1	13.9-19.7	13.8-18.7	13.1-17.2	12.2-15.7
	Qinshui County	140521	39.4	42.4	44	51.4	55.3	57.3	49.4	41	31.1	25	20.9	19.1	16.9	15.6	15	13.8	12.9
			31.7-47.3	34.6-50.7	36.6-52.0	43.5-60.6	47.2-64.1	49.7-65.8	43.5-56.0	36.3-46.1	27.7-35.0	21.9-28.2	18.0-24.0	16.0-22.4	13.9-20.1	12.7-18.8	12.0-18.1	11.0-16.8	10.2-15.6
	Qinyuan County	140431	63.9	62.9	60.3	58.1	58.1	54.6	49.3	43.8	38.8	34.6	30.6	25.5	22	15.8	14.6	13.5	12.8
			54.8-73.8	53.4-73.6	51.3-70.8	48.9-68.8	48.6-68.4	46.4-63.8	42.8-56.4	38.8-49.0	35.0-42.6	31.1-38.2	27.0-34.7	21.8-29.6	18.2-26.2	13.0-18.8	11.9-17.4	10.9-16.0	10.4-15.1
	Quwo County	141021	41.3	38.4	34.1	29.3	26.2	23	20.5	18.6	17.8	16.6	14.7	14.4	14.5	13.9	13.6	12.6	12.1
			34.8-48.5	32.4-44.9	28.9-39.7	25.0-34.2	22.3-30.6	19.7-26.7	17.8-23.6	16.2-21.1	15.7-20.1	14.6-18.7	12.9-16.6	12.5-16.5	12.5-16.5	12.1-15.9	11.9-15.6	11.1-14.3	10.6-13.6
	Ruicheng County	140830	40.3	39	37	32.1	30.7	28.6	27.5	26.3	24.8	22.9	20.2	17.3	14.8	14.3	12.8	11.7	11.1
			34.1-47.1	33.1-45.3	31.4-43.0	27.4-37.5	26.2-35.8	24.5-33.2	23.8-31.5	23.0-29.8	22.0-27.8	20.2-25.7	17.7-22.7	15.0-19.5	12.8-16.8	12.5-16.3	11.1-14.5	10.2-13.2	9.6-12.5
	Shanyin County	140621	44.5	43.5	41.5	41.3	42.9	38.2	31.6	25.3	22.8	18.7	15.6	14.6	13.6	10	11	10.1	9.5
			37.2-52.7	36.7-51.1	35.5-48.3	35.4-47.8	37.2-49.2	33.3-43.3	28.1-35.4	22.9-28.1	20.8-25.0	16.9-20.6	14.0-17.4	12.8-16.6	11.5-15.7	8.4-11.5	9.1-12.8	8.3-11.8	7.8-11.0
	Shenchi County	140927	57.9	55.1	51.4	53.1	53.1	55.5	50	41.4	31.3	24.6	18.7	16.1	15.1	13.2	12.6	11.6	10.6
			46.8-69.8	44.4-66.4	42.1-62.0	43.9-64.5	44.1-63.9	46.5-65.7	42.3-58.6	35.3-48.5	26.7-36.6	20.7-28.8	15.5-22.2	13.1-19.5	12.3-18.4	10.6-16.2	9.9-15.5	9.2-14.3	8.3-13.0
	Shilou County	141126	47.1	46	43.3	42	33.6	30.8	31.7	30.6	22.4	19.5	14.8	10.1	8.4	8.9	8.2	7.9	7.6
			37.3-58.0	36.4-56.8	34.4-53.7	33.9-52.1	26.9-41.7	25.0-37.7	25.9-38.1	25.4-36.5	18.8-26.7	16.1-23.1	12.2-17.7	8.2-12.2	6.8-10.3	7.2-10.8	6.5-10.0	6.2-9.7	6.0-9.3
	Shouyang County	140725	48.5	46.5	44	43.5	41	37.5	38	34.1	29.4	28.1	26.8	23.9	23	22.9	22.7	21.4	19.8
			40.5-57.0	39.1-54.5	37.2-51.3	36.9-50.7	35.1-47.5	32.3-43.2	33.3-43.3	30.4-38.2	26.4-32.4	25.4-31.1	24.0-29.7	21.1-26.8	20.0-25.9	20.1-25.9	19.9-25.8	18.5-24.0	17.0-22.2
	Shuocheng District	140602	24.9	24.1	24.4	24.7	21.5	20.5	17	14.3	13.5	12.7	10.3	10.6	10.1	9	9.5	9.2	8.7
			19.0-31.8	18.2-30.8	18.6-31.2	19.1-31.6	16.9-27.2	16.4-25.6	13.7-20.9	11.7-17.3	11.2-16.2	10.5-15.0	8.5-12.2	8.7-12.7	8.2-12.1	7.3-10.8	7.7-11.5	7.4-11.0	7.0-10.5
	Taigu County	140726	45.7	44.2	42.2	39.9	40.2	37.9	37.4	37.6	35.9	31.7	27.5	25.6	21.9	20.7	18.7	17.3	16.1
			37.6-54.9	36.5-52.6	35.3-49.9	33.4-47.0	34.0-47.1	32.5-44.2	32.6-43.1	33.3-42.5	32.0-39.8	28.4-35.3	24.5-30.6	22.5-28.7	19.1-24.8	18.2-23.5	16.3-21.2	14.9-19.6	13.8-18.0
	Tianzhen County	140222	44.2	42.8	40.1	38.2	38.5	45.2	48	46.7	41.3	36.5	29.8	22.9	17.3	15.5	14.1	12.7	11.7
			35.9-53.3	34.9-52.0	33.0-48.3	31.2-46.4	31.8-46.0	38.2-53.1	41.7-54.9	42.0-51.7	38.0-44.7	33.4-39.6	26.7-33.5	19.8-26.4	14.4-20.6	12.8-18.5	11.5-16.8	10.3-15.1	9.5-13.8
	Tunliu County	140424	64.1	60.9	57.8	56.5	49.3	41.8	36.3	34.2	29.3	25.1	22.2	19	15	12.3	11.3	10.4	9.7
			46.1-83.9	46.0-77.2	45.7-71.6	45.7-69.1	40.2-59.6	33.9-50.7	29.2-44.5	27.1-42.5	22.8-37.2	19.3-32.7	17.4-28.8	15.1-24.3	12.2-18.5	10.4-14.6	9.9-13.1	9.1-11.7	8.3-11.0
	Wanbailin District	140109	22.4	23.1	21.2	19.8	19.6	15.6	14.7	12.9	11.8	10.5	9.5	10.6	9.8	9.7	10	9.8	9.2
			13.8-34.5	14.6-34.7	13.5-31.1	13.4-27.7	14.0-26.6	11.8-20.2	11.9-18.0	11.2-14.9	10.7-13.1	9.3-11.8	8.0-11.1	8.3-13.1	7.3-12.6	6.8-13.0	6.6-13.9	6.1-14.0	5.6-13.5
	Wanrong County	140822	68.6	66.2	61.6	55.1	47	37.8	31.9	27.5	23.8	25.3	25.2	25	23.8	22.2	19.6	17.3	15.2
			58.8-79.3	56.7-76.3	53.3-70.6	47.7-63.3	40.7-53.7	32.8-42.9	28.1-36.2	24.6-30.7	21.5-26.2	22.8-28.0	22.4-28.1	22.0-28.4	20.4-27.2	19.1-25.4	16.4-22.7	14.4-20.1	12.7-17.6
	Wenshui County	141121	30	29	29.3	28.1	27.4	22	19.3	15.9	14.1	12.1	12.6	11.7	10.7	12.3	11.8	11.2	11
			24.6-35.7	23.9-34.6	24.5-34.6	23.6-33.1	23.1-32.1	18.8-25.5	16.8-22.2	14.0-18.1	12.5-16.0	10.6-13.6	11.0-14.3	10.0-13.4	9.1-12.5	10.4-14.4	9.8-13.8	9.2-13.2	9.0-12.9
	Wenxi County	140823	30.6	30.2	28.1	29.5	28.7	29.1	24.2	23.5	19	17.2	14.5	14.6	13.1	13.1	11.7	10.6	9.8
			25.1-36.5	25.0-35.9	23.5-33.1	24.9-34.7	24.4-33.3	24.9-33.2	21.2-27.3	21.1-26.2	17.4-20.9	15.7-18.8	13.0-16.0	12.9-16.3	11.3-14.9	11.3-15.0	9.8-13.5	8.8-12.3	8.2-11.3
	Wutai County	140922	53.5	50	45.5	56.4	56.5	54	51.2	44.5	35.5	30.7	27	22.4	21	18.9	16.5	14.5	12.9
			34.6-78.1	33.9-70.5	31.9-62.7	41.1-74.4	42.9-72.7	43.0-66.1	43.0-59.9	39.4-50.1	31.7-39.6	26.5-35.4	21.8-32.6	16.8-28.6	14.9-28.1	12.6-26.3	10.5-23.7	8.8-21.4	7.4-19.8
	Wuxiang County	140429	59.8	57.3	52.2	48	45	45.3	42.7	34.9	32.6	26.9	22.1	19.4	19.9	19.9	21.5	21.2	20.8
			51.6-68.8	48.8-66.5	44.4-61.2	40.2-57.2	37.4-53.3	38.1-53.3	36.7-49.3	30.6-39.3	29.3-36.2	24.2-29.8	19.5-24.8	16.8-22.3	16.9-23.2	17.0-23.2	18.3-24.7	18.3-24.0	17.9-23.3
	Wuzhai County	140928	45.5	43.9	40.2	37.7	34.9	33.2	30.2	29.5	28.8	26	22	16.3	14.1	12.9	11.3	10.5	9.8
			35.5-56.7	34.0-55.5	31.5-50.7	29.7-47.5	27.5-44.1	26.3-41.6	23.9-37.6	23.7-36.7	23.0-35.6	20.7-32.0	17.4-27.3	12.6-20.3	11.0-17.8	10.0-16.3	8.8-14.2	8.2-13.2	7.6-12.2
	Xi County	141031	38.4	36.5	33.4	31.8	29.6	27.4	23.7	24.9	23.4	20	18.7	17.2	15.3	12	10.6	9.6	8.6
			32.2-45.0	30.8-42.7	28.3-38.9	27.0-37.3	25.0-34.9	23.2-32.3	20.0-28.0	21.1-29.2	20.0-27.6	16.9-23.6	15.5-22.2	14.1-20.7	12.6-18.5	9.7-14.4	8.5-12.9	7.7-11.6	6.9-10.4
	Xia County	140828	61.4	61.2	58.7	55	48.8	45.5	39.9	35.8	36	35	32.6	30.5	27	23.3	20.5	17.6	15.3
			53.2-71.3	52.0-72.3	48.2-70.9	44.1-67.7	38.7-60.4	36.1-56.2	31.9-48.9	29.2-43.3	29.5-43.1	28.7-42.1	26.7-38.9	25.0-36.6	22.0-32.6	19.1-28.0	17.3-24.1	15.3-20.3	13.5-17.4
	Xiangfen County	141023	67.1	58.5	50.5	42.2	38.4	35.6	30.5	25.8	21.8	21.7	21	21	20.9	19.2	16	14.2	12.5
			49.8-86.1	45.9-72.4	41.7-60.4	36.6-48.5	33.0-44.4	29.6-42.2	24.5-37.8	20.3-33.0	16.7-28.4	16.6-28.4	16.2-27.4	16.7-26.5	17.2-25.5	16.2-22.7	13.7-18.7	12.0-16.5	10.3-14.5
	Xiangning County	141029	28.7	26.7	25	28.8	26.1	24.2	24.3	25	18.6	19.7	20.1	18.8	16.9	16.1	14.2	12.6	11.4
			22.5-35.7	20.9-33.3	19.7-31.0	23.3-35.8	21.2-32.2	19.7-29.4	20.2-29.1	21.0-29.9	15.7-22.0	16.5-23.2	16.7-23.8	15.3-22.5	13.8-20.6	12.9-19.6	11.3-17.4	9.9-15.4	8.9-13.9
	Xiangyuan County	140423	63.8	59.8	55.1	48.2	43.1	36.4	30.2	28.9	28.4	26.4	23.3	21.7	18.2	15.9	13.8	12.6	11.8
			46.4-82.9	46.4-74.7	45.0-66.1	41.4-55.8	36.7-50.0	30.1-43.3	24.1-37.2	22.6-37.1	21.7-37.2	20.2-34.7	18.1-30.2	17.3-27.2	15.0-22.0	13.7-18.7	11.9-15.8	10.9-14.4	9.9-13.5
	Xiaodian District	140105	20.9	19.9	19.4	18.4	17.8	16.1	14.9	13.3	13.3	12.5	12.3	12.8	11.1	9.9	9.4	8.8	8
			13.2-31.8	12.8-29.5	12.7-28.0	12.7-25.5	13.1-23.7	12.6-20.4	12.4-17.9	11.6-15.0	12.2-14.4	11.1-14.1	10.2-14.5	10.0-15.9	8.2-14.3	6.9-13.3	6.3-13.0	5.6-12.4	4.8-11.6
	Xiaoyi City	141181	42.1	43.4	40.9	36.4	40.3	40.3	38.4	37.1	37.8	34.6	31.5	26.8	22.7	19.8	16.2	14.5	13.2
			34.3-50.5	35.5-51.8	34.0-48.5	30.3-43.1	34.1-47.1	34.4-46.3	33.5-43.3	33.3-41.2	34.7-41.3	31.7-37.6	28.5-34.5	23.6-29.9	19.5-25.9	16.9-22.8	13.5-18.9	11.9-17.0	10.8-15.4
	Xinfu District	140902	38.9	36.3	35.7	34	29.7	22.8	18.8	14.2	15	15.4	13.5	12.1	12.6	10.1	9.3	9.1	8.6
			23.6-60.0	22.6-54.9	22.5-52.9	22.7-48.5	20.9-40.8	16.9-30.0	14.8-23.1	12.1-16.5	13.6-16.6	13.7-17.1	11.4-15.8	9.6-14.9	9.4-16.4	7.0-13.8	6.1-13.1	5.6-13.3	5.1-12.9
	Xing County	141123	41.5	42.5	41.2	37.9	35.8	32.4	29.2	25.1	23.3	22.3	20.8	17.6	14.4	11.7	9.5	8.7	8.1
			29.8-54.3	32.6-53.3	33.6-49.6	32.7-43.5	31.1-40.7	27.4-38.1	23.8-35.9	19.7-32.0	17.8-30.4	16.9-29.8	15.8-27.1	13.7-22.5	11.4-18.1	9.4-14.4	7.7-11.6	7.1-10.5	6.5-9.8

Province	County	County Code (2012)	Under-5 Mortality Rate (per 1000 births)																
			1996	1997	1998	1999	2000	2001	2002	2003	2004	2005	2006	2007	2008	2009	2010	2011	2012
	Xinghualing District	140107	19.8	20.5	19.2	17.9	16.4	14.2	12.9	11.3	10.3	9.1	11.4	13.5	16	15.6	15.7	13.9	12.2
			12.5-30.2	13.1-30.3	12.5-28.0	12.2-25.2	11.7-22.6	10.5-18.4	10.1-15.8	9.4-13.3	9.1-11.6	8.0-10.3	9.5-13.4	10.7-16.7	12.1-20.7	11.0-20.9	10.5-21.6	8.8-19.8	7.4-18.1
	Xinjiang County	140825	41.3	41.1	36.6	34.5	26.6	22.1	18.9	16.6	14.2	17.2	18.6	21.1	21.1	22.2	18.4	15.5	13.7
			35.5-47.9	35.3-47.5	31.6-42.2	29.6-39.8	22.8-30.7	19.0-25.3	16.4-21.4	14.7-18.7	12.8-15.7	15.5-19.1	16.6-20.7	18.6-23.6	18.4-23.8	19.6-25.1	16.2-20.9	13.5-17.4	11.8-15.3
	Xinrong District	140212	29.3	28.6	25.8	24.2	21.1	18.7	15.2	12.7	9.9	10	8.2	6.9	6.2	7.5	7	6.7	6.5
			22.0-37.8	21.6-36.9	19.6-33.3	18.6-30.9	16.6-26.8	14.9-23.4	12.2-18.9	10.3-15.4	8.1-11.8	8.2-11.9	6.7-9.7	5.6-8.2	5.0-7.5	6.0-9.0	5.7-8.6	5.3-8.0	5.2-7.8
	Xiyang County	140724	59.5	57.7	55.6	55.6	50.3	46.1	45	39.9	39.7	34	31.1	27.9	29.1	26.3	27.2	25.6	24.6
			39.2-84.6	39.9-78.5	40.3-73.2	42.3-70.5	40.0-62.0	37.9-55.3	38.7-51.8	35.4-44.7	35.3-44.4	29.5-38.9	25.7-36.9	21.6-34.7	21.3-37.9	18.0-36.0	17.4-38.2	15.7-36.7	14.5-36.5
	Yangcheng County	140522	47.8	46.5	44.6	46.9	44.7	41	37.9	33.6	31.5	29.6	28.7	28.5	25	23.1	20.8	18.8	16.8
			31.6-67.6	32.4-63.8	32.1-59.8	34.9-61.0	34.4-56.2	32.6-50.1	31.5-45.1	28.3-39.4	26.4-36.6	24.7-35.2	23.2-35.3	21.9-36.5	18.3-33.2	15.9-31.7	14.0-29.0	12.0-26.7	10.1-24.3
	Yanggao County	140221	39.9	35.8	31.6	29.2	23.2	18.3	14.8	14.5	11.9	11	13.2	11.3	10.3	9.3	9.1	8.2	7.8
			33.1-47.1	29.8-42.2	26.7-37.2	24.6-34.3	19.5-27.3	15.5-21.5	12.6-17.3	12.3-17.1	10.1-14.0	9.2-13.0	10.9-15.7	9.3-13.6	8.4-12.5	7.4-11.3	7.2-11.1	6.5-10.0	6.2-9.5
	Yangqu County	140122	65.2	61.8	57	53.2	43.8	33.2	33	27.6	24	24.9	24.4	22.3	22.5	21.6	19.2	17.2	15.7
			54.7-76.2	52.2-72.5	48.6-66.1	45.4-61.6	37.5-50.5	28.7-37.9	28.9-37.6	24.7-30.9	21.7-26.6	22.3-27.6	21.6-27.3	19.5-25.3	19.3-25.8	18.4-24.9	16.1-22.4	14.3-20.0	13.0-18.2
	Yanhu District	140802	47.6	48.8	46.4	45.9	44.5	45.1	36.6	32.6	30.1	23.1	16.2	15.1	12.3	9.5	9	8.3	7.6
			40.8-55.0	41.5-57.0	39.4-54.4	38.6-54.3	37.2-52.4	38.2-52.7	31.7-42.0	28.8-36.6	27.1-33.1	20.7-25.6	14.3-18.5	12.9-17.6	10.3-14.7	7.8-11.3	7.4-10.6	6.8-9.9	6.2-8.9
	Yaodu District	141002	27.7	26.2	23.8	22.1	21.7	22.8	22.7	21.6	20.7	19.9	16.8	14.7	14.2	11.6	10.9	10.3	9.6
			17.8-41.4	17.2-37.3	16.4-32.7	16.2-29.0	16.8-27.6	18.6-27.9	19.4-26.5	19.4-24.0	18.9-22.7	17.6-22.5	13.9-19.8	11.4-18.5	10.3-18.9	7.7-16.2	6.8-15.7	6.1-15.2	5.5-14.7
	Yicheng County	141022	28.4	25.4	22.4	19	17.6	16.6	15.2	14.3	15.2	14.8	15.6	16.6	16.1	14.1	13.6	12.2	10.9
			23.2-33.9	20.9-30.6	18.3-26.9	15.4-23.1	14.3-21.3	13.8-19.8	13.0-17.7	12.7-16.2	13.8-17.0	13.3-16.6	13.6-17.8	14.2-19.3	13.6-18.8	11.9-16.4	11.5-15.7	10.4-14.0	9.2-12.4
	Ying County	140622	33.9	33.6	31.5	30.2	28.6	25.9	25.7	20.3	16.3	13.7	12.2	10.5	9.9	10.1	10.6	9.7	9
			27.6-40.4	27.7-40.0	26.4-37.0	25.6-35.6	24.2-33.4	22.3-29.8	22.5-29.4	17.9-23.0	14.4-18.4	12.0-15.5	10.5-14.0	8.8-12.2	8.2-11.8	8.3-12.1	8.5-12.8	7.8-11.7	7.1-10.8
	Yingze District	140106	24.2	25.1	21.6	19.4	18.4	18.1	16.1	16.1	13.2	14	12.7	12.7	11.6	10.7	9.6	9.4	8.7
			16.0-34.6	17.3-34.6	15.4-28.9	14.4-25.3	14.1-23.0	14.5-22.0	13.4-18.9	13.9-18.4	11.5-15.1	11.8-16.4	10.3-15.5	9.8-16.0	8.6-15.2	7.5-14.5	6.5-13.3	6.1-13.3	5.2-12.5
	Yonghe County	141032	37.1	34.9	31	27.5	25	21.8	22	19.7	20.6	21.6	19.3	16.7	15.5	14.4	12.6	11.4	10.3
			30.8-43.7	29.2-41.1	26.2-36.4	23.5-32.2	21.3-29.1	18.6-25.3	19.0-25.6	16.9-23.1	17.6-24.1	18.1-25.2	16.0-23.0	13.6-20.2	12.5-19.0	11.4-17.6	9.9-15.6	8.9-14.1	8.1-12.7
	Yongji City	140881	45.9	43	39.7	35.6	32.3	26.4	23.4	23.9	22.5	21.4	20.8	18.3	15.6	14.4	12.2	11.2	10
			38.6-53.9	36.1-50.3	33.5-46.2	30.4-41.7	27.6-37.8	22.6-30.6	20.3-26.8	21.0-27.1	19.9-25.2	19.0-24.0	18.2-23.4	15.9-20.6	13.5-17.7	12.6-16.4	10.7-13.9	9.7-12.7	8.6-11.2
	Youyu County	140623	25.8	26.1	25.4	23.4	24.6	21.9	20.7	18.7	16.2	14.8	13.4	11.5	10.5	10	10.5	9.5	8.8
			21.2-30.8	21.6-31.0	21.3-29.8	19.8-27.5	20.9-28.6	18.9-25.1	18.1-23.5	16.5-21.1	14.5-18.2	13.0-16.6	11.6-15.3	9.7-13.3	8.7-12.5	8.2-12.0	8.5-12.7	7.6-11.5	7.0-10.7
	Yu County	140322	44.6	45.4	40.2	35.7	33.6	30	28.9	27.1	24.2	23.6	21.4	19.6	18.8	17.3	17	15.7	14.8
			28.2-68.1	29.3-67.4	26.0-58.5	24.4-49.9	24.3-45.3	22.8-39.1	23.5-35.3	23.4-31.2	21.9-26.8	20.9-26.3	18.2-24.9	15.6-24.0	14.1-23.9	12.2-23.0	11.4-23.3	10.0-22.2	9.0-21.5
	Yuanping City	140981	30	28.6	26.6	25.4	18.1	15	12	10.8	11	11.2	11.3	10.6	10.8	10.4	9.3	8.6	7.9
			23.5-37.3	22.3-35.7	20.9-33.2	20.3-31.7	14.4-22.6	12.1-18.7	9.8-14.6	8.9-13.0	9.2-13.0	9.4-13.2	9.4-13.3	8.8-12.5	8.9-12.8	8.6-12.3	7.6-11.1	7.0-10.3	6.4-9.5
	Yuanqu County	140827	59.7	57.6	54.4	54.8	48.9	39.5	29	27.2	21.7	18.2	18.1	18.9	16.3	15.5	13.8	12.4	11.4
			50.0-70.2	48.0-68.5	45.6-64.8	45.4-65.9	40.5-58.4	32.9-46.5	24.8-33.8	23.7-31.0	19.1-24.4	16.0-20.4	15.8-20.6	16.2-21.8	13.8-19.0	13.2-18.1	11.8-15.8	10.8-14.0	9.8-12.7
	Yuci District	140702	32.1	31.3	28	27.6	25	23.3	22.9	22.8	20.6	19.5	16.3	15.3	13.3	12	11.4	11.1	10.5
			27.7-36.9	26.8-36.4	24.0-32.4	23.5-32.1	21.2-29.2	19.7-27.1	19.6-26.4	19.5-25.9	17.9-23.4	16.9-22.1	14.2-18.6	13.3-17.5	11.4-15.2	10.5-13.7	9.9-12.9	9.7-12.5	9.1-11.8
	Yushe County	140721	52.4	51.3	48.4	45.6	52.6	48	49.2	45.4	40.9	35.9	33	27.2	25.2	25.7	24.7	23.7	22.5
			32.2-80.7	32.2-76.8	30.9-71.2	30.6-64.4	36.8-71.6	35.8-63.4	39.1-60.7	38.2-53.4	36.0-46.2	31.0-41.1	26.9-39.5	20.9-34.6	18.4-33.5	17.6-35.7	15.8-35.1	14.5-34.9	13.2-34.3
	Zezhou County	140525	45.5	45.8	44.2	44.8	43.3	39.4	40	36.4	32.3	27.5	25.9	22.5	21	20	19.6	18	16.6
			28.1-69.8	29.0-68.0	28.9-64.1	31.2-61.9	31.6-58.6	30.5-51.0	33.0-48.6	31.8-41.4	29.5-35.1	24.9-30.3	22.4-30.0	18.4-27.3	15.9-26.7	14.0-26.7	12.9-26.9	11.3-25.5	9.9-24.3
	Zhangzi County	140428	55.1	51.6	46	38.3	32.4	25.9	25.5	21.5	19.3	17.1	16	13.1	13.3	12.4	13	12.4	12.2
			46.9-63.9	44.1-59.6	39.8-52.9	33.1-43.8	28.0-37.1	22.6-29.5	22.6-28.7	19.4-23.8	17.5-21.2	15.5-18.7	14.4-17.8	11.5-14.7	11.5-15.2	10.7-14.2	11.1-15.0	10.5-14.2	10.3-13.9
	Zhongyang County	141129	45.7	43.5	42.4	34.7	31.4	27.9	24.4	22.4	19	17.4	15.7	13.3	10.7	12.3	10.6	9.9	9.3
			35.9-56.2	34.3-53.1	34.2-51.8	28.4-42.7	25.8-38.1	23.1-33.5	20.5-28.8	19.0-26.3	16.3-22.1	14.8-20.1	13.1-18.3	11.0-15.7	8.8-12.9	10.0-14.8	8.5-12.8	7.9-12.1	7.4-11.2
	Zuoquan County	140722	70	66.7	60.8	46.3	46.7	42.8	41.6	38.9	41.3	40.2	36.5	34.8	31.9	29.7	26.5	24.2	22.1
			59.6-81.1	56.8-77.3	51.9-70.4	39.6-53.6	40.1-53.8	37.0-49.0	36.6-47.2	34.9-43.0	37.6-45.1	36.7-43.8	33.2-40.2	31.0-38.5	28.1-35.8	26.1-33.5	23.0-30.0	20.8-27.4	18.9-24.8
	Zuoyun County	140226	30.8	28.7	25.5	23.6	21.9	19.9	16.9	14.5	12.9	11.3	10.1	9.8	8.5	7.4	7.8	7.3	6.6
			18.7-47.8	18.1-43.0	16.6-37.1	16.0-33.1	15.6-29.9	14.9-26.0	13.2-21.3	11.9-17.5	11.0-15.2	9.5-13.4	8.1-12.6	7.4-12.8	6.0-11.6	4.9-10.6	4.9-11.6	4.3-11.2	3.8-10.4
Sichuan	Aba(Ngawa) County	513231	124.6	116.8	112.4	124.8	151.8	124.2	110.7	112.3	110.6	90.2	79.2	75.2	66.4	55.1	48.9	46.8	42.5
			98.0-157.4	91.1-148.9	86.4-144.8	95.7-161.9	117.3-193.5	95.7-159.9	85.9-140.0	88.6-139.9	89.1-135.1	72.0-110.4	62.7-96.6	59.5-92.7	52.2-81.2	43.7-67.3	39.4-59.2	38.3-56.4	34.8-51.0
	An County	510724	46.8	46.8	42.9	40	37.1	32.3	27.4	23.3	20	17.5	17.2	20.2	31.2	19.2	19.1	16.8	15.3
			41.2-53.5	41.4-53.3	37.6-48.9	35.1-45.8	32.2-42.3	28.2-36.9	23.9-31.2	20.5-26.2	17.7-22.3	15.5-19.5	15.2-19.1	17.8-22.6	28.3-34.6	16.9-21.6	16.8-21.5	14.7-19.0	13.3-17.6
	Anju District	510904	66.2	62.1	57	53.7	41.8	34.7	27.7	22.2	16.6	15.5	14.6	13.1	12.9	12.1	10.8	10	9.2
			49.7-86.7	48.7-77.9	47.1-68.1	46.4-62.2	36.3-47.9	29.6-40.0	22.8-33.1	17.7-27.4	12.8-21.0	11.8-19.9	11.2-18.8	10.3-16.6	10.3-15.7	10.1-14.3	9.2-12.6	8.6-11.5	7.8-10.8
	Anyue County	512021	71.3	66.6	62.7	58	52.3	40.5	43.8	39.1	32.1	25.9	22.1	18.1	15	14.7	14.7	13.6	12.6
			46.4-104.6	44.4-97.0	43.4-88.7	42.3-79.4	39.8-68.1	32.1-50.7	36.6-51.9	34.2-44.1	28.4-35.7	22.2-29.8	17.8-26.8	13.8-22.9	10.9-20.1	10.0-20.1	9.5-20.9	8.4-20.0	7.5-19.0
	Baiyu County	513331	184	160.9	148.3	158.5	137.2	92.5	76.3	64.1	50.1	48	43.8	41.9	40	39.4	43.3	38.5	34.9
			162.5-209.6	142.2-184.0	129.7-169.3	138.5-179.7	120.1-155.2	80.5-105.0	66.2-87.0	55.8-73.0	43.5-57.2	41.7-54.9	37.7-50.6	35.8-49.0	33.8-47.2	33.1-46.3	36.4-50.9	32.5-45.3	29.1-41.7
	Baoxing County	511827	55	49.1	46.9	43	39	33	27.3	23	18.7	14.7	14.1	14	14.9	15.3	16.7	14.9	14.1
			45.7-65.5	40.5-59.1	38.5-56.8	34.5-52.6	31.3-48.1	26.4-40.5	22.1-33.0	18.7-27.6	15.5-22.4	12.1-17.7	11.4-17.1	11.2-17.1	12.0-18.2	12.2-18.7	13.4-20.2	12.2-18.0	11.6-17.0
	Barkam County	513229	82.7	82	69.4	63.5	58.4	52.1	52.2	50.9	44.9	43.6	44.4	39.8	43.1	53.5	48.7	48.7	47.4
			55.0-118.9	56.3-116.4	49.1-96.4	46.7-85.8	44.8-76.7	41.2-66.0	42.9-62.6	43.5-59.0	39.3-50.9	37.5-50.1	36.6-53.1	31.1-49.5	32.0-55.6	37.7-72.2	32.8-68.1	31.3-70.3	29.6-69.8
	Batang County	513335	180.8	173.5	161.9	160.2	151.5	117.6	94.6	68.2	51.7	45.9	45.1	44.8	43.5	43.9	43	38.6	35.4

Province	County	County Code (2012)	Under-5 Mortality Rate (per 1000 births)																
			1996	1997	1998	1999	2000	2001	2002	2003	2004	2005	2006	2007	2008	2009	2010	2011	2012
			159.7-206.5	153.4-198.3	142.2-185.2	140.5-183.4	132.5-172.5	102.9-133.2	82.9-107.3	59.9-76.8	45.4-58.2	40.3-52.0	39.5-51.2	38.9-51.3	37.5-49.8	37.8-50.4	36.8-49.2	33.1-44.3	30.3-41.2
	Bazhou District	511902	62.6	58.3	52.8	46.9	52.9	49	45.6	36.4	28	23	19.4	16.3	17.6	19.6	19.9	20	19.8
			40.4-92.5	38.9-84.0	36.5-74.5	33.9-63.7	40.7-68.5	38.9-61.2	37.7-54.6	31.0-42.1	24.4-31.9	19.6-26.8	15.9-23.7	12.7-20.7	12.9-23.3	13.7-27.0	13.2-28.5	12.7-29.4	12.1-29.9
	Zizhixian	510726	110.3	102.3	96.7	87.6	67.4	57.9	42.4	40.9	41	42.3	41.8	36.7	511.3	24.1	19.6	16.7	14.9
			95.1-127.9	88.5-118.4	83.4-113.8	74.3-103.2	57.0-79.3	48.9-68.1	36.2-49.0	35.6-46.1	36.2-45.5	37.5-47.0	37.1-47.5	32.0-42.1	487.2-547.7	20.8-27.6	16.8-22.3	14.4-19.1	12.8-17.2
	Butuo County	513429	345.1	339.8	328.3	339.1	323.9	283.2	250.2	237	194.6	184.8	142.4	129.3	131.5	127.2	119.1	107.8	104
			306.1-393.6	300.6-385.7	286.4-379.5	292.8-393.9	276.7-375.0	242.0-328.7	216.5-285.6	208.2-265.1	171.6-216.4	163.3-206.0	124.8-161.2	112.0-147.4	113.4-151.4	110.0-145.3	103.6-135.8	93.6-122.7	89.8-119.2
	Cangxi County	510824	89.1	86.8	81.4	71	61.6	50.6	39.4	33.3	26.5	22.7	19.6	19.6	22.9	20.7	22.7	21	20.3
			78.6-102.2	76.8-99.2	71.4-92.9	61.8-81.6	53.5-70.6	43.7-57.9	34.3-45.1	29.1-37.7	23.2-29.8	20.0-25.5	17.3-22.0	17.2-22.0	20.2-26.2	18.1-23.3	19.7-25.6	18.2-23.8	17.6-23.4
	Changning County	511524	75.1	68	64.9	52.5	44.7	39.3	33.4	27.7	23	20.5	19.6	19.5	18.6	16.7	16	14.2	12.5
			56.9-96.6	53.8-84.2	53.9-77.5	44.9-61.0	38.4-51.5	33.5-45.6	27.6-39.7	22.3-34.0	18.2-28.9	16.0-26.2	15.4-24.9	15.5-24.2	15.1-22.6	14.2-19.6	13.8-18.2	12.5-16.1	10.8-14.4
	Chaotian District	510812	60.6	55.9	51.2	45.2	39.1	41.3	39.4	37.7	35.1	31.6	26.6	21.2	29.3	14.7	13.4	12.6	12
			53.2-69.3	49.0-64.2	44.6-58.7	39.2-51.8	34.0-44.9	35.7-47.0	34.4-44.8	33.1-42.4	31.0-39.2	28.1-35.2	23.6-29.8	18.6-23.9	26.4-32.5	12.6-16.8	11.5-15.4	10.8-14.5	10.2-14.0
	Chenghua District	510108	31.4	28.3	26.3	21.6	18.1	21.4	23.2	21.7	22.1	20	18.8	15.9	12.6	10.5	10.7	9.4	8.2
			25.2-38.7	22.8-34.9	21.1-32.8	16.9-27.3	14.2-23.0	16.8-26.8	18.7-28.7	17.8-26.4	18.6-26.1	16.7-23.6	15.6-22.4	13.0-19.1	10.3-15.2	8.6-12.6	8.8-12.8	7.8-11.1	6.8-9.8
	Chongzhou City	510184	53.9	49.3	46.4	38	32.5	32.6	32.3	32.7	34.4	33.2	30.1	25.9	21.6	19.7	18.5	16.2	14.9
			47.5-61.5	43.2-56.6	40.4-54.1	32.5-44.8	27.4-38.3	27.3-38.2	27.5-37.4	28.5-37.1	30.2-38.3	29.4-37.0	26.6-34.1	22.7-29.6	18.8-24.9	17.0-22.5	16.1-21.0	14.2-18.4	12.9-17.1
	Chuanshan District	510903	66.2	62.1	57	53.7	41.8	34.7	27.7	22.2	16.6	15.5	14.6	13.1	12.9	12.1	10.8	10	9.2
			49.7-86.7	48.7-77.9	47.1-68.1	46.4-62.2	36.3-47.9	29.6-40.0	22.8-33.1	17.7-27.4	12.8-21.0	11.8-19.9	11.2-18.8	10.3-16.6	10.3-15.7	10.1-14.3	9.2-12.6	8.6-11.5	7.8-10.8
	Cuiping District	511502	35.7	33.5	32.3	32.3	29.8	26.8	22.7	19.6	18.2	17.4	17.5	18.1	18.2	18.6	18	17.3	16.6
			31.5-40.6	29.7-38.2	28.2-36.9	27.9-37.2	25.3-34.3	22.8-31.1	19.3-26.2	16.8-22.6	15.7-20.8	15.0-19.8	15.2-20.0	15.6-20.8	15.4-21.3	16.0-21.4	15.6-20.7	15.1-19.9	14.3-19.1
	Da County	511721	83.7	78.4	72.3	62.2	60.2	58.1	51.3	45.3	43.2	37.4	30.1	27	21.3	19.3	15.4	14.9	15.1
			73.8-95.6	69.0-89.3	63.3-82.6	54.4-70.9	52.5-68.6	50.6-66.2	44.9-58.2	39.7-50.9	38.1-48.2	33.2-41.7	26.6-33.7	23.7-30.5	18.2-24.5	16.7-22.0	13.2-17.7	12.8-17.1	12.9-17.7
	Daan District	510304	52.5	48.9	45.1	44.1	37.9	36.2	31.5	27.2	21.6	20.1	19.5	18.7	17.6	17.2	16	14.3	12.9
			46.3-60.1	43.3-55.9	39.5-51.5	38.5-50.6	33.0-43.5	31.3-41.4	27.4-36.0	23.8-30.8	19.0-24.1	17.8-22.4	17.2-21.7	16.6-20.9	15.5-19.7	15.2-19.3	14.0-18.1	12.5-16.2	11.2-14.8
	County	513323	112	107.6	98.5	96	86.7	74.9	68.7	62.2	57.8	57.4	56.1	55.3	57.3	57	54.7	52.1	48.6
			74.1-161.1	73.4-151.3	69.3-136.4	70.7-128.5	67.8-111.4	60.1-92.9	57.3-80.9	53.7-70.9	51.0-64.7	49.8-65.5	46.9-66.4	44.1-68.3	43.5-73.5	40.9-76.1	37.2-75.7	33.9-74.4	30.2-71.5
	Danling County	511424	50.2	44.1	40.8	30.8	25.4	24.6	22.2	20.7	19.3	17.6	15.3	13.6	12.4	11.1	12.2	11.3	11.3
			42.6-58.9	37.1-52.2	33.7-48.8	25.1-37.3	20.5-31.2	19.9-30.2	18.2-26.9	17.2-24.6	16.4-22.6	14.9-20.7	12.8-18.1	11.2-16.3	10.2-14.8	9.1-13.2	10.1-14.5	9.5-13.3	9.4-13.4
	County	513337	174.7	152.8	145.6	125.3	126	98.3	107.6	117.3	98.7	92	87.5	85.9	97.1	103.1	102.6	93.8	87.4
			112.4-256.0	99.4-221.3	97.7-207.7	87.3-176.4	92.4-170.5	74.0-129.9	84.2-135.3	95.0-140.8	82.2-116.7	76.4-110.3	70.7-106.4	67.6-108.8	74.1-127.4	74.8-139.4	70.6-143.4	62.1-134.4	55.6-127.7
	Dawu County	513326	116.5	103	93.8	84.2	78.1	62.5	56.4	53.4	49.4	58.1	57.8	58.5	57.8	59.6	51.6	45.9	40.9
			98.9-136.5	86.7-121.3	78.2-111.9	69.1-101.8	63.7-94.6	51.2-75.9	46.8-67.1	45.5-62.4	42.9-56.6	50.4-66.0	49.8-66.3	50.0-67.9	49.2-67.1	50.9-69.1	44.3-59.5	39.5-52.8	35.0-47.6
	Dayi County	510129	43.1	42.2	39.2	33.2	32.1	35.1	35.3	34.2	34.8	33.3	29.6	26.5	23.5	22	19.8	16.7	14.3
			36.7-50.5	35.7-49.5	33.1-46.3	27.7-39.8	26.8-38.5	29.3-41.6	30.0-40.9	29.7-38.6	30.7-38.7	29.6-37.2	26.2-33.5	23.0-30.4	20.2-27.1	18.9-25.2	17.1-22.6	14.4-19.1	12.3-16.5
	Daying County	510923	70.2	61.9	59.1	50.9	44	35.7	31.8	30.5	27.1	22.7	23.2	22.5	19.1	16.5	14.1	12.2	10.4
			42.5-110.2	38.2-95.5	37.7-89.5	33.9-75.2	30.1-63.2	25.4-49.9	23.5-42.3	23.0-39.2	21.0-34.0	18.0-28.2	18.2-29.3	17.3-29.3	14.1-25.6	11.8-23.1	9.6-20.2	8.0-18.0	6.5-15.6
	Dazhu County	511724	81.7	84.6	80.9	81.2	77.3	70.5	61.2	49.3	36	29.1	22.4	20.3	17.8	19.4	19.2	19.4	19
			71.8-93.6	74.8-96.8	71.0-92.6	70.8-93.0	67.2-88.7	61.3-80.6	53.2-69.6	43.3-55.6	31.7-40.3	25.6-32.6	19.7-25.3	17.6-22.9	15.2-20.6	16.9-22.1	16.5-21.8	16.7-22.2	16.3-22.1
	Dechang County	513424	119.9	121.2	119.2	113.6	102.4	83.8	68.6	56.9	47.3	41.6	36.2	33.7	30.7	30.4	27.4	25.7	24.3
			78.9-173.0	82.1-172.3	83.4-166.5	83.5-153.4	78.1-132.9	66.4-104.8	56.8-82.0	49.3-64.9	42.0-52.6	36.2-47.6	29.9-43.1	26.5-41.8	23.0-39.7	21.6-41.0	18.3-38.3	16.5-37.1	15.1-36.1
	Deegee County	513330	202.8	184.1	177	166.7	165.8	124.4	115	100.3	88.9	76.3	49	47	45.1	43.5	45	40.1	36.9
			169.4-239.9	152.6-219.7	145.2-213.4	135.2-203.9	133.7-202.3	98.9-152.1	92.0-139.9	81.5-121.2	72.8-106.3	62.4-92.1	39.1-60.3	36.8-57.9	35.2-55.6	34.3-53.6	36.0-54.9	32.5-48.8	30.0-44.7
	Deerong County	513338	219.9	204.5	195.3	186.2	148.1	121.2	110.4	77.8	63.8	49.6	51.2	53.4	50.5	46.9	46.3	40.9	37.3
			175.7-272.1	159.7-257.2	149.7-249.4	142.1-240.8	110.3-196.3	89.1-161.5	81.1-145.9	57.6-102.9	47.1-83.0	36.7-65.2	38.0-66.5	39.6-68.7	38.0-64.8	35.4-59.3	35.7-57.6	32.5-50.5	29.8-45.9
	Dong District	510402	44.3	42.8	41.3	35.5	36.8	41.2	32.4	29.8	24.8	22.7	18.5	15.8	14	13.4	11.1	10.4	10.2
			27.9-67.5	27.6-63.3	27.8-59.3	24.9-49.6	27.2-49.5	31.9-52.8	25.8-39.7	24.9-35.1	21.1-28.9	18.9-27.1	14.8-22.7	12.1-20.4	10.2-18.9	9.2-18.9	7.2-16.4	6.5-15.8	6.1-15.8
	Dongpo District	511402	54.4	50.7	48.1	43.4	37.6	35	30.3	25.2	20.2	19	14.5	13.1	12.6	11.9	11.5	11.4	11.8
			48.0-62.3	44.8-57.9	42.1-55.0	37.9-49.8	32.7-43.1	30.4-40.0	26.4-34.6	22.0-28.4	17.7-22.6	16.7-21.3	12.8-16.3	11.4-14.8	10.8-14.5	10.3-13.5	9.9-13.2	9.8-13.1	10.1-13.7
	Dongxing District	511011	33.3	30.4	28	25.7	24.8	23.4	21.8	18.9	18.4	17.6	15.4	14.3	12.3	11.3	9.7	8.8	8.1
			22.0-48.5	20.6-43.8	19.8-39.3	19.2-34.4	19.4-32.0	19.1-28.8	18.5-25.5	16.6-21.3	16.1-20.6	15.0-20.4	12.5-18.6	11.1-18.1	9.2-16.3	7.9-15.3	6.5-13.6	5.6-12.7	5.0-12.0
	Dujiangyan City	510181	37.6	33.9	31	28	25.4	27.6	30.8	32.9	32.8	31.7	28.3	24.7	41.6	17.8	16.5	14.6	13
			32.0-44.1	28.7-39.9	26.2-36.8	23.3-33.6	21.1-30.5	23.2-32.8	26.1-35.9	28.6-37.4	28.9-36.4	28.2-35.4	24.9-32.1	21.5-28.3	37.9-46.2	15.3-20.4	14.2-18.9	12.6-16.7	11.2-15.1
	Ebian Yizu Zizhixian	511132	105.1	104.3	98.1	94.8	89.5	83.9	74.5	66.6	58.5	58.9	50.5	49.9	45	32.5	28.7	24.3	20.4
			89.7-123.0	89.0-121.4	83.9-113.9	81.1-111.0	76.5-103.7	71.7-96.9	63.3-86.1	57.2-76.3	50.8-66.3	51.6-66.2	44.8-56.5	44.0-55.9	38.9-51.6	28.2-36.7	24.8-32.8	20.8-27.9	17.4-23.8
	Emeishan City	511181	46.9	46.9	45.7	44.7	39.4	35.8	31.4	27	22.4	20.5	20.3	20.2	17.9	18.1	16.6	14.6	12.7
			41.1-53.9	41.0-54.0	39.8-52.3	38.8-51.0	34.2-45.1	31.0-40.7	27.4-35.7	23.8-30.5	19.8-25.0	18.2-23.0	17.9-22.8	17.8-22.8	15.4-20.6	15.8-20.5	14.4-18.9	12.5-16.6	10.9-14.7
	Fucheng District	510703	37.3	38.7	36	33.8	28.8	26.4	21.8	15.8	12.3	9.9	9.7	9.4	9.8	9.7	9.1	8.1	7.1
			32.1-43.4	33.2-44.9	31.2-41.5	29.4-38.6	25.0-32.9	22.8-30.0	19.1-24.8	13.9-17.9	10.8-13.8	8.7-11.1	8.5-10.9	8.2-10.6	8.5-11.2	8.4-11.1	7.9-10.4	6.9-9.2	6.1-8.3
	Fushun County	510322	52.2	49.1	50.2	50.6	45.4	47.7	45.6	43.2	45	41.9	34.5	27.8	20.9	15.8	14.1	12.8	12.1
			44.9-60.8	42.2-57.2	43.2-59.2	42.8-60.0	38.3-53.8	40.2-56.2	38.9-52.8	37.7-48.8	39.7-50.0	37.3-46.5	30.4-39.2	24.1-32.0	17.9-24.2	13.5-18.1	12.1-16.3	11.0-14.7	10.3-14.1
	Ganluo County	513435	158.8	155.3	146.7	135.1	128.9	111.1	99.8	101.9	100.7	103.6	93.7	79	61.1	52.2	43.6	37.6	34.3
			140.3-181.7	137.5-176.7	128.2-169.5	116.7-157.0	108.8-150.7	93.3-129.3	84.7-115.1	87.5-115.4	87.7-113.0	90.7-116.8	82.1-107.2	68.8-91.0	53.1-70.6	45.3-59.5	38.0-49.6	32.8-42.6	29.7-39.4
	Gao County	511525	61.2	58.1	55.4	50.9	43.8	39.7	32.9	27.3	23.2	21.2	22.8	22.8	21.6	20.6	19.7	17.1	14.8
			54.1-70.0	51.2-66.4	48.0-63.7	43.5-58.8	37.0-51.0	33.5-46.2	27.5-38.5	22.8-31.9	19.7-27.0	18.1-24.3	19.7-26.1	19.6-26.3	18.4-25.2	17.8-23.6	17.1-22.6	14.8-19.5	12.8-17.0

Province	County	County Code (2012)	Under-5 Mortality Rate (per 1000 births)																
			1996	1997	1998	1999	2000	2001	2002	2003	2004	2005	2006	2007	2008	2009	2010	2011	2012
	Gaoping District	511303	65.1	58.3	55.2	50.6	46.4	47.8	44.8	41.7	45.2	46.3	35.7	29.3	23.7	18.6	14.4	13.6	12.8
			56.9-75.0	50.7-67.3	47.8-63.5	43.9-58.2	39.9-53.4	41.3-54.6	38.7-51.2	36.5-47.1	39.8-50.6	40.9-51.5	31.5-39.7	25.9-32.7	20.6-27.2	16.3-20.9	12.5-16.2	11.8-15.4	11.1-14.8
	Garzee County	513328	134	120	105.4	92.3	80.5	68.1	61.2	57.9	64.9	61.6	57.7	53.3	53.2	51.4	52.8	46.3	42.5
			104.1-171.4	97.3-147.1	87.6-125.0	77.5-108.9	66.5-97.1	54.2-84.8	46.8-79.0	42.8-76.7	46.7-88.2	43.8-85.4	41.0-79.2	38.7-71.6	39.4-69.1	39.2-65.3	41.7-64.7	37.5-55.9	34.7-51.3
	Gong County	511526	101.3	93	83.6	71.9	50.4	46.8	38.8	34.2	30.4	27.1	22.8	20.4	17.3	15	13.9	12.4	11.4
			89.2-115.9	81.7-106.3	72.4-97.0	61.3-85.1	41.8-60.3	39.1-55.8	32.5-45.8	28.8-39.9	25.9-35.3	22.9-31.7	19.1-27.0	16.7-24.4	14.2-20.8	12.2-18.0	11.4-16.6	10.3-14.9	9.5-13.7
	Gongjing District	510303	45.6	36.9	37.6	33.2	27.4	21.9	21	20.4	18.4	19.5	17.8	17.2	18.7	18.3	18.6	17.2	16.6
			38.5-53.7	30.8-43.6	31.3-45.0	27.2-40.2	22.3-33.4	17.8-26.6	17.3-25.0	17.3-23.9	15.9-21.1	16.7-22.4	15.2-20.6	14.6-20.1	15.8-21.7	15.6-21.3	16.0-21.5	14.8-19.7	14.2-19.2
	Guang'an District	511602	89	87.2	72.2	60.4	55.1	56.6	52.5	50.2	51.7	53.5	40.9	31.5	25	19.4	14.9	12.9	11.3
			78.4-101.7	76.7-99.2	63.1-82.4	52.8-68.8	47.9-62.7	49.3-64.7	46.0-59.6	44.1-56.5	45.7-57.6	47.4-59.4	36.3-45.8	27.8-35.4	21.4-28.8	16.7-22.1	12.8-17.1	11.1-14.9	9.6-13.3
	Guanghan City	510681	42.9	40.1	38.1	30.5	26.7	24.3	20.6	18.2	16.8	16	16.5	17.4	16	16.1	15.4	13.7	12.3
			37.9-49.1	35.5-45.8	33.4-44.2	26.0-35.5	22.6-31.4	20.5-28.6	17.6-23.8	15.8-20.5	14.7-18.7	14.1-17.8	14.6-18.7	15.2-19.9	13.9-18.5	13.9-18.4	13.4-17.5	11.9-15.5	10.6-14.0
	Gulin County	510525	73.8	70.4	67.2	98.5	102.4	96.1	90.4	83.1	70.1	60.2	53.1	46.7	38.8	33.8	29.7	25.7	22.9
			50.1-103.4	49.9-96.4	49.6-88.6	77.7-124.7	83.8-125.8	80.4-114.2	77.3-104.4	72.5-94.0	61.3-79.2	51.3-69.7	43.4-63.5	36.4-59.0	28.7-51.0	23.6-46.4	19.7-41.9	16.1-38.1	13.8-34.6
	Hanyuan County	511823	76.1	71.4	68.4	66.4	58.2	54.9	50.2	46	43.2	48.5	46.3	42	37.9	31.3	24.9	22	19
			66.7-87.2	62.2-82.3	59.4-80.1	56.7-78.1	49.2-68.3	46.1-63.9	42.8-57.9	40.0-52.1	38.0-48.1	43.0-53.8	40.9-52.3	36.8-47.9	32.6-44.4	27.2-35.8	21.5-28.3	19.2-25.1	16.4-21.9
	Heishui County	513228	145.4	131.7	126.2	111	102.1	85.1	75.1	59.6	56	56.2	58.5	59.4	58.8	58.5	56	49.1	45.2
			99.4-201.1	93.4-179.7	92.5-168.7	84.7-144.4	81.3-128.9	69.8-104.3	63.6-88.1	51.8-67.1	49.2-62.2	48.6-63.7	48.0-69.8	46.2-74.5	43.2-76.6	40.5-79.3	37.0-79.1	30.9-71.4	27.6-67.6
	Hejiang County	510522	66.1	62.1	56.5	50.5	45.7	40	40.3	37.2	33	32.5	28.6	22.6	22.1	20.7	19.5	17.9	16.6
			44.9-92.5	43.9-84.7	41.6-75.4	39.3-64.7	37.1-56.3	33.4-47.8	34.1-46.8	32.1-42.6	28.5-37.8	27.6-37.5	23.6-34.0	17.8-27.9	16.7-28.4	14.8-27.7	13.2-27.1	11.5-25.4	10.4-24.5
	Hongya County	511423	66.8	65.9	59.4	55.4	47.1	41.4	34.6	28.2	25.9	20.7	17.7	16.4	16.4	13.9	13.2	12	11.6
			58.8-76.1	58.1-75.2	52.0-67.8	48.3-63.1	41.0-53.7	35.9-47.1	30.1-39.5	24.6-32.1	22.7-29.4	18.1-23.5	15.3-20.3	14.1-19.0	13.8-19.3	11.8-16.2	11.1-15.4	10.2-14.0	9.8-13.7
	Hongyuan County	513233	108.5	97	91.7	65.6	66.8	59.5	58.3	55.7	67.4	70.7	75.2	76.6	74.8	58.6	56.2	50.1	44.2
			85.9-136.1	75.2-123.3	70.1-117.2	49.3-85.8	50.2-87.4	45.0-77.6	44.6-75.3	42.9-71.3	53.5-84.3	56.9-86.3	60.8-90.8	62.9-92.0	62.1-89.4	48.4-70.1	47.2-66.6	42.1-59.3	36.7-52.8
	Huaying City	511681	83.2	76.7	68.3	52	42	33.7	30.9	29.4	23.3	20.6	23.7	20.5	18	17.7	17.8	16.3	14.6
			53.5-122.7	50.7-110.6	46.9-95.9	37.1-71.4	31.5-55.6	26.1-43.1	24.9-37.8	24.6-34.9	19.7-27.5	17.1-25.0	18.9-29.6	15.6-26.5	12.9-24.2	12.2-25.0	11.6-26.0	10.2-24.5	8.8-22.4
	Huidong County	513426	73.2	70.4	63.1	60.1	58.6	49.7	41.6	37.2	33.4	31.4	28.8	29.7	29.4	28.3	26.2	24.6	22.3
			59.2-88.8	57.4-85.8	51.3-77.3	48.4-74.1	47.0-72.0	39.9-60.7	33.7-50.3	30.3-44.4	27.6-39.8	25.9-38.0	23.2-35.1	23.6-36.4	23.2-36.1	22.3-34.8	20.9-32.0	19.9-30.0	18.1-27.1
	Huili County	513425	102.1	98.2	98	94	94.4	82.6	63.4	45.1	33.8	33.8	31	31.3	33.3	29.8	26.6	23.5	20.8
			89.0-117.1	85.7-112.8	84.8-114.3	80.0-110.9	79.5-112.5	69.5-98.2	53.7-74.3	38.2-52.2	29.0-39.2	28.7-39.4	26.0-36.5	25.8-37.3	27.4-39.8	24.4-35.6	21.9-31.6	19.7-27.9	17.3-24.8
	Jiajiang County	511126	64.4	59.3	53	51	46.5	36.4	33.1	31.7	26.2	22.8	20.7	18.2	17.4	17.6	16.7	14.3	12.8
			56.7-73.6	52.0-68.1	46.3-61.7	43.5-59.8	39.3-54.8	30.8-42.9	28.4-38.0	27.7-36.0	23.0-29.3	20.2-25.7	18.0-23.7	15.5-21.0	14.8-20.4	15.0-20.4	14.3-19.3	12.3-16.5	10.9-14.9
	Jialing District	511304	98.5	87.6	64.9	72.5	60.5	59.3	55.8	46	49	48.7	41.7	36.1	28.1	22.9	19	16.7	14.9
			86.9-112.6	77.3-99.9	56.8-75.6	62.3-84.7	51.3-70.8	49.7-69.2	47.4-64.3	39.9-52.1	43.0-54.8	43.1-54.4	36.7-47.2	31.5-41.3	24.2-32.9	19.8-26.1	16.6-21.6	14.6-19.0	12.9-17.1
	Jian'ge County	510823	73.7	74.4	75.1	72.3	67	62.1	52	43.4	34.3	29	23	18.5	17.8	14.6	13.9	13	12.3
			64.8-84.5	65.4-85.0	65.2-86.4	61.8-83.4	57.1-77.7	52.8-71.3	44.5-59.9	37.5-49.7	29.8-38.9	25.6-32.6	20.3-26.1	16.2-20.9	15.7-20.1	12.6-16.6	12.0-16.0	11.2-15.0	10.4-14.3
	Jiang'an County	511523	84.3	71	63.1	49.4	45	34.8	29.8	25.5	22.1	22.5	22.7	23	21.4	20.7	15.1	13.5	12.3
			71.8-98.9	59.6-84.3	52.2-75.8	39.9-60.4	36.1-55.6	27.6-42.9	23.8-36.4	20.4-31.2	17.9-26.8	18.2-27.5	18.1-28.0	18.2-28.4	17.0-26.5	16.4-25.6	12.0-18.4	10.9-16.5	10.0-14.9
	Jiangyang District	510502	48.1	45.9	42.3	36.9	29.2	28.4	25.5	24.1	22.1	22.2	20	19	16.8	15.2	12.8	11.5	10.1
			42.4-54.9	40.5-52.5	36.9-49.2	31.6-43.2	24.6-34.3	23.9-33.3	21.8-29.3	21.0-27.2	19.4-24.6	19.6-24.7	17.7-22.6	16.6-21.6	14.6-19.4	13.1-17.4	11.0-14.6	10.0-13.1	8.7-11.7
	Jiangyou City	510781	37.1	36.9	36	30.9	27.2	24.8	21.9	18.3	17.6	16.7	16.7	16.6	17.1	13.1	11.6	9.7	8.4
			32.7-42.3	32.5-42.0	31.5-41.1	27.0-35.3	23.6-31.0	21.6-28.3	19.2-25.0	16.1-20.6	15.6-19.6	14.8-18.6	14.8-18.6	14.7-18.6	15.0-19.5	11.5-14.8	10.1-13.1	8.4-11.0	7.3-9.7
	Jianyang City	512081	59.9	56.8	54	46.3	41	38.8	40.7	38.7	40.6	38.6	38.1	31.2	27.9	23.5	19	16.3	13.9
			51.0-70.2	48.4-66.4	46.1-62.8	39.7-53.5	35.2-47.5	33.3-44.9	34.9-46.9	33.3-44.2	35.2-46.0	33.6-43.5	33.2-42.9	27.2-35.4	24.0-32.1	20.5-26.5	16.7-21.5	14.2-18.3	12.0-15.9
	County	513226	110.4	102.4	90.9	69.6	59.3	48.5	45.6	43.1	43.8	41.9	40.4	38	35.6	36.8	35	34.6	33.6
			73.8-157.4	70.4-144.6	64.4-125.7	51.1-94.3	45.5-77.3	38.4-61.2	37.7-54.2	36.9-49.3	38.4-49.4	36.0-48.1	33.2-48.5	29.5-47.6	26.1-46.3	25.3-50.4	23.2-49.8	21.9-50.6	20.6-50.4
	Jingyan County	511124	51.7	49.9	46.7	42	36.2	31.1	29.4	25.9	23.3	22	22.6	20.3	19.5	19.9	17.6	14.7	12.5
			35.1-72.4	35.3-68.6	34.3-62.8	32.1-54.9	28.8-46.0	25.5-38.1	24.9-34.4	22.5-29.2	20.5-25.9	19.1-25.1	18.7-27.0	15.9-25.4	14.4-25.9	13.8-27.0	11.7-24.9	9.2-21.3	7.6-18.7
	Jingyang District	510603	38.2	33.3	32	26.8	22.3	20.9	18.3	16.6	15.8	15.9	15.7	15.6	15.3	14.3	13.8	12.7	11.5
			33.7-43.7	29.4-38.1	28.0-37.2	22.9-31.3	18.8-26.3	17.6-24.6	15.7-21.2	14.4-18.7	13.9-17.6	14.1-17.8	13.9-17.8	13.7-17.8	13.3-17.7	12.3-16.3	12.0-15.7	11.1-14.4	9.9-13.1
	Jinjiang District	510104	32.4	27.6	26.3	24.4	22	22.6	23.9	24.2	16.8	17.1	14.2	11.4	10.8	9.8	9	8.5	7.9
			21.6-46.6	19.0-39.2	18.8-36.2	18.2-32.5	17.2-28.4	18.3-28.3	20.0-28.3	20.9-27.8	14.7-19.1	14.7-19.9	11.7-17.1	8.9-14.4	7.9-14.0	6.7-13.4	5.9-12.8	5.4-12.5	4.8-11.9
	Jinkouhe District	511113	62.8	59.8	58.3	49.8	42.7	40.6	37	31.8	28.1	27.9	25.9	22.6	20.1	16.3	13.7	11.3	9.2
			38.6-97.6	37.5-90.6	37.9-86.5	33.8-72.0	30.0-59.7	29.6-55.3	28.1-47.8	24.3-39.9	22.2-35.0	22.1-35.3	20.1-33.7	16.9-30.4	14.2-28.0	11.2-23.6	8.9-20.5	7.1-17.2	5.5-14.3
	Jinniu District	510106	24.4	22.7	20.3	17.9	15.4	17.6	19.1	19.1	20	19.9	16.9	15.8	14	12.9	14.5	13.5	12.3
			19.7-29.8	18.3-27.8	16.3-24.9	14.2-22.4	12.2-19.2	14.2-21.8	15.7-23.2	16.2-22.6	17.3-22.9	17.3-22.7	14.5-19.5	13.4-18.4	11.8-16.3	10.9-15.1	12.4-16.8	11.6-15.6	10.4-14.3
	Jintang County	510121	58.8	51.1	49.8	42.2	36	35.8	34.3	32.7	33.2	32	32.3	30.6	28.6	27	24.8	20.9	18.3
			51.8-67.0	45.2-58.2	43.5-56.9	36.5-48.7	30.7-41.5	30.5-41.4	29.3-39.8	28.1-37.6	28.7-37.9	27.7-36.3	27.9-36.7	26.4-35.0	24.8-32.8	23.4-30.8	21.6-28.3	18.3-23.8	15.9-21.1
	Jinyang County	513430	189.1	188.9	188	186.4	199	160.3	133.6	122.7	96.6	96	97.1	97.1	83.8	78.2	67.7	59.9	55.1
			158.4-223.0	157.8-223.4	155.9-224.1	154.4-222.9	165.5-236.0	133.5-189.7	113.6-156.9	105.2-140.8	84.0-109.5	83.7-108.9	84.2-111.4	83.7-112.1	71.5-97.3	66.9-90.9	58.2-78.0	51.5-68.9	47.2-63.9
	Jiulong(Gyaisi) County	513324	104.7	94.9	82.4	69.9	56.6	45.2	39.5	35.5	31.4	33.2	35.5	38.5	43.1	42.4	39.1	35.4	32.7
			89.7-122.2	80.8-110.8	69.1-97.5	57.8-84.2	46.3-68.6	36.8-54.2	32.5-47.1	29.7-42.1	26.6-36.8	28.0-39.2	29.4-42.2	31.4-46.1	35.2-51.8	34.6-50.8	32.1-46.7	29.5-42.2	27.1-39.1
	Jiuzhaigou County	513225	103.7	97.6	87.1	73.2	69.4	58	53.6	50.9	37.5	35.2	33.4	30.3	30.1	29.4	23.1	21.9	19.3
			63.5-160.8	60.8-148.4	55.7-130.8	48.9-107.5	47.5-99.0	40.9-80.5	38.9-71.8	37.6-66.0	28.3-48.1	26.9-45.5	25.2-44.1	22.4-41.2	21.4-42.2	20.1-42.5	15.1-34.5	13.8-33.4	11.8-29.8
	Junlian County	511527	92.8	90.3	88.9	80	67.1	60.1	46.4	34.5	28.6	24.9	21.6	20.7	19	17.1	15.9	13.8	12.9

Province	County	County Code (2012)	Under-5 Mortality Rate (per 1000 births)																
			1996	1997	1998	1999	2000	2001	2002	2003	2004	2005	2006	2007	2008	2009	2010	2011	2012
			81.9-106.4	79.3-103.3	77.0-102.5	68.2-92.4	56.5-77.9	50.8-69.6	38.9-54.0	29.1-39.9	24.4-33.1	21.6-28.2	19.0-24.4	18.2-23.3	16.5-21.8	15.0-19.3	14.0-18.0	12.0-15.6	11.2-14.8
	Kaijiang County	511723	73.7	70	68.3	56.1	59.5	53.9	49.1	48.9	53.3	50.9	40.7	38.5	33.3	26.9	22	21.5	21
			63.7-85.1	60.4-81.1	58.8-80.2	47.4-66.4	50.2-70.4	45.6-63.5	41.8-57.0	42.7-55.5	47.1-59.1	45.3-56.7	35.8-46.3	33.3-44.1	28.5-38.9	23.2-30.9	19.0-25.3	18.6-24.7	18.0-24.3
	County	513321	110.3	98	87.3	74.3	57.4	46.2	41.9	38.3	34.1	35.2	34	33.1	32.6	34.6	34.2	33.3	30.1
			97.4-126.4	86.6-111.6	76.5-101.5	63.8-86.7	48.5-67.4	38.9-54.0	35.9-48.2	33.2-43.4	30.0-37.9	31.1-39.2	30.0-38.2	29.0-37.7	28.3-37.5	30.0-39.6	29.7-38.8	29.1-37.7	26.1-34.6
	Langzhong City	511381	77.8	68	59.8	51.6	52.8	51.2	51.3	53.8	56.9	48.2	34.2	26.8	23	20.6	20.6	20.8	20.6
			66.0-91.1	57.6-79.8	50.3-71.2	42.8-62.0	43.6-63.4	42.6-61.0	43.6-60.0	46.3-61.3	50.0-63.9	42.2-54.4	29.6-39.2	22.8-31.1	19.4-27.1	17.4-24.1	17.4-24.0	17.8-24.2	17.5-24.2
	Leibo County	513437	124	130.1	133	128.8	111	79.5	67.3	51.2	38.4	36.8	35.9	32.8	31.5	29.5	30.8	28.3	27.2
			106.1-145.0	110.8-151.8	111.9-156.2	107.5-153.4	91.7-133.0	65.1-95.5	55.4-80.3	42.4-60.7	32.1-45.5	30.6-44.0	29.3-43.1	26.4-39.8	25.3-38.2	23.6-35.8	24.9-37.1	23.3-34.0	22.5-32.6
	Lezhi County	512022	76.2	74.3	69.8	63.6	53.6	32.8	36.2	33	31.4	24.8	20.5	16.3	13.8	12.6	14.9	15.1	15
			48.4-114.5	48.4-108.5	47.3-99.4	44.9-88.2	39.6-71.7	25.3-42.2	29.0-44.5	27.5-38.9	27.0-36.3	20.8-29.4	16.6-25.0	12.5-20.8	10.0-18.5	8.7-17.7	9.8-21.7	9.4-22.7	9.1-23.1
	Li County	513222	99.4	95.5	87.2	86.4	84.3	75.2	74.4	63.6	52.3	49	48.6	44.9	47.3	38.8	35.7	32.1	28.7
			83.7-117.2	80.1-112.7	72.9-104.0	71.7-103.6	69.9-101.0	62.6-89.7	63.2-87.1	54.6-73.0	45.8-59.1	42.7-55.6	42.0-55.8	38.2-52.0	40.9-54.5	32.8-45.3	30.2-41.4	27.5-37.1	24.4-33.6
	Linshui County	511623	111.1	104.4	92.4	86.1	75	63.4	53.8	42.7	34.3	28.6	26.7	23.8	21.8	20.2	18.8	16.8	15.1
			84.3-143.4	81.7-130.2	75.6-111.7	72.1-101.1	63.5-87.0	53.2-73.7	44.8-64.3	34.7-52.5	27.2-43.2	22.4-36.3	21.0-33.7	19.0-29.2	17.7-26.6	17.2-23.6	16.3-21.4	14.7-19.0	13.0-17.4
	Litang County	513334	173.1	160	154.1	132.9	148.5	101.1	90.5	71.7	64.2	46.1	47.9	47.8	49.7	50.2	59.2	54.5	50.2
			145.8-203.7	133.7-189.5	127.7-184.5	108.0-161.1	120.8-180.2	81.1-123.2	73.3-109.2	58.2-86.0	52.9-76.6	37.7-55.9	38.5-58.3	37.9-58.5	39.3-60.6	40.0-61.2	47.7-71.4	44.7-65.6	41.2-60.2
	Lizhou District	510802	41.1	37	35.8	33.4	27.3	27.7	24.8	23.3	21.8	20.1	17.7	16.4	20	11.4	10.9	10.6	9.8
			33.5-49.5	30.2-45.1	29.1-44.1	26.6-41.5	21.6-34.1	22.1-34.5	19.9-30.6	18.9-28.2	18.1-25.9	16.7-24.1	14.5-21.3	13.3-20.0	17.4-23.1	9.2-13.9	8.8-13.1	8.7-12.8	8.1-11.8
	Longchang County	511028	33.9	29.6	28.8	25.4	24.3	22.7	20.7	18.2	16.5	16.1	15.1	14.5	14.2	12.5	12	11.3	10.7
			29.9-38.7	26.2-33.7	25.2-32.9	22.0-29.1	20.9-28.0	19.4-26.1	17.8-23.8	15.7-20.8	14.4-18.7	14.1-18.1	13.2-16.9	12.7-16.4	12.2-16.3	10.9-14.1	10.5-13.6	9.9-12.9	9.3-12.3
	Longmatan District	510504	56.2	53.9	53	41.7	29.5	23.8	24.2	22.8	23.5	21.8	20.5	18.3	17.5	15.3	14.4	13	11.5
			49.2-64.6	47.0-62.0	45.6-61.9	35.2-49.5	24.8-35.2	19.8-28.2	20.5-28.4	19.6-26.2	20.6-26.6	19.1-24.6	17.8-23.6	15.7-21.2	14.8-20.3	13.0-17.7	12.4-16.7	11.2-15.0	9.9-13.5
	Longquanyi District	510112	53.3	50.5	45.5	38.6	36	32.4	27.8	24.8	24.8	23	22.5	22.7	21.3	18.5	16.4	14.3	12.3
			47.1-60.8	44.7-57.6	39.8-52.0	33.6-44.5	31.2-41.5	27.9-37.3	24.1-31.9	21.6-28.1	21.8-27.8	20.3-25.7	19.8-25.0	20.0-25.5	18.7-23.8	16.3-20.9	14.5-18.5	12.5-16.2	10.6-14.0
	Lu County	510521	59.9	55.1	54.7	49.2	38.9	34.1	32	27	22.9	22	21.4	22.1	24.5	25.9	27.5	25.7	23.8
			38.4-89.5	36.3-80.2	37.4-77.9	35.0-67.5	29.3-51.2	26.6-43.2	26.2-39.0	22.8-31.5	20.1-25.7	19.3-25.0	18.2-25.0	18.0-26.7	18.9-30.8	19.1-34.0	19.1-37.4	17.0-36.3	15.2-34.7
	Luding County	513322	87.3	81	76.5	73.1	64.9	55.5	49.4	46.6	38.6	37.9	37.6	35.4	34	30	27.3	25.3	23.2
			75.2-101.3	69.8-93.8	66.4-88.4	63.5-83.6	56.3-74.1	48.2-63.3	43.2-56.1	41.0-52.5	34.1-43.1	33.6-42.3	33.1-42.3	30.9-40.3	29.4-39.1	25.7-34.7	23.2-31.6	21.5-29.3	19.5-27.3
	Luhuo(Zhaggo) County	513327	118	104.3	90.5	83.3	74.1	65.7	56.7	54.7	52.9	66.2	66.4	67.7	71.7	70.2	65.8	60	55.8
			100.7-137.2	89.3-121.4	77.4-104.3	71.2-95.9	63.4-85.7	55.8-76.4	48.0-66.0	46.2-63.5	44.7-61.7	56.4-77.3	56.1-78.5	56.6-80.5	59.8-85.2	58.4-82.8	54.7-77.8	50.1-71.2	46.2-66.8
	Luojiang County	510626	53	49.6	47.8	42.6	39.4	40.4	29.2	20.5	20.5	17.8	15.4	16.1	16.9	14.7	13.4	12.2	10.6
			33.4-80.9	31.9-73.5	32.0-68.9	29.7-59.8	28.9-53.4	31.0-52.2	23.1-36.2	16.9-24.4	17.4-23.9	14.8-21.2	12.4-18.8	12.5-20.7	12.5-22.6	10.3-20.3	8.9-19.3	7.7-18.3	6.4-16.2
	Lushan County	511826	45.5	42.8	40	35.8	34.6	32.4	26.9	24.6	21.7	17.1	14.9	16.6	16.7	16.5	17.4	16.4	15.2
			37.9-54.1	35.5-51.2	33.0-48.5	29.0-43.9	27.9-42.6	26.1-39.6	21.8-32.2	20.4-29.3	18.3-25.4	14.4-20.2	12.4-17.8	13.6-19.9	13.7-20.0	13.5-19.8	14.4-20.6	13.8-19.4	12.8-18.1
	Mabian Yizu Zizhixian	511133	145.2	135.7	131	121	102.3	85.9	69.7	61.1	53.6	49.7	50.3	48.1	43.3	37.5	34.3	27.9	23.1
			127.0-166.3	118.3-155.2	113.5-150.2	104.0-139.1	87.0-117.7	72.9-99.1	59.5-80.2	52.4-70.1	46.5-61.0	43.1-55.9	43.9-56.5	41.9-54.1	37.4-49.8	32.9-42.2	30.2-38.7	24.4-31.5	20.0-26.4
	Mao County	513223	93	79.6	75.8	65.3	60	60.5	50.1	46	39.2	39.5	35	36.1	138.6	36.4	30.2	27.2	24.5
			60.9-135.4	53.5-113.5	52.8-105.9	47.5-88.5	46.5-77.8	48.3-75.2	42.0-59.4	39.8-52.5	34.6-44.0	34.3-45.3	29.1-41.6	28.4-45.0	126.9-153.3	25.7-49.4	20.1-42.8	17.4-39.5	15.0-36.6
	Meigu County	513436	201.8	212.5	209.2	194.6	177.8	135.8	107.4	93.5	79.4	66.6	65.4	67.7	73.1	74.1	79	68.9	62.5
			139.0-275.4	153.0-285.3	155.3-275.2	149.9-250.6	141.5-223.2	110.5-167.0	89.6-127.9	80.1-106.9	69.2-90.5	56.7-77.0	53.6-78.3	52.9-84.5	54.1-94.5	51.7-100.0	53.1-110.4	44.4-99.5	38.9-92.6
	Mianning County	513433	100.7	103.9	106.7	102.5	95.3	85.4	93.7	81.7	74.7	71.7	66.4	58.3	50.9	46.1	38.1	34.3	31.7
			87.4-116.1	90.4-119.8	92.8-122.6	89.2-117.3	82.7-109.0	74.1-97.3	82.2-106.1	72.0-91.7	66.2-83.2	63.8-79.3	58.9-74.2	51.6-65.7	44.4-57.9	39.8-52.6	32.7-43.7	29.2-39.5	26.9-37.2
	Mianzhu City	510683	46.6	42.5	39.9	38.4	34.1	28.4	21.7	20.9	17.3	15.7	16.6	14.6	109.9	11.5	10.6	9.5	8.8
			41.1-53.4	37.5-48.5	35.0-45.7	33.5-44.2	29.7-39.1	24.7-32.4	18.9-24.8	18.3-23.6	15.2-19.4	13.9-17.6	14.7-18.6	12.8-16.4	104.2-117.8	10.0-13.0	9.1-12.0	8.2-10.9	7.6-10.2
	Mingshan District	511803	58.6	56.2	53.9	50	43.9	39.4	32.7	25.5	20.2	18.6	15.9	16.6	15.7	16.1	16.9	16.3	15.8
			51.7-67.0	49.7-64.2	47.3-61.7	43.6-57.5	38.2-50.3	34.3-45.1	28.5-37.3	22.3-28.8	17.8-22.6	16.4-20.8	14.1-17.8	14.6-18.6	13.6-18.0	14.2-18.2	14.8-19.1	14.2-18.4	13.7-18.1
	Miyi County	510421	101.1	99.6	100.7	86.2	76.2	77.2	71.9	53.6	49.1	46.9	42	43.6	40.4	36.1	31.8	27.1	24
			83.8-120.7	82.8-119.0	83.7-120.7	71.0-104.2	62.0-92.2	63.7-92.7	60.8-84.7	45.7-62.0	42.8-55.9	40.8-53.5	36.2-48.6	37.0-50.7	34.1-47.4	30.5-42.3	26.9-37.1	23.0-31.6	20.3-28.2
	Muchuan County	511129	62.5	62.2	60.6	57	54.6	50.5	39.9	34.2	29.7	30.1	26.2	29.3	26.4	26.4	22	18.7	15.9
			55.1-71.4	54.8-71.0	53.0-69.3	49.9-65.1	47.5-62.5	43.8-57.9	34.7-45.4	30.0-38.7	26.2-33.1	26.6-33.5	23.2-29.2	26.0-32.7	23.0-30.2	23.3-29.7	19.3-24.8	16.2-21.1	13.7-18.2
	Muli Zangzu Zizhixian	513422	223.8	217.7	211.9	193.7	166.8	138.8	106	90.5	65.8	66.3	60	58.4	54	57.6	47.9	43.1	38.6
			198.0-255.0	191.7-248.0	184.0-244.7	165.3-227.3	141.0-198.3	116.8-164.9	89.2-124.3	76.7-104.3	56.4-75.9	56.5-77.3	50.1-70.5	48.0-69.6	44.3-64.8	47.1-68.9	39.3-57.1	35.9-51.3	32.0-46.1
	Nanbu County	511321	84	76.1	71.9	63.7	63.6	59.7	59.4	55.9	52.6	43.7	36.8	32.1	26.8	21.8	21	18.9	17.7
			73.3-96.3	65.7-87.0	61.0-82.9	53.2-74.2	52.8-74.5	49.9-70.4	49.4-69.8	46.4-65.7	44.0-61.9	37.3-50.6	32.0-41.8	28.0-36.3	22.8-31.5	18.8-25.0	18.2-24.0	16.5-21.6	15.4-20.4
	Nanjiang County	511922	92.1	91.2	86.5	75.4	66.6	61.3	54	43.6	40.2	35.6	30.3	27	26.1	23.9	20.7	18.7	17.1
			76.8-109.4	76.2-108.8	72.8-102.4	63.4-88.3	56.6-77.7	52.6-70.6	46.7-61.6	38.3-49.2	35.7-44.7	31.7-39.4	26.9-33.7	23.9-30.2	22.6-30.0	20.9-26.9	17.9-23.6	16.2-21.3	14.7-19.8
	Nanxi District	511503	55.8	51.3	49.7	50.6	47.2	44.4	39.9	36.4	29	26.2	23.4	21.6	19.3	17.7	15.6	14.2	12.6
			47.9-65.0	44.2-59.4	42.9-57.3	43.9-58.1	40.6-54.2	38.1-50.9	34.3-45.6	31.6-41.2	25.5-32.7	23.0-29.2	20.6-26.0	19.0-24.2	16.8-22.2	15.6-20.0	13.7-17.7	12.4-16.1	10.9-14.5
	Naxi District	510503	50.8	48.9	45.4	37.2	33.9	34.4	30.4	27.9	22.7	21.8	19.6	16.8	14.6	14.6	12.2	11.4	10.5
			44.9-58.0	43.2-55.8	39.7-51.7	32.2-42.8	29.2-39.1	29.5-39.6	26.2-34.9	24.3-31.7	20.0-25.6	19.2-24.4	17.2-21.8	14.9-18.8	12.9-16.4	12.8-16.4	10.7-13.8	10.0-13.0	9.2-12.1
	Ningnan County	513427	86	76.4	71.7	59.3	51.9	43.3	39.5	33.1	32.3	32.5	32.3	33.4	44	41.3	36.1	32.9	29.9
			65.1-112.1	60.2-95.4	59.5-85.7	51.2-68.4	45.1-59.3	36.8-49.9	32.5-47.1	26.6-40.8	25.0-40.7	24.8-41.7	24.7-41.5	26.2-42.3	35.6-53.9	34.0-49.4	30.4-42.7	28.0-38.5	25.0-35.5
	Peng'an County	511323	71.8	65.5	58.1	51	52.8	55.6	51.8	57.3	57.9	52	40.8	34.8	27.2	21.1	18.8	16	13.6
			62.8-82.6	56.9-75.6	50.4-67.0	44.1-58.5	45.5-60.6	48.0-63.5	45.2-58.9	50.4-64.4	51.1-64.5	46.1-57.6	36.2-45.3	30.8-38.8	23.5-31.2	18.5-23.9	16.2-21.4	13.8-18.2	11.6-15.7

Province	County	County Code (2012)	Under-5 Mortality Rate (per 1000 births)																
			1996	1997	1998	1999	2000	2001	2002	2003	2004	2005	2006	2007	2008	2009	2010	2011	2012
	Pengshan County	511422	55.7	48.4	43.2	35.3	28.3	27.4	22.8	21.8	18.2	16.9	14.7	13	11.8	12.7	12.5	12.1	12.2
			42.6-72.1	38.5-60.5	36.1-52.0	30.1-41.4	23.9-33.4	22.6-32.9	18.3-28.2	17.1-27.4	13.8-23.3	12.8-21.8	11.2-19.1	10.0-16.5	9.4-14.6	10.5-15.1	10.7-14.4	10.5-13.8	10.5-14.0
	Pengxi County	510921	107.3	97.2	78.1	68.9	57.8	51.8	43.1	33.8	30.7	27.3	22.7	19.7	18.2	15.9	15.3	14.4	13.7
			81.7-137.6	77.0-120.1	65.2-93.0	59.4-80.0	50.1-66.5	44.3-60.0	35.6-51.2	27.1-41.7	24.2-38.5	21.0-34.6	17.6-28.9	15.6-24.8	14.6-22.1	13.5-18.8	13.1-17.6	12.4-16.4	11.7-15.9
	Pengzhou City	510182	40.6	36.9	33.6	29.9	26.7	29.8	29.9	31.9	31.5	29.8	27.6	23.8	25.3	19.8	18.6	16.5	14.5
			35.0-47.1	31.8-42.9	28.9-39.8	25.1-35.7	22.5-31.8	25.0-35.2	25.4-34.6	27.8-35.8	27.7-35.0	26.4-33.1	24.3-31.0	20.7-27.2	22.2-28.9	17.1-22.7	16.1-21.1	14.3-18.7	12.5-16.7
	Pi County	510124	58.9	53.4	49.8	42.1	37.2	32.3	28.7	28.8	27.7	26.2	25.6	26.6	24.5	23.2	18.8	16.3	13.8
			51.9-67.2	47.2-61.0	43.5-56.7	36.5-48.5	31.9-42.7	27.6-37.3	24.6-33.0	24.9-33.0	24.2-31.5	22.8-29.4	22.4-28.7	23.2-29.9	21.3-27.6	20.3-26.2	16.5-21.4	14.4-18.6	12.0-15.9
	Pingchang County	511923	83.7	75.7	72.2	58.1	51	43.9	37.2	30.4	29.1	25.6	25.5	25.5	25.1	22.7	20.3	18.1	16
			56.6-118.0	53.1-105.2	52.5-97.8	44.0-76.4	40.3-65.3	35.8-54.3	31.4-43.8	26.4-34.6	25.5-32.6	22.0-29.3	20.9-30.6	19.7-31.9	18.3-33.3	15.5-31.2	13.4-28.9	11.3-26.6	9.7-24.1
	Pingshan County	511529	95.3	80.8	75.1	68.2	59.3	51.7	43.3	34.1	28.3	24.5	20.5	19	17.7	15.9	14.1	12.4	11.2
			83.8-109.1	71.4-92.4	65.8-86.1	59.2-78.2	50.8-68.2	44.2-59.5	37.1-49.5	29.5-38.7	24.7-32.0	21.6-27.5	18.0-22.8	16.7-21.3	15.4-20.3	14.0-17.9	12.4-15.9	10.8-14.1	9.7-12.9
	Pingwu County	510727	99	92.7	92.1	85.7	78.2	69.7	59.6	49.6	43.8	35.8	32.6	30.4	61.2	24.7	23	20.1	17.8
			87.4-113.4	82.0-105.7	80.7-104.9	74.5-98.5	67.3-90.0	60.1-79.8	51.6-67.9	43.5-56.2	38.6-49.1	31.6-40.0	28.9-36.6	26.7-34.2	56.4-66.9	21.6-28.1	19.8-26.2	17.3-22.9	15.3-20.7
	Puge County	513428	199.8	199.2	199.4	209.3	197.1	200.4	189.9	155	118.5	101.9	82.4	66	61.3	55.2	48.1	41.7	37.8
			170.8-232.8	169.7-232.1	167.9-233.7	175.4-248.0	164.2-235.3	167.7-237.8	161.8-220.6	133.1-177.0	102.3-135.8	87.3-117.9	68.9-96.6	54.0-78.8	50.1-73.3	44.9-66.1	39.4-57.5	34.5-49.8	31.3-45.3
	Pujiang County	510131	62.3	57.8	55.5	49	41.9	44.9	47.5	45.7	45.5	38.9	36.2	27.7	23	19.1	18.9	15.7	13.4
			54.0-71.9	50.1-66.8	47.9-65.2	41.5-58.2	35.4-49.7	37.8-52.9	40.5-54.9	40.0-51.2	40.2-50.5	34.6-43.3	31.9-40.9	24.1-31.8	19.7-26.6	16.3-22.0	16.2-21.7	13.5-18.1	11.4-15.6
	Qianweixian	511123	82.6	75.4	73.5	66.7	62.9	58.7	51.1	40.8	36.2	33.1	28.7	24.5	23.4	21.6	18.9	16.5	14.6
			72.9-94.4	66.7-86.2	64.2-84.1	57.8-76.4	54.1-72.3	50.4-67.5	43.9-58.3	35.5-46.2	31.8-40.7	29.2-37.0	25.3-31.9	21.6-27.4	20.4-26.9	19.0-24.3	16.5-21.4	14.3-18.7	12.6-16.8
	Qingbaijiang District	510113	48.3	46.1	43.9	36.3	35.6	35.8	38.9	40.7	40.6	35.7	32.6	27	23.2	21.7	19.1	16.3	15.1
			42.6-55.3	40.5-52.6	38.0-50.6	30.9-42.2	30.2-41.3	30.4-41.5	32.8-45.4	34.4-47.0	34.7-46.6	30.9-40.5	28.5-36.7	23.7-30.3	20.3-26.0	19.1-24.4	16.9-21.6	14.3-18.5	13.1-17.3
	Qingchuan County	510822	89.2	86.5	84.5	79.9	72.9	66.1	57.8	47.4	38.3	29.4	24.2	20.1	110.2	16.1	16.9	16.5	16.2
			78.1-102.5	75.4-99.7	73.7-97.2	69.7-91.6	63.3-83.3	57.4-75.4	50.6-65.6	41.7-53.5	33.9-42.7	26.1-32.7	21.4-27.2	17.6-22.8	104.3-118.2	13.8-18.5	14.4-19.4	14.1-19.0	13.8-19.0
	Qingshen County	511425	54.7	51	46.6	40.2	33.6	37.5	35.2	30.4	26.2	19.6	14.9	12.5	13.4	14.1	15.1	14.3	14
			46.1-64.4	43.0-60.4	39.4-54.6	34.2-47.0	28.6-39.0	32.1-43.2	30.4-40.2	26.6-34.3	23.2-29.6	17.4-21.9	13.1-16.7	11.0-14.2	11.4-15.4	12.3-16.2	13.0-17.3	12.2-16.3	12.0-16.2
	Qingyang District	510105	26.8	24.9	22.5	19.5	17.9	18.8	20	20.8	19.8	18.2	18.2	15.4	12.6	11.8	10.6	9.9	8.6
			23.4-30.9	21.6-28.7	19.4-26.4	16.5-23.1	15.1-21.2	15.7-22.1	17.0-23.1	18.1-23.6	17.4-22.1	16.2-20.4	16.1-20.5	13.5-17.6	10.9-14.5	10.2-13.5	9.2-12.0	8.7-11.3	7.5-9.9
	Qionglai City	510183	51.4	49	46.8	43.7	42.5	45.3	42.6	39.9	36	31.7	28.6	24.6	22.4	20.9	19.3	16.8	14.5
			45.4-58.7	43.1-56.0	40.6-54.0	37.5-50.6	35.8-49.4	38.3-52.4	35.8-49.6	33.7-46.2	30.8-41.5	27.6-35.9	25.0-32.3	21.6-27.6	19.6-25.1	18.4-23.5	17.1-21.9	14.7-19.1	12.6-16.6
	Qu County	511725	99.5	90.2	86.9	75.6	72.7	65.7	58.9	55.7	51.3	52	49.7	42	31.7	25.9	21.7	18.5	17
			86.6-114.1	77.3-104.1	73.4-101.1	63.6-88.3	60.6-85.1	55.0-77.0	48.7-69.6	46.2-65.2	43.2-59.7	44.3-60.0	43.0-56.8	36.3-48.0	27.3-36.6	22.6-29.2	19.1-24.5	16.2-21.0	14.8-19.5
	Renhe District	510411	61.8	57.3	56.2	47.7	58.4	65.7	78	68.6	66	59.4	43.7	36.2	31.2	26.1	21	18.5	16.6
			52.9-72.1	48.8-67.1	47.7-65.5	40.5-55.6	49.9-68.0	56.7-75.8	67.7-89.1	60.3-77.3	58.4-73.2	52.6-65.7	38.8-48.5	32.1-40.3	27.4-35.0	22.9-29.5	18.1-23.8	16.0-21.1	14.2-19.2
	Renshou County	511421	64.8	60.3	58.9	53.3	44.6	38	28.8	26.4	22.7	18.9	15.8	13.4	13.4	13.8	14.9	15.5	15.9
			57.2-74.3	53.4-68.8	51.6-67.4	46.5-61.1	38.9-51.1	33.1-43.4	25.0-32.9	23.1-29.9	19.9-25.6	16.6-21.3	13.9-17.8	11.7-15.2	11.5-15.4	12.0-15.8	12.9-17.0	13.4-17.7	13.8-18.4
	Rong County	510321	47.4	45.5	41.4	38.2	35.4	31.4	28.9	23.8	20.5	19.1	17.8	16.8	18.2	19.4	18.5	17.3	16.3
			41.8-54.2	40.2-51.8	36.3-47.2	33.4-43.6	30.7-40.4	27.3-35.9	25.3-32.8	20.9-26.8	18.1-22.8	16.9-21.3	15.7-19.8	14.8-18.7	16.0-20.5	17.1-21.9	16.2-20.8	15.1-19.6	14.1-18.7
	Santai County	510722	61.1	58.1	56.1	47.7	42.6	36.5	30.9	26.6	24.6	21.5	21.6	20.7	21	20.6	20.5	18.3	16.3
			53.7-69.7	51.2-66.5	48.8-64.0	41.2-54.7	36.4-49.1	31.2-42.1	26.4-35.5	23.0-30.2	21.5-27.8	18.8-24.1	19.0-24.1	18.1-23.3	18.3-23.6	18.1-23.3	18.1-23.2	16.1-20.8	14.2-18.7
	Seertar County	513333	180.7	160.6	155.4	156.8	146.2	144.8	128.8	121.8	113.9	110.2	101.9	99.4	93.3	85.8	76.8	66.5	59.1
			143.2-224.6	124.4-204.7	118.2-199.7	120.2-202.5	111.7-190.4	110.1-188.0	98.8-165.2	94.9-153.3	90.2-141.5	87.8-135.2	80.6-125.2	78.2-121.6	73.7-113.5	68.4-104.0	62.2-91.6	54.6-79.9	48.7-70.9
	SeerxuuXian	513332	133.5	120.2	113.7	100.6	87.9	70.4	58.1	53	42.9	46.2	44.6	42.4	40.5	40.5	39.1	33.7	30.3
			95.0-178.3	89.8-157.1	88.6-144.6	81.7-123.6	72.6-105.2	59.5-82.5	49.8-66.7	45.9-60.3	37.2-48.9	39.5-53.6	36.7-53.1	33.7-52.2	31.3-51.7	29.8-53.3	27.2-53.0	22.4-47.4	19.4-43.7
	Shawan District	511111	42.3	40.5	39.8	36.8	29.8	28.4	21.9	16.8	14.7	16.8	17.8	19.1	19.8	16.9	14.1	11.8	10
			36.0-49.6	34.3-47.4	33.6-47.3	30.6-44.0	24.5-35.9	23.6-34.1	18.3-26.0	14.3-19.6	12.8-16.9	14.5-19.3	15.2-20.6	16.2-22.2	16.8-23.3	14.3-19.6	12.0-16.4	10.1-13.6	8.5-11.7
	Shehong County	510922	61.6	52.4	44	35.5	31.6	26.1	22.1	21.1	18.8	16.7	16.1	14.7	15.1	15.8	15.8	15.2	15.4
			52.1-72.3	44.2-61.4	37.0-52.1	29.6-42.5	26.2-37.9	21.8-31.0	18.9-26.0	18.0-24.1	16.5-21.2	14.7-18.9	14.0-18.4	12.6-16.9	12.8-17.7	13.6-18.3	13.6-18.1	13.2-17.5	13.2-17.8
	Shifang City	510682	43.8	40.3	38.8	32.5	31.9	29.3	26.5	24.2	21.5	18.7	18.8	16.8	73.3	16.2	16	14.4	13.2
			38.6-50.2	35.7-46.1	34.0-44.4	28.3-37.3	27.7-36.7	25.3-33.6	23.0-30.4	21.1-27.4	18.9-24.1	16.4-20.8	16.6-20.9	14.9-18.8	68.9-78.9	14.3-18.3	14.1-18.0	12.6-16.2	11.4-15.0
	Shimian County	511824	60.8	60.1	61.6	60	57.2	53	49.1	39.2	37.3	35.5	35	32.8	34.3	30.8	28	25.3	23.1
			51.2-71.6	50.8-70.8	51.9-73.0	50.0-71.8	47.5-68.4	44.3-62.8	41.9-57.4	33.8-44.8	32.8-42.0	31.2-40.0	30.5-39.8	28.1-37.6	29.2-40.0	26.4-35.6	24.1-32.2	21.8-29.0	19.7-26.7
	Shizhong District	511002	31.4	31.5	29.2	27.7	25.2	25.7	26.3	25	22.8	22.1	18.8	19	17.1	16.3	16	15.3	14.8
			19.7-48.1	20.3-47.5	19.4-42.9	19.3-39.5	18.2-34.4	19.5-33.9	21.1-32.5	21.0-29.2	20.0-25.9	19.2-25.2	15.6-22.3	15.0-23.3	13.0-22.2	11.7-21.7	10.8-22.3	9.9-21.9	9.3-21.8
	Shizhong District	511102	36.7	35.6	33.6	30.4	25.1	22	18.8	16.1	13.2	12.6	13.2	15.3	16.3	18.2	16.6	14.9	12.8
			32.2-42.0	31.2-40.9	29.2-39.3	26.0-35.9	21.1-29.6	18.5-25.8	16.0-21.6	14.0-18.3	11.7-14.8	11.2-14.1	11.6-14.9	13.3-17.6	14.0-19.1	15.8-20.8	14.5-18.8	13.0-16.8	11.1-14.7
	Shuangliu County	510122	53.5	48.7	49.7	39.7	35.2	35.1	31.3	26.3	25.8	23.7	21.8	20.4	18.1	17	15.9	14.2	12.9
			47.3-61.1	43.1-55.6	43.5-56.7	34.3-45.7	30.2-40.6	30.0-40.5	26.8-36.0	22.8-30.0	22.6-29.1	20.7-26.5	19.2-24.3	17.9-22.9	15.9-20.3	14.9-19.2	14.0-17.9	12.5-16.1	11.2-14.8
	Shunqing District	511302	41.6	36.4	31.7	25.4	26.1	30.3	31.2	31.8	30.2	27.2	22.2	19.7	16.9	14.1	10.9	9.5	8.4
			35.9-48.3	31.1-42.3	27.1-36.6	21.7-29.4	22.3-30.3	26.0-34.7	27.0-35.6	27.9-36.0	26.7-33.7	24.2-30.2	19.7-24.9	17.4-22.3	14.5-19.5	12.2-16.2	9.4-12.5	8.1-10.9	7.1-9.8
	Songpan County	513224	109.1	104.8	101.2	92.1	78.4	61.9	46.4	43.4	46.2	46.4	44.3	47.3	48.3	45.9	38.3	33.9	29.3
			92.7-128.0	88.4-123.1	84.6-120.2	76.0-110.8	64.2-94.6	50.8-75.2	38.4-55.5	36.6-51.0	39.9-53.2	39.8-53.4	37.8-51.5	39.9-55.4	40.6-56.8	38.7-53.8	32.4-44.6	28.9-39.2	24.9-34.3
	Tianquan County	511825	42.8	41.5	39.5	36	31.3	27.8	24.7	22.5	19.7	17.4	15.4	15.3	15	13.5	15	14.4	13.8
			36.2-50.2	35.1-48.7	33.5-46.6	30.2-43.0	26.2-37.2	23.3-32.8	21.1-28.7	19.6-25.4	17.3-22.0	15.4-19.5	13.6-17.5	13.2-17.5	12.8-17.6	11.6-15.5	12.9-17.1	12.5-16.4	11.9-15.8
	Tongchuan District	511702	30.4	29.9	30.1	25.6	24.4	34.3	37.4	29.5	26.5	22.8	16.7	14.5	14.7	15.6	12.8	12.5	12.2

Province	County	County Code (2012)	Under-5 Mortality Rate (per 1000 births)																
			1996	1997	1998	1999	2000	2001	2002	2003	2004	2005	2006	2007	2008	2009	2010	2011	2012
			24.3-37.4	24.1-37.2	24.2-37.6	20.2-32.5	19.1-30.9	26.9-43.0	29.9-46.1	24.1-35.9	22.0-31.6	18.9-27.3	13.6-20.2	11.6-17.7	11.9-18.0	12.5-19.0	10.3-15.5	10.3-15.1	10.1-14.7
	Tongjiang County	511921	68.1	66.8	66.9	59.2	56.5	59	48.4	40.1	37.3	33.2	29.9	26.9	24.9	21.6	18.1	15.7	13.7
			59.9-77.9	59.0-76.3	58.6-76.7	51.8-67.7	49.1-64.9	51.0-67.6	42.1-54.9	35.1-45.3	33.0-41.6	29.3-37.0	26.5-33.3	23.8-30.1	21.7-28.7	18.9-24.4	15.7-20.5	13.5-17.8	11.8-15.7
	Wangcang County	510821	107.2	97.6	92.7	86.6	74.4	64.5	47.1	35.5	28.3	23.8	21.1	22.8	27.9	21.4	18.7	16.6	15.2
			94.7-122.8	86.2-111.4	81.3-105.8	75.4-99.2	64.5-85.2	56.0-73.7	40.9-53.6	31.1-40.1	24.8-31.7	20.9-26.7	18.6-23.8	19.9-25.6	24.6-31.6	18.6-24.3	16.1-21.3	14.3-18.9	13.0-17.6
	Wanyuan City	511781	124.3	125.2	119.5	118.1	99.7	95.8	71	61.4	57.6	49.6	38.9	35	27.7	26.7	23	22.8	23.3
			108.9-142.7	109.7-143.3	103.7-139.0	101.0-138.7	84.4-117.8	81.5-113.2	60.8-82.5	52.8-69.8	50.3-65.3	43.1-56.6	33.3-45.1	29.3-41.2	23.1-33.0	22.2-31.7	19.1-27.1	19.2-26.7	19.6-27.6
	Weiyuan County	511024	46.1	48	43.1	42.9	41.8	39.7	34.2	29.6	23.3	19.9	18.4	16.9	15	15.1	14.4	13.3	12.6
			40.6-52.5	42.0-54.8	37.3-49.6	36.7-49.6	35.5-48.8	33.6-46.2	28.6-39.8	25.0-34.3	19.9-26.8	17.3-22.6	16.1-20.9	14.8-19.1	13.0-17.3	13.3-17.1	12.7-16.4	11.7-15.2	11.0-14.5
	Wenchuan County	513221	87	81.4	75	64.2	56	51.9	38.6	36.1	33	28.6	25.9	30.7	636.1	27.5	24.7	22	19.2
			76.0-99.7	70.9-93.7	64.4-87.7	54.5-76.2	47.0-67.1	43.4-61.8	32.5-45.4	30.6-41.7	28.5-37.8	24.7-33.0	22.0-30.2	25.8-36.1	607.1-681.1	23.0-32.5	20.7-29.0	18.6-25.7	16.2-22.7
	Wenjiang District	510115	54.5	48.3	47.4	36.3	31.1	32.7	31	29.2	30.9	29.5	27.1	22.9	19.9	15.4	13.9	12.4	10.9
			45.4-64.9	40.1-57.8	38.9-57.5	29.3-44.5	24.9-38.5	26.4-40.2	25.4-37.4	24.4-34.7	26.4-35.9	25.1-34.5	22.7-31.9	19.0-27.4	16.4-23.8	12.7-18.4	11.4-16.5	10.4-14.7	9.1-13.0
	Wuhou District	510107	33.2	29.3	27.5	24.5	20.3	22	19.2	20.1	19.8	18.7	18.5	17	15.3	14.8	13.7	13.1	11.7
			28.3-38.7	25.0-34.3	23.4-32.4	20.5-29.3	16.9-24.4	18.4-26.1	16.2-22.5	17.4-23.0	17.4-22.1	16.5-20.9	16.2-21.2	14.7-19.5	13.1-17.7	12.7-17.0	11.9-15.6	11.3-14.9	10.1-13.5
	Wusheng County	511622	114.8	105.3	92	79.8	69.1	61.2	58.8	60	60	57.3	52.8	43.7	34.4	26.9	21.4	17.4	14.6
			100.8-131.4	92.5-120.7	80.1-105.0	69.3-91.2	59.6-79.5	52.5-70.3	50.6-67.3	52.1-68.1	52.6-67.7	50.3-64.0	46.3-59.0	38.4-49.0	29.8-39.6	23.6-30.3	18.6-24.1	15.1-19.7	12.6-16.8
	Wutongqiao District	511112	59.2	53.9	51	42.4	29.2	22.6	21.3	18.1	15.9	18.1	17.8	17.3	16.4	14.5	12.7	10.8	9
			52.3-67.7	47.6-61.6	44.6-59.2	36.2-49.4	24.6-34.3	19.0-26.5	18.2-24.7	15.7-20.6	14.0-17.7	16.0-20.2	15.7-20.2	15.1-19.8	14.1-19.2	12.6-16.7	11.0-14.4	9.4-12.3	7.8-10.4
	Xi District	510403	50.3	50	47.1	41.5	40.7	48.5	44.4	43.1	38.1	33.4	24	19	17	13.4	11.7	10.3	9.1
			30.2-79.4	30.6-77.7	29.8-71.9	27.5-61.5	27.8-58.6	34.6-67.5	32.9-58.8	32.7-55.0	29.7-47.5	26.6-41.3	18.8-30.3	14.6-24.7	12.7-22.8	9.6-18.7	8.0-16.8	6.7-15.1	5.7-13.7
	County	513336	133.7	119.6	103.4	90	88.9	78.6	79	77.2	76.2	70.6	66.4	65.2	55	46.7	45.6	40.5	37.8
			113.2-156.9	100.7-140.5	86.6-123.3	74.2-108.0	73.2-106.9	65.5-94.0	67.0-92.7	66.9-88.0	67.0-85.7	62.4-79.5	57.9-75.6	56.6-74.9	47.1-63.6	40.1-53.8	39.4-52.3	35.0-46.4	32.4-43.8
	Xiaojin County	513227	124.2	104.5	92.2	86.1	88.8	79.1	78.6	73.7	64.4	63.6	61.3	55.3	52.7	48.2	43.2	40.4	36.6
			82.6-177.8	71.1-147.3	64.9-127.5	63.6-114.9	69.9-113.8	64.0-97.7	66.6-92.5	64.6-83.1	56.9-71.6	55.2-72.6	51.2-72.8	43.4-68.6	39.7-68.3	34.0-65.4	28.8-60.9	25.8-58.4	22.4-54.6
	Xichang City	513401	69.5	68.8	66.7	64.3	63.4	57.4	49.2	41	32.2	27.6	30.1	32.8	28.4	24.3	20.6	19.3	17.7
			57.9-82.7	57.6-81.9	55.3-79.9	52.9-77.6	52.1-76.5	47.0-69.2	40.7-58.3	34.3-48.1	27.3-37.7	23.2-32.8	24.8-36.1	26.5-39.6	22.8-34.4	19.4-29.6	16.6-24.9	15.7-23.3	14.5-21.3
	Xichong County	511325	84.9	80.7	77.3	72	67.9	68.8	64.1	62	58	50.3	44.4	35.1	26.5	19.9	17.6	15.4	13.6
			74.5-97.6	70.6-92.8	67.2-88.6	62.7-82.5	58.6-77.8	59.6-78.5	55.6-72.9	54.2-70.0	51.2-64.7	44.3-55.9	39.2-49.1	31.1-39.1	23.0-30.4	17.5-22.6	15.3-19.9	13.3-17.5	11.7-15.7
	Xide County	513432	171.8	158.2	150.5	142.6	145.1	142	128.5	114.4	103.5	99.7	88.1	79.9	70.8	58.8	50.2	44.7	40.1
			151.8-197.0	139.7-181.2	132.0-172.5	123.8-163.7	124.4-167.1	121.4-163.4	110.0-147.5	98.8-130.2	89.8-117.1	87.1-111.9	76.9-98.4	70.0-89.4	62.2-79.1	51.8-66.3	43.9-56.7	38.9-50.6	34.6-46.2
	Xindu District	510114	37.3	33.2	32.9	27.3	25.6	27.2	28.4	26.6	27.4	27.7	24.2	22.5	18.9	17.6	16.7	14.5	12.8
			32.2-43.2	28.7-38.6	28.2-38.8	23.1-32.6	21.5-30.4	22.9-32.1	24.1-33.0	23.1-30.2	24.2-30.5	24.6-30.8	21.3-27.4	19.7-25.9	16.4-21.8	15.2-20.2	14.4-18.9	12.7-16.5	11.0-14.7
	Xingwen County	511528	87.1	82	76.1	66.5	60.4	56.4	45.1	35.4	30.9	27.8	23.7	20.4	17.6	16.4	15	13.5	12.9
			65.8-112.8	64.5-102.0	62.9-91.2	56.5-77.6	51.7-69.5	48.0-65.3	37.5-53.1	28.6-43.4	24.5-38.5	21.9-35.2	18.7-29.8	16.2-25.2	14.4-21.4	14.0-19.2	13.0-17.1	11.8-15.3	11.2-14.9
	Xinjin County	510132	54.7	51.1	47.9	40.3	33.7	35.5	33.7	34.4	34.2	32.8	28.3	24.4	21.1	18.3	17.4	15	13.1
			47.3-63.3	44.1-59.3	41.2-56.5	33.9-47.9	28.3-40.1	30.0-41.9	28.7-39.2	29.9-39.2	30.2-38.2	29.1-36.7	24.7-32.3	20.9-28.1	17.9-24.4	15.6-21.1	14.9-20.0	12.9-17.2	11.2-15.3
	County	513329	222.7	205.5	181.3	183.9	130.9	99.5	93.3	84.9	75.7	81.7	75.8	71.8	68.4	66.2	65.2	56.4	49.2
			196.0-253.8	179.2-234.8	155.5-210.8	155.0-217.7	108.3-156.5	81.5-119.3	77.0-111.1	70.9-100.0	64.1-88.4	69.2-95.6	63.1-89.5	58.6-85.9	55.5-81.9	54.0-79.3	53.7-77.5	47.2-66.9	40.8-58.7
	Xuanhan County	511722	80	76.6	71.7	58.6	57.7	55.5	45.9	47.5	42.2	35.7	29.1	27.3	21.1	21.2	19.7	18.8	17.9
			70.5-91.4	67.6-87.4	62.7-81.8	50.7-67.4	49.6-66.6	47.6-63.9	39.5-52.5	41.2-53.9	37.1-47.5	31.4-39.8	25.6-32.3	24.1-30.6	18.3-24.2	18.7-23.8	17.2-22.3	16.4-21.3	15.4-20.5
	Xuyong County	510524	99	91.9	85.1	85.6	75.2	68.7	61.2	46.8	36.4	29.2	23	20.5	19.3	17.1	16.8	15.4	14.4
			87.4-113.4	80.4-105.0	73.5-98.0	73.3-99.1	64.1-87.1	58.3-78.8	52.2-70.3	40.4-53.6	31.7-41.1	25.8-32.9	20.4-25.9	18.0-22.9	16.9-21.7	14.9-19.2	14.6-19.0	13.4-17.5	12.4-16.6
	County	513325	204.4	175.4	148	127.7	131.3	97.4	82.1	85.3	60.6	60.2	59.1	56.9	56.1	56.8	54.9	49.3	44.6
			165.8-249.8	139.0-218.5	114.0-188.6	97.1-166.0	99.6-171.8	72.3-128.6	60.8-108.0	64.4-109.9	45.4-77.6	45.6-77.4	44.6-75.6	42.8-72.5	42.4-71.3	43.3-71.0	42.7-67.8	39.4-60.4	35.8-54.5
	Yanbian County	510422	85.5	79.6	75.6	69.1	72.9	74.6	66.1	61.7	56.3	48.3	41.3	43.1	40.9	40.5	38.7	33.7	30.7
			72.7-100.3	67.8-93.4	64.1-88.3	59.1-80.2	62.5-85.0	64.3-86.1	57.3-75.4	54.1-69.7	49.7-62.8	42.7-53.7	36.5-45.8	38.0-48.0	36.2-45.7	35.6-45.5	34.2-43.7	29.5-38.1	26.6-35.2
	Yanjiang District	512002	43	43.8	38.6	40	36	33.2	31.6	29	23.4	20.4	17.7	16.2	14.9	15.3	15.3	14.5	13.7
			37.3-49.9	37.9-50.4	33.3-44.5	34.5-46.5	30.7-41.8	28.3-38.6	26.7-36.7	24.5-33.5	20.0-26.9	17.8-23.1	15.4-20.0	14.2-18.3	12.9-17.1	13.4-17.3	13.5-17.4	12.7-16.5	11.9-15.7
	Yantan District	510311	55.4	51.4	51.9	50.3	47.4	45.2	44.2	38.5	33.6	25.5	25	18.8	17.1	16.1	15.2	13.6	12.2
			48.8-63.3	45.1-58.6	45.5-59.4	44.0-57.4	41.1-54.4	39.0-51.8	38.4-50.2	33.8-43.3	29.7-37.6	22.6-28.4	22.2-27.8	16.5-21.0	15.0-19.4	14.1-18.2	13.1-17.3	11.7-15.5	10.5-14.1
	Yanting County	510723	70	70.2	66.8	60.5	57	48.8	42.2	35.7	30.8	25.5	24.8	23	21.9	19.6	17	14.7	12.4
			61.7-79.9	61.2-80.2	56.9-77.3	51.1-70.6	47.6-66.4	40.9-56.9	35.1-49.6	30.0-41.7	26.2-35.6	22.0-29.2	21.6-28.3	20.0-26.0	18.9-25.3	17.2-22.2	15.0-19.3	12.9-16.7	10.8-14.3
	Yanyuan County	513423	179.3	173.3	173.5	159.9	149.2	121	101.3	92.3	72.9	67.9	53.1	45.4	39.1	35.5	29	26.9	25.3
			157.8-204.9	152.7-198.0	151.9-197.8	139.4-182.6	128.8-171.4	103.9-138.4	87.6-115.2	80.8-104.3	64.2-81.6	59.8-76.1	47.0-59.6	39.8-51.1	34.0-44.2	30.9-40.2	24.9-33.1	23.1-30.7	21.6-29.3
	Yibin County	511521	40	37.1	38.1	32.4	29.2	26.4	23.4	18.5	17.2	16.5	18.2	19.2	18.8	18.9	17.6	15.5	13.8
			35.3-45.8	32.8-42.3	33.2-44.1	27.7-37.7	24.5-34.3	22.2-30.8	19.8-26.9	16.0-20.9	15.0-19.3	14.6-18.6	15.9-20.6	16.7-22.2	16.1-22.1	16.3-21.5	15.4-20.0	13.5-17.6	12.0-15.9
	Yilong County	511324	113.7	98.1	90.4	88.6	81.7	83.5	80.1	85	81.1	72.7	66.6	54	38.4	26.9	20.2	16.5	13.2
			99.9-129.8	86.2-112.2	78.9-103.3	77.3-101.5	70.7-93.3	72.4-95.4	69.5-91.1	74.1-95.8	71.5-90.5	64.1-80.8	58.9-73.9	47.8-60.0	33.2-44.0	23.6-30.3	17.4-22.9	14.2-18.8	11.3-15.3
	Yingjing County	511822	57.6	51.9	50.2	41.1	38.1	36.3	35.1	29.2	28.1	24.5	23.4	21.5	20.9	20.2	19.5	17.8	15.4
			48.9-67.5	44.0-60.8	42.3-59.2	34.3-49.3	31.6-45.7	30.3-43.1	29.9-41.1	25.0-33.4	24.7-31.8	21.6-27.8	20.3-26.8	18.3-24.9	17.7-24.5	17.2-23.5	16.7-22.6	15.3-20.6	13.1-18.0
	Yingshan County	511322	112.3	101.3	85.3	75.9	71.4	62.8	60.5	57	54.3	47.3	41.5	39.9	34	29.1	25.9	22.8	19.6
			97.4-129.7	87.8-116.8	73.9-98.6	65.8-87.1	61.6-81.9	54.3-71.7	52.9-68.7	50.1-64.1	48.1-60.5	42.0-52.4	36.8-46.1	35.3-44.4	29.5-39.1	25.6-32.8	22.5-29.3	19.7-25.9	16.9-22.6
	Youxian District	510704	50.1	43.2	41.1	33.4	29.6	24.4	21.3	16.5	14	12.2	11.7	12.6	12	10.5	10.4	9.1	7.9
			38.2-65.0	34.4-54.1	34.3-49.5	28.5-39.2	25.0-34.9	20.1-29.4	17.1-26.4	12.9-21.1	10.7-18.1	9.2-16.0	8.8-15.4	9.7-16.1	9.5-14.8	8.6-12.6	8.8-12.1	7.8-10.5	6.7-9.2

Province	County	County Code (2012)	Under-5 Mortality Rate (per 1000 births)																
			1996	1997	1998	1999	2000	2001	2002	2003	2004	2005	2006	2007	2008	2009	2010	2011	2012
	Yuanba District	510811	56.5	55.3	56.7	57.5	56.3	62.2	61.6	56	47.4	38.2	28.6	24.7	32.8	18.3	17.4	15.9	14.7
			48.5-65.7	47.4-64.2	48.7-65.9	49.6-66.0	48.6-64.7	53.9-70.9	53.7-69.8	49.3-62.8	42.0-52.7	33.9-42.4	25.4-32.1	21.7-27.8	29.5-36.5	15.8-20.8	14.9-19.9	13.6-18.3	12.5-17.3
	Yucheng District	511802	30.1	29.5	28.8	28.2	27.1	27.4	25	21.6	18.9	17	14.7	14.7	15.6	15.3	15	14.6	13.5
			26.6-34.3	26.1-33.7	25.2-32.9	24.3-32.4	23.1-31.3	23.2-31.7	21.3-28.9	18.5-24.8	16.2-21.6	14.7-19.4	12.7-16.7	12.6-16.8	13.2-18.2	13.2-17.6	13.1-17.3	12.7-16.7	11.7-15.6
	Yuechi County	511621	82.6	75.9	65.8	61.6	52	48.8	52.6	57.4	55.8	50.9	45.1	37	26.8	20.3	17.4	14.9	13.2
			70.9-96.0	64.9-88.3	56.0-77.2	51.6-73.4	43.3-62.1	40.9-57.7	44.7-61.5	49.8-65.1	49.2-62.3	45.1-57.1	39.3-51.5	31.5-42.8	22.7-31.4	17.2-23.7	14.6-20.3	12.7-17.4	11.1-15.6
	Yuexi County	513434	107.7	104	103.8	88.5	75.6	57	51.4	42.8	40	42.2	43.2	39.6	35.8	33.5	29.1	26.9	24.8
			93.1-124.5	90.0-120.1	89.5-122.1	75.1-104.7	63.9-89.3	48.1-67.0	43.8-59.5	37.4-48.8	35.3-44.4	37.5-46.8	38.2-49.0	34.6-45.2	31.0-41.1	29.0-38.3	25.2-33.1	23.4-30.6	21.4-28.5
	Zamtang County	513230	194.7	175	163.6	148.4	130.9	98.9	91.6	87.5	91.2	94.5	102.2	112.3	116.2	113.9	118.8	111.5	104.4
			161.4-230.2	144.1-210.2	133.6-198.6	118.9-182.9	103.7-162.3	78.1-123.4	74.0-113.0	72.2-106.0	76.6-107.6	80.1-110.0	86.6-118.4	95.4-130.3	99.2-134.4	97.8-131.3	103.3-135.5	97.0-126.7	90.1-119.8
	Zhaojue County	513431	235.2	234.8	231.3	219	211.3	185.3	177.6	147.8	122.8	118.4	103.1	91.9	80.8	67.4	63	54.9	48.1
			207.1-268.6	207.2-268.4	203.1-263.8	191.5-250.7	183.1-242.2	160.1-212.3	153.3-202.8	128.5-166.8	107.8-138.0	104.0-132.0	90.7-115.2	81.2-102.8	71.4-90.5	59.3-75.7	55.4-71.0	48.0-62.1	41.7-55.2
	Zhongjiang County	510623	76	68.1	62.8	55.3	48.4	40.3	33.5	25.4	21.9	19.4	18.2	16.9	15.6	14.9	14	12.9	11.5
			66.5-87.0	59.0-78.2	53.2-73.0	46.5-64.5	40.4-56.6	33.7-47.0	27.6-39.1	21.4-29.6	18.7-25.4	16.8-22.0	15.9-20.6	14.8-19.0	13.7-17.6	13.1-16.8	12.3-15.8	11.3-14.6	10.0-13.3
	Ziliujing District	510302	30	24.5	22.7	18.2	13.4	10.9	9.5	9.1	9.5	10.2	10.5	9.8	10.9	11.1	9.8	9.1	8.7
			23.3-38.7	18.8-31.9	17.2-30.1	13.6-24.5	10.0-18.1	8.0-14.7	7.1-12.8	6.9-11.9	7.2-12.1	7.8-12.9	8.1-13.4	7.5-12.3	8.4-13.6	8.6-13.7	7.8-11.9	7.4-11.0	7.1-10.6
	Zitong County	510725	66.8	64.5	62.6	52.8	45.7	42.9	39.1	32.4	28.8	31.5	27.9	27	25.1	24.3	19.8	17.3	15.6
			58.7-76.4	56.5-74.1	54.5-73.1	45.2-61.9	38.7-53.9	36.2-50.3	33.5-45.1	28.3-36.7	25.4-32.1	28.0-35.4	24.5-31.8	23.2-30.9	21.3-29.4	20.8-28.0	17.0-22.6	14.9-19.8	13.4-18.1
	Zizhong County	511025	33.2	32.8	29.2	30	27.8	27	24.2	21.9	19.3	18.3	16.5	16.4	16.2	15.6	15.2	14.7	14.4
			29.3-38.0	29.0-37.5	25.5-33.4	26.0-34.5	23.8-32.1	23.0-31.1	20.7-27.9	18.8-25.1	16.9-21.9	15.9-20.6	14.4-18.5	14.3-18.6	14.0-18.8	13.7-17.7	13.3-17.2	12.9-16.8	12.5-16.5
	Zoigee County	513232	128.6	121.1	107.6	96.9	92.7	81.9	83.9	71.2	69	64.3	63.6	65.9	64	58.2	54.9	50	44.7
			110.8-149.1	104.3-140.3	92.7-127.0	82.0-114.6	78.3-109.3	68.6-95.8	71.3-96.8	61.8-80.5	60.4-76.8	57.1-71.9	56.3-71.7	58.0-75.4	55.7-73.5	50.4-66.2	48.0-62.3	43.8-56.8	38.8-51.2
Tianjin	Baodi District	120115	19.1	18.4	17.7	17.2	16.7	14.7	13.1	11.6	10.7	9.9	8.7	8.4	7.3	6.6	5.8	5.4	5
			16.2-22.3	15.6-21.6	15.0-20.7	14.6-20.0	14.4-19.3	12.7-16.7	11.5-14.7	10.4-12.9	9.8-11.7	9.1-10.7	8.0-9.5	7.6-9.2	6.5-8.1	5.9-7.3	5.2-6.6	4.8-6.1	4.4-5.7
	Beichen District	120113	15.8	15	14.4	13.5	12.2	10.8	9.5	9.6	9.9	9.5	10.8	10.1	11.9	11.2	11	10.6	10.3
			13.6-18.4	12.8-17.5	12.2-16.7	11.4-15.8	10.2-14.3	9.1-12.7	8.2-10.9	8.5-10.9	9.0-10.9	8.8-10.3	9.9-11.8	9.1-11.1	10.7-13.2	10.0-12.6	9.7-12.3	9.5-12.0	9.1-11.7
	Binhaixin District	120116	15.6	15.4	15.1	14.6	13.8	14.1	13.5	13	13	12	10.8	10.1	9.3	8.5	8.4	8	7.7
			13.4-18.1	13.2-17.9	12.9-17.5	12.5-16.9	11.8-15.8	12.3-16.2	11.9-15.2	11.6-14.5	11.8-14.3	10.9-13.0	9.8-11.7	9.0-11.0	8.3-10.2	7.6-9.4	7.5-9.3	7.1-8.9	6.8-8.8
	Dongli District	120110	17.8	17.8	17.8	16.6	15.6	15.3	14.1	12.8	11.6	11.2	9.9	9.4	8.1	6.8	7.3	7	6.9
			15.3-20.8	15.3-20.7	15.3-20.7	14.3-19.2	13.5-18.0	13.4-17.5	12.5-16.0	11.5-14.2	10.5-12.7	10.2-12.1	9.0-10.8	8.5-10.3	7.2-9.0	6.1-7.7	6.5-8.2	6.2-7.9	6.1-7.9
	Hebei District	120105	15.8	16.2	16	15.5	15.2	14.6	15	14.9	12.3	11.5	11.4	11.3	9.5	9.6	9.1	8.8	8.6
			13.4-18.8	13.7-19.1	13.5-18.9	12.9-18.4	12.7-18.0	12.1-17.2	12.8-17.4	13.1-17.1	11.0-13.6	10.5-12.6	10.3-12.5	10.1-12.6	8.3-10.7	8.3-10.8	7.9-10.3	7.7-10.0	7.5-9.8
	Hedong District	120102	13.9	14.2	13.9	13.4	12.4	13.3	12.8	12.7	11.1	9.8	9.5	8.6	7.9	7.4	7	6.9	6.6
			9.3-19.9	9.8-19.8	9.9-18.8	10.1-17.6	9.7-15.4	10.9-16.0	10.9-14.9	11.1-14.4	10.0-12.3	8.7-10.9	8.2-11.0	7.0-10.3	6.2-9.9	5.6-9.7	5.0-9.6	4.7-9.8	4.4-9.6
	Heping District	120101	16.2	16.3	15.7	15.6	12.1	13.7	13.4	13.1	13	13.6	11.9	11.4	10	8.3	6.9	6.7	6.2
			13.6-19.2	13.9-19.3	13.2-18.8	12.9-18.7	10.0-14.5	11.3-16.2	11.3-15.7	11.4-15.2	11.5-14.5	12.3-15.0	10.7-13.1	10.0-12.7	8.7-11.3	7.2-9.5	5.9-7.8	5.7-7.6	5.4-7.1
	Hexi District	120103	13.3	12.8	12.4	11.6	10.4	10.1	9.7	8.8	10.3	10.7	10.8	10.7	10.5	8.9	8.3	8.3	8
			11.4-15.5	10.9-14.9	10.5-14.4	9.8-13.6	8.7-12.2	8.5-11.8	8.4-11.2	7.7-9.9	9.4-11.3	9.9-11.6	9.9-11.7	9.6-11.7	9.4-11.6	8.0-9.9	7.3-9.2	7.4-9.3	7.1-9.1
	Hongqiao District	120106	12.3	12.4	11.5	10.8	11.4	10.4	10.7	11.7	11.6	11.5	11	10	9.1	8	6.9	7	6.8
			10.2-14.7	10.4-14.9	9.6-14.0	8.9-13.2	9.3-13.8	8.4-12.4	8.9-12.8	9.9-13.5	10.0-13.1	10.2-13.0	9.7-12.5	8.6-11.4	7.7-10.5	6.8-9.3	5.9-8.1	5.9-8.1	5.8-7.9
	Ji County	120225	17.9	17.2	16.2	16.2	15.8	13.7	13.6	11.5	11.1	10.8	10.2	10.6	10.8	11.9	12.5	12.3	12.4
			15.3-20.9	14.7-20.2	13.8-18.9	13.8-18.8	13.6-18.2	11.9-15.6	12.0-15.3	10.3-12.8	10.2-12.3	9.9-11.8	9.3-11.1	9.5-11.5	9.6-11.9	10.6-13.3	11.1-14.0	10.9-13.9	10.9-14.0
	Jinghai County	120223	17.3	16.7	16.8	15.7	15.6	14.6	12.7	12.3	10.8	10.1	9.7	9.1	8.6	8.6	8.6	8.2	7.9
			14.7-20.1	14.3-19.4	14.4-19.5	13.5-18.2	13.4-17.9	12.7-16.5	11.2-14.3	11.1-13.6	9.9-11.8	9.3-10.9	8.9-10.5	8.3-9.9	7.7-9.4	7.7-9.6	7.7-9.5	7.3-9.1	7.0-9.0
	Jinnan District	120112	17.7	16.7	16.8	16.2	15.6	14.7	13	11.9	11.6	11.1	10.2	10.4	9.2	7.9	7.9	7.3	6.9
			15.1-20.6	14.2-19.4	14.2-19.6	13.7-19.0	13.1-18.3	12.4-17.3	11.2-15.1	10.6-13.6	10.4-12.8	10.1-12.1	9.3-11.2	9.2-11.5	8.0-10.3	6.9-9.0	6.9-9.0	6.3-8.3	6.0-7.9
	Nankai District	120104	14.6	13.6	14.8	14.2	13.2	13.2	13.6	13	12.7	11.9	11.8	11.1	10.1	8.7	7.4	7	6.3
			12.2-17.4	11.4-16.2	12.5-17.7	11.7-17.0	10.9-15.8	10.9-15.6	11.6-15.8	11.4-14.9	11.4-14.1	10.8-12.9	10.7-12.9	9.9-12.4	8.9-11.4	7.6-9.9	6.4-8.4	6.1-7.9	5.5-7.3
	Ninghe County	120221	21.4	19.5	18.4	17.5	16.4	14	13.2	13.2	10.9	11.6	11.5	10.6	9.6	9.4	8.7	8.1	7.7
			18.3-25.0	16.7-22.7	15.6-21.5	14.9-20.6	13.9-19.4	11.8-16.4	11.5-15.3	11.7-15.0	9.9-12.0	10.7-12.5	10.6-12.4	9.6-11.6	8.5-10.6	8.2-10.5	7.6-9.8	7.1-9.2	6.7-8.7
	Wuqing District	120114	19.8	19.2	18.4	17.7	17	15.9	15.2	14.2	13.2	11.7	11.1	9.9	10.2	9.8	9.9	9.5	9
			16.7-23.4	16.1-22.7	15.4-21.9	14.8-20.9	14.3-19.8	13.6-18.4	13.1-17.5	12.4-16.2	11.7-14.8	10.6-12.9	10.1-12.2	8.8-10.9	9.0-11.4	8.6-10.9	8.8-11.2	8.4-10.8	7.9-10.3
	Xiqing District	120111	15.1	14.1	13.8	13.1	13.2	14.1	14.2	13.4	13	12.1	10	9	8.8	7.7	7.3	7.2	7.1
			12.7-18.1	11.8-16.8	11.6-16.5	10.9-15.8	10.8-15.8	11.6-16.9	11.9-16.7	11.5-15.4	11.4-14.5	10.7-13.4	8.9-11.2	7.8-10.2	7.5-10.1	6.6-8.9	6.2-8.5	6.1-8.3	6.1-8.3
Tibet	Amdo County	542425	136.8	121.9	119.1	124.2	142.5	113	109.4	87.8	63.5	55.9	50.9	42.5	45.6	48.5	45.4	42.5	40
			94.3-178.9	83.5-160.8	83.6-158.1	90.0-162.8	106.4-180.2	83.4-147.3	83.3-138.5	66.8-109.6	49.1-78.8	43.0-70.7	38.1-66.4	30.2-57.6	32.0-63.1	33.1-67.4	31.5-61.2	28.7-57.8	26.8-53.4
	Bainang County	542329	75	77.6	74.5	64.2	55.5	49.9	44.4	39.5	34	34.8	36.6	32.1	31.5	30.5	27.9	26.7	27.2
			53.5-97.9	57.3-98.1	56.3-92.8	49.8-80.1	43.1-69.6	39.4-62.2	35.6-54.6	32.5-47.7	28.8-39.9	29.5-40.4	30.1-43.2	25.6-38.8	24.4-39.0	23.2-38.4	21.3-34.5	19.9-33.2	20.1-33.5
	Banbar County	542133	68.9	81.5	79.6	81.5	71.7	72.5	68.8	72.7	66	60.9	58.5	47.1	43.4	42.1	41.1	37	37.2
			47.1-93.1	57.9-107.8	57.1-104.1	60.9-105.6	54.1-91.7	55.5-91.8	53.0-87.0	57.0-90.9	52.0-81.5	47.5-76.2	44.3-75.8	34.3-63.2	30.3-59.2	28.9-58.8	26.4-59.8	22.9-53.9	21.1-55.2
	Bangoin County	542428	74.7	82.8	80.6	80.1	66.3	72.1	89.5	71.9	60.4	58.5	52.7	44.9	55.6	58.9	48.2	43.6	42.9
			44.6-112.6	51.0-121.5	51.3-118.2	51.9-115.1	46.0-92.0	51.9-96.2	68.3-114.1	55.0-90.2	46.5-75.8	44.3-75.4	38.8-69.7	31.2-62.3	38.3-78.9	38.0-85.9	28.4-73.8	24.6-67.9	22.9-69.1
	Baqeen County	542429	115.5	141.8	148	156.4	131	99.6	86.1	61.1	56.5	53.9	62.3	53.5	49.2	49.2	49	46.2	42.3
			82.1-149.9	107.4-176.8	113.3-181.7	124.9-187.7	103.9-158.2	76.4-123.9	66.4-107.2	46.7-76.8	42.3-72.2	40.0-70.1	45.8-81.7	37.7-72.1	33.6-68.0	32.8-69.0	32.8-67.3	30.2-64.1	27.3-58.1
	Baxoi County	542127	91.7	83.8	91.5	87.3	91.5	91.1	96.1	105.1	111.3	100	84.2	77.5	78.9	72.9	72	68.1	67

Province	County	County Code (2012)	Under-5 Mortality Rate (per 1000 births)																
			1996	1997	1998	1999	2000	2001	2002	2003	2004	2005	2006	2007	2008	2009	2010	2011	2012
			71.7-111.3	66.7-101.5	72.4-111.9	68.7-108.5	71.0-115.4	70.9-115.1	75.6-120.6	83.8-129.9	90.4-134.9	81.6-120.5	68.0-102.2	62.1-95.8	61.6-98.2	57.3-90.2	57.1-88.3	54.4-81.3	52.8-79.1
	Biru County	542423	143.2	144.8	149.6	141.9	129.8	102.8	111.8	104.5	94.9	74.6	74	56	52.4	49.5	54.5	45.3	45
			107.4-178.7	112.1-175.8	117.7-180.4	114.5-169.8	105.6-153.9	83.4-123.1	93.7-131.0	88.3-119.9	81.5-109.0	61.4-88.5	59.7-89.5	43.1-70.4	39.1-67.3	35.3-65.0	38.9-70.3	31.3-59.8	30.8-59.3
	Bomi(Bowo) County	542625	74.3	83.8	87	73.8	65.7	66.7	53.6	40.1	33.8	33.9	40.5	40.5	41.9	41.4	48	45.9	45.6
			51.1-100.2	60.7-109.2	65.0-111.4	56.3-92.7	50.7-81.6	52.7-82.1	43.7-65.2	33.0-48.1	28.0-40.2	27.8-40.4	33.2-48.8	32.5-49.6	32.8-52.0	31.2-52.2	36.6-59.0	34.0-57.1	33.1-56.7
	Burang County	542521	146.6	181.1	187.7	192.4	166.1	153.3	139	104.2	112.6	131.7	124.1	95.4	101.5	88.1	80.9	84.4	85.6
			96.5-200.9	126.2-239.9	136.5-245.9	144.9-245.5	130.5-203.8	122.9-185.7	114.6-164.4	86.6-122.3	96.1-128.5	110.6-152.7	100.7-149.1	71.3-121.9	72.7-134.7	58.7-122.4	48.7-118.8	48.4-125.8	46.2-130.8
	Chagyab County	542126	73.5	84.5	82.9	92.2	82.1	88.8	94.1	81.4	76.4	74.4	60.3	50.9	51.6	54.2	49.6	43.6	42.9
			50.1-99.0	60.1-109.9	60.1-106.3	69.6-116.2	63.0-104.3	69.2-110.5	75.3-116.6	66.4-98.3	63.7-89.4	62.6-86.9	49.9-71.1	40.6-61.4	40.0-63.7	41.2-67.9	37.7-61.3	32.3-54.1	31.4-53.0
	Chanang County	542222	106.6	98.3	89.8	93.4	76.2	65.5	52.9	44.2	33.8	37.6	33.1	32.1	34.5	35.6	36.1	38.8	40.8
			75.9-138.9	71.9-125.6	66.9-114.4	72.4-116.1	59.4-93.8	52.3-80.4	43.5-63.6	36.8-52.3	28.5-39.9	31.3-44.5	27.1-39.8	25.7-39.5	26.8-43.1	26.6-44.9	27.3-44.7	28.6-48.4	29.6-50.7
	Chengguan District	540102	35.2	33.8	38.5	37	51.8	66.2	60.9	42.5	43	34.2	25.9	25.8	25.5	23.2	19.8	17.1	17.6
			23.4-49.1	22.8-46.7	26.6-53.0	26.3-50.8	37.8-69.2	50.5-85.2	47.9-75.9	34.1-52.2	35.4-51.2	27.5-42.0	20.0-33.2	19.0-34.2	18.2-34.6	16.0-32.2	13.8-26.8	11.7-23.7	11.9-23.7
	Comai County	542227	166.4	175	189.9	209.7	204.3	208.7	193.2	166.8	138.7	106.8	103.3	89.2	81.5	84.3	79.1	75.9	71.8
			128.4-203.1	137.9-213.0	150.8-233.5	165.9-264.1	159.3-259.1	159.9-264.4	148.3-245.8	130.0-209.9	110.3-169.5	87.0-128.1	84.2-124.6	71.3-107.9	64.2-100.0	65.1-104.0	61.9-96.0	58.6-91.8	54.8-86.1
	Cona County	542232	149.3	132.2	143.3	145.9	148.7	144.6	142.6	140.3	126.9	123.4	123	119.1	119.1	113.1	90.6	80.9	79.4
			113.9-183.0	103.3-160.3	113.7-171.7	119.2-173.3	121.2-176.6	118.9-169.9	120.2-164.2	121.6-159.1	110.9-142.6	107.6-139.7	106.6-141.9	101.1-139.6	97.9-141.8	89.7-137.5	70.6-108.8	60.4-98.4	58.5-97.3
	Coqeen County	542527	144.1	170.4	183.7	188.2	203.2	170.4	163.2	155	129.4	99.2	92.8	90.8	83.8	76.9	80.5	78.8	76.6
			104.8-182.7	131.7-207.2	143.8-220.9	152.6-222.7	168.6-236.3	136.6-203.9	131.6-192.4	126.5-181.7	104.1-153.5	77.4-122.1	70.7-116.9	67.0-116.6	60.4-109.9	53.6-102.8	56.6-104.1	53.8-103.5	52.3-100.1
	Dagzee County	540126	64.8	68.8	71.4	71.5	71.8	77	75.6	81.5	78.2	79.5	71.6	65.7	53.6	44.5	36	31.4	28.7
			38.2-99.6	41.7-104.6	45.2-105.9	47.4-102.3	51.0-97.6	58.4-99.4	59.9-93.0	68.3-95.8	67.4-90.0	66.9-94.3	57.5-87.5	50.0-84.3	38.4-70.8	29.6-61.7	21.7-52.9	17.8-47.1	15.1-44.9
	Damxung County	540122	113.3	90.3	98.8	93.7	93	88.6	90.7	76	71.5	70.3	71.5	67.7	70.8	62.6	60.5	54	50.5
			87.7-138.5	70.6-109.8	77.9-121.2	74.1-116.5	72.2-117.5	68.7-112.4	70.6-115.3	60.0-94.6	57.4-87.5	56.9-85.5	57.2-88.1	53.7-84.5	54.9-89.1	49.1-78.2	48.0-74.8	43.1-64.4	39.8-59.5
	Deengqeen County	542125	68.7	74.9	79.8	71	67.5	69.6	38.5	54.3	54.7	42.1	44.3	41.5	37.1	33.8	37.2	34.4	30.3
			45.9-94.8	52.5-101.2	58.6-103.9	53.8-90.4	53.1-83.1	56.3-84.0	31.9-45.9	45.9-62.8	46.6-62.7	35.0-49.9	35.0-54.5	30.9-53.4	26.1-50.1	22.4-46.4	22.6-53.4	20.1-50.8	16.5-46.7
	Dinggyee County	542332	148.3	137.8	136.3	108.6	113.9	115.7	103.6	92.3	90.3	105	97.6	97.7	100.1	91.4	76.5	66.9	65.5
			94.4-208.0	87.8-197.1	89.8-192.1	71.9-153.6	81.0-153.7	85.8-150.0	80.3-130.1	74.8-111.2	77.1-105.0	89.2-123.3	80.7-117.4	77.3-121.5	75.6-129.6	65.2-121.0	49.5-108.8	40.1-97.8	36.4-98.5
	Doilungdeeqeen County	540125	59.9	71.3	78.7	76.9	76.1	86.8	90	84.1	88.6	86.5	74	72.4	69.7	58.5	52.3	46.3	40.9
			40.6-81.9	49.8-95.9	56.0-103.9	56.3-100.6	57.2-97.3	65.8-110.2	68.7-113.9	65.4-105.1	69.5-109.8	66.7-108.5	55.7-96.1	52.8-96.5	49.1-96.3	40.4-81.7	33.8-76.3	28.6-67.4	23.1-61.0
	Gamba County	542338	165.9	154.7	147.8	140.5	167.6	205.1	201.4	200.7	178	159.8	125.7	143	143.9	140.4	125.8	110.7	100.3
			113.3-221.5	105.8-207.7	103.4-198.3	102.6-185.2	130.3-208.1	168.7-247.6	170.4-236.8	171.8-228.8	153.0-202.1	133.2-188.3	99.4-156.3	106.7-186.1	100.8-195.0	92.4-193.3	76.2-183.4	63.3-163.4	53.7-154.1
	Gar County	542523	121.8	94.2	96.8	86.4	88.7	101.9	86.3	75.7	74.4	55.8	46.1	38.2	38.7	35.6	35.6	38.4	42.3
			92.7-150.0	72.7-115.2	76.7-116.9	69.6-103.6	72.5-105.9	83.8-120.1	72.6-100.6	64.5-86.7	63.7-85.6	46.6-65.8	37.6-55.7	30.1-47.5	29.5-48.8	26.1-45.9	26.2-44.8	27.7-49.1	30.3-53.6
	Gee'gyai County	542525	190.2	234.1	236.8	264.6	303.3	262.9	228.7	211.2	184.2	151.6	140	130.3	117.9	101.8	82.2	76.8	73.4
			144.0-233.1	190.5-274.2	192.0-277.8	222.1-307.2	253.7-351.9	218.6-305.5	189.2-264.9	176.2-244.0	152.8-213.9	120.9-181.0	109.8-169.1	99.0-160.9	87.3-150.4	72.1-133.8	57.4-107.2	51.9-102.0	48.9-97.4
	Geerzee County	542526	203.4	248.7	256.5	257	259	164.8	190.6	185.3	151.3	111.8	101.8	96.4	85.3	78.6	77	70.5	73.2
			162.9-243.6	206.1-292.5	211.8-302.8	214.9-299.6	214.2-304.1	138.2-190.6	163.6-216.8	160.9-208.2	131.1-170.6	94.2-130.2	83.8-121.1	77.2-117.1	65.6-106.1	57.9-100.0	57.0-95.9	50.6-89.2	52.3-92.1
	Gongbo'gyamda County	542622	66.3	62.1	61.3	53.2	46.3	67.3	55.3	47.5	38.3	33.1	31.2	29.9	30.1	30.2	35.5	33.8	32.9
			40.7-98.8	38.4-93.5	37.9-91.2	32.7-80.2	28.2-70.1	43.1-98.9	36.0-80.9	30.6-68.8	24.4-55.4	21.0-48.6	20.0-46.1	19.0-44.4	19.0-44.3	18.9-44.9	22.8-51.0	20.9-49.3	20.5-46.9
	Gonggar County	542223	86	70.3	73	63.9	57	50.9	66.6	67.7	59.5	65.6	61.7	62	62.5	58.9	54.7	52.1	51.3
			59.7-115.8	52.1-91.2	56.9-90.4	51.8-76.9	45.3-69.9	38.8-65.0	48.7-90.3	47.5-94.5	41.2-85.5	45.6-93.9	44.1-86.4	46.5-82.5	49.2-78.4	48.1-70.8	45.7-64.0	42.5-60.6	39.8-61.0
	Gyaca County	542229	112.7	99.5	95.8	87.4	71.1	63.4	55.6	44.5	43.5	44.8	41.1	44.2	48.3	46.6	44.9	44.3	44.9
			71.2-160.2	62.9-143.1	62.1-135.7	58.3-122.2	50.1-96.7	47.3-82.4	44.3-68.3	37.2-51.8	37.7-49.2	38.3-51.6	33.0-50.5	33.3-57.7	34.5-65.3	31.0-64.7	27.1-66.1	25.9-65.9	24.1-69.2
	Gyangzee County	542323	63.8	51.7	54.1	45.5	36.7	37.2	31.3	28.6	22.3	21.2	20.4	22.6	22.5	26.4	26	25.9	25.9
			43.8-86.5	37.6-67.9	41.5-68.7	36.7-55.1	29.6-44.7	28.8-46.7	23.1-41.6	20.4-39.9	15.5-31.9	14.4-30.5	14.2-28.5	16.3-30.3	17.1-29.5	20.9-32.7	21.2-31.0	20.4-31.1	19.3-31.7
	Gyirong County	542335	191.7	208.3	208.7	195.5	171.5	180	146.3	130	135.8	135.7	99.3	92.8	93.3	85	88.5	82.1	79.5
			146.8-234.3	166.3-247.0	167.8-248.5	160.3-230.3	140.6-202.0	149.1-211.1	122.1-171.0	108.9-150.1	116.9-154.9	114.2-157.2	79.8-119.7	72.1-114.8	70.1-118.1	61.5-110.3	63.9-111.9	57.6-105.8	55.0-102.0
	Jiali(Lhari) County	542422	75.5	88.6	93.3	91.4	77.5	136.3	146.7	137.7	138.2	107.8	81.7	63	50.7	48.4	49.2	42.7	43.2
			45.3-113.4	55.4-130.5	60.0-133.0	61.0-127.8	54.6-104.1	106.2-169.4	121.7-173.7	119.0-156.5	120.1-154.5	90.7-126.6	64.2-102.2	44.4-84.1	33.0-71.5	29.7-70.9	27.1-76.3	22.2-67.5	21.4-72.3
	Jomda County	542122	148.4	117.5	109.2	85.3	74.8	67.5	61.8	66.9	65.1	65.7	63.5	62.1	53	45.5	67.1	58.3	54.2
			106.6-195.2	88.4-150.6	85.5-135.2	70.0-102.2	60.8-89.7	53.3-84.4	46.5-81.0	48.8-91.0	46.4-89.6	46.1-90.9	44.9-88.0	45.2-83.5	39.1-70.1	34.0-58.7	51.8-82.1	42.8-72.7	38.3-68.8
	Kangmar County	542331	112.8	96.6	93.2	77	72.4	69.8	70.8	74.2	59.2	54.2	59	59.1	55.7	58.1	59.7	56.2	56.5
			88.3-136.9	77.6-115.9	75.1-111.9	62.5-92.3	58.4-86.9	56.5-83.5	59.3-83.2	63.0-85.7	50.8-67.4	46.6-62.3	50.1-68.9	49.7-69.9	45.7-66.6	45.9-70.6	47.5-71.3	43.3-67.4	43.2-67.8
	Konjo County	542123	66	80.4	79.2	85.1	80.1	48.3	80.6	72.4	63.8	55.8	50.4	48.6	49.3	48.5	53.3	46.7	49
			45.0-89.5	58.3-105.0	59.2-101.9	65.9-105.1	63.3-97.8	38.1-59.4	67.2-95.5	60.8-84.3	53.6-74.9	45.3-67.3	39.5-62.7	36.8-62.0	36.0-64.3	34.2-65.0	37.4-69.9	31.8-62.5	33.4-65.0
	Lhazee County	542326	95.3	106.4	100.8	88.4	85	79.7	69.5	64.3	61.2	69.9	67.8	72.8	66.9	65.4	59.1	52.5	49.6
			56.1-145.3	63.7-160.2	61.2-151.2	53.9-133.5	54.8-123.0	53.6-111.8	49.2-92.9	49.2-81.4	49.4-74.4	58.5-81.5	55.9-80.1	56.9-90.4	49.9-86.4	46.6-86.5	37.9-83.2	32.3-74.8	28.1-73.6
	Lhorong County	542132	98.9	107.4	101.9	91.5	96.6	68.8	64.4	57.2	57.9	50	44.7	48.9	46.3	40.2	41.3	38.7	38.1
			75.0-123.4	85.5-129.6	82.2-122.2	75.0-109.4	79.7-114.4	55.6-83.2	52.3-77.7	45.9-69.8	45.4-71.5	38.0-63.8	32.9-58.7	35.1-65.6	32.3-63.2	26.8-56.4	27.6-56.7	25.2-53.7	24.7-52.2
	Lhozhag County	542228	119.4	110.7	129	130.2	109.4	91.8	82.2	79.2	55.3	51	48.4	55.4	58.9	61.9	69.5	67.3	65.9
			88.5-151.2	84.1-137.1	101.3-156.5	105.5-155.2	88.8-130.0	75.1-109.1	68.9-96.2	66.9-91.5	46.1-65.1	41.6-61.5	38.2-59.7	42.7-69.9	44.0-74.8	44.5-80.5	50.5-88.0	47.6-86.6	45.8-84.5
	Lhuunzee County	542231	129.7	123.3	119.1	102.6	92	78.4	58	59.2	63.3	65	68.4	70.6	66.3	54	49.9	47	47.8
			101.3-157.7	98.8-146.9	96.2-142.1	84.2-122.1	74.7-109.7	63.8-93.5	48.3-68.5	50.2-68.5	54.5-72.2	55.6-75.1	57.6-80.8	58.4-84.2	53.6-79.9	41.9-66.5	38.6-60.7	35.0-57.8	35.1-58.9
	Lhuunzhub County	540121	85.2	69.6	78.1	76	73.4	83.9	83.7	76.8	72.4	68.2	56	47.6	45.2	39.7	37.8	32.7	29.7
			61.4-110.0	51.5-88.1	59.4-97.2	59.2-94.7	57.1-91.6	66.6-104.3	66.8-102.3	63.0-92.0	60.7-84.8	57.8-79.3	46.2-66.2	38.1-57.6	35.1-55.8	30.1-49.7	28.9-46.6	24.4-40.4	21.9-36.5

Province	County	County Code (2012)	Under-5 Mortality Rate (per 1000 births)																
			1996	1997	1998	1999	2000	2001	2002	2003	2004	2005	2006	2007	2008	2009	2010	2011	2012
	Mainling County	542623	102.1	116.3	118.7	101.5	106.7	91.9	72.5	86.7	67.9	61.6	62.1	60	63.9	66.7	49.3	46.4	45.3
			71.0-135.2	85.2-149.0	87.8-150.8	76.8-128.4	83.0-132.0	71.1-114.4	56.7-89.9	70.0-103.6	55.0-81.4	48.5-75.3	48.9-76.9	46.2-75.6	48.1-81.4	48.7-86.3	35.2-63.7	32.3-60.9	31.1-59.3
	Maizhokunggar County	540127	77.9	70.2	73.1	75.4	72.5	78.1	72.6	70.9	70.6	62.2	56.7	54	50.2	47.4	43.7	39.4	33.1
			63.7-92.8	57.3-84.5	58.1-91.3	58.2-96.7	54.7-94.1	58.6-102.0	53.7-95.1	53.2-91.6	53.7-89.8	48.7-77.0	45.1-70.4	42.8-67.5	39.3-63.1	37.5-58.7	34.7-53.8	31.5-47.1	26.1-39.2
	Mangkam County	542129	122.1	115.9	112.3	115.8	109.4	110.5	100.3	62.9	54.5	52.2	47.7	47.9	62	59.4	59.7	53.6	53.5
			72.6-181.7	68.2-175.4	66.5-169.3	69.9-172.3	68.5-156.5	72.4-153.8	67.5-137.3	41.5-88.0	36.4-75.1	35.2-74.5	31.3-70.1	30.5-74.8	38.9-94.6	35.7-92.8	34.1-95.1	29.2-86.6	27.4-87.7
	Metog County	542624	106.8	121.4	131.5	125.1	126.7	96.7	73.5	67.3	64.4	87.2	85.9	82.5	81.9	75.8	57.2	54.9	54.3
			70.6-144.8	83.3-161.4	92.8-172.8	90.3-162.9	93.0-162.5	67.6-129.6	51.6-100.5	47.5-90.1	46.5-83.9	64.7-111.5	63.3-110.9	59.9-107.8	58.6-107.9	53.2-101.7	39.7-76.5	36.5-75.0	35.7-72.6
	Nagarzee County	542233	163.1	130.6	120.7	110	83.8	68.3	54.6	52.4	42.4	47	45.6	51	52.4	51.9	53.9	55.2	54
			129.7-196.0	105.6-155.0	98.2-143.2	90.9-129.3	68.7-99.4	56.2-80.6	45.9-64.1	44.6-60.3	35.8-49.4	39.5-55.6	37.6-54.5	41.2-61.8	41.2-64.3	39.5-64.8	41.3-65.7	41.0-67.7	39.7-66.5
	Nagqu County	542421	95.1	82.1	92.8	80.5	77.4	76.2	80.4	61.9	62.4	62.8	49.5	44.2	38.6	41.1	38.6	37.3	37.3
			71.7-119.0	63.2-101.1	72.9-113.3	64.1-99.0	60.8-95.2	60.9-93.5	65.0-97.7	51.1-74.2	53.1-72.5	53.3-72.9	40.7-58.7	34.9-53.7	29.7-48.6	31.2-52.4	29.3-47.9	27.9-46.1	27.6-45.6
	Namling County	542322	176.6	136.4	133.1	100.2	98.5	84	79.3	85.2	70.9	60.7	61.3	56.6	43.4	45.4	45.1	43.2	40.8
			122.4-233.6	93.5-184.6	94.9-177.6	73.0-132.7	75.8-123.0	67.2-101.7	66.1-92.9	72.6-97.2	61.1-80.2	50.7-71.1	48.3-75.7	41.6-73.7	29.5-59.5	28.7-64.5	25.6-67.4	23.3-66.3	20.9-65.6
	Nang County	542627	75.5	86.4	92.9	81	76.3	76	47.5	40.9	36.3	33.4	27.5	31.2	34.7	36.2	33.6	32.6	33.7
			43.0-119.5	50.2-133.0	56.0-139.8	49.1-123.1	47.6-110.8	49.7-106.2	31.8-66.1	28.9-55.9	25.9-48.2	23.7-46.2	19.0-39.8	20.7-47.3	22.0-52.5	22.1-55.7	19.0-54.0	17.5-53.0	17.0-55.5
	Needong County	542221	72.5	82	78.3	81.8	69	64.4	59.2	53.7	50.1	52	51.8	46	49.6	47	42.4	42.2	41.3
			45.1-105.6	53.0-117.5	53.0-109.8	58.3-109.2	51.8-88.7	50.4-79.6	48.1-70.7	45.7-62.3	42.4-58.3	42.5-63.3	40.4-65.5	34.4-59.9	35.7-66.3	32.3-64.1	26.9-61.6	25.1-62.0	23.2-61.9
	Ngamring County	542327	86.3	88.8	84.9	66.4	59.8	54.8	51.9	57.9	70.6	56.6	52	50.3	48.1	48.7	59.5	54.9	53.3
			57.1-118.3	61.0-119.4	58.5-114.8	46.2-90.2	42.5-81.3	39.3-74.0	38.2-68.6	43.2-74.5	53.8-88.0	42.6-72.4	38.3-68.1	36.2-66.6	33.7-65.1	33.3-67.0	41.2-78.6	36.8-74.0	35.4-71.2
	Nyainrong County	542424	125.8	143.1	144.9	148.8	150.6	132.6	124	117.4	93.9	93.4	86.5	79.6	57.5	52.8	56.9	45.7	46.9
			88.6-164.4	105.7-180.5	107.4-181.7	114.8-182.0	119.1-182.6	103.0-164.2	98.6-151.9	94.6-141.0	75.6-112.2	74.5-112.3	68.3-106.1	60.7-100.4	42.5-75.0	37.8-69.9	40.6-73.5	31.5-60.7	32.1-61.8
	Nyalam County	542336	177.2	191.7	215.5	198.2	170.2	156.5	119.1	139.8	141.1	141.7	138.1	126.2	114	119.8	111.2	100.2	91.4
			135.1-217.8	151.8-229.0	175.0-255.3	162.6-233.8	139.3-200.8	128.6-184.4	99.1-140.9	120.2-159.2	123.7-157.7	123.3-159.6	119.5-159.2	106.4-148.1	93.0-135.2	94.7-143.8	87.8-132.4	75.8-120.7	67.6-111.3
	Nyeemo County	540123	99.6	103.2	124.2	122	116.5	114	113	123.6	116	110.7	93	84.2	70	56.8	55.2	51	48.7
			72.2-127.9	78.9-128.4	97.0-151.4	97.9-147.8	93.5-141.2	92.5-137.7	93.3-134.8	103.5-144.7	98.2-133.9	93.7-128.5	78.7-108.6	70.7-99.4	56.8-84.5	44.3-69.8	42.6-66.9	38.2-62.3	36.0-59.7
	Nyima County	542430	103.3	115.1	114.5	98.8	87.7	82.3	76.1	67.4	59.8	71.3	67.1	63.6	61.2	56.4	52.1	49.4	43.4
			66.7-144.9	77.2-158.3	80.7-154.5	70.9-130.5	67.6-111.5	66.0-101.4	62.9-90.7	57.3-77.0	52.0-67.4	60.2-82.1	53.7-81.3	47.5-80.5	42.6-82.4	36.8-78.8	30.2-77.5	27.2-74.8	22.8-68.8
	Nyingchi County	542621	60	57.1	54.5	46.4	41.4	49.4	38	32	27.7	26.5	31.5	29.9	29.9	36.3	32	31.4	32.4
			35.3-92.6	34.3-87.4	33.9-81.6	28.7-69.7	26.7-59.7	33.9-67.7	27.5-50.3	24.1-41.4	21.4-34.9	20.2-34.5	23.5-42.1	21.0-41.6	19.8-43.0	23.0-53.4	18.8-49.1	17.3-48.9	16.9-52.5
	Qamdo County	542121	93.8	85.1	80.8	79.1	69.3	64.6	63.5	54.4	49.4	40.9	39.5	37.3	34.8	32	33.4	32.1	31.8
			56.5-139.1	51.8-127.8	51.1-119.9	51.7-113.7	48.1-95.2	47.5-85.5	49.4-79.1	44.8-64.7	42.5-56.9	35.1-47.6	32.3-47.9	28.8-47.1	25.4-45.7	21.8-43.9	20.7-48.1	19.0-46.9	17.5-47.7
	Qonggyai County	542225	87.9	72.9	69.6	66.4	63.1	65.5	66.1	70.3	65.8	61.2	58.4	49	46.7	37	35.1	32.5	31.9
			63.8-113.0	54.6-91.1	53.2-86.0	52.5-81.1	50.2-77.3	52.6-79.3	54.6-78.2	59.5-81.1	56.9-74.9	52.7-71.2	49.2-69.2	40.6-58.9	37.3-57.1	28.4-46.3	26.7-43.2	23.8-40.8	23.0-39.9
	Qusum County	542226	133.8	141.9	149.6	142	136.4	121.9	106.8	79.3	65.3	72.5	84.3	79.8	89.6	86.3	76	69.9	59.6
			101.2-165.4	112.3-170.6	120.1-177.7	117.0-166.8	112.5-160.9	100.7-142.4	90.4-123.4	68.0-90.4	55.7-75.0	61.8-84.1	70.5-98.7	65.4-95.9	71.1-108.9	65.8-106.8	58.0-93.2	51.5-86.9	43.1-74.5
	Quuxuu County	540124	64.7	70.7	77.2	77.8	69	77.1	89.4	86.6	99.7	117.8	96	81.3	67.8	52.4	39	32.8	29.9
			48.2-82.2	55.2-86.4	61.0-93.9	61.7-94.5	54.9-84.7	61.5-95.1	71.2-110.0	69.9-104.8	81.5-120.8	95.5-141.8	77.3-116.3	66.2-98.4	54.8-81.9	42.0-63.6	30.9-46.6	25.2-39.5	22.5-36.0
	Rinbung County	542330	104.9	97.9	84.4	69.6	55.1	44.2	44.8	42.1	45.9	51.7	52	47.7	54.7	51	45.5	41.5	38.8
			80.2-129.8	77.2-118.0	66.6-101.9	56.2-84.1	44.0-66.8	35.3-53.7	36.7-53.4	35.4-49.1	39.3-52.4	43.9-59.7	44.0-60.9	39.9-56.6	45.1-65.2	40.4-61.8	35.9-54.5	31.7-50.0	29.0-46.8
	Riwoqee County	542124	73.9	70.4	64.7	63	64	44.6	49.4	44	44.2	54.7	49.2	46.7	43.5	32.6	30.1	28.6	26.6
			47.2-104.4	46.3-98.1	42.8-91.0	43.3-86.7	45.2-86.7	31.5-61.3	36.4-65.5	32.5-56.9	33.3-56.2	41.3-69.8	36.6-64.0	34.1-61.4	30.9-58.7	22.3-45.2	20.5-41.0	19.0-39.6	17.4-36.2
	Rutog County	542524	160.8	186.1	192.6	197.7	218.9	204.5	196.2	180.4	147.7	94.4	89.1	87.2	81.5	77	85.4	84	85.6
			118.4-202.3	144.3-223.4	151.2-230.5	161.3-233.5	182.3-255.7	169.3-239.6	164.8-227.2	153.3-205.6	125.9-168.3	77.0-112.7	71.2-108.1	68.0-107.4	62.4-102.6	56.6-98.5	63.3-105.9	60.6-105.4	61.3-107.6
	Sa'gya County	542325	127.1	135.3	133.9	127.6	108.3	97.8	76.5	74.6	60.4	57.4	55.2	54.8	57.8	59.4	58.8	55.6	53.5
			101.9-152.1	109.8-162.2	107.4-166.9	99.2-161.9	82.8-140.1	72.7-128.5	55.8-101.5	54.4-98.6	44.8-78.2	43.7-73.4	42.3-70.5	42.0-70.9	44.1-74.7	45.7-75.3	45.9-74.7	44.6-68.0	42.6-63.9
	Saga County	542337	168.9	143.9	143.8	132.9	134	154.7	127.6	128.8	134.3	119.6	100.6	114.6	113.5	108.9	100.2	91.1	89.5
			108.8-232.9	91.8-204.9	92.9-202.4	87.3-185.4	92.8-180.1	113.7-200.2	96.5-161.8	102.6-155.9	112.1-155.0	98.0-142.3	78.7-125.1	86.6-148.8	81.1-150.9	73.4-149.4	62.1-144.7	52.6-133.6	48.5-138.0
	Sangri County	542224	114.4	101.9	106.1	87.1	80.5	68.2	59.4	47.7	46.4	39.4	38.7	36.2	40.4	36.8	40	37.5	37.9
			84.2-145.6	76.9-127.5	81.5-130.6	68.9-106.7	64.4-97.4	54.9-82.5	49.0-71.0	39.5-56.8	38.3-55.4	31.8-47.8	30.4-47.9	27.7-46.0	30.1-52.0	26.3-48.5	28.8-51.5	26.4-49.1	26.3-49.4
	Sog County	542427	104.3	147.6	77.4	122.8	112.4	106.7	104.4	103.5	108.8	96.4	90	85.2	70.2	44.2	46.1	40.9	43
			72.3-138.2	110.2-183.9	56.1-100.7	95.0-151.1	89.3-137.1	85.9-128.7	86.2-121.7	89.1-117.4	94.9-121.8	84.2-109.4	77.1-104.3	70.8-101.9	54.8-86.3	32.6-56.8	33.8-58.3	28.9-52.9	30.1-55.5
	Tingri County	542324	111.4	120.9	113.2	91.8	103.5	94.8	85.1	77.2	71	56.4	48.2	43.6	44.3	51.5	55.6	56.8	60
			70.7-157.6	80.2-167.5	77.4-156.0	64.1-124.8	78.8-131.4	75.4-116.2	70.2-101.1	65.6-88.3	61.6-81.1	46.9-66.4	38.2-59.7	31.8-57.1	30.5-60.6	33.8-72.6	32.5-82.5	32.1-84.9	32.4-93.5
	Xainza County	542426	91.1	106.9	118.3	104	100.5	159.5	138	145.4	142.3	127.7	105.7	100	74.6	59.1	63	55.1	58.7
			54.2-137.1	66.2-157.5	75.7-168.5	67.7-148.2	68.8-136.8	121.9-200.7	109.3-169.6	122.0-169.9	122.7-160.9	105.7-149.5	81.9-130.4	73.0-131.5	50.5-103.3	37.0-86.2	36.6-95.2	29.7-86.1	30.1-95.5
	Xaitongmoin County	542328	117.2	135.4	124.3	104.9	91.1	74.5	60.5	56.3	50	42.5	42.9	42.5	41.4	40.2	38.3	34.5	33.8
			82.4-157.5	98.6-177.3	92.3-159.7	80.3-133.7	69.7-117.0	56.2-98.8	44.0-81.2	40.2-76.3	35.1-69.4	29.8-59.5	30.9-59.3	31.2-57.3	31.7-54.0	32.3-49.6	31.4-46.4	28.2-40.2	26.6-40.2
	Xigazee City	542301	117.1	90.3	87.6	67.8	56.2	51.1	45.2	41	37.7	34.3	26.6	24	21.5	20.5	17.7	17.8	17.8
			82.3-157.4	65.1-119.2	64.9-112.9	51.6-86.5	43.6-71.7	38.7-66.7	33.5-59.8	29.8-55.2	26.9-51.7	24.6-47.1	19.3-36.0	17.7-32.0	16.5-28.1	16.2-25.7	14.2-21.5	13.6-21.8	12.9-22.1
	Yadong(Chomo) County	542334	82.2	88.7	96.1	83.4	69	66.9	53.7	58.6	46.2	50.1	50	58	62	69.5	69.9	66	65.2
			56.6-109.6	64.5-117.3	71.9-123.5	63.8-103.7	54.6-83.6	53.8-80.7	43.9-64.1	49.0-68.8	38.6-54.3	41.0-60.2	39.6-62.3	44.1-74.5	44.8-81.2	48.5-92.2	45.3-97.6	41.0-93.3	37.5-96.0
	Zanda County	542522	186.2	221.7	233.3	263.8	246	212.8	189	137	101.8	85.6	65.9	65.2	58.3	51.1	50.3	50.2	52.9
			140.9-229.4	177.8-262.9	189.5-276.2	219.4-310.0	203.1-289.0	176.5-248.6	159.5-216.3	118.5-154.8	88.3-115.8	71.4-99.8	53.3-79.7	51.3-80.6	44.0-73.9	36.8-66.6	36.0-64.6	35.1-65.7	36.5-68.6
	Zayuu County	542626	71.5	83.7	79.8	73.4	67.3	63.9	57.5	50.1	38.7	31.6	27	24.1	24.6	27.4	31.4	29.9	30.1

Province	County	County Code (2012)	Under-5 Mortality Rate (per 1000 births)																
			1996	1997	1998	1999	2000	2001	2002	2003	2004	2005	2006	2007	2008	2009	2010	2011	2012
			50.0-94.6	61.6-106.4	59.6-100.2	57.0-91.6	52.6-83.2	50.9-77.6	47.1-69.4	42.2-58.7	33.2-44.6	26.3-36.8	21.6-33.1	18.4-30.8	18.1-32.4	19.5-36.7	22.6-41.1	21.0-39.4	21.0-39.1
	Zhongba County	542333	167.5	178.7	175.9	216.3	205.7	184.4	145.9	172.4	164.1	161.3	138.4	126.9	110.2	99.9	88.6	76.2	76.2
			111.7-226.6	123.7-239.8	123.2-235.0	162.9-276.2	162.9-253.6	147.7-222.7	119.0-172.5	146.5-198.7	139.6-189.2	134.8-191.4	111.8-168.2	98.2-160.3	81.0-142.7	69.2-135.0	55.6-127.0	45.3-111.5	42.0-113.8
	Zogang County	542128	136.8	129.4	134.4	136.8	141.6	133	117.9	111.7	83.2	71.3	65.1	60.6	55.3	53.3	48.3	41	38.4
			104.4-169.0	100.4-158.1	104.8-165.2	108.1-168.9	111.3-177.3	104.8-166.8	93.7-146.1	90.1-136.1	69.1-99.4	59.0-84.2	52.9-77.5	48.0-73.7	42.8-68.3	40.5-66.3	37.0-59.6	30.8-50.2	28.6-46.8
Xinjiang	Akqi County	653023	114.5	101.2	93.3	88	84.3	79.5	83.3	71.4	76.5	80.2	85.2	82.9	80.1	76.1	70.9	66.8	62.3
			82.9-151.9	75.0-133.3	71.3-121.3	69.9-110.9	68.9-102.9	66.3-94.0	71.9-95.3	62.6-79.8	67.4-85.0	70.0-91.0	72.0-100.5	67.6-100.9	62.7-99.6	56.7-97.5	50.9-93.3	46.7-90.1	42.2-86.5
	Aksu City	652901	70.2	68.5	60.5	68	67.3	72.3	76	75.1	62.2	52.1	40.9	35.2	31.6	28.3	27.2	26.7	24.8
			61.8-79.6	59.6-78.6	51.6-69.8	56.9-79.8	55.8-79.0	60.2-84.6	63.0-89.6	62.5-88.0	52.8-71.8	45.1-59.1	35.9-46.2	30.7-39.6	27.6-35.5	24.6-31.9	23.6-30.8	23.0-30.2	21.2-28.5
	Akto County	653022	125.1	98.8	97.1	92.7	91.5	91.8	83.6	74.7	72.7	65.1	62.4	62.4	61.2	59.5	60.3	60.7	59.7
			91.3-164.9	73.8-128.9	75.4-124.1	73.7-115.8	75.1-111.4	77.8-107.8	72.4-95.4	66.0-83.3	64.2-80.7	56.5-74.3	52.7-73.6	51.0-75.2	48.0-75.8	45.4-75.8	43.9-78.7	42.9-81.2	40.8-81.7
	Altay City	654301	69.2	59.6	52.7	52	43.9	37.5	35.9	32.4	27.2	24.2	27.7	29.9	32.8	35.9	36	34.4	31.9
			47.9-96.2	41.9-81.5	38.0-70.9	39.0-68.1	34.0-56.6	30.0-46.3	29.4-43.2	27.2-37.8	23.3-31.4	20.4-28.8	22.9-33.4	24.1-37.3	25.5-42.3	26.9-47.5	25.8-48.9	23.9-47.5	21.3-44.9
	Artux City	653001	157.6	140.8	120.9	77.2	104.1	92.1	81.3	74.8	69	59.8	59.8	55.2	56.2	52.4	48.4	48.4	45.8
			138.8-180.2	123.4-161.6	105.1-138.9	66.2-89.7	88.6-120.1	78.2-107.0	68.9-93.5	63.7-85.5	59.0-79.5	50.7-69.9	50.2-70.2	46.6-64.8	47.7-65.5	44.5-61.2	41.5-56.3	41.9-55.6	39.5-52.5
	Awat County	652928	80.5	85.8	77.6	74.7	64	59.3	43.9	45.7	56.7	54.5	53.2	46.3	40	34.3	30.6	29.4	28
			70.2-92.2	74.5-98.2	67.4-89.7	64.3-86.3	54.9-73.8	50.4-68.3	38.1-50.1	40.0-51.2	50.1-62.8	48.3-60.6	47.3-60.0	40.3-52.9	34.5-45.9	29.4-39.4	26.1-35.3	25.1-34.0	23.5-32.8
	Bachu County	653130	70.3	62.2	59.3	55	57.5	54	58.6	62.4	65.8	69.2	60.2	55.1	50.5	46.5	40.2	39.3	36.6
			60.2-81.7	53.1-72.3	50.7-69.7	47.0-64.5	48.4-67.0	45.6-62.6	50.3-67.3	54.5-70.1	58.1-72.8	61.4-76.7	53.5-67.9	48.4-62.5	44.1-57.2	40.4-52.8	34.7-45.9	33.9-44.9	31.0-42.4
	Baicheng County	652926	110.2	112.2	99.6	117.4	96.3	81.1	73.6	65.6	53.1	51.8	49.5	45.9	34.7	29.7	26.9	25.9	24
			96.4-125.9	97.7-128.6	86.2-114.1	101.3-135.1	82.7-110.5	69.8-93.2	64.0-84.3	57.4-74.1	46.7-59.1	45.7-57.7	43.4-55.8	39.8-52.5	29.7-40.4	25.1-34.7	22.6-31.5	21.7-30.5	19.8-28.5
	Baijiantan District	650204	33.7	33.3	30.6	27.5	23.6	20.1	19	17.3	17	16.9	16.7	17.8	15.8	15.1	13.8	13.4	12.6
			22.7-48.6	22.8-47.0	21.6-42.1	20.3-36.9	18.0-30.8	16.0-25.3	15.6-22.8	14.7-20.0	15.0-19.1	14.7-19.2	14.3-19.6	14.6-21.6	12.4-19.7	11.4-19.5	10.0-18.4	9.3-18.4	8.5-17.6
	Barkol Kazak Zizhixian	652222	51.3	44.7	41	36.7	32.1	31.8	33.1	29.8	29.7	29.9	29.9	28.2	28.8	30.9	32.2	30.1	27.1
			44.2-59.6	38.3-51.5	35.1-47.8	31.4-42.9	27.1-37.5	27.1-37.1	28.7-38.1	26.0-33.7	26.2-33.3	26.3-33.7	25.9-34.4	24.0-32.7	24.2-33.6	25.9-36.1	27.0-37.8	25.2-35.5	22.5-32.0
	Bohu(Bagrax) County	652829	47.2	43	38.9	39.7	35.5	32.5	30.4	25.2	23.9	21.5	20.3	19.6	20.2	20.8	22.9	22.6	22
			33.3-64.6	31.1-58.2	29.1-51.8	30.8-51.0	28.4-44.1	26.7-39.5	25.8-35.4	21.9-28.6	21.0-27.0	18.6-25.0	16.9-24.5	15.7-24.2	15.4-25.6	15.3-27.2	16.3-30.7	15.5-31.1	14.6-31.2
	Bole City	652701	51.1	43.2	40	30.2	25	20.5	21.1	16.8	17.4	18.1	16.9	17.4	18.5	19.4	20	19.9	20.1
			39.5-65.1	34.7-53.0	33.6-47.4	25.6-35.1	21.0-29.2	16.9-24.7	16.8-25.8	13.2-21.0	13.7-22.1	14.1-23.2	13.2-21.4	13.9-21.6	15.3-22.4	16.6-22.6	17.5-23.0	17.5-22.5	17.3-23.0
	Burqin County	654321	99.4	90	81.5	77	68.7	56.1	45.4	42.6	33.6	29.7	32.2	31.9	31.4	36	32.5	31.6	31.7
			82.9-117.5	75.0-106.6	67.9-96.9	64.4-91.5	56.8-81.8	46.8-66.7	38.2-53.0	36.7-49.2	29.2-38.3	25.7-34.0	27.6-37.4	26.9-37.4	26.5-37.0	30.1-42.2	27.1-38.3	26.4-37.4	26.2-37.7
	Changji City	652301	30.9	30	27	23.9	22.7	21.5	22.1	20.6	21.9	23	20.2	18.7	18.1	17.3	15.6	14.6	13
			25.8-36.9	25.0-35.6	22.5-32.3	20.0-28.6	18.8-27.0	18.0-25.4	18.9-25.8	17.9-23.7	19.3-24.6	20.2-25.8	17.6-23.0	16.1-21.6	15.4-21.1	14.7-20.2	13.1-18.2	12.2-17.2	10.8-15.4
	Dabancheng District	650107	33.7	39.5	39.3	31.5	29.2	27.3	27.8	30.8	29.6	27	25.9	25.1	23.5	23.5	20.2	19.2	18.4
			21.6-50.7	25.9-58.4	26.3-56.0	21.9-44.3	20.7-39.9	20.0-36.3	20.9-35.9	23.7-38.8	23.3-37.1	21.2-34.2	20.0-33.3	19.0-33.1	17.4-32.1	16.9-33.1	14.1-28.8	12.9-27.7	12.0-26.8
	Dushanzi District	650202	33.7	33.3	30.6	27.5	23.6	20.1	19	17.3	17	16.9	16.7	17.8	15.8	15.1	13.8	13.4	12.6
			22.7-48.6	22.8-47.0	21.6-42.1	20.3-36.9	18.0-30.8	16.0-25.3	15.6-22.8	14.7-20.0	15.0-19.1	14.7-19.2	14.3-19.6	14.6-21.6	12.4-19.7	11.4-19.5	10.0-18.4	9.3-18.4	8.5-17.6
	Emin County	654221	77.2	76.4	72.7	73.9	78.5	69.7	63.3	43	41.8	34.6	32.4	29.8	29.8	27.7	27	25.4	24.7
			67.6-88.2	66.3-87.8	62.9-83.4	63.5-84.9	67.1-90.3	59.6-79.9	54.7-72.6	37.6-48.7	36.7-46.8	30.5-38.6	28.5-36.4	25.9-34.0	25.7-34.1	23.5-31.9	22.9-31.1	21.5-29.4	20.6-29.0
	County	654323	62.9	54.3	50.5	45.2	40.4	40.4	42.1	40	40.2	37.6	35.1	35.6	35.6	33.5	33.8	33.1	32.7
			41.2-92.0	36.0-78.7	34.4-71.2	31.7-62.6	29.5-54.5	30.6-52.4	33.1-52.7	32.4-48.1	33.7-47.5	31.7-44.1	29.2-41.9	29.1-43.5	28.2-44.9	25.6-43.6	24.6-45.0	23.4-45.0	22.3-45.4
	Fukang City	652302	58.3	49.1	39.7	32.8	28.4	28.1	31.6	32.1	32.2	30.9	29.8	31.8	26.5	25.4	23.7	21.5	19.1
			50.9-66.5	42.7-56.2	34.3-46.1	28.1-38.2	24.0-32.9	23.9-32.5	27.3-36.2	27.9-36.1	28.4-35.6	27.4-34.4	26.3-33.6	27.9-36.3	23.1-30.0	22.1-28.9	20.6-27.0	18.6-24.5	16.3-22.1
	Fuyun County	654322	81.6	75.2	69.1	46.5	40.1	41.8	52.6	51.3	54.6	52.5	47	44	41.5	38	35.8	34.2	31.9
			70.2-94.6	64.3-88.0	58.6-80.6	39.0-55.2	33.4-47.7	34.9-49.5	44.7-60.7	44.5-58.0	47.8-61.5	46.0-59.5	41.0-53.7	38.3-50.4	36.2-47.3	33.1-43.1	31.1-40.9	29.6-39.2	27.4-36.7
	County	654024	107.2	101.6	102.4	110.8	91.6	85.8	79.8	71.4	69.9	62.4	60.6	57.5	54.1	48.4	47.9	43.6	40.7
			74.7-147.4	72.3-137.4	74.9-137.0	84.5-143.8	72.4-115.5	70.0-104.4	66.8-94.1	61.4-81.5	61.2-78.6	53.6-71.9	51.1-72.3	46.4-71.3	41.9-69.5	36.2-63.7	34.1-64.8	29.9-60.4	27.0-57.7
	Habahe(Kaba) County	654324	86.4	82.2	65.5	53.1	46.8	47.6	40.9	40.6	38.2	37.4	34.5	32.3	31.5	31.9	35.8	33.5	32.6
			61.1-117.1	59.2-110.3	48.6-86.5	41.1-68.4	37.5-58.0	39.3-57.2	34.9-47.3	35.6-45.3	33.7-42.4	32.6-42.1	29.0-40.6	26.4-39.4	24.5-39.3	23.7-41.1	25.5-47.4	23.3-45.4	22.0-45.3
	Hami(Kumul) City	652201	38.2	32.8	32.2	29.9	25.9	22.6	23.8	21.9	21.3	22.2	23.4	24.8	24.7	24.1	21.4	20.5	19.7
			32.9-44.2	28.3-37.9	27.6-37.7	25.6-35.0	21.9-30.2	19.1-26.2	20.5-27.5	19.1-24.7	18.8-23.5	19.6-24.6	20.8-26.6	21.7-28.2	21.4-28.0	21.0-27.3	18.5-24.3	17.7-23.4	16.7-22.7
	Hejing County	652827	100.3	82	80.2	83.3	77.7	63	70.3	62.6	49.8	44.1	41.4	35.2	31.6	31.3	30.8	29.7	28.2
			83.2-119.9	67.4-98.7	65.8-97.2	68.1-101.3	63.0-94.7	50.8-77.1	56.9-84.9	51.5-75.3	40.8-59.7	35.9-53.5	33.3-50.7	27.7-43.5	24.8-39.3	24.4-38.8	24.1-38.0	23.4-36.7	22.2-34.9
	Zizhixian	654226	78.7	73.9	65	61.9	55.2	51.3	50.7	44.7	40.2	38.2	37.4	33.4	31.2	29.1	25.8	24.4	21.7
			68.1-91.0	63.8-84.9	55.9-75.5	53.1-72.1	47.1-63.9	43.7-59.5	44.2-58.1	39.3-50.3	35.6-44.7	33.8-42.8	32.6-42.7	28.7-38.5	26.4-36.4	24.6-33.9	21.6-30.3	20.4-28.8	17.9-25.8
	Hotan City	653201	97.1	98.9	89.2	95.3	81.8	72.4	68.2	60.4	47.1	44	33.3	28.3	26.6	23.6	23.1	22.1	22
			85.0-110.7	85.4-113.7	76.9-102.6	81.3-109.8	69.6-94.3	61.9-83.2	58.6-78.4	52.6-68.5	41.4-52.7	38.7-49.2	29.2-37.6	24.4-32.3	22.7-30.7	19.9-27.5	19.4-27.2	18.5-26.0	18.2-26.1
	Hotan County	653221	144	137.7	119	111.3	109.5	96.5	87.5	84.8	83.8	63.4	59.3	56.9	53.6	51.4	51.2	48.7	47.9
			123.7-167.0	118.2-159.3	101.5-137.7	94.7-129.1	93.0-127.1	82.2-111.7	75.4-100.9	74.0-95.9	74.1-93.3	56.1-70.1	52.6-66.0	50.0-63.9	46.8-60.8	44.4-58.5	44.1-58.3	41.7-55.5	40.7-55.5
	Hoxud County	652828	47.3	45.6	38.8	38.2	41.3	34.9	34	29.6	34.6	26.9	26.8	25.6	23.7	21.9	21.2	21.3	19.7
			40.0-55.4	38.4-53.5	32.6-46.1	31.9-45.3	34.3-49.0	29.1-41.3	28.3-40.1	25.0-34.7	29.4-40.3	22.6-31.9	22.2-32.0	20.8-31.1	19.1-28.9	17.6-26.7	17.0-25.8	17.2-26.0	15.8-24.0
	Huocheng County	654023	74.2	89.7	84.2	101.3	90.8	84.6	82.6	65.8	56.8	53.9	49.7	45.2	43.8	39.7	38.6	35.3	31.2
			64.0-85.7	77.1-103.8	72.3-97.0	86.5-117.5	76.9-105.4	71.9-97.7	70.4-95.4	56.7-75.1	49.7-64.1	47.3-60.3	43.7-55.7	39.7-50.8	38.3-49.7	34.6-44.9	33.5-43.8	30.6-40.1	26.7-36.0
	Hutubi County	652323	50.6	43.9	39.4	39.4	36.5	36.2	39.7	40.7	40.8	37.5	37.1	34.8	32.4	29	26.1	23.7	21.5
			36.9-66.9	32.5-57.6	29.9-51.2	31.0-49.9	29.7-45.1	30.0-42.9	33.9-45.6	35.7-45.7	36.1-45.5	32.6-42.8	31.3-43.6	28.3-41.9	25.7-40.3	22.0-36.8	19.0-34.2	16.8-31.5	14.7-29.5

Province	County	County Code (2012)	Under-5 Mortality Rate (per 1000 births)																
			1996	1997	1998	1999	2000	2001	2002	2003	2004	2005	2006	2007	2008	2009	2010	2011	2012
	Jeminay County	654326	104	85.8	83.1	75.4	68.8	69.2	64	70.2	67.5	59.8	56.9	54.9	47.9	43.6	42.6	40.6	36.9
			88.9-120.7	72.9-99.9	71.0-97.5	64.4-88.3	58.3-80.1	58.8-79.7	55.2-73.2	61.3-79.1	59.7-74.7	53.0-66.3	50.3-64.0	48.3-62.3	41.8-54.2	38.0-49.6	36.8-48.4	35.0-46.3	31.4-42.6
	Jiashi County	653129	95.9	83.7	80.9	74.1	66.7	61.9	60.9	60	60.4	62	59.5	49.8	42.8	38.2	34.7	31.3	28.2
			84.1-109.0	73.1-95.4	70.4-93.7	63.9-85.6	57.2-77.2	52.9-71.4	52.9-69.4	52.6-67.3	53.3-66.9	54.8-68.9	52.7-67.1	43.5-56.7	37.1-48.9	32.8-43.8	29.6-39.9	26.7-36.1	23.7-33.1
	Jimsar County	652327	70	60.3	48.4	40	38	41.9	40	35.6	34.8	34.7	30.3	29.5	29.1	28	24.7	21.8	20.2
			60.3-81.1	51.5-69.9	41.1-56.6	33.8-47.2	31.8-45.0	35.2-49.4	34.0-46.7	30.5-40.8	30.3-39.5	29.9-39.8	25.8-35.1	24.9-34.8	24.4-34.3	23.3-33.2	20.5-29.4	18.1-26.0	16.6-24.1
	Jinghe County	652722	59.9	55.1	53.3	49	40.5	36.8	33.7	28.1	28.7	27.3	27.1	29.1	30.7	29.1	27.3	25.7	23.5
			50.5-70.4	46.4-64.9	45.1-62.9	41.5-57.8	34.0-47.6	30.9-43.2	29.1-38.9	24.6-31.8	25.4-32.0	24.2-30.5	24.0-30.7	25.4-33.2	26.5-35.2	24.9-33.3	23.3-31.4	21.9-29.7	19.7-27.5
	Kalpin County	652929	65	67.7	58.1	54.2	48	49.2	47.4	46.3	42.7	37.5	34.1	31.5	27.8	24.7	23.1	22.1	21.3
			52.8-78.9	55.6-81.5	47.6-70.3	44.7-65.4	39.4-57.9	40.9-58.6	39.9-55.3	39.8-53.1	37.4-48.2	32.5-42.4	29.4-39.2	26.8-36.7	23.3-32.7	20.6-29.2	19.2-27.5	18.3-26.4	17.5-25.5
	Kashi(Kaxgar) City	653101	83.5	80.3	76.3	68.1	56.8	55.4	50.2	45	48.8	48	44.6	45.8	45.1	42.2	39.6	39.2	37.5
			60.1-111.3	59.2-105.2	58.1-98.1	53.9-85.5	46.6-69.5	46.7-65.2	43.2-57.6	39.4-50.1	43.0-54.1	41.9-54.6	37.4-52.6	37.4-55.7	35.0-56.1	31.3-54.5	28.2-52.3	27.2-53.1	25.2-52.0
	Korla City	652801	46.6	44.4	39.6	38.8	38.2	34.6	32.4	29.6	26.2	23.9	20.9	20.9	20	20.8	21.6	22.9	22.1
			40.4-53.8	38.3-51.2	34.1-45.6	33.2-44.9	32.5-44.2	29.5-39.9	27.9-37.4	25.7-33.7	23.0-29.4	21.1-26.6	18.4-23.4	18.4-23.5	17.4-22.6	18.1-23.7	18.7-24.6	19.9-26.0	19.0-25.5
	Kuqa County	652923	99.2	91.3	83.5	77.7	74.7	69.7	61.6	64.8	58.3	57.9	54.1	47	32.9	47.4	48.8	47.8	45.9
			66.0-142.2	61.2-130.1	57.3-116.4	55.1-106.7	54.9-99.4	52.7-90.5	47.9-77.3	52.0-78.7	47.6-70.1	47.4-70.1	43.6-66.9	37.1-59.2	25.0-43.4	35.4-63.6	35.2-67.1	33.3-66.1	31.4-64.1
	Kuytun City	654003	56.8	50.4	47.6	40.4	35.8	33	28.6	27.2	27.5	22	20.5	22.6	20.4	19.4	18.8	17.1	15.5
			49.0-65.5	43.3-58.1	40.8-55.2	34.3-47.1	30.3-42.1	27.7-38.7	24.2-33.6	23.0-31.6	23.4-32.0	18.3-26.2	16.7-24.8	18.0-27.6	16.1-25.1	15.3-24.0	14.7-23.2	13.5-21.2	12.1-19.2
	Lop County	653224	97.7	88.5	71.9	64.9	65.8	62.6	70.3	66.3	73.1	63.7	59.2	52.7	49.1	43.3	38.6	35.5	33.3
			85.4-111.6	76.5-101.8	61.8-82.9	55.4-75.3	55.7-76.3	53.1-72.2	59.6-81.3	57.0-75.9	63.8-82.6	55.9-71.4	51.9-66.4	46.3-59.3	42.9-55.6	37.6-48.9	33.4-43.9	30.6-40.4	28.4-38.4
	Luntai(Buuguur) County	652822	90.7	81	86.3	77.6	68.2	62.3	59.5	48.4	44.6	39.7	39.9	39.6	37.9	39.2	36.8	36.2	33.8
			79.1-103.7	70.0-93.4	74.3-99.5	66.1-89.4	57.5-78.7	52.7-71.8	50.3-68.9	41.4-55.7	38.8-50.9	34.6-44.8	34.7-45.0	34.5-44.8	33.0-42.8	34.1-44.5	32.1-41.9	31.6-41.1	29.1-38.7
	Manas County	652324	48.5	42.8	36.1	30.8	28	30.3	29.5	29.8	31.2	35.2	33.8	36.1	35.5	32	28.5	24.9	22.5
			42.2-56.0	36.9-49.3	30.9-41.7	26.2-35.6	23.9-32.4	26.1-34.8	25.6-33.4	26.0-33.4	27.5-34.7	31.0-39.4	29.4-38.1	31.4-41.0	31.0-40.3	27.9-36.2	24.7-32.2	21.5-28.2	19.2-26.0
	Markit County	653127	130.5	123.7	114.2	120.6	106	91.5	80.3	67.7	63.4	57.2	50.3	44.4	42.9	43.6	42.8	41.7	40.2
			114.9-148.1	108.0-141.0	99.2-130.7	103.8-138.0	90.9-121.8	78.6-104.8	69.5-92.1	59.2-76.7	55.7-70.7	50.5-63.7	44.2-56.5	38.6-50.6	36.9-49.2	37.2-50.2	36.4-49.3	35.4-48.2	33.7-47.0
	Midong District	650109	37.3	32.6	29.7	23.6	22.1	22.7	21.2	20.8	18.8	17.4	15.6	15.5	13.1	12.9	11.4	10.6	10
			32.0-43.3	27.8-37.7	25.3-34.7	20.0-27.8	18.6-26.1	19.2-26.7	18.0-24.8	17.7-24.0	16.1-21.6	14.8-20.5	13.0-18.5	12.6-18.5	10.6-15.9	10.4-15.7	9.2-13.9	8.6-13.0	8.0-12.3
	Minfeng(Niya) County	653227	93	87.4	74.7	71.7	64.7	64.2	55.5	64.3	61.1	63.8	60.8	51.3	52.2	46.5	38	35.8	34.6
			64.5-128.9	61.7-119.1	53.9-100.5	53.8-93.9	50.3-83.1	51.6-79.4	45.4-66.3	54.6-73.9	53.0-69.9	54.1-74.5	50.5-73.0	40.9-64.2	40.3-67.9	34.3-62.3	26.8-52.7	24.4-50.4	22.8-49.4
	Mori Kazak Zizhixian	652328	62.8	54.7	43.3	41.2	34.3	38.3	37.7	34.8	34.4	29.8	29.7	30.1	27.8	25.9	23.5	21.5	19.6
			53.1-73.8	45.5-64.9	35.4-52.2	33.7-49.9	27.9-41.5	31.6-45.7	31.5-44.4	29.8-40.4	29.9-39.2	25.7-33.9	25.6-34.2	25.6-34.7	23.7-32.4	22.0-30.3	20.0-27.4	18.1-25.2	16.3-23.1
	Moyu(Karakax) County	653222	102.3	92.8	85.5	77.1	96	84.1	74.7	66.2	60	55.4	54.3	58.5	61.3	65.7	67.4	66.1	64.5
			70.9-141.7	65.4-126.7	61.7-115.3	57.8-101.7	75.5-120.9	68.6-103.1	62.2-88.8	57.2-75.4	53.3-66.7	48.7-62.0	46.9-62.9	48.6-69.5	49.1-74.6	51.0-82.5	50.0-87.2	47.6-87.6	44.6-87.3
	Nilka County	654028	96.9	98	108.7	105.9	106.5	117.7	130.1	113.1	103.9	91.3	74.9	63.9	54.6	49	47.8	43.8	40.8
			84.7-110.6	84.8-112.8	93.6-125.5	90.2-122.3	90.2-123.3	99.6-136.1	110.4-149.6	96.7-129.6	90.4-117.7	79.9-102.6	65.6-84.2	55.8-71.9	47.6-62.0	42.4-55.5	41.1-54.4	37.6-49.9	34.8-47.2
	Orku District	650205	33.7	33.3	30.6	27.5	23.6	20.1	19	17.3	17	16.9	16.7	17.8	15.8	15.1	13.8	13.4	12.6
			22.7-48.6	22.8-47.0	21.6-42.1	20.3-36.9	18.0-30.8	16.0-25.3	15.6-22.8	14.7-20.0	15.0-19.1	14.7-19.2	14.3-19.6	14.6-21.6	12.4-19.7	11.4-19.5	10.0-18.4	9.3-18.4	8.5-17.6
	Pishan(Guma) County	653223	129.3	110.6	92.8	82.7	79.2	63	61.7	54.3	54.7	56.9	50.1	45.8	48.7	51.8	44.8	44.3	43.1
			112.5-148.2	95.3-127.0	79.9-107.3	70.7-96.4	67.0-92.9	53.4-73.6	52.7-71.3	46.8-62.4	47.6-62.0	49.0-65.1	42.7-58.2	38.5-54.0	40.7-57.4	43.0-61.3	37.1-53.2	36.8-52.7	35.5-51.4
	Qapqal Xibe Zizhixian	654022	73.2	90.6	86.2	89.8	78.6	77.8	74.2	66.2	63.3	59.8	56.7	53.1	48.7	44.7	40.6	37.8	34.1
			63.5-84.4	78.3-104.5	74.1-99.7	76.4-104.1	66.2-91.0	65.4-90.5	62.4-86.1	56.3-76.5	54.6-72.4	51.9-67.8	49.3-64.4	46.0-60.1	42.4-55.1	38.8-50.6	35.4-46.0	33.0-42.9	29.3-39.1
	Qiemo(Qarqan) County	652825	97.9	79.1	87.1	75	77	69.3	62.8	57.6	53.3	46.8	36	37.6	35.8	36.1	33.9	34.8	33.1
			84.6-113.2	67.7-91.1	74.7-101.2	64.2-87.4	65.1-89.5	59.0-80.6	54.3-72.0	50.0-65.3	46.9-60.0	40.8-53.0	30.9-41.6	31.8-43.9	29.9-42.0	30.0-42.8	28.1-40.3	28.8-41.4	27.2-39.5
	Qinghe(Qinggil) County	654325	84.7	75.1	56.7	51	42.1	40.5	41.5	41.2	41.5	41.7	37.8	35.6	32.4	29.6	28.3	27.8	26.8
			73.7-97.3	65.1-86.2	48.7-65.8	43.6-59.3	35.7-49.1	34.5-47.2	35.8-47.7	36.0-46.3	36.8-46.2	36.8-46.7	32.9-43.2	30.5-41.2	27.6-37.5	25.1-34.5	23.9-33.0	23.3-32.5	22.3-31.6
	Qira County	653225	198.8	171.5	157.8	131.8	99.2	93.2	84.3	71	66	53.1	47.2	45.9	48	48.5	46.9	44.3	42.1
			155.6-249.9	139.9-208.0	134.3-185.7	113.5-151.3	85.1-114.7	77.5-109.8	68.4-101.8	56.2-88.6	51.3-83.9	40.6-68.3	36.6-60.7	36.4-57.4	38.8-58.3	40.3-56.9	40.0-54.7	37.9-51.2	35.2-49.6
	Qitai County	652325	51.8	39.2	38.4	34.9	31	27.6	32.3	31.3	35.3	35	35.2	35	33.3	29.7	27.5	24.8	23.9
			45.1-59.4	33.9-45.0	33.1-44.6	29.8-40.6	26.2-35.9	23.4-32.0	27.7-37.0	27.2-35.3	31.1-39.1	31.0-39.0	31.2-39.8	30.8-39.8	29.1-37.8	25.8-34.0	23.7-31.2	21.4-28.3	20.2-27.7
	County	652824	60.7	60.8	58.4	51.8	51.8	47.7	40.1	40.9	38.1	44.5	38.2	37.8	35.9	31.5	26.2	26.8	25.3
			40.6-87.0	41.5-85.9	41.1-80.4	37.6-69.6	39.1-67.6	37.3-60.1	32.3-48.8	34.2-47.9	32.5-44.0	37.8-52.4	31.6-45.8	30.2-47.2	27.8-46.6	23.2-42.2	18.5-36.3	18.3-37.7	16.7-36.1
	Sayar County	652924	68.1	66.6	61.6	55.3	55.6	52.4	50.7	46	39.6	41.7	38.4	36	33.7	34.3	33.3	31.4	30
			59.4-77.9	58.0-76.0	53.7-71.0	47.9-64.0	47.8-64.1	45.0-60.3	44.3-57.5	40.3-51.4	34.9-44.0	36.8-47.1	33.2-44.0	30.6-42.0	28.2-39.9	28.3-40.8	27.3-39.7	25.8-37.8	24.4-36.3
	Saybag District	650103	30.7	32.5	30.4	30.9	28.2	27	23.6	21.3	18.8	17.3	16.2	17.5	17.4	17.9	18.6	17.9	17.4
			19.2-46.8	20.8-48.6	20.1-45.1	21.0-44.5	19.3-39.8	19.0-37.4	17.0-32.0	15.6-28.3	14.0-24.8	12.9-23.2	11.7-21.9	12.6-24.4	12.3-24.7	12.3-26.0	12.6-27.4	11.9-26.6	11.4-26.2
	Shache(Yarkant) County	653125	85.9	85.4	79.2	72.5	63.9	57.9	59.9	59.3	65.8	70	67.6	64.8	56.7	53.7	45.5	42.3	38.7
			75.4-97.4	74.7-97.3	68.9-91.3	62.2-83.9	54.5-74.3	49.2-67.3	51.4-68.7	51.5-66.8	57.8-73.7	61.6-78.3	59.6-76.7	57.0-73.8	49.9-64.5	47.0-60.9	39.6-51.7	36.6-47.8	33.2-44.6
	Shanshan(Piqan) County	652122	43.3	42.6	38.3	39.1	35.8	36.3	33.5	31.7	38.1	41.9	40.2	40.3	38.5	37.8	35.2	33.2	29.7
			30.7-58.8	30.7-57.7	28.2-51.2	29.7-50.8	27.9-45.7	29.1-44.6	27.7-39.8	27.2-36.4	33.4-43.0	36.4-47.6	34.0-46.8	33.2-48.0	30.7-47.1	28.8-48.0	25.6-46.1	23.4-44.9	20.2-41.0
	Shawan County	654223	66.8	65.6	55.9	47.5	38.4	31.8	27.1	21.5	18.9	17.5	17.4	16.6	16.3	16.7	17.3	16.4	16.6
			46.4-92.6	46.5-89.9	40.9-74.9	36.2-61.9	30.4-48.4	25.8-38.7	22.9-31.8	18.6-24.3	16.6-21.3	15.2-20.1	14.5-20.8	13.3-20.5	12.5-20.8	12.3-22.0	12.2-23.4	11.3-23.0	11.0-23.5
	Shihezi City	659001	49.5	48.7	47.5	44.2	40.7	37.1	31.9	25.6	24	19.4	18.5	18.4	16	14.8	14.4	14.3	12.7
			43.3-56.6	42.4-56.0	40.7-55.0	37.0-52.1	33.7-47.8	30.6-43.8	26.1-38.0	21.1-30.3	20.1-28.0	16.6-22.3	16.0-21.2	15.9-20.8	13.9-18.1	12.9-16.8	12.5-16.3	12.4-16.1	10.9-14.6
	Shufu County	653121	108.9	97.4	104.3	96	98.3	90.6	82.9	66.7	66.1	48.6	43.9	44.8	42.9	40.3	44.6	41.5	39

Province	County	County Code (2012)	Under-5 Mortality Rate (per 1000 births)																
			1996	1997	1998	1999	2000	2001	2002	2003	2004	2005	2006	2007	2008	2009	2010	2011	2012
			94.8-125.1	84.4-112.0	90.4-120.6	82.9-111.5	84.3-112.8	77.7-103.9	72.3-94.2	58.4-74.3	58.5-73.2	43.2-54.4	38.4-50.0	38.4-51.7	36.4-50.0	34.0-47.0	37.5-52.0	34.8-48.7	32.4-46.0
	Shuimogou District	650105	30.2	30	29.6	33.1	27.7	22.7	18.9	15.6	13.7	15.2	14.5	14	14.1	15.9	16.5	16.8	16.1
			25.0-36.3	24.9-35.7	24.7-35.3	27.6-39.3	23.0-32.9	18.9-27.1	15.9-22.4	13.2-18.2	11.6-16.0	12.7-18.0	11.9-17.5	11.3-17.0	11.3-17.2	12.8-19.5	13.1-20.2	13.5-20.8	12.8-19.9
	Shule County	653122	111.9	103.6	101.8	111.4	111.5	110.8	120.1	117.3	124.5	113.6	108.1	105.3	97.6	92.8	86.7	80.6	77.2
			97.2-128.6	89.5-119.6	87.5-118.3	94.9-129.6	94.9-129.8	94.1-128.1	103.5-138.1	101.1-133.6	108.3-140.6	99.3-128.1	94.9-122.8	92.5-120.4	85.4-111.0	80.9-105.3	75.8-98.0	70.1-91.2	66.4-88.4
	Tacheng City	654201	52	48	42.5	43.1	41.7	38	38.8	37.4	35	32.7	33.8	31.1	31.6	30	27.8	27.5	26.4
			45.5-59.3	41.9-54.8	36.9-49.2	36.8-50.0	35.5-48.5	32.2-44.0	33.4-44.3	32.4-42.2	30.6-39.2	28.7-36.6	29.7-38.2	27.3-35.5	27.6-35.9	26.1-34.0	24.3-31.5	23.8-31.0	22.6-30.3
	Zizhixian	653131	149	140.2	131.4	140	136.4	124.4	126.8	100	118.6	115.5	101	90.7	79.2	71.4	61.6	58.2	54.3
			128.7-171.9	120.6-161.4	112.7-152.6	119.7-163.0	115.8-157.1	106.5-143.4	109.9-144.5	87.4-111.8	104.8-131.5	102.5-128.7	88.4-114.5	78.0-104.5	67.8-91.4	60.7-83.1	51.8-71.7	48.8-68.1	45.1-64.1
	Tekes County	654027	73.2	73.7	71.8	65.4	58.2	54.3	62.1	56.7	65.8	72.8	80.8	81	71.6	62.4	53.9	47.4	41.8
			61.2-86.9	61.5-87.8	59.7-85.9	53.9-78.7	47.8-69.8	45.5-64.2	52.8-72.2	49.0-64.8	57.7-74.1	63.7-81.4	70.7-91.1	70.2-91.6	61.4-81.9	53.5-71.4	46.3-62.2	40.4-54.7	35.0-49.2
	Tianshan District	650102	42.7	38.5	39.3	46.7	41.9	37.9	33.9	35.5	23.5	21.3	18.3	21.9	22.4	23.2	22.8	23.6	22.9
			36.3-49.9	32.7-44.9	33.4-45.6	39.9-54.2	35.8-49.0	32.6-44.1	29.2-38.9	30.8-40.4	20.5-26.4	18.6-24.0	15.8-21.0	18.8-25.5	19.0-26.3	19.6-27.3	19.2-26.8	19.8-27.8	19.0-27.0
	Toksun County	652123	52.7	48.3	47.1	45.6	41.6	45.3	42	36.1	34.6	33.1	31.4	30.2	30.2	29.6	27.6	25.8	24.6
			33.4-79.6	31.0-71.3	31.3-69.1	31.1-65.4	28.7-58.4	32.3-61.9	30.5-56.3	26.6-47.5	25.9-45.1	24.8-44.0	22.9-42.0	21.9-41.9	21.6-42.8	20.5-42.6	18.7-40.4	17.2-38.3	16.1-36.9
	Toli County	654224	90.7	77.8	70.5	64	50.5	40.9	38	33.8	28.8	27.3	26.1	24.4	23.5	26.6	26.2	25.5	24.7
			76.8-106.0	65.4-91.2	59.2-83.2	53.7-75.8	42.0-59.9	34.0-48.7	31.8-44.7	28.7-39.4	24.5-33.5	23.0-32.2	21.6-31.0	19.9-29.4	19.0-28.5	21.4-32.3	21.1-31.8	20.5-31.1	19.9-30.1
	Toutunhe District	650106	35.1	32.9	28.7	30.7	27.9	23	24.7	21.2	21.1	24.9	22.4	21.5	19.4	19.5	19	18.6	17.2
			28.0-43.4	26.4-40.9	23.0-35.8	24.5-38.2	22.4-34.9	18.4-28.5	20.1-30.3	17.5-25.6	17.7-25.0	21.0-29.4	18.7-26.6	17.8-25.5	16.0-23.0	16.0-23.2	15.8-22.6	15.3-22.3	14.1-20.6
	Turpan City	652101	42.3	41	37.2	37.6	34.2	33	31.6	27.3	26.7	28.2	28.7	27.7	28.4	27.4	25.7	24.7	24.5
			37.0-48.2	35.7-47.0	31.6-43.1	31.9-43.5	29.0-39.5	28.0-37.9	26.8-36.1	23.3-31.0	23.0-30.3	24.2-32.6	24.4-33.7	23.5-32.5	24.3-33.0	23.5-31.8	22.2-29.7	21.6-28.3	21.1-28.1
	Urumqi County	650121	38.4	37.5	34.1	30.5	29.2	32.8	33.6	36.3	37.3	34.6	33.4	31.6	29.4	28.4	28.1	25.1	25.2
			33.0-44.6	32.2-43.4	29.2-40.1	26.0-35.8	24.6-34.1	27.7-37.8	28.8-38.5	31.7-40.9	33.0-41.2	30.7-38.5	29.7-37.8	27.6-36.1	25.5-33.5	24.5-32.4	24.1-32.3	21.4-28.9	21.2-29.5
	Usu City	654202	50.5	49.8	45.6	41.4	36.8	33.8	33	30.9	29	28.3	26.1	24.9	22.1	22.6	22.4	21.7	22.2
			43.5-58.5	42.9-57.8	39.1-53.3	35.3-48.4	31.1-43.0	28.6-39.3	28.4-37.7	26.8-35.0	25.4-32.6	24.8-31.7	22.9-29.6	21.8-28.5	19.3-25.1	19.6-25.6	19.6-25.4	18.8-24.4	19.1-25.4
	Wenquan County	652723	46.5	41.7	38.2	40.5	36.5	35.5	41.4	38	37.7	36.3	35	34.7	35	35.5	33.8	31.8	30
			39.3-54.8	35.1-49.1	31.9-45.2	33.7-48.1	30.6-43.1	30.2-41.8	35.5-47.7	33.1-43.0	33.2-42.1	31.9-40.4	30.4-39.5	30.1-39.3	30.1-39.9	30.5-40.5	29.0-38.7	27.1-36.5	25.2-34.9
	Wensu County	652922	70.2	62.6	60	51.5	45.5	41.2	37.4	32	31	33.5	36.7	37.1	33.4	27.5	24	21.9	20.1
			61.9-79.5	55.1-71.3	52.2-68.8	44.1-59.7	38.8-52.8	35.0-47.8	32.1-42.9	27.7-36.4	27.1-34.9	29.3-37.7	32.3-41.9	32.5-42.4	29.2-38.0	23.9-31.2	20.9-27.3	18.9-24.8	17.2-23.2
	Wuqia(Ulugqat) County	653024	111	97.4	103	72.6	86.5	87.2	84.3	77.7	80.2	73.7	75.5	65.9	60.4	55.1	49.3	46.8	44.2
			77.4-152.6	69.3-132.2	75.0-138.2	54.4-95.3	68.4-108.7	71.7-105.9	71.7-98.8	68.2-87.3	71.1-88.7	64.3-82.9	64.4-87.4	54.0-79.3	47.3-75.4	41.7-71.1	35.5-65.8	32.5-63.7	29.6-61.8
	County	652927	75.7	73.8	67.5	62.5	59.5	59	64.6	55.1	56.5	55.3	48.7	40.8	36.4	34.4	32.9	31.7	30.1
			64.3-88.5	62.8-86.1	57.3-79.6	52.9-73.6	50.1-69.6	50.0-68.4	55.5-73.8	48.1-61.8	50.1-62.7	49.0-61.2	43.1-54.7	35.6-46.5	31.5-41.7	29.3-39.7	27.8-38.1	26.7-37.0	25.1-35.5
	Xinhe County	652925	118.9	114	120.3	158.8	140.6	120.2	102	81.6	59.1	54.7	48.6	43.2	36.3	31.4	28.3	25.7	23.6
			90.4-152.9	89.4-141.4	97.4-145.1	131.9-187.9	117.0-163.9	100.2-141.4	83.2-122.1	65.7-100.2	47.1-74.0	43.2-68.8	38.7-60.1	35.4-52.8	30.4-43.0	27.0-36.4	24.4-32.3	22.1-29.5	19.8-27.7
	Xinshi District	650104	26.6	29.3	25.3	26.4	23.4	19.4	16.5	12.5	11	10.3	10	10.3	10.2	11.5	14.8	14.4	14.4
			21.3-33.0	23.5-36.3	20.3-31.4	21.3-32.7	19.0-28.9	15.7-23.8	13.6-20.1	10.5-15.0	9.3-12.9	8.6-12.1	8.2-11.9	8.4-12.3	8.2-12.3	9.2-13.9	12.0-18.0	11.6-17.7	11.5-17.7
	Xinyuan County	654025	135.8	132.7	143.2	152.5	137.1	136.1	111.8	86.1	71.9	54.7	55.8	56.2	51.7	48.5	42.4	36.2	30.2
			114.8-158.9	111.8-155.4	120.9-167.6	129.5-177.8	116.2-160.0	116.4-157.4	96.3-128.8	74.9-97.4	63.5-80.3	48.3-60.7	49.0-63.0	48.7-64.3	44.3-60.0	41.0-56.7	35.7-50.0	30.3-42.7	24.9-36.0
	Yanqi Huizu Zizhixian	652826	62.1	55.1	52	45.3	41.2	36.1	36	34.5	34.2	31.6	30.2	29.7	30	27.6	25.5	24.2	21.5
			54.8-70.4	48.4-62.6	45.2-59.6	38.9-52.8	35.1-48.0	30.7-42.0	30.9-41.4	29.7-39.2	29.7-38.8	27.6-35.7	26.4-34.4	25.8-34.1	26.1-34.2	24.0-31.4	22.2-28.9	21.1-27.3	18.4-24.6
	Yecheng County	653126	114.3	109.2	104.1	101.7	91.8	82.9	70.8	58.1	60.1	50.9	43.9	38.2	31.3	28.4	27.2	26.5	25.7
			99.8-131.0	94.2-125.7	89.7-120.1	87.0-116.9	78.1-105.7	70.7-95.1	60.8-81.3	50.6-66.1	52.5-67.4	44.8-57.0	38.4-49.6	33.0-43.5	26.8-36.0	24.0-32.8	22.9-31.7	22.3-31.1	21.4-30.3
	Yengisar County	653123	123.8	128	113.2	109.5	93.8	83.4	78.4	64.3	57.6	50.2	44.6	43.3	43	41.3	32	29.5	27.6
			105.5-143.9	109.1-148.6	96.5-131.5	93.6-127.1	80.1-109.2	71.9-96.8	68.1-89.9	56.1-72.4	50.9-64.3	44.4-56.3	38.9-51.1	37.1-50.5	36.3-50.6	34.6-49.0	26.5-38.2	24.3-35.3	22.4-33.3
	Yining City	654002	71.9	71.6	70	73.6	60	52	61.8	43.6	44.8	39.8	39.2	33	30.7	29.9	28.8	26.7	25.1
			49.2-101.2	50.0-99.1	50.2-95.1	54.8-97.3	46.8-76.5	42.2-63.9	52.1-73.0	38.1-49.4	39.7-49.6	34.8-44.7	33.5-45.3	27.2-39.6	24.1-38.1	22.7-38.4	20.9-38.2	18.6-36.2	16.9-34.9
	Yining County	654021	67.2	74.7	75.9	78	68.7	64.8	68.7	60.3	59.3	59.5	53.8	53.2	49.7	44.8	41.6	37.8	33.3
			46.1-94.2	52.6-103.4	54.8-102.8	58.9-102.6	53.5-87.4	52.6-79.4	58.1-80.7	52.6-69.0	51.6-67.2	51.3-69.0	45.3-63.8	43.8-64.4	39.8-61.0	34.8-56.4	31.1-53.7	27.1-49.9	23.1-44.9
	County	652223	65.4	67.1	60.7	66.1	60.4	62.6	60.9	49.4	40	33.9	35.5	35.1	34.5	34.4	32.5	29.2	26.8
			53.9-78.4	55.6-79.9	50.1-72.7	54.8-78.9	49.8-72.2	52.2-74.3	51.5-71.1	42.4-57.3	34.5-45.9	29.0-39.2	30.0-41.5	29.2-41.5	28.4-41.0	28.2-41.2	26.8-39.0	24.0-35.1	21.8-32.4
	Yopurga County	653128	114.2	101.9	103.5	111.9	114.1	108.7	106.8	90	88.4	86.1	87.1	82.4	76.3	69.5	61.3	53.5	47.3
			100.6-129.5	88.7-116.8	89.1-118.7	95.3-128.8	96.1-132.1	91.3-125.5	90.1-123.7	76.6-103.6	76.5-100.9	74.9-97.3	75.8-98.6	71.8-93.3	66.4-86.0	60.5-78.7	53.5-69.4	46.7-60.7	40.6-54.2
	Yuli(Lopnur) County	652823	72.1	64.4	60.6	60.7	57	62.4	48.8	38.9	33.9	33.1	28.7	27.8	31.1	33.1	32.7	34.1	33.3
			47.0-105.7	42.5-92.7	40.9-85.2	43.0-83.9	41.1-76.6	46.5-81.6	36.9-62.4	30.1-48.9	26.6-42.4	26.0-42.5	22.2-37.4	21.0-37.4	22.9-42.7	23.6-46.3	22.8-46.7	23.0-49.2	21.9-48.2
	Yumin County	654225	70.6	67.1	60.3	61.5	68.1	60.1	56.5	48.9	51.8	42.9	42.6	47.8	48.5	48.9	47.2	44.9	42
			47.1-101.3	45.5-95.1	42.1-83.5	44.5-83.3	51.2-89.2	46.7-76.4	45.2-69.4	40.3-58.2	43.9-60.4	35.9-50.8	35.0-51.6	38.3-59.5	37.7-62.8	36.5-64.8	33.9-64.3	31.2-62.0	28.3-58.9
	Yutian(Keriya) County	653226	142.9	129.4	118.3	121.6	122.2	107.8	102	85.4	76.7	63.9	51.4	41.7	40	32.5	32.3	32	31.5
			125.1-163.0	112.7-147.9	102.7-135.7	105.3-139.0	105.1-140.5	93.2-124.0	89.0-116.3	74.7-96.0	67.6-85.5	56.3-71.6	44.7-58.8	35.7-48.6	33.9-47.1	27.2-38.7	26.8-38.4	26.5-38.2	25.8-37.7
	Zepu(Poskam) County	653124	87.3	82.3	70.2	61	54.3	47.2	46	47.2	57.6	58.9	60.7	57.9	57.4	51.6	50.2	48.6	46.2
			77.1-98.9	72.4-93.6	61.0-80.6	52.3-70.8	46.2-63.2	40.1-54.9	39.3-53.3	40.6-54.1	49.9-65.3	51.3-66.8	52.9-69.4	50.3-66.7	50.0-65.7	44.7-58.7	43.8-56.9	42.2-54.9	39.8-52.9
	Zhaosu County	654026	99.5	89.9	81.3	69.4	50.9	52.4	51.1	47.5	58	59.3	54.9	54	52.9	44.1	41.2	38.6	33.8
			84.4-116.4	75.3-105.7	67.7-96.3	57.5-81.9	42.6-60.1	44.6-61.3	44.0-59.0	41.5-53.8	51.1-64.4	52.2-65.8	47.8-61.7	46.9-60.8	45.7-60.1	38.3-50.6	35.5-47.1	33.0-44.4	28.6-39.4
	karamay District	650203	33.7	33.3	30.6	27.5	23.6	20.1	19	17.3	17	16.9	16.7	17.8	15.8	15.1	13.8	13.4	12.6
			22.7-48.6	22.8-47.0	21.6-42.1	20.3-36.9	18.0-30.8	16.0-25.3	15.6-22.8	14.7-20.0	15.0-19.1	14.7-19.2	14.3-19.6	14.6-21.6	12.4-19.7	11.4-19.5	10.0-18.4	9.3-18.4	8.5-17.6

Province	County	County Code (2012)	Under-5 Mortality Rate (per 1000 births)																
			1996	1997	1998	1999	2000	2001	2002	2003	2004	2005	2006	2007	2008	2009	2010	2011	2012
Yunnan	Anning City	530181	40.9	36.6	35.5	30.1	26.1	24.2	22.2	22	18	17	14.3	15	14.2	15.2	15.9	15.7	15.9
			36.3-46.2	32.7-41.1	31.8-39.8	26.9-33.7	23.3-29.3	21.4-27.2	19.5-25.0	19.3-24.9	15.9-20.3	15.0-18.9	12.7-16.0	13.4-16.7	12.6-15.6	13.7-16.8	14.3-17.4	14.2-17.3	14.3-17.4
	Binchuan County	532924	67.9	62.1	55.5	46.2	40.5	40.7	36.7	32	29.5	26.3	21.4	19.7	19.7	17.1	16	15	14.2
			60.4-76.6	55.5-69.6	49.7-62.2	41.1-51.9	35.8-45.7	35.7-46.0	32.0-41.8	27.9-36.3	25.6-33.6	22.8-29.9	18.5-24.4	17.0-22.5	17.1-22.4	15.0-19.4	14.1-18.1	13.2-17.0	12.6-16.1
	Zizhixian	530927	144.4	136.5	123.8	118	108	115.7	112.9	126	114.2	93.9	78.3	64.9	61.6	53.4	54	52.8	56.2
			126.4-166.1	119.6-156.6	109.1-141.5	104.7-133.4	96.2-120.6	103.2-127.8	100.5-125.0	112.1-139.8	101.8-126.0	84.0-103.6	69.7-86.2	58.2-71.5	55.5-67.4	48.4-58.3	48.9-58.9	48.0-57.7	51.1-61.4
	Changning County	530524	64.3	61.9	57.5	52.4	49.4	47.1	43.6	38.6	38	35	31.5	29.6	27.7	24.9	23.8	21	19.6
			58.0-70.9	55.8-68.2	51.7-63.4	47.1-57.8	44.3-54.6	42.0-52.0	38.6-48.3	34.0-42.8	33.6-42.4	31.0-38.9	27.9-34.9	26.4-32.6	24.8-30.4	22.5-27.4	21.4-26.1	18.9-23.1	17.8-21.5
	Chenggong County	530114	39.4	36.5	32.5	29.9	27.2	23.2	20	21.9	16.6	14.5	12.9	13.2	13	14	14.2	15	14.8
			34.0-46.1	31.6-42.5	28.4-37.8	26.2-34.4	23.9-31.1	20.3-26.4	17.5-22.8	19.2-24.7	14.6-18.7	12.7-16.3	11.4-14.5	11.7-14.8	11.5-14.4	12.5-15.4	12.8-15.7	13.4-16.5	13.3-16.3
	Chengjiang County	530422	51.5	49.6	48.1	44.1	39.6	35.4	32.3	27.3	24.3	21.5	19.8	18	17	16.4	15.9	14.1	13.4
			45.4-58.3	44.1-55.9	43.2-53.8	39.7-49.2	35.8-43.8	31.9-39.1	28.7-35.7	24.2-30.2	21.5-26.9	19.0-23.8	17.5-21.9	16.1-19.8	15.3-18.6	14.8-17.9	14.4-17.4	12.8-15.4	12.2-14.6
	Chuxiong City	532301	39.2	36.9	34.1	31.3	28.6	27.8	25.9	23.3	22.1	23.1	21.9	21.4	20.9	19.4	17.2	15.6	14.4
			35.3-43.5	33.2-40.8	30.9-37.6	28.4-34.4	25.9-31.5	24.9-30.7	22.9-28.7	20.5-25.8	19.6-24.6	20.5-25.5	19.5-24.2	19.1-23.5	18.9-23.0	17.6-21.3	15.5-18.8	14.1-17.1	13.0-15.7
	Daguan County	530624	121.6	110.9	102.1	91.7	88.2	70.3	60.7	62.5	54.3	46.4	44.3	39.7	32.3	30.6	26.8	23.7	21.2
			109.7-134.4	100.0-122.3	92.8-112.7	83.2-100.8	79.7-97.3	62.9-78.0	53.9-67.5	55.2-69.4	48.0-60.3	41.2-51.4	39.2-49.0	35.5-44.0	29.0-35.5	27.6-33.6	24.1-29.4	21.3-26.1	19.1-23.3
	Dali City	532901	37.8	37.2	32.5	30.9	28	27.3	25.9	25.3	23.4	20.5	18.9	17.3	15.7	14	13.9	13.4	12.8
			34.2-41.7	33.7-41.1	29.2-35.8	27.7-34.1	25.1-31.0	24.4-30.1	22.9-28.6	22.3-28.1	20.7-26.1	18.2-22.8	16.8-20.9	15.4-19.0	14.2-17.3	12.6-15.3	12.5-15.2	12.1-14.8	11.6-14.0
	Dayao County	532326	78.6	73.6	65.3	56.8	47.6	48.3	44.5	41.6	36.3	34.6	27.5	25.8	24.6	22.5	20.4	18.4	16.5
			71.0-86.7	66.5-81.2	58.8-71.9	51.1-62.7	42.6-52.5	43.2-53.3	39.3-49.1	36.7-46.3	32.3-40.5	30.7-38.4	24.5-30.4	23.0-28.4	22.2-26.9	20.3-24.5	18.4-22.3	16.6-20.2	14.9-18.0
	Deeqeen County	533422	99.8	97.9	90.6	88.2	88.6	74.4	71.5	61.5	54.1	45.6	52.9	52.9	53.3	57.5	55.6	52.3	48.4
			85.0-116.7	83.4-115.4	76.4-107.8	73.7-105.8	73.0-107.8	61.2-90.6	58.9-85.8	51.3-73.1	45.7-63.4	39.0-53.0	45.1-61.5	45.0-61.6	45.5-62.3	49.6-66.6	48.8-63.4	46.4-58.2	43.3-53.6
	Dongchuan District	530113	53.5	52	46.9	42.9	41	37.3	32.4	28.8	25.8	22.9	20.3	19.9	18.8	17.8	19.4	18.7	19.3
			47.6-60.4	46.4-58.1	42.3-52.2	38.8-47.5	37.1-45.3	33.4-41.4	28.7-36.0	25.5-32.0	22.8-28.7	20.3-25.4	18.0-22.5	17.8-21.9	16.9-20.6	16.1-19.4	17.5-21.2	17.0-20.4	17.5-21.0
	Eryuan County	532930	54	50.6	46.8	40.1	35.4	28.8	25.8	24.1	22.7	20.3	20.2	18.5	17.2	16.7	17.7	17.2	16.6
			48.3-60.5	45.4-56.4	42.2-51.9	36.1-44.4	31.9-39.3	25.7-32.2	22.9-28.9	21.2-27.0	20.1-25.3	17.9-22.5	17.9-22.5	16.5-20.5	15.4-19.0	15.0-18.4	16.0-19.5	15.5-18.9	15.0-18.3
	Eshan Yizu Zizhixian	530426	46.3	44.1	41.9	39.4	35.3	33.6	30	29.7	25.3	22.4	20.3	19.5	18.6	17.6	17.8	16.6	15.9
			41.7-51.5	39.8-48.9	37.9-46.5	35.6-43.8	31.9-39.1	30.2-37.1	26.6-33.1	26.3-32.9	22.4-28.0	19.9-24.8	18.0-22.5	17.5-21.5	16.7-20.4	16.0-19.3	16.2-19.5	15.1-18.1	14.4-17.3
	Fengqing County	530921	81.7	73.4	66.8	53.9	47.5	43	39.5	31.8	29.3	24.8	22.1	20.4	21.7	21.4	24	25	26.4
			62.7-105.2	58.0-92.8	54.2-82.6	44.9-65.0	40.7-55.6	37.6-49.1	34.9-44.1	28.1-35.4	25.9-32.5	21.8-27.9	19.2-25.5	17.1-23.8	17.6-26.2	16.8-26.8	18.3-31.2	18.5-33.1	18.7-35.7
	Fugong County	533323	123.5	107.3	92	80.6	74.4	71.3	62.6	59.8	47.3	38.8	30.9	27.7	25.7	27.6	27.3	26	26.1
			110.9-137.7	96.4-119.4	82.9-102.3	72.4-89.8	66.5-83.1	63.5-80.0	55.3-70.4	52.7-67.1	41.6-53.4	34.0-43.5	27.1-34.7	24.3-31.2	22.7-28.9	24.5-30.9	24.3-30.5	23.2-29.0	23.3-29.1
	Fumin County	530124	42	39.3	34.6	31.2	28	25.2	22.8	23.3	19.3	18.9	17.5	16.9	19.1	20.3	20	19.5	19.8
			36.8-48.4	34.3-45.6	30.0-40.1	26.6-36.6	23.7-33.4	21.1-30.1	19.0-26.9	19.7-27.2	16.7-22.3	16.4-21.6	15.1-20.1	14.5-19.6	16.3-22.1	17.6-23.5	17.5-22.8	17.3-21.7	17.8-21.9
	Funing County	532628	86.5	83.7	80.1	70	64.3	56.4	55.8	42.9	40.2	36.8	31.6	26.3	22.6	19.9	19.3	17.3	16.5
			77.5-96.6	75.3-93.0	72.3-88.8	63.0-77.6	57.7-71.7	50.4-63.0	49.5-62.6	37.8-48.2	35.4-45.0	32.3-41.1	27.8-35.5	23.0-29.5	19.9-25.4	17.6-22.3	17.1-21.6	15.4-19.4	14.7-18.6
	Fuyuan County	530325	126.9	121.1	111.7	103.1	94.9	91.9	84.6	71.8	62.4	50.8	39	31.1	26.9	23.5	22.6	20.6	19.5
			106.4-148.9	104.5-139.2	97.7-125.2	91.4-114.4	84.4-104.9	81.7-102.0	74.2-95.0	61.1-81.8	52.7-72.3	42.6-59.5	32.8-45.9	26.4-36.6	23.0-31.4	20.2-26.9	19.9-25.5	18.6-22.9	17.6-21.4
	Gejiu City	532501	50.5	48.6	45.8	43.6	39.2	36.1	33.5	32.8	29.1	28	26.3	22.8	19.5	17.6	14.8	13.8	13.1
			43.8-59.0	42.6-56.2	40.2-52.4	38.8-49.3	35.0-43.8	32.3-40.1	29.7-37.2	29.1-36.3	25.9-32.2	24.8-30.9	23.4-29.0	20.4-25.0	17.5-21.3	15.9-19.2	13.4-16.1	12.5-15.1	11.9-14.4
	Zizhixian	530926	107	100.4	84	90	86.7	72.4	67.5	65.2	49.2	40.8	37.7	32.8	30.3	28.7	29.7	30.1	30.8
			85.6-133.0	81.7-122.6	69.8-100.1	77.7-105.2	76.3-98.8	64.5-80.5	60.0-74.5	57.7-72.3	43.7-54.8	36.1-45.7	32.9-42.8	27.8-38.0	25.1-36.1	23.0-35.3	23.0-37.7	22.7-39.3	22.2-40.9
	Nuzu Zizhixian	533324	127.9	117.4	110.8	102.1	99.5	88.4	79	77.8	67.8	52.8	45.4	38.7	32.7	33	33.1	32	30.7
			112.7-145.8	103.3-134.6	96.8-127.3	88.0-118.6	84.9-116.5	74.6-103.4	66.7-91.8	66.3-89.6	58.7-77.5	45.7-60.2	39.0-52.3	32.9-45.1	27.7-38.3	28.3-38.9	28.6-38.3	28.0-36.3	27.2-34.7
	Guandu District	530111	30.7	27.1	24.6	22.6	19.3	18.9	16.9	15.2	13.7	12	9.8	8.9	8.1	7.9	7.6	7.4	7.5
			27.6-34.1	24.5-30.1	22.3-27.2	20.5-25.0	17.4-21.4	16.9-21.0	15.0-18.8	13.4-16.9	12.1-15.2	10.7-13.3	8.7-10.9	7.9-9.8	7.3-8.9	7.2-8.7	6.9-8.3	6.7-8.1	6.8-8.2
	Guangnan County	532627	98.2	94.7	90.5	78.2	72.6	65.8	58.8	52.4	48.7	44.6	41.6	40.8	38.2	35.7	33.4	29	26
			87.7-110.6	84.8-105.9	81.3-101.0	70.1-87.3	64.7-81.2	58.3-73.7	51.8-66.3	46.1-59.0	42.9-54.8	39.1-49.8	36.6-46.5	36.1-45.5	33.9-42.6	31.9-39.7	30.0-37.1	25.9-32.2	23.3-28.8
	Gucheng District	530702	80.4	77.4	72.9	72.8	69	65.4	59.8	52	45.9	39	30.3	27.2	25.3	20.4	19	19	17.6
			72.7-88.7	69.8-85.4	65.8-80.3	65.6-80.3	62.2-76.2	58.7-72.1	53.4-65.9	46.0-57.4	40.6-50.9	34.4-43.3	26.9-33.6	24.3-30.3	22.6-28.1	18.3-22.5	17.1-20.9	17.1-21.0	15.8-19.4
	Hekou Yaozu Zizhixian	532532	66.3	66.1	61.8	55.2	53.1	51.1	45.6	42.3	39.7	40.6	33.8	31.9	28	23.8	17.9	16.4	15.3
			58.2-76.4	58.0-76.0	54.1-71.3	47.9-63.9	45.7-61.9	43.8-59.3	38.9-52.4	36.7-48.0	35.0-44.4	35.9-45.2	29.8-38.0	27.7-36.4	24.2-32.1	20.7-27.3	15.9-20.4	14.7-18.3	13.8-16.9
	Heqing County	532932	72.2	65.4	61	54.7	45.4	43.3	41.5	37.6	37.4	33.4	29	26.5	25.2	22.8	23.2	21.2	20.7
			65.3-79.6	59.1-72.2	55.1-67.3	49.4-60.3	40.9-50.2	38.9-47.7	36.8-45.8	33.3-41.5	33.1-41.4	29.6-36.9	25.8-32.0	23.7-29.3	22.7-27.6	20.6-24.9	21.0-25.4	19.3-23.2	18.8-22.7
	Honghe County	532529	90.9	85.9	79.6	72.4	75.3	59.9	55.1	51.6	53.2	51.9	56.4	55.2	56.6	55.4	50.9	46.9	43.5
			73.4-111.6	71.0-104.1	67.3-94.6	61.7-85.3	64.5-87.5	51.2-68.7	47.6-62.2	45.0-58.0	47.0-59.3	45.9-57.9	49.2-64.3	46.8-64.5	46.7-67.6	44.5-67.6	40.3-62.8	35.7-59.3	32.4-56.3
	Hongta District	530402	28.6	28.4	26.3	25.9	26	21.9	19.5	18.5	16.9	15.4	14.5	15.1	13.6	13.4	13.1	12.2	11.7
			25.4-32.4	25.4-31.9	23.6-29.4	23.3-28.9	23.2-29.0	19.5-24.5	17.3-21.9	16.3-20.8	14.9-18.9	13.6-17.1	12.8-16.1	13.5-16.7	12.1-14.9	12.1-14.6	11.8-14.3	11.0-13.4	10.6-12.8
	Huaning County	530424	51.8	49	46.5	43.1	39.8	36.7	34.8	34.1	29.9	27.5	26	23	21.1	18.5	16.9	15.4	14
			46.0-58.5	43.8-55.0	41.9-51.9	38.8-48.0	35.8-44.0	32.9-40.5	30.9-38.4	30.2-37.8	26.5-33.2	24.4-30.4	23.2-28.8	20.5-25.3	19.0-23.1	16.7-20.2	15.3-18.5	13.9-16.9	12.7-15.3
	Huaping County	530723	82.9	79	70.3	64.1	56.1	55.7	49.1	48.3	42.4	37.3	32.2	30	27.3	23.4	22.7	20.2	19.1
			72.7-95.4	69.6-89.9	62.3-79.5	57.1-72.1	50.2-62.8	49.7-62.3	43.5-54.8	42.7-53.8	37.5-47.1	33.1-41.3	28.6-35.8	26.8-33.2	24.5-30.0	21.1-25.7	20.4-25.0	18.1-22.3	17.2-21.0
	Huize County	530326	129.4	119.7	112.1	100.4	91.9	85	74.5	67.6	61.6	54.3	45.7	39.4	37.2	33.7	32.2	29	27
			107.3-153.1	102.4-139.4	97.7-127.2	89.3-111.6	82.8-101.4	76.2-94.2	65.0-83.5	57.7-77.7	51.9-72.5	45.3-64.8	38.0-54.5	33.2-46.6	31.9-43.0	29.7-38.1	28.8-36.0	26.2-31.9	24.3-29.6
	Jianchuan County	532931	109.2	103.7	92.5	87.7	78.4	77.9	68.8	66	56.3	47.7	36.9	35.9	33.2	31.2	29.3	27.6	26.3

Province	County	County Code (2012)	Under-5 Mortality Rate (per 1000 births)																
			1996	1997	1998	1999	2000	2001	2002	2003	2004	2005	2006	2007	2008	2009	2010	2011	2012
			99.1-120.6	93.6-114.2	83.3-101.9	78.9-96.6	70.4-86.5	69.8-85.8	61.0-76.0	58.5-72.9	49.9-62.5	42.5-52.8	32.8-40.6	32.2-39.7	29.9-36.3	28.3-34.1	26.5-32.0	25.0-30.1	23.9-28.7
	Zizhixian	530826	111.5	102.9	97.8	85.1	74.1	65.8	55.6	53.2	47.4	45	42.1	36.7	34	30.2	27.1	25.3	24
			98.2-127.0	91.3-116.3	87.2-109.8	76.3-95.2	66.4-82.4	58.7-73.2	49.4-62.0	47.1-59.0	42.1-52.6	40.0-49.8	37.4-46.6	32.9-40.4	30.7-37.3	27.4-33.0	24.5-29.5	23.0-27.7	21.8-26.2
	Jiangchuan County	530421	43.8	41.4	38.4	36.6	34.1	29.7	26.8	24.9	20.9	18	17.5	16.2	14.9	14	12.8	11.5	10.4
			38.5-49.8	36.7-46.6	34.4-43.0	32.9-41.0	30.8-37.7	26.7-32.8	23.8-29.7	22.0-27.5	18.6-23.2	16.0-20.0	15.5-19.3	14.5-17.8	13.3-16.3	12.7-15.4	11.6-14.0	10.4-12.6	9.4-11.3
	Jianshui County	532524	45.7	40.4	41.6	38.8	35.8	34	31.9	29.2	28.8	27.7	26.6	22.7	20.4	17.5	15.9	14.7	14.1
			40.2-51.8	35.9-45.5	37.2-46.8	34.8-43.4	32.0-40.0	30.3-37.9	28.3-35.6	25.9-32.6	25.5-32.0	24.7-30.7	23.6-29.5	20.3-25.1	18.3-22.4	15.8-19.3	14.3-17.5	13.2-16.3	12.7-15.6
	Jingdong Yizu Zizhixian	530823	60.5	54.8	53.7	47.3	40.9	40.9	38	34.5	31.4	29.6	25.1	22.4	19.7	19.7	18.9	18.6	18.2
			54.3-67.4	49.3-60.8	48.6-59.5	42.8-52.3	36.9-45.3	36.6-45.5	33.8-42.4	30.5-38.4	27.8-35.0	26.3-32.8	22.2-27.8	20.0-24.8	17.6-21.6	17.7-21.6	17.0-20.7	16.7-20.4	16.4-20.0
	Zizhixian	530824	87	84.6	76.7	72.2	68.3	64.8	56.9	54.1	46	39.6	34.1	31.6	29	27.2	25.4	23.7	22.3
			78.5-96.1	76.3-93.2	69.0-84.7	65.1-79.6	61.2-75.3	57.8-71.5	50.4-62.9	47.7-60.0	40.7-51.1	35.1-43.9	30.2-37.6	28.1-34.8	26.1-31.8	24.6-29.8	22.9-27.9	21.4-26.0	20.2-24.3
	Jinghong City	532801	82.3	76.8	74.2	69.5	64.4	56.9	53.1	49.5	40.5	34.1	29.3	24.2	21.8	20.3	16.9	14.9	13.3
			73.7-92.3	68.9-85.5	67.0-82.1	62.9-76.5	58.2-71.1	50.9-63.1	47.1-59.0	43.8-55.0	35.7-44.9	30.2-37.9	25.9-32.5	21.6-26.8	19.5-24.0	18.2-22.3	15.2-18.6	13.4-16.5	11.9-14.6
	Jinning County	530122	44	40.9	36.7	32.7	30.1	29.9	28	27.2	24.4	20.9	18.6	18.3	17.5	17.9	18.7	17.8	17.1
			39.3-49.3	36.7-45.7	33.1-40.9	29.4-36.3	26.9-33.4	26.6-33.4	24.8-31.3	24.0-30.4	21.6-27.1	18.6-23.2	16.5-20.6	16.4-20.2	15.7-19.2	16.2-19.6	17.0-20.5	16.1-19.5	15.5-18.7
	Daizu Zizhixian	532530	94.8	90.4	86.9	84.7	83	66.7	66.2	65.7	62.4	58.6	53.7	44.8	36.7	27.9	22.1	19	16.9
			85.3-105.1	81.5-100.0	78.5-96.4	76.5-94.1	75.2-91.9	60.0-73.6	58.8-73.0	58.3-72.8	55.4-69.0	52.1-64.8	47.7-59.0	40.1-49.2	33.0-40.2	25.3-30.6	19.9-24.1	17.2-20.8	15.2-18.6
	Kaiyuan City	532502	62.4	60	54.2	48.1	41.9	41.3	39.4	39.6	35.8	33.6	29.7	25.3	22.3	21.1	18.1	17.1	16.4
			55.9-70.0	53.9-66.9	48.9-60.4	43.3-53.4	37.5-46.5	36.8-46.2	35.0-44.0	35.1-44.3	31.6-39.8	29.8-37.2	26.4-33.0	22.6-27.9	20.0-24.5	19.0-23.2	16.3-19.9	15.4-18.9	14.8-18.1
	Zizhixian	530828	117.2	109.8	101.5	96	83.2	79	70.2	66.7	55	50.5	38.9	36.3	34	33.1	29.7	27.4	26.6
			105.5-129.9	99.0-121.4	92.1-111.9	87.0-105.7	75.2-91.9	70.7-87.7	62.3-78.2	59.0-74.1	48.6-61.1	44.6-56.1	34.4-43.2	32.2-40.3	30.3-37.6	29.7-36.7	26.6-32.8	24.5-30.4	23.9-29.4
	Zizhixian	533325	93.2	85.3	75.7	63.5	55.4	44.8	39.4	34.7	29.3	26.6	23.7	21.4	20.6	21.4	23.5	24	24.6
			77.5-111.9	71.3-102.3	63.1-91.2	52.5-77.0	45.5-67.8	36.7-54.2	32.6-47.2	29.2-41.0	24.9-34.0	22.8-30.6	20.2-27.5	18.2-25.0	17.5-24.2	18.3-25.0	20.4-27.0	21.2-26.9	21.9-27.5
	Lianghe County	533122	66.2	63.1	56.1	49.1	43.5	43.5	40.9	40	39.4	40.4	37.8	34.2	30.6	25.9	24.3	21.8	21.1
			59.8-73.0	57.0-69.6	51.0-61.7	44.6-53.9	39.4-47.8	39.0-48.1	36.2-45.3	35.2-44.4	34.9-43.7	35.9-44.7	33.7-41.8	30.5-37.6	27.5-33.6	23.4-28.4	21.9-26.7	19.8-23.9	19.2-23.1
	Linxiang District	530902	59.4	55.3	49.1	43.3	39.8	38.4	34.9	33.3	27.6	24.4	21.7	17.8	16.9	15.9	16.1	16.4	17.3
			53.4-66.3	49.7-61.5	44.4-54.4	39.1-48.0	35.8-44.0	34.3-42.7	31.0-38.9	29.4-37.1	24.4-30.7	21.6-27.0	19.2-24.1	15.9-19.7	15.1-18.6	14.3-17.4	14.5-17.6	14.8-18.1	15.6-19.0
	Longchuan County	533124	78.9	80.5	72.7	59.9	53.4	44.9	41.7	40.5	34.8	27.8	27.6	26.7	26.7	28	28.2	26.2	25.3
			69.5-90.0	71.4-90.9	64.9-81.6	53.7-66.9	47.9-59.4	40.1-50.0	37.0-46.5	35.9-45.1	30.8-38.6	24.7-30.7	24.5-30.6	23.9-29.4	24.0-29.3	25.3-30.6	25.6-30.7	23.8-28.7	23.0-27.6
	Longling County	530523	77.1	71.5	66.7	57.7	53.7	48.9	49.1	42.3	37.3	32.2	27	23.4	22.6	21.3	20.1	18	17.2
			69.7-85.1	64.7-78.9	60.2-73.5	52.1-63.6	48.4-59.3	43.9-53.8	43.6-54.0	37.4-46.7	33.0-41.2	28.6-35.7	24.0-29.8	21.0-25.7	20.3-24.8	19.3-23.3	18.2-22.0	16.4-19.7	15.6-18.8
	Longyang District	530502	54.9	54.8	52.1	49.7	49.3	45.7	39.4	37.1	33.7	29.9	27	24.6	24.8	24.3	23.3	21.8	20.9
			49.5-60.7	49.4-60.5	47.0-57.6	44.7-55.0	44.5-54.6	41.0-50.3	35.0-43.5	32.9-41.1	29.8-37.3	26.5-33.1	24.0-29.8	22.0-27.2	22.4-27.1	22.0-26.5	21.1-25.5	19.8-23.9	19.0-22.9
	Zizhixian	530128	65.4	59.5	53.1	49	42.7	39	35.7	35	29.5	27.4	27.5	28.2	28.7	29.1	30	28.4	27.5
			57.6-74.1	53.0-67.0	47.6-59.4	44.2-54.5	38.5-47.3	35.0-43.1	31.7-39.6	30.9-38.7	26.2-32.8	24.3-30.3	24.5-30.3	25.2-31.0	25.9-31.6	26.3-31.8	27.1-32.9	25.8-31.1	25.0-30.0
	Luchun County	532531	90.2	84.5	83.7	82	84.5	71.8	77.3	73.9	70.3	71.3	75.5	70.9	62	52.6	41.9	35.4	31.1
			79.7-102.0	75.0-95.6	73.9-95.3	71.6-94.0	73.2-97.3	61.8-82.6	66.6-88.5	64.4-83.5	62.2-77.9	63.2-78.7	66.5-84.3	61.9-80.0	53.9-70.3	46.1-59.6	37.3-46.8	31.9-39.1	28.1-34.1
	Ludian County	530621	131	127	119.9	114.4	109.5	92.4	78.9	70.4	55.9	48.7	40.6	38	35.8	35.5	33.1	29.6	27.1
			117.8-145.8	114.4-140.9	108.5-132.7	103.3-126.4	98.7-121.6	82.5-102.8	70.0-88.3	62.1-78.9	49.2-62.5	42.7-54.6	35.6-45.6	33.3-42.7	31.4-40.1	31.5-39.7	29.4-37.1	26.4-33.2	24.2-30.4
	Lufeng County	532331	68.1	60.4	52.3	43.5	37.5	35.5	31.6	31.3	29.1	26.8	24.3	24.5	23.5	21.5	20.5	18.3	17.1
			56.7-80.4	51.7-69.9	45.7-59.2	38.7-48.4	33.7-41.5	31.8-39.3	27.6-35.4	26.7-35.9	24.7-34.1	22.6-31.7	20.5-28.8	21.0-28.8	20.4-27.2	19.1-24.3	18.5-22.8	16.6-20.1	15.5-18.7
	Luliang County	530322	68.1	67.2	63.3	59.3	56.7	50.9	44.4	41.8	36.9	34.1	34.5	31.9	28.9	26.2	24.1	21.2	19.4
			61.2-75.9	60.5-74.4	57.1-69.9	53.0-65.6	50.5-62.4	45.2-56.5	39.0-49.3	36.4-47.2	32.2-41.6	30.0-38.2	30.6-38.4	28.2-35.5	25.6-32.4	23.1-29.4	21.5-26.9	19.0-23.7	17.5-21.4
	Luoping County	530324	120.8	116.6	106	97.3	91.1	85.1	75	70.1	62.8	51.5	43.7	36.7	31.7	28.2	25.9	22.7	20.3
			102.1-140.9	100.8-133.3	92.8-118.7	86.1-108.1	80.6-100.9	75.2-94.8	65.4-84.4	60.1-79.7	53.1-72.2	43.2-60.4	37.1-51.2	31.3-43.0	27.1-37.0	24.3-32.3	22.8-29.0	20.5-25.1	18.4-22.2
	Lushui County	533321	108.1	100.4	92.5	89.8	79.4	73.2	68.5	56.6	50.7	45.4	40.1	35.4	32.6	31.5	32.3	29.5	29.1
			97.6-119.4	90.5-111.0	83.8-102.3	81.2-99.2	72.0-87.7	65.9-80.6	61.0-75.8	50.3-62.7	44.9-56.3	40.2-50.5	35.6-44.7	31.5-39.5	28.9-36.3	28.1-35.1	28.8-35.9	26.3-32.8	26.0-32.5
	Luxi County	532527	85.1	80.7	74.3	65.4	60.6	49.2	45.8	37.1	34	31.7	31	27.7	25	23.9	23.7	21.6	19.8
			74.5-98.2	71.1-92.0	65.9-84.1	58.3-73.3	54.3-67.6	43.9-55.0	40.6-51.2	32.8-41.6	30.0-37.9	27.8-35.3	27.3-34.7	24.4-31.0	22.0-28.0	21.2-26.8	21.0-26.6	19.1-24.3	17.6-22.3
	Maguan County	532625	71.8	70.8	67.2	61.8	56.1	49.8	45.8	44.3	39.4	36	33.5	29	25.9	23.5	21.9	20.1	18.8
			65.1-79.1	63.8-77.9	60.2-73.9	55.4-68.0	50.2-61.8	44.3-54.9	40.4-50.7	39.0-49.2	34.8-43.9	32.0-40.1	29.7-37.1	25.9-31.9	23.2-28.4	21.2-25.8	19.8-24.1	18.1-22.1	17.1-20.6
	Malipo County	532624	103.5	105.3	106.9	99.4	98.4	78.8	67.3	59.4	50.9	45	40.2	34.4	29.3	26.2	24.9	22.4	21.3
			93.6-114.1	95.0-116.2	95.9-117.9	88.7-109.3	87.5-108.6	69.9-87.5	59.1-74.6	52.3-66.1	45.0-56.9	39.9-49.9	35.6-44.5	30.6-38.2	26.2-32.4	23.5-28.9	22.4-27.4	20.3-24.7	19.3-23.3
	Malong County	530321	71.8	68	60	57.7	50.5	46.1	42.2	39.7	39.8	35.7	32.4	31.2	29.7	25.2	24.7	21.3	19.3
			63.4-81.3	60.6-76.5	53.7-67.3	51.7-64.4	45.2-56.3	41.1-51.6	37.4-47.1	35.1-44.5	35.2-44.3	31.6-39.7	28.7-36.0	27.9-34.6	26.6-32.7	22.6-27.7	22.2-27.2	19.1-23.5	17.4-21.2
	Mang City	533103	65.3	62.9	59	53	47.2	44.6	41.2	40.6	33.4	29.5	25	23.7	22.3	22.4	22.8	21.4	20.3
			57.8-73.9	56.1-70.7	52.9-66.3	47.4-59.4	42.0-53.0	39.5-50.1	36.2-46.5	35.7-45.8	29.4-37.7	25.9-33.1	22.0-28.2	20.8-26.5	19.7-24.9	19.9-25.0	20.4-25.4	19.1-23.8	18.1-22.5
	Menghai County	532822	120	109.3	106.1	96.4	91.9	81.2	78.1	71.4	57.1	48.4	39.8	32.3	30.3	27.8	25.7	23.1	21.5
			100.1-141.3	93.9-126.1	92.7-119.7	85.5-107.5	82.2-101.1	72.5-89.9	68.5-87.3	61.2-81.3	48.5-66.4	40.7-56.9	33.5-47.1	27.6-37.8	26.2-34.8	24.6-31.1	23.1-28.3	21.0-25.2	19.5-23.4
	Mengla County	532823	104.7	104.2	98.5	97.1	90.5	87.1	84.1	84.7	64.7	55.5	46.3	41.3	35	31.4	28.1	23.9	21.6
			94.6-115.6	93.9-114.9	89.0-108.6	87.5-107.3	81.4-99.9	78.0-96.0	74.6-92.6	75.0-93.8	57.5-71.8	49.4-61.4	41.2-51.0	36.9-45.5	31.5-38.3	28.5-34.3	25.5-30.6	21.7-26.1	19.6-23.5
	Vazu Zizhixian	530827	139.3	138	124.7	122	92.8	96.6	81.8	81	62.4	48.4	33.9	31.7	28.2	25.6	28.6	26.3	26
			123.2-157.6	123.0-155.1	111.3-140.5	108.1-137.9	81.5-105.3	84.3-109.9	70.9-93.4	70.0-92.4	53.6-71.3	41.4-55.8	28.8-39.4	27.1-36.9	24.2-32.7	22.1-29.6	24.8-32.8	22.7-30.1	22.8-29.6
	Mengzi County	532503	75	68.6	62.7	56.3	50.1	49.7	43.1	38.1	34	35.5	27.9	22.7	21.3	19	15.4	14	13.6
			67.1-84.3	61.4-76.5	56.4-70.0	50.5-62.8	44.7-56.0	44.1-55.8	38.0-48.5	33.5-43.0	29.8-38.4	31.1-39.9	24.5-31.5	19.9-25.6	18.7-24.0	16.8-21.4	13.6-17.2	12.4-15.8	12.1-15.3

Province	County	County Code (2012)	Under-5 Mortality Rate (per 1000 births)																
			1996	1997	1998	1999	2000	2001	2002	2003	2004	2005	2006	2007	2008	2009	2010	2011	2012
	Midu County	532925	47.1	44.7	41.9	41.2	39.7	37.4	34.8	33.3	32.4	30.2	31	28.6	27.8	26.1	24.5	22.9	21.3
			42.6-52.0	40.3-49.4	37.8-46.2	37.1-45.3	35.6-43.8	33.4-41.2	30.9-38.5	29.5-37.0	28.7-36.1	26.9-33.6	27.5-34.3	25.5-31.5	24.9-30.5	23.6-28.7	22.2-27.0	20.7-25.3	19.3-23.4
	Mile County	532526	49.5	47.9	44	45.4	42.2	35.8	34.1	34.1	30.1	28.8	29.7	27.4	25.8	23.8	21.6	19.2	17.9
			44.8-54.6	43.1-52.9	39.6-48.8	40.6-50.4	37.6-46.8	31.9-39.7	30.0-38.0	29.8-38.4	26.3-34.0	25.3-32.4	26.3-33.2	24.2-30.6	22.7-28.9	20.8-26.9	19.0-24.4	17.0-21.6	16.0-20.0
	Zizhixian	530822	90.6	84.1	77.7	69.1	62	57.3	49.5	48.8	43.6	40.8	36.7	33.1	30.6	28.1	26.4	24.6	24.3
			81.2-101.7	75.4-93.6	70.2-86.2	62.6-76.2	56.1-68.4	51.4-63.5	44.0-54.8	43.0-54.1	38.6-48.4	36.2-45.2	32.6-40.5	29.6-36.4	27.6-33.5	25.4-30.7	24.0-28.8	22.3-26.8	22.1-26.5
	Mouding County	532323	52.6	52.1	47	46.9	42.9	42.8	38.1	33.7	32	31.3	26.7	25	23.5	21.6	19.8	17.5	17.4
			47.0-59.3	46.6-58.2	42.3-52.5	42.2-52.1	38.6-47.6	38.2-47.8	33.9-42.6	29.8-37.7	28.3-35.5	27.8-34.7	23.6-29.6	22.4-27.7	21.0-25.8	19.5-23.7	17.9-21.8	15.8-19.3	15.7-19.1
	Nanhua County	532324	85.8	75.7	66.3	57	48.5	46.8	42.7	41.5	38	35.9	29.7	28.6	26	24.6	22.3	20.3	18.7
			71.2-101.7	64.7-87.8	57.6-75.3	50.8-63.1	43.8-53.6	41.6-52.1	37.0-48.6	35.1-48.3	31.7-45.0	29.7-43.0	24.5-35.7	24.0-34.0	22.3-30.3	21.7-27.9	20.0-24.9	18.2-22.4	16.9-20.6
	Nanjian Yizu Zizhixian	532926	80.4	77.7	68.3	60	55.6	51.3	48.7	49.5	45	41.8	37	35.2	33.3	31.7	27.6	25.1	23.3
			72.5-88.9	70.1-85.8	62.1-75.3	54.4-65.8	50.2-61.2	46.0-56.8	43.2-54.0	43.6-54.8	39.9-50.0	37.0-46.2	32.8-40.7	31.5-38.7	30.0-36.4	28.6-34.6	25.0-30.0	22.8-27.4	21.2-25.5
	Zizhixian	530821	83.3	68.1	61	57.3	51.8	52.1	46.2	48.7	38.2	35.5	29.8	25.7	23.9	21.5	19.5	19.1	18.7
			73.8-94.2	60.7-76.8	54.4-68.5	51.2-64.2	46.3-57.9	46.4-58.4	40.9-51.6	43.0-54.4	33.7-42.4	31.5-39.4	26.3-33.1	22.9-28.5	21.4-26.3	19.3-23.6	17.5-21.4	17.1-21.1	16.8-20.6
	Ninglang Yizu Zizhixian	530724	90.5	83.6	69.9	59.7	59.4	50.8	46.4	51.9	48.3	45.2	42.7	40	38.5	35.7	33.5	30.8	29.3
			79.9-102.5	74.1-95.0	61.2-80.1	51.6-69.3	51.0-69.6	43.1-59.6	39.4-53.9	44.4-59.5	42.2-54.9	39.6-50.9	37.2-48.5	34.5-45.8	33.1-44.4	30.9-41.1	29.4-38.1	27.5-34.4	26.3-32.4
	Panlong District	530103	21.7	18.9	18.2	16	13.1	14.9	15.2	11.8	13.6	12.1	11.4	12.6	12.3	13	13	13.1	13.1
			17.7-26.9	15.3-23.6	14.6-22.8	12.8-20.0	10.4-16.4	11.9-18.6	12.1-18.9	9.5-14.4	11.1-16.5	10.0-14.6	9.4-13.6	10.6-14.9	10.5-14.3	11.2-15.0	11.4-14.9	11.5-14.8	11.6-14.8
	Zizhixian	532523	73.1	68.7	64.7	64.3	63.7	62.5	59.9	55.5	44.5	46.1	42.2	37.3	32.6	28.9	22.5	19.7	17.9
			64.1-84.1	60.6-78.3	57.4-73.3	57.2-72.5	56.9-71.3	55.8-70.1	53.0-66.9	49.1-62.1	39.3-49.5	40.9-51.2	37.3-46.9	33.3-41.4	29.2-35.9	26.0-31.9	20.2-24.8	17.7-21.9	16.1-19.8
	Qiaojia County	530622	86.2	77.2	70.8	62.2	58.5	45.9	37.6	33.6	27.7	25	25.8	25.3	24.2	23.5	21.8	19.7	18.1
			77.1-97.0	69.3-86.0	63.9-78.6	56.1-69.0	52.8-64.5	41.3-50.6	33.4-41.5	29.7-37.2	24.5-30.8	22.0-27.7	22.8-28.5	22.6-28.0	21.7-26.4	21.3-25.7	19.7-23.8	17.9-21.5	16.4-19.7
	Qiubei County	532626	78.1	80.2	71.7	71.8	66.6	66.6	65.1	60.7	62	55	54.4	45.6	40	30.4	28.2	25.2	23.3
			66.7-90.6	70.5-90.7	63.9-79.9	63.4-81.0	57.9-76.0	57.1-76.6	55.3-75.4	51.1-70.5	52.0-72.6	46.1-64.7	45.7-64.2	38.0-53.9	33.8-47.0	26.1-35.4	24.6-32.1	22.6-28.1	20.9-25.7
	Qulin City	530302	45.5	44.9	44	45.6	42	38.4	32.9	29.8	26.1	22.7	22.3	19.3	18.2	16.3	15.4	14	12.8
			41.0-50.6	40.5-49.6	39.8-48.8	41.1-50.5	37.8-46.4	34.4-42.3	29.2-36.4	26.3-33.0	23.1-29.0	20.1-25.1	19.8-24.5	17.3-21.3	16.4-19.9	14.8-17.8	14.0-16.9	12.8-15.3	11.6-14.0
	Ruili City	533102	62	65	64.4	64.2	60.7	56	48.2	42.5	34.5	31.4	28.9	25.8	21.7	21.1	19.2	18	17.2
			54.6-70.3	57.8-73.2	57.6-72.2	57.5-71.6	54.3-67.7	49.9-62.7	42.7-54.1	37.5-47.8	30.4-38.8	27.6-35.1	25.4-32.3	22.7-28.8	19.2-24.3	18.8-23.5	17.2-21.4	16.0-20.1	15.4-19.2
	Shanggelila County	533421	75.8	69.8	62.7	61.5	56.9	50.3	46.9	39.2	33.9	31.3	29.6	29.3	28	27.5	27.5	25.9	24.4
			67.0-85.7	62.3-78.6	56.2-70.6	54.9-69.1	50.6-64.0	44.5-56.6	41.2-53.0	34.4-44.4	29.8-38.3	27.4-35.1	26.0-33.2	25.8-32.7	24.8-31.3	24.5-30.6	24.6-30.5	23.1-28.8	21.9-27.1
	Shidian County	530521	76.2	73.9	67.9	60.2	54.5	53.2	48.8	45.2	40.1	36.4	31.3	27.7	25.7	22.9	22.1	20.1	19.1
			68.9-84.0	66.9-81.5	61.1-75.0	53.7-66.6	48.5-60.0	47.2-58.9	42.9-54.1	39.5-50.8	35.2-45.1	32.1-40.6	27.8-34.6	24.6-30.6	22.7-28.6	20.3-25.5	19.8-24.6	18.1-22.2	17.3-21.0
	Shilin Yizu Zizhixian	530126	51.1	48.4	45.3	41.8	40.1	35.2	35.1	33.8	28.9	27.1	27.7	25.6	24.9	23.8	23.2	22.3	21.6
			45.8-57.3	43.4-53.9	40.8-50.3	37.7-46.3	36.2-44.4	31.5-39.1	31.1-39.1	29.8-37.6	25.6-32.1	24.0-30.0	24.6-30.6	23.0-28.2	22.4-27.2	21.5-26.0	21.0-25.3	20.2-24.3	19.7-23.6
	Shiping County	532525	58.2	51.4	48.8	42.9	38.6	32.9	31.6	27.6	25.9	26.9	26	24.3	22.2	21.8	22.4	20.3	18.9
			50.2-68.2	44.3-60.3	42.3-57.4	36.8-50.0	33.2-45.0	28.2-38.2	27.1-36.4	23.9-31.3	22.9-28.9	23.8-29.9	22.9-29.2	21.0-27.7	19.1-25.4	18.9-25.1	19.6-25.4	18.0-22.7	16.9-21.1
	Shizong County	530323	112.9	110.1	103.9	101.8	94.8	89.5	80.2	69.9	57.7	51.2	38.5	32.7	31	29.4	28.2	26.4	26.1
			101.5-125.7	99.2-122.3	94.0-115.0	92.2-112.1	85.8-104.8	80.2-99.3	71.3-89.4	61.7-77.6	51.0-64.2	45.0-57.0	34.0-43.0	28.8-36.4	27.4-34.6	26.2-32.7	25.2-31.4	23.5-29.4	23.3-29.1
	Shuangbai County	532322	61.1	56.9	54.1	51.6	47.5	40.9	38.8	37.5	35.5	31.1	30.6	27.9	25.1	21.3	18.3	15.9	14.1
			54.7-68.6	51.0-63.5	48.9-60.1	46.7-57.0	43.0-52.5	36.8-45.2	34.4-43.1	33.1-41.6	31.5-39.4	27.6-34.4	27.3-33.8	25.0-30.7	22.6-27.4	19.2-23.2	16.6-20.0	14.4-17.4	12.8-15.4
	Vazu Blangzu Daizu	530925	103.2	99.3	89	78.4	73.7	70.5	65.7	57	42.9	35	26.9	21.6	19.3	20.5	20.7	21.2	22.6
			91.4-116.7	88.5-111.5	79.8-99.7	70.1-87.7	65.8-82.4	62.7-79.2	58.0-73.9	50.2-64.0	37.5-48.4	30.6-39.3	23.4-30.4	18.8-24.5	16.8-21.9	18.0-23.1	18.3-23.3	18.8-23.9	20.1-25.4
	Shuifu County	530630	73.3	71.8	69.1	65.2	63.2	57.6	48.6	44.9	40.5	35.8	29.5	26.2	26.4	26.1	25.3	23.8	23.1
			65.2-82.8	64.2-80.3	62.0-77.0	58.6-72.6	56.5-70.3	51.4-64.4	43.0-54.5	39.6-50.5	35.7-45.2	31.6-39.8	26.1-32.9	23.2-29.1	23.5-29.3	23.5-28.9	22.8-27.9	21.4-26.3	20.8-25.4
	Simao District	530802	59.8	56.2	46.5	39.8	33.4	32.9	29.7	29.3	21.9	19.9	17.1	15.9	14.5	15	13.6	13.4	13.1
			52.4-69.0	49.0-64.6	40.8-53.7	34.6-46.0	29.1-38.5	28.5-37.7	25.7-34.1	25.4-33.4	19.0-25.0	17.3-22.6	14.9-19.5	13.8-18.0	12.7-16.4	13.2-16.9	12.0-15.2	11.8-15.0	11.7-14.7
	Songming County	530127	43.8	39.4	36	31.4	28.7	27.1	24.6	24.2	22.9	22.6	22	21.1	21.5	20.5	18.6	17.7	17.5
			39.6-48.3	35.7-43.6	32.5-39.8	28.3-34.6	25.8-31.7	24.3-29.9	21.9-27.3	21.4-26.8	20.3-25.5	20.0-25.0	19.6-24.4	18.8-23.2	19.3-23.6	18.6-22.5	16.8-20.4	16.0-19.5	15.9-19.2
	Suijiang County	530626	80.5	77.6	76.2	71.4	64.3	61.3	55.8	48.6	40.4	35.8	30.7	26.9	25.7	24.3	21.8	19.3	17.6
			72.4-89.6	70.0-86.1	68.9-84.1	64.6-78.6	58.0-71.1	54.9-68.1	49.5-62.2	42.9-54.0	35.6-44.9	31.6-39.8	27.2-34.2	23.8-29.8	22.8-28.4	21.7-26.9	19.6-24.2	17.3-21.4	15.8-19.5
	Tengchong County	530522	59.2	57.3	54.5	50	44.5	41.9	40.6	38.6	33.7	32.2	32.1	31.6	29.3	27.2	24.9	22	19.5
			53.5-65.3	51.8-63.2	49.0-60.0	44.8-55.1	39.9-49.1	37.4-46.2	35.9-44.8	34.2-42.9	29.8-37.5	28.6-35.8	28.5-35.6	28.1-34.6	26.3-32.1	24.6-29.9	22.4-27.3	19.9-24.3	17.7-21.3
	Tonghai County	530423	41.7	40.4	38.9	37.2	32.9	30	26.3	23.8	20.6	18.4	17.3	17.2	16.4	15.6	15.2	13	12.5
			36.5-48.2	35.6-46.1	34.5-44.0	33.2-41.7	29.4-36.6	26.7-33.5	23.3-29.4	21.0-26.5	18.2-22.9	16.3-20.4	15.4-19.3	15.3-19.0	14.7-18.0	14.1-17.1	13.7-16.6	11.7-14.3	11.3-13.7
	Zizhixian	532927	61.4	57.6	53.4	44.5	40.9	36.4	32.4	31.3	30	26.4	27.5	26.4	24.7	24.8	24.1	22.6	21.7
			46.5-80.5	44.6-73.7	42.2-67.7	35.6-55.9	33.4-50.4	30.1-44.2	27.1-38.1	26.8-36.0	26.3-34.1	23.0-30.1	23.4-31.9	21.7-31.5	19.6-30.6	19.0-31.8	17.8-31.7	16.3-30.6	15.1-30.1
	Weixi Lisuzu ZizhiXian	533423	91.4	85.2	84.3	78.9	76.4	70.5	65.4	62.1	47	43.4	43.4	41.4	39.3	38	36.6	34.1	32.1
			80.5-104.0	75.6-96.0	75.4-94.3	70.9-87.9	68.6-84.8	62.9-78.2	58.1-73.0	54.9-69.0	41.6-52.2	38.5-48.0	38.6-47.9	37.0-45.6	35.4-43.0	34.3-41.6	33.1-40.0	31.0-37.3	29.1-35.0
	Weixin County	530629	111.3	105.7	101.4	94.6	84.7	83.7	78.9	69.5	59.5	51.7	41.6	35	32.3	29.8	27.2	24.5	23.2
			100.5-122.9	95.2-116.5	91.3-111.9	85.3-104.4	76.1-93.6	74.9-92.1	69.9-87.1	61.5-76.8	52.8-66.1	45.9-57.2	37.0-45.8	31.4-38.6	29.1-35.4	27.0-32.6	24.7-29.7	22.2-26.8	21.0-25.3
	Wenshan County	532601	94.2	88.5	86	85.8	77	67.2	60.9	58.1	50.6	47.2	41.4	38.1	33.7	30.4	27.2	24.8	23.6
			84.9-103.8	79.5-97.5	76.9-94.7	76.3-94.3	68.4-85.2	59.4-74.7	53.6-67.8	51.1-64.9	44.4-56.7	41.6-52.7	36.6-46.0	33.8-42.2	30.0-37.4	27.2-33.9	24.2-30.2	22.3-27.6	21.4-26.1
	Wuding County	532329	83.8	76.7	68.6	58.4	53.3	52.8	47.7	42.3	36.6	34	29.8	29.8	30.2	29.2	25.8	23	20.7
			75.4-93.0	69.2-85.0	62.1-75.8	52.7-64.6	48.0-59.1	47.2-58.9	42.4-53.3	37.3-47.2	32.4-40.7	30.2-37.7	26.4-33.1	26.6-32.9	27.0-33.1	26.3-32.0	23.2-28.3	20.7-25.3	18.6-22.7
	Wuhua District	530102	23.3	21.9	18.9	18.9	14.7	13.6	13.3	12.2	11.1	13	12.2	12.4	12.2	12.2	11	11.3	11.7

Province	County	County Code (2012)	Under-5 Mortality Rate (per 1000 births)																
			1996	1997	1998	1999	2000	2001	2002	2003	2004	2005	2006	2007	2008	2009	2010	2011	2012
			16.3-32.2	15.8-29.9	14.0-25.5	14.2-24.8	11.3-18.8	10.7-16.9	10.7-16.3	10.1-14.5	9.3-13.0	11.0-15.3	10.3-14.4	10.3-14.9	9.8-15.0	9.5-15.6	8.2-14.5	8.2-15.3	8.2-16.3
	Xiangyun County	532923	61.3	54.9	50.6	45.5	42.4	40	37.5	37.7	33.5	30.4	29.4	27.2	25.7	23.9	22.2	20.1	18.9
			54.9-68.8	49.2-61.1	45.6-56.3	41.0-50.6	38.4-47.0	36.0-44.2	33.4-41.5	33.4-41.8	29.7-37.1	26.9-33.6	26.1-32.4	24.4-30.0	23.2-28.2	21.6-26.1	20.1-24.3	18.2-21.9	17.2-20.6
	Xichou County	532623	99.8	98.2	90.3	82.2	70.2	70.7	65	63.1	56.8	51.3	44	40.4	36.5	32.2	29.4	25.8	23.6
			90.4-110.0	88.5-108.2	81.1-99.5	73.8-90.4	63.0-77.5	63.1-78.1	57.5-71.8	55.7-69.9	50.4-63.2	45.6-56.9	39.1-48.6	35.9-44.4	32.9-39.9	29.2-35.2	26.5-32.1	23.3-28.2	21.4-25.9
	Ximeng Vazu Zizhixian	530829	144.2	136.9	134.1	132.8	119	121.2	116.6	97.2	75.7	71	55.7	46.9	42	39.3	37.2	34.8	33.6
			128.4-162.5	122.4-153.5	120.3-149.8	119.3-148.1	106.6-132.7	108.0-135.3	103.4-130.7	86.0-109.0	66.6-84.7	62.3-79.3	49.0-62.5	41.1-52.7	36.9-47.1	34.8-44.0	33.1-41.7	31.0-39.0	30.0-37.6
	Zizhixian	530427	86.9	81.9	80.9	76.6	70.2	63.4	55.6	49.4	45.3	39.6	34.7	30.1	27.6	24.3	23.7	21.2	20.3
			77.6-97.8	73.4-91.3	72.9-89.8	69.1-85.2	63.3-77.4	56.8-69.9	49.4-61.1	43.8-54.7	40.2-50.3	35.1-43.9	30.8-38.3	27.0-33.2	24.8-30.2	22.0-26.6	21.5-25.9	19.3-23.1	18.4-22.1
	Xishan District	530112	36.5	33.7	29.5	28.4	24.2	21.5	18.1	18.6	13.4	11.9	9.6	10.2	9.2	8.6	8.4	8.1	8.5
			31.8-42.1	29.3-39.1	25.5-34.2	24.1-33.5	20.3-28.9	17.9-25.9	14.9-21.5	15.5-22.0	11.3-15.8	10.0-13.9	8.0-11.4	8.5-12.1	7.6-11.0	7.2-10.2	7.1-9.8	7.0-9.4	7.4-9.8
	Xuanwei City	530381	133.8	116.4	100.3	81.6	67.1	53.8	45.9	41.5	36.6	33.1	31.6	29.4	26.4	24.8	23.4	21	19.5
			112.9-154.2	100.0-132.3	87.7-112.4	71.9-91.1	59.1-75.4	47.2-60.0	40.3-51.3	36.2-46.3	31.9-41.3	28.5-38.0	27.1-36.9	25.0-34.5	22.4-30.8	21.4-28.6	20.5-26.4	18.8-23.4	17.5-21.6
	Zizhixian	530129	72.5	68.7	62.8	57.4	51.2	48.2	44.6	39.8	36.7	34.2	31.5	31.3	32.3	33.1	36.2	34.9	34.7
			65.0-81.1	61.9-76.4	56.7-69.8	51.8-63.7	46.0-56.8	43.0-53.8	39.6-50.0	35.1-44.5	32.4-40.8	30.4-37.9	28.0-35.0	28.0-34.5	29.1-35.3	30.0-36.2	32.9-39.5	31.6-38.1	31.5-37.8
	Yangbi Yizu Zizhixian	532922	53.7	47.9	44.4	41.2	37.2	32.5	29.7	27.5	25.4	23.5	19.8	15.9	14.9	14.4	14.5	14.3	14.4
			47.2-61.1	42.4-54.2	39.5-50.3	36.5-46.5	32.9-42.1	28.5-36.7	26.0-33.7	24.1-31.1	22.3-28.7	20.6-26.5	17.3-22.3	13.9-17.9	13.1-16.7	12.8-16.2	13.0-16.2	12.7-15.9	12.9-16.1
	Yanjin County	530623	69.2	70	62.4	60.3	62	54.6	52.4	47.1	46	42.9	41.6	37.8	32.8	29.9	26.2	23.1	21.4
			62.8-76.3	63.4-77.2	56.1-68.9	53.8-66.6	55.1-68.3	48.6-60.5	46.0-58.2	41.1-53.1	40.2-51.8	37.8-48.1	37.0-46.2	33.5-41.9	29.0-36.7	26.4-33.5	23.4-29.1	20.7-25.6	19.3-23.6
	Yanshan County	532622	107.9	112.1	106.9	101.3	94.2	89.2	80.6	75.5	72	60.9	54	44.4	37.8	31.4	27.7	24.1	21.4
			97.6-118.8	101.2-123.6	95.9-117.8	90.4-111.6	83.7-103.8	79.2-98.9	70.9-89.3	66.0-84.8	63.1-80.9	53.6-67.8	47.9-59.6	39.5-49.2	33.6-42.1	28.0-35.1	24.7-30.8	21.7-26.6	19.4-23.3
	Yao'an County	532325	67.1	61.1	53.2	49.2	43.6	36.4	34.1	32.7	25.4	24	23.7	20.9	20.1	19.2	17.8	16.1	14.7
			50.2-88.6	46.5-79.3	41.9-67.5	39.6-60.8	36.4-52.5	31.0-42.6	29.7-38.8	29.0-36.7	22.4-28.2	21.1-26.9	20.5-27.2	17.5-24.6	16.3-24.4	14.9-24.3	13.4-23.4	11.7-21.7	10.2-20.3
	Yiliang County	530125	37.2	34.1	31.1	27.9	25.7	24.5	22.4	21	19	17	16	15.4	16.1	16.8	17.6	17.4	18.4
			32.8-42.4	30.2-38.9	27.3-35.5	24.3-32.0	22.1-29.8	21.0-28.5	19.2-25.8	18.2-23.9	16.8-21.3	15.1-18.9	14.1-17.9	13.4-17.5	13.9-18.3	14.8-19.0	15.6-19.6	15.7-19.1	16.7-20.0
	Yiliang County	530628	122.1	111.7	97	89.8	84.5	79.1	76.7	69.1	61.7	55.5	46.8	43.6	38.8	35.8	30.8	27.1	24.7
			109.9-135.8	100.7-123.9	87.7-107.5	81.0-99.4	76.0-93.6	70.6-88.1	68.2-85.6	61.0-77.1	54.5-68.7	49.1-61.7	41.4-52.2	38.8-48.4	34.6-43.0	32.0-39.6	27.6-34.1	24.2-30.1	22.1-27.4
	Yimen County	530425	57.2	56	51.7	48.5	42.1	36.2	33.6	29.8	24.2	23.5	20.2	17.8	18.7	19.1	19.2	18.2	17.4
			49.7-66.7	48.8-64.6	45.4-59.4	42.6-55.5	37.1-47.9	31.8-41.3	29.2-38.3	26.0-33.7	21.1-27.5	20.5-26.5	17.6-22.8	15.6-20.1	16.5-21.0	17.0-21.4	17.2-21.4	16.2-20.3	15.5-19.3
	Yingjiang County	533123	97.9	95.1	91.1	80.1	70.4	65.1	52.4	48	39.7	37.9	31	29.3	28.1	27.2	25.5	24.4	23.5
			86.5-110.8	84.9-106.8	81.7-101.8	71.9-89.2	63.0-78.6	58.0-73.0	46.3-58.8	42.3-54.0	34.9-44.8	33.3-42.5	27.3-34.8	25.7-32.8	24.7-31.5	24.1-30.3	22.7-28.4	21.7-27.2	21.0-26.2
	Yongde County	530923	84.5	73.8	62	48	41.7	40.8	37.2	37.5	29.5	27.3	22.1	18.7	17.9	17.8	19.9	20.5	22
			70.1-100.1	62.8-85.6	53.6-70.5	42.8-53.5	37.4-46.3	36.1-45.7	32.1-42.6	31.5-43.9	24.3-35.3	22.4-33.0	18.2-26.8	15.6-22.3	15.3-21.0	15.5-20.2	17.8-22.3	18.4-22.7	19.8-24.2
	Yongping County	532928	85.7	79.9	74.7	66.3	60.3	60.2	53.6	50.1	41.6	36.9	32.6	29.9	26.3	23.8	20.6	17.8	16.2
			77.3-94.8	72.0-88.4	67.7-82.6	59.9-73.5	54.6-66.7	54.1-66.4	47.7-59.2	44.5-55.5	36.9-46.1	32.8-41.0	28.9-36.0	26.8-33.0	23.7-28.9	21.5-26.1	18.6-22.5	16.1-19.5	14.6-17.8
	Yongren County	532327	79.8	73.7	69.9	59.1	53.6	48.3	44.7	38.7	31.7	29.4	26.6	23.7	21.6	20.7	19.6	17.6	16.1
			69.2-93.2	63.9-85.4	61.1-80.9	51.6-68.2	46.9-61.3	42.3-55.1	38.8-51.0	33.7-44.1	27.5-36.1	25.5-33.3	23.1-30.3	20.6-26.9	18.9-24.6	18.2-23.5	17.3-22.0	15.5-19.9	14.3-18.2
	Yongshan County	530625	98.1	84.9	78.7	68.2	61.8	57	53.6	53.5	48.8	47.4	42	38.3	33.3	29.7	25.1	21.5	19.8
			88.7-108.3	76.7-93.8	71.4-86.6	61.9-75.0	55.8-68.1	51.0-63.2	47.6-59.5	47.2-59.3	43.2-54.2	42.0-52.3	37.3-46.4	34.3-42.0	30.0-36.4	26.8-32.5	22.6-27.4	19.3-23.6	17.9-21.8
	Yongsheng County	530722	84.4	79.2	73.3	68.1	64.1	61.1	52.9	48.8	48.7	45.7	41.9	37.2	35.1	31	29.6	27.8	26.4
			75.7-94.5	71.3-87.9	66.2-81.3	61.5-75.7	57.8-70.7	54.8-67.4	46.9-58.3	43.3-54.1	43.2-54.1	40.6-50.6	37.4-46.2	33.2-41.0	31.6-38.3	28.0-33.9	26.7-32.4	25.2-30.5	23.9-28.8
	Daizu Zizhixian	530428	78.7	77.6	73.7	72.3	67.2	63.3	54.6	52.1	46.2	38.2	36.7	34.7	32.1	30.2	30.2	27.4	25.7
			70.8-87.4	69.9-85.9	66.9-81.4	65.7-79.5	60.8-73.9	56.8-70.1	48.6-60.6	46.0-57.8	40.9-51.3	33.8-42.3	32.6-40.6	31.1-38.2	28.9-35.1	27.3-33.0	27.3-32.9	24.8-29.9	23.3-28.1
	Yuanmou County	532328	59.8	55	49.6	45.3	41.8	40	36.6	36.5	30.5	27.8	25.2	23.2	22.4	21.5	19.9	18	16.5
			54.1-66.0	49.7-60.8	44.8-54.7	40.8-49.9	37.6-46.3	35.8-44.0	32.5-40.5	32.4-40.4	27.1-33.9	24.7-30.8	22.5-27.8	20.7-25.5	20.2-24.5	19.4-23.5	18.0-21.8	16.3-19.8	15.0-18.1
	Yuanyang County	532528	99.3	95.8	87.3	82.4	81	70.1	66.9	65.8	59	54.7	52.1	47.2	41.5	36.8	32.9	29.3	27.3
			89.4-110.6	86.2-106.0	78.8-96.7	74.4-91.7	73.0-89.3	62.7-77.4	59.4-73.9	58.2-73.0	52.3-65.7	48.6-60.7	46.3-57.5	41.9-51.8	37.4-45.4	33.3-40.2	29.7-36.0	26.5-32.1	24.8-29.9
	Zizhixian	530721	76.9	73.5	67.2	64.5	57.8	51.3	45.8	43	46.8	41.1	37.4	34.6	32.5	28.5	28.8	26.2	25
			54.7-104.6	53.7-99.1	49.5-89.4	48.5-84.5	44.7-74.4	40.6-64.2	37.3-55.6	36.1-50.4	40.5-53.2	36.0-46.6	31.9-43.2	28.4-41.2	26.2-40.1	22.0-36.2	21.6-37.4	19.1-35.1	17.5-34.4
	Yun County	530922	94.5	81.6	71.7	66.4	59	57	52.7	49.4	37.6	28.5	22	20.4	20.5	21.3	23.5	24.3	25.5
			78.2-112.2	69.5-95.1	62.2-81.8	59.2-73.5	53.3-65.3	50.7-63.3	45.6-59.8	41.6-57.5	31.2-44.9	23.3-34.2	18.1-26.7	17.0-24.2	17.4-23.8	18.6-24.3	21.0-26.4	21.8-26.9	22.9-28.1
	Yunlong County	532929	91.9	81.4	70.9	64.6	57.1	52.5	49	46	42.9	38.4	33.8	29.4	28	27.6	27.6	26.7	26.9
			82.9-101.5	73.5-89.9	64.4-78.1	58.7-71.0	51.6-63.0	47.0-58.2	43.5-54.5	40.7-51.1	37.9-47.6	34.0-42.5	30.0-37.3	26.3-32.3	25.2-30.6	25.0-30.1	25.1-30.1	24.2-29.2	24.5-29.4
	Zhanyi County	530328	56.5	53.1	54.7	48.8	44.3	39.6	36.8	29.3	30.3	28.6	25.9	25	23.2	21.9	20.8	18.6	17.8
			49.8-64.1	47.3-59.7	49.1-60.9	44.2-54.2	40.0-48.9	35.5-43.8	32.6-40.8	25.9-32.6	26.8-33.7	25.3-31.6	23.0-28.6	22.4-27.5	20.9-25.4	19.8-23.9	18.9-22.7	16.8-20.3	16.2-19.4
	Zhaoyang District	530602	58.6	60.5	61.5	69.9	78.2	60.2	54.2	49.5	39.5	35	34.6	31.9	31	29.6	29.4	26.6	24.8
			51.6-66.7	53.8-68.2	55.1-68.8	63.0-77.6	70.5-86.5	53.8-66.7	48.2-60.3	43.8-54.9	34.9-43.8	31.0-38.8	30.7-38.3	28.5-35.3	27.9-34.0	26.7-32.3	26.6-32.2	24.0-29.1	22.4-27.1
	Zhenkang County	530924	112.3	104.2	91.5	75.9	64	66.6	67.5	63.1	55.4	43.5	34.5	30.6	29.2	27.9	31.2	30	30.6
			100.4-126.3	93.3-116.6	82.2-102.4	67.8-85.1	56.7-72.0	58.8-75.0	59.5-76.4	55.6-71.2	48.6-62.6	38.0-49.0	30.2-39.0	26.7-34.5	25.6-32.9	24.6-31.3	27.7-34.9	26.7-33.5	27.3-34.2
	Zhenxiong County	530627	95.4	97.7	93.5	86.2	80.1	65.2	59.7	50.5	47	46	43	39.8	37	33.9	30.9	27.2	24.8
			86.2-105.2	87.9-107.7	83.8-103.0	77.1-94.6	71.5-88.2	58.0-72.2	52.7-66.2	44.5-56.1	41.5-52.4	40.9-51.2	38.2-47.6	35.5-43.7	33.2-40.6	30.7-37.3	27.8-33.9	24.6-29.9	22.5-27.2
	Lahuzu Zizhixian	530825	86.7	78.6	69.2	58.4	48.5	52.5	46.6	43.5	37.6	33.6	23.6	20.2	18.6	17.1	16.2	15.8	15.6
			77.6-97.5	70.4-87.8	62.2-77.4	52.2-65.4	43.1-54.5	46.4-59.2	41.0-52.7	38.1-49.1	32.8-42.7	29.2-37.9	20.4-26.8	17.5-23.1	16.2-21.2	14.9-19.5	14.3-18.4	13.8-17.9	13.8-17.7
Zhejiang	Anji County	330523	37.6	36	33.8	32.1	29.2	26.8	24.4	20.1	16.3	15.5	13.3	11.2	10	9.4	8.7	8.1	7.6
			28.4-47.4	28.6-44.2	28.1-40.5	27.5-37.2	25.2-33.6	23.0-30.7	20.8-28.4	16.7-23.8	13.4-19.6	12.7-18.9	10.9-16.3	9.3-13.6	8.5-11.9	8.1-11.0	7.8-9.9	7.4-9.0	6.9-8.3

Province	County	County Code (2012)	Under-5 Mortality Rate (per 1000 births)																
			1996	1997	1998	1999	2000	2001	2002	2003	2004	2005	2006	2007	2008	2009	2010	2011	2012
	Beilun District	330206	23.7	20.9	18.7	16.1	16.6	15	13.4	12.1	11.6	8.7	7.3	7.2	6	6.1	6.4	6.5	6.4
			19.9-27.5	17.6-24.5	15.8-22.0	13.6-19.1	13.9-19.5	12.5-17.4	11.3-15.6	10.4-13.9	10.0-13.3	7.6-10.0	6.3-8.3	6.1-8.3	5.1-6.9	5.3-7.1	5.5-7.3	5.8-7.5	5.7-7.3
	Binjiang District	330108	15.3	14.9	14.8	15.6	16	14.9	13.1	12.8	10.9	8.9	8	7.5	6.5	5.7	5.5	5.5	5
			12.5-18.3	12.3-18.0	12.2-18.1	12.9-18.9	13.2-19.4	12.4-17.8	10.9-15.4	10.9-14.8	9.4-12.4	7.8-10.1	6.9-9.1	6.5-8.6	5.6-7.4	5.0-6.5	4.8-6.2	4.9-6.2	4.5-5.6
	Cangnan County	330327	26.2	24.7	22.2	21.8	18.5	16.3	14.7	12.2	10.7	9.9	9.1	8.3	8.4	8.1	7.6	7.1	6.7
			19.7-33.1	19.5-30.4	18.4-26.5	18.7-25.1	16.0-21.2	14.0-18.7	12.5-17.2	10.1-14.5	8.8-12.9	8.1-12.2	7.4-11.2	6.8-10.1	7.1-10.1	7.0-9.6	6.7-8.6	6.4-7.8	6.1-7.3
	Changshan County	330822	27.7	26.9	25.5	25	23.2	22.6	21.4	20.5	19	18.1	17.7	16.5	15.8	15.6	15	13.6	12.3
			23.5-31.8	22.9-30.7	22.0-29.2	21.6-28.5	20.1-26.5	19.7-25.7	18.9-24.0	18.4-22.8	17.3-20.8	16.6-19.7	16.1-19.3	15.0-18.2	14.2-17.4	14.1-17.3	13.6-16.6	12.3-15.0	11.2-13.6
	Changxing County	330522	36.4	34.7	31.1	29.4	28.5	25.8	24.6	21.8	20.6	18.7	18.5	16.1	14.3	13.6	12.5	11.4	10.4
			30.9-41.8	29.8-39.7	26.7-35.5	25.4-33.7	24.7-32.7	22.5-29.2	21.8-27.5	19.7-24.2	18.8-22.5	17.1-20.4	16.7-20.5	14.4-18.0	12.8-16.2	12.2-15.4	11.2-13.9	10.4-12.5	9.5-11.4
	Chun'an County	330127	30.8	29.3	27.6	27.9	26	22.3	20.4	19.5	15.4	13.8	14.8	13.9	12.2	11.6	11.1	9.5	8.6
			25.8-36.0	24.6-34.1	23.4-31.9	23.9-32.3	22.2-30.0	19.0-25.5	17.7-23.1	17.4-21.8	14.0-17.0	12.6-15.2	13.4-16.2	12.4-15.4	10.8-13.6	10.4-13.0	10.0-12.4	8.6-10.5	7.8-9.4
	Cixi City	330282	26.8	25.2	23.8	22.7	21.5	19.7	18.9	17.6	13.6	12.8	10.9	8.9	7.7	6.7	6.4	6.1	5.8
			22.7-30.9	21.5-28.9	20.5-27.2	19.6-26.0	18.6-24.7	17.2-22.4	16.7-21.1	15.8-19.5	12.4-14.8	11.7-14.0	9.9-12.1	8.0-10.0	6.8-8.7	6.0-7.5	5.7-7.1	5.5-6.7	5.3-6.4
	Daishan County	330921	24.8	24.3	22.4	21.8	22	20.6	19.8	16.6	15.1	15	14.2	13.1	11.6	10.7	9.8	8.7	8.1
			20.9-28.8	20.5-28.1	19.1-25.9	18.6-25.1	18.7-25.4	17.5-23.6	17.1-22.5	14.7-18.6	13.5-16.7	13.5-16.6	12.7-15.8	11.6-14.6	10.2-13.0	9.4-12.0	8.7-11.0	7.8-9.6	7.3-9.0
	Deqing County	330521	28.7	26.8	25.8	23.3	23.8	22.2	20.6	19.2	15.6	14.3	13	11.1	11.1	10.7	10	9.3	8.5
			24.3-33.0	22.9-30.7	22.2-29.4	20.1-26.7	20.6-27.2	19.4-25.2	18.4-23.1	17.3-21.2	14.2-17.1	13.1-15.7	11.7-14.4	9.9-12.5	9.8-12.5	9.5-12.1	8.9-11.1	8.4-10.3	7.8-9.4
	Dinghai District	330902	20.6	21.4	19.6	17.3	17.9	15.2	14.7	14	15.7	13	11.6	11.4	10.2	8.2	8.3	7.8	7.3
			17.3-23.9	18.0-25.0	16.5-22.7	14.6-20.2	15.1-20.8	12.9-17.6	12.7-16.9	12.2-15.8	13.9-17.5	11.5-14.4	10.2-13.0	10.0-12.9	9.0-11.5	7.2-9.3	7.4-9.4	7.0-8.8	6.6-8.1
	Dongtou County	330322	28	26.2	24	23.5	23.3	19.1	16.1	13.9	12.4	10.8	11.3	11.1	11.8	11.2	10.7	9.8	9.5
			23.4-32.8	21.8-30.8	20.2-28.5	19.7-28.0	19.5-27.6	16.0-22.4	13.5-18.8	11.9-15.9	10.7-14.2	9.4-12.3	9.8-12.9	9.5-12.7	10.2-13.6	9.7-12.8	9.3-12.2	8.7-11.1	8.4-10.6
	Dongyang City	330783	37.7	35.4	33.6	31.2	27.1	25.8	23.5	21.9	20.7	19.4	17.1	15.7	14.1	12.9	11.7	10.8	10
			32.0-43.2	30.4-40.5	28.9-38.3	27.0-35.7	23.5-31.0	22.6-29.2	20.8-26.2	19.8-24.1	18.9-22.4	17.7-21.2	15.5-19.0	14.0-17.5	12.5-15.8	11.5-14.5	10.5-12.9	9.8-11.9	9.1-11.0
	Fenghua City	330283	26.8	26.1	25.7	24.6	24.1	24.9	21.9	19.7	17	15.8	13.6	13.6	12.4	10.9	9.9	9.2	8.5
			22.8-30.9	22.3-29.9	22.2-29.3	21.3-28.1	20.8-27.5	21.7-28.1	19.4-24.4	17.8-21.8	15.5-18.5	14.5-17.3	12.3-15.1	12.1-15.2	11.0-13.9	9.8-12.2	8.9-11.0	8.3-10.1	7.7-9.3
	Fuyang City	330183	30.2	30.2	28.6	27.8	24.4	23.7	21.9	19.2	16.1	14	11.3	11	9.8	8.9	8.6	8	7.6
			22.8-38.1	24.0-37.2	23.7-34.2	23.8-32.3	21.1-28.1	20.4-27.2	18.7-25.4	16.0-22.8	13.2-19.3	11.4-17.0	9.2-13.8	9.2-13.4	8.4-11.8	7.7-10.4	7.6-9.7	7.3-8.9	6.9-8.3
	Gongshu District	330105	13.1	14.2	13.6	13.5	12.8	12.9	13	11	10.4	9	8	7.3	6.2	5.6	4.9	4.6	4
			10.9-15.4	11.8-16.7	11.4-16.2	11.3-16.1	10.7-15.1	10.8-15.0	11.1-15.0	9.6-12.5	9.2-11.6	8.1-10.0	7.1-9.0	6.5-8.2	5.5-7.0	4.9-6.3	4.3-5.5	4.1-5.1	3.6-4.5
	Haining City	330481	25.3	24.6	23.4	21.2	19.7	17.2	16.5	15.2	13.1	12.7	12	10.6	9.4	8.4	7.4	6.8	6.3
			21.5-29.2	21.1-28.1	20.0-26.7	18.2-24.1	17.0-22.5	15.0-19.6	14.5-18.6	13.6-16.9	11.8-14.3	11.7-13.9	10.9-13.2	9.5-11.7	8.4-10.5	7.5-9.3	6.6-8.2	6.1-7.5	5.7-6.9
	Haishu District	330203	17.3	16.2	15.5	13.1	12.4	11.4	10.2	10.7	11.1	11	9.4	9.1	8	6.9	6	5.9	5.6
			14.3-20.3	13.5-19.2	12.9-18.5	10.8-15.7	10.3-14.8	9.5-13.5	8.6-12.1	9.1-12.4	9.7-12.6	9.6-12.5	8.2-10.7	7.9-10.4	6.9-9.1	6.0-7.8	5.3-6.8	5.2-6.6	5.0-6.2
	Haiyan County	330424	28.4	26.2	23.8	20.7	18.6	18.1	17.3	16.9	15.4	16	14.6	14.2	12.4	11	9.8	8.8	7.9
			24.1-32.7	22.4-29.9	20.3-27.2	17.8-23.5	16.1-21.2	15.7-20.4	15.2-19.5	15.1-18.8	14.1-16.9	14.7-17.5	13.4-16.0	12.8-15.6	11.2-13.8	9.9-12.2	8.9-10.8	8.0-9.7	7.2-8.7
	Huangyan District	331003	30	28.2	27.5	26.8	24.1	21.5	18.9	17.7	16.1	14.7	13.5	12.3	11.7	10.9	10.3	9.7	9.1
			25.5-34.5	24.2-32.3	23.7-31.4	23.1-30.8	20.8-27.6	18.8-24.3	16.8-21.2	16.0-19.6	14.7-17.6	13.4-16.0	12.2-14.9	11.0-13.8	10.4-13.2	9.8-12.3	9.2-11.4	8.8-10.6	8.3-10.0
	Jiande City	330182	29.6	28.3	27.6	27.5	26.1	24.3	22.3	21.7	20.1	18.4	16.1	14.7	13.5	11.4	10.7	9.7	9.2
			25.1-34.2	24.2-32.5	23.7-31.6	23.7-31.3	22.6-29.7	21.1-27.5	19.6-25.1	19.5-24.1	18.4-21.9	16.9-20.0	14.7-17.6	13.3-16.2	12.1-15.0	10.3-12.7	9.6-11.8	8.8-10.7	8.4-10.1
	Jiangan District	330104	16.2	15.4	14.6	14.1	12.9	12.5	12.4	14.5	13.3	11.5	11.6	9.5	7.4	6.8	5.9	5.8	5.3
			13.3-19.0	12.8-18.3	12.2-17.5	11.7-16.8	10.8-15.4	10.4-14.7	10.6-14.4	12.6-16.5	11.9-14.9	10.3-12.7	10.3-12.8	8.4-10.6	6.5-8.3	6.0-7.6	5.3-6.7	5.2-6.4	4.7-5.8
	Jiangbei District	330205	21.6	20.2	19.6	16	16.3	15.7	15.3	15.4	15.3	11.8	10.4	8.6	7.3	7.1	7.1	7.3	7.2
			17.9-25.3	16.8-23.9	16.4-23.2	13.3-19.1	13.6-19.4	13.1-18.5	12.8-17.8	13.1-17.8	13.2-17.4	10.3-13.5	9.0-11.9	7.4-9.8	6.2-8.4	6.2-8.2	6.2-8.1	6.5-8.3	6.4-8.1
	Jiangdong District	330204	16.3	14.9	12.9	10.7	10.2	10.9	10.8	10.1	9.5	8.7	7.6	6.4	5.9	5.5	5.3	5.4	5.2
			13.5-19.1	12.4-17.7	10.8-15.4	8.9-12.8	8.5-12.2	9.2-12.8	9.2-12.6	8.7-11.6	8.3-10.7	7.6-9.7	6.6-8.5	5.6-7.3	5.2-6.7	4.8-6.2	4.7-6.0	4.9-6.1	4.7-5.8
	Jiangshan City	330881	28.3	26.6	25.4	24	23.5	23.3	22.2	20.4	19.5	17.6	16.6	15.6	14.8	13.8	14.3	13.5	13.1
			24.0-32.5	22.8-30.5	21.8-29.0	20.7-27.6	20.3-27.0	20.3-26.5	19.5-25.0	18.2-22.7	17.6-21.5	16.0-19.4	14.9-18.5	13.8-17.7	13.1-17.0	12.2-15.9	12.7-16.3	12.1-15.0	11.8-14.6
	Jiaojiang District	331002	25.7	24.6	23.1	20.6	20.2	19.4	17.8	16.9	16.6	14.7	12.9	12.3	12.2	11.3	10.7	10.5	9.8
			21.8-29.7	21.0-28.1	19.8-26.4	17.7-23.4	17.5-23.1	16.9-22.1	15.7-20.0	15.1-18.7	15.2-18.1	13.5-16.0	11.8-14.0	11.1-13.4	11.0-13.5	10.2-12.5	9.7-11.9	9.5-11.6	8.9-10.7
	Jiashan County	330421	26.1	25.3	23	20.6	19.7	18.9	16.6	16.7	15.7	15.4	13.1	11.4	10.4	8.7	7.8	7.1	6.5
			22.1-30.2	21.5-29.3	19.6-26.4	17.6-23.6	16.8-22.6	16.1-21.7	14.4-18.9	14.8-18.6	14.1-17.4	13.8-17.0	11.7-14.5	10.1-12.8	9.2-11.7	7.7-9.9	6.9-8.8	6.4-8.0	5.9-7.3
	Jindong District	330703	27.5	25	23.7	20.8	17.5	16.2	14.6	14.2	14.7	14	13.7	13	11.9	11.9	12.9	12.3	11.8
			23.0-32.0	20.9-29.2	19.9-27.8	17.5-24.6	14.7-20.7	13.7-19.2	12.4-17.1	12.2-16.4	12.8-16.6	12.2-15.8	11.9-15.5	11.3-14.7	10.4-13.6	10.5-13.5	11.4-14.6	11.1-13.8	10.7-13.1
	Zizhixian	331127	44.4	42.8	41.8	41.9	38.1	34.4	31.9	29	24.9	21.9	20.7	18.8	18.3	16.7	15.2	13.7	12.5
			37.7-51.1	36.6-49.0	36.1-47.7	36.2-48.0	33.0-43.6	30.0-38.9	28.3-35.7	26.2-32.1	22.8-27.2	20.1-23.9	18.7-22.9	16.8-21.1	16.3-20.6	15.0-18.8	13.7-16.9	12.4-15.0	11.3-13.7
	Jinyun County	331122	38.2	37.5	35.4	34.8	33.3	31.3	29	25.4	21.5	19.6	18.5	17.3	16.4	15.5	14.6	13.1	12.1
			32.4-44.0	32.2-43.1	30.2-40.7	30.0-40.1	28.8-38.5	27.0-36.1	25.1-33.3	22.3-28.9	19.0-24.1	17.6-21.8	16.5-20.6	15.3-19.6	14.5-18.6	13.6-17.7	12.9-16.6	11.7-14.7	10.9-13.6
	Kaihua County	330824	30.2	27.9	27.2	23.1	21.8	23.4	21.2	18.8	18.5	17.3	15.5	14.3	14.4	15.9	16.2	15.5	15
			25.6-34.8	23.8-32.0	23.2-31.0	19.9-26.4	18.9-24.9	20.2-26.6	18.6-24.0	16.7-20.9	16.9-20.2	15.9-18.8	14.2-16.9	13.0-15.7	12.9-15.9	14.3-17.6	14.6-17.9	14.1-17.2	13.6-16.4
	Kecheng District	330802	20.8	19.5	18.5	17	15.7	16	15.3	15.6	16.5	15	13.5	12.8	12.6	11.6	10.9	10.9	10.2
			17.3-24.3	16.3-22.8	15.5-21.8	14.3-20.1	13.3-18.5	13.5-18.7	13.2-17.7	13.7-17.8	14.7-18.4	13.4-16.6	12.0-15.0	11.4-14.3	11.2-14.1	10.3-13.1	9.7-12.1	9.8-12.0	9.2-11.2
	Lanxi City	330781	32.1	29.8	27.7	26.2	24.2	20.5	18.2	17.2	16.5	14.9	14.9	14.7	13.8	12.9	12.1	11.2	10.4
			27.2-36.8	25.4-34.1	23.8-31.7	22.5-29.8	20.9-27.5	17.9-23.3	16.0-20.5	15.4-19.1	15.0-18.0	13.7-16.3	13.6-16.2	13.3-16.1	12.4-15.3	11.6-14.3	10.9-13.4	10.1-12.3	9.5-11.4
	Liandu District	331102	29.8	29.6	29.5	31.7	32.6	30.4	27.6	25.9	20.4	18.9	18.5	17	15.7	13.8	12.5	11.6	10

Province	County	County Code (2012)	Under-5 Mortality Rate (per 1000 births)																
			1996	1997	1998	1999	2000	2001	2002	2003	2004	2005	2006	2007	2008	2009	2010	2011	2012
			25.3-34.6	25.1-34.1	25.2-33.9	27.2-36.3	28.2-37.4	26.2-34.5	24.1-31.2	23.2-28.8	18.6-22.5	17.2-20.6	16.8-20.3	15.2-18.8	14.0-17.5	12.3-15.4	11.2-13.9	10.5-12.8	9.1-11.0
	Lin'an City	330185	27.4	27	25	25.2	22.4	20.3	18.3	18.6	14.9	14.3	13.3	12.8	10.6	9.8	8.8	7.8	6.9
			23.2-31.5	23.1-30.9	21.4-28.6	21.8-28.7	19.4-25.5	17.7-22.9	16.1-20.6	16.6-20.6	13.6-16.3	13.2-15.6	12.2-14.6	11.5-14.1	9.5-11.7	8.8-10.9	7.9-9.8	7.0-8.6	6.3-7.6
	Linhai City	331082	19.3	18.6	17.2	16	15.6	15.4	14.7	14.4	12.9	12.1	12.1	11.4	11.3	11	11.5	11	10.6
			16.4-22.2	15.8-21.2	14.8-19.7	13.8-18.3	13.5-17.8	13.4-17.5	13.0-16.6	12.9-16.1	11.7-14.1	11.1-13.1	11.0-13.2	10.3-12.6	10.2-12.5	9.9-12.2	10.4-12.8	9.9-12.1	9.6-11.8
	Longquan City	331181	41.8	41.2	39.6	38.2	36.6	32.6	29.8	25.3	23.8	19.6	18.1	15.8	14.5	12.2	12.3	11.3	10.5
			35.5-48.2	35.1-47.2	34.1-45.1	32.9-43.5	31.7-41.8	28.5-36.9	26.6-33.3	22.8-27.9	21.8-26.1	17.8-21.4	16.3-20.2	14.0-17.8	12.9-16.5	10.8-13.7	11.0-13.7	10.2-12.5	9.5-11.5
	Longwan District	330303	20.7	18.5	17.9	15.1	14.8	14.3	11.3	10.7	9.5	7.7	6.3	5.6	5.3	5.5	5.8	5.8	5.9
			17.0-24.4	15.3-22.2	14.8-21.6	12.4-18.3	12.2-17.9	11.8-17.1	9.3-13.4	9.0-12.6	8.0-11.0	6.6-8.9	5.3-7.3	4.8-6.5	4.5-6.1	4.7-6.4	5.0-6.7	5.1-6.6	5.2-6.6
	Longyou County	330825	30.4	28	27.4	27.1	26.2	25.3	23.1	22.5	20.5	18.3	18.2	17.6	15.7	14	13.3	12.2	11.1
			25.8-35.0	23.9-32.1	23.6-31.3	23.3-30.8	22.6-29.8	22.1-28.7	20.4-25.9	20.1-24.8	18.8-22.3	16.8-19.9	16.6-19.7	15.9-19.2	14.1-17.3	12.7-15.6	12.0-14.7	11.1-13.5	10.1-12.2
	Lucheng District	330302	18.9	17.8	16.2	12.9	10.6	10.5	8.5	8.2	7.8	7.7	6.3	6.3	5.7	5.9	5.5	5.5	5.4
			15.4-22.4	14.6-21.4	13.4-19.7	10.7-15.7	8.7-12.7	8.7-12.5	7.2-10.0	7.0-9.4	6.9-8.8	6.8-8.6	5.6-7.1	5.5-7.1	5.0-6.4	5.2-6.6	4.9-6.2	4.9-6.1	4.9-5.9
	Luqiao District	331004	28.3	26.4	25.3	25.2	22.3	20	18.5	17	15.9	15.6	14.7	13	11.5	10.6	9.7	9.4	9.1
			23.6-33.0	22.2-30.8	21.4-29.4	21.4-29.3	19.0-25.8	17.1-23.0	16.1-21.0	15.2-19.1	14.4-17.5	14.2-17.2	13.2-16.2	11.6-14.4	10.2-12.8	9.4-11.8	8.8-10.8	8.5-10.4	8.3-10.0
	Nanhu District	330402	17.9	16.9	16.7	15.5	14	14	14.1	14	13.5	12.6	11.7	10.9	9	7.8	7.3	7	6.6
			15.2-20.8	14.3-19.5	14.3-19.3	13.3-17.8	12.0-16.1	12.0-16.0	12.3-16.0	12.5-15.7	12.3-14.8	11.5-13.7	10.7-12.7	9.8-11.9	8.1-10.0	7.1-8.7	6.6-8.1	6.4-7.8	6.0-7.3
	Nanxue District	330503	27.1	25.2	23.1	21.2	19.7	18	16.2	14.7	14.5	12.7	11.7	10.7	10.5	9.4	9.3	8.8	8.1
			20.5-34.1	20.0-30.9	19.3-27.7	18.1-24.6	17.0-22.7	15.4-20.6	13.8-18.9	12.2-17.5	11.9-17.4	10.3-15.5	9.6-14.4	8.9-13.1	8.8-12.5	8.1-11.0	8.2-10.5	7.9-9.8	7.4-9.0
	Ninghai County	330226	26.8	24.8	23.2	19.9	18.5	16.6	15.5	15	14.4	13.7	13.1	12.6	11.3	11	10.2	9.6	9.1
			22.8-30.9	21.2-28.4	19.9-26.6	17.1-22.7	16.0-21.1	14.4-18.9	13.7-17.4	13.4-16.7	13.1-15.7	12.6-15.0	11.9-14.4	11.3-13.8	10.1-12.5	9.9-12.2	9.2-11.3	8.7-10.6	8.3-9.9
	Ouhai District	330304	23.9	22.5	21.2	18.9	18.4	17.4	16.8	16.3	16.1	15.8	15.5	15.6	12.6	10.9	10.2	9.5	8.7
			20.0-27.7	19.0-26.3	17.8-24.8	15.9-22.1	15.5-21.6	14.7-20.3	14.4-19.3	14.2-18.5	14.3-18.0	14.1-17.5	13.7-17.3	13.8-17.4	11.1-14.2	9.7-12.3	9.1-11.5	8.5-10.5	7.8-9.6
	Pan'an County	330727	33.8	31.9	30.5	27.2	23.3	20.4	20.1	18.4	18.1	18.5	19.4	16.7	15.7	14.5	13.7	12.6	11.9
			28.6-38.8	27.2-36.5	26.2-35.0	23.5-31.0	20.2-26.6	17.8-23.2	17.7-22.6	16.5-20.4	16.5-19.8	17.0-20.1	17.7-21.2	15.1-18.3	14.2-17.3	13.1-16.1	12.4-15.1	11.4-13.9	10.8-13.1
	Pinghu City	330482	22.9	23.1	20.4	21.5	22.3	21.4	21.1	20.4	17.8	15.4	13.4	11.7	10.4	9.9	9.4	8.8	8.3
			19.3-26.7	19.4-26.8	17.3-23.6	18.3-24.9	19.0-25.8	18.3-24.6	18.2-24.0	18.0-22.7	15.9-19.6	13.9-17.0	12.0-14.8	10.4-13.1	9.2-11.7	8.7-11.2	8.3-10.6	7.9-9.8	7.5-9.2
	Pingyang County	330326	22.8	21.2	19.8	18.9	16.3	16.3	15.5	13.7	12.5	12.3	10.1	9.3	8.1	7.7	7	6.8	6.7
			19.4-26.3	18.1-24.2	17.0-22.5	16.3-21.6	14.1-18.6	14.3-18.6	13.8-17.4	12.4-15.1	11.4-13.6	11.3-13.4	9.1-11.2	8.3-10.4	7.2-9.1	6.9-8.6	6.2-7.7	6.2-7.5	6.1-7.3
	Pujiang County	330726	26.8	25	23.9	21.8	20	19.2	18.6	15.5	16.3	15.6	14.5	14.1	14.8	12.6	11.3	10.2	9.3
			22.7-30.8	21.3-28.6	20.5-27.4	18.8-24.8	17.4-22.9	16.8-21.8	16.4-21.0	13.9-17.2	14.9-17.8	14.4-16.9	13.2-15.8	12.8-15.5	13.3-16.3	11.4-14.0	10.2-12.5	9.3-11.3	8.5-10.3
	Putuo District	330903	27.2	26.1	26.1	23.1	22	20.3	19.1	20	20	16.4	15.6	13.9	11.8	11.8	11.3	10.3	9.6
			23.1-31.5	22.1-30.1	22.2-30.0	19.8-26.5	18.9-25.2	17.5-23.3	16.6-21.6	17.8-22.3	18.2-22.1	15.0-17.9	14.1-17.1	12.4-15.4	10.5-13.1	10.6-13.2	10.2-12.6	9.4-11.4	8.7-10.5
	Qingtian County	331121	43	42.9	41.2	41.4	39	36.8	34.9	29.8	25.9	24.1	22.8	20.8	19.7	18.5	17.5	15.5	14.2
			36.5-49.5	36.7-49.2	35.4-46.9	35.8-47.2	33.8-44.5	32.2-41.7	30.9-38.8	27.0-32.9	23.6-28.1	22.1-26.3	20.6-25.2	18.5-23.3	17.6-22.2	16.6-20.7	15.7-19.4	14.1-17.0	12.9-15.5
	Qingyuan County	331126	37.5	35.3	35.4	36.4	31.3	29.8	29.4	25.7	24.3	22.3	21	17.7	16.9	15.9	14.7	13.4	12.7
			31.8-43.4	30.0-40.8	30.2-40.7	31.2-41.6	26.8-35.9	25.4-34.0	25.6-33.3	22.9-28.7	22.0-26.9	20.3-24.4	18.9-23.1	15.8-19.7	15.0-18.8	14.1-17.8	13.2-16.4	12.1-14.9	11.5-14.0
	Qujiang District	330803	28.3	27.9	26.3	24.4	21.3	19.8	18.5	18.1	19.1	20.1	19.2	18.5	17.6	16.1	15.5	14.2	13.3
			24.1-32.8	23.7-32.2	22.5-30.2	20.9-27.9	18.3-24.4	17.1-22.6	16.3-21.0	16.2-20.3	17.4-21.0	18.4-21.9	17.5-21.0	16.7-20.3	15.8-19.5	14.5-17.9	14.1-17.2	12.9-15.6	12.1-14.5
	Rui'an City	330381	33.2	31.5	29.6	28.3	24.4	19.7	16.1	13	11.2	9.6	8.9	8.5	8.7	8.6	7.8	7.3	6.9
			25.0-42.0	25.0-38.8	24.6-35.3	24.3-32.6	21.1-27.9	16.9-22.6	13.6-18.9	10.8-15.6	9.1-13.7	7.8-11.9	7.2-11.1	7.0-10.5	7.3-10.5	7.4-10.1	6.9-8.8	6.6-8.1	6.3-7.6
	Sanmen County	331022	29.6	29.6	27.6	25.7	23.5	20.7	19.2	16.5	15.6	14.5	15.5	14.1	14	13	12	10.6	9.8
			25.1-34.1	25.3-33.8	23.7-31.7	22.1-29.1	20.3-26.8	18.1-23.6	16.9-21.6	14.8-18.3	14.3-17.1	13.3-15.8	14.2-16.9	12.8-15.4	12.6-15.5	11.7-14.4	10.8-13.2	9.7-11.7	9.0-10.8
	Shangcheng District	330102	14.3	15	14.9	14.4	14.2	14.6	13.4	12.9	11.1	8.6	6.2	5.9	5.1	4.7	4.6	4.5	4.3
			11.9-16.7	12.6-17.6	12.5-17.6	12.1-17.0	12.0-16.7	12.3-17.0	11.4-15.5	11.2-14.7	9.6-12.5	7.5-9.7	5.4-7.0	5.1-6.7	4.4-5.8	4.1-5.4	4.0-5.3	4.0-5.2	3.8-4.8
	Shangyu City	330682	26.2	24.3	23.1	20	18.9	16.1	15.6	13.8	14.3	14	13.9	13.2	12	10.7	10.2	9.4	8.7
			22.2-30.2	20.7-27.7	19.8-26.4	17.2-22.8	16.3-21.5	14.0-18.3	13.7-17.6	12.4-15.3	13.1-15.6	12.9-15.2	12.6-15.2	11.9-14.4	10.8-13.3	9.7-11.9	9.2-11.2	8.5-10.4	7.9-9.5
	Shaoxing County	330621	21.8	20.5	19.6	17.7	17.3	15.9	14.6	13	12.5	11.5	11.7	11.7	11.5	11	10.6	9.7	8.8
			18.4-25.1	17.5-23.6	16.8-22.5	15.2-20.4	14.9-19.9	13.8-18.1	12.8-16.5	11.7-14.5	11.2-13.7	10.4-12.7	10.4-13.0	10.4-13.3	10.1-13.2	9.7-12.6	9.4-12.1	8.7-10.7	7.9-9.8
	Shengsi County	330922	32.9	32	28.6	24.2	27.1	26.9	26.9	23.8	20.3	18.4	14.4	12.8	14.4	12.8	13.4	12.1	11.2
			27.1-39.0	26.3-38.5	23.6-34.7	19.8-29.6	22.2-32.9	21.9-32.3	21.9-32.2	19.7-28.2	17.0-23.7	15.5-21.5	12.1-16.9	10.7-14.9	12.1-16.8	10.9-15.0	11.5-15.5	10.6-13.9	9.8-12.7
	Shengzhou City	330683	26.3	25.1	23.9	22.6	19.5	18	16.8	15.5	15.1	15.3	14.9	14.3	15	13.7	12.4	11.4	10.4
			22.3-30.3	21.4-28.7	20.5-27.4	19.5-25.7	16.9-22.2	15.7-20.4	14.7-18.9	13.8-17.1	13.8-16.5	14.1-16.6	13.6-16.3	13.0-15.7	13.5-16.5	12.3-15.2	11.3-13.8	10.3-12.5	9.4-11.4
	Songyang County	331124	44.6	44.2	41.2	39.2	38.6	36.5	35.1	32.9	27.2	24.4	21	18.4	17.7	16.2	15.2	13.9	12.9
			37.9-51.3	37.9-50.8	35.5-46.9	33.9-44.9	33.3-44.1	31.9-41.3	31.2-39.2	29.8-36.3	24.9-29.6	22.3-26.6	19.0-23.3	16.5-20.6	15.8-19.9	14.5-18.1	13.7-16.9	12.7-15.3	11.7-14.2
	Suichang County	331123	39.5	38	37.6	36.8	36.6	34.4	32.7	28.3	24.1	20.3	18.1	18	17.1	16.1	15.2	13.7	12.1
			33.6-45.4	32.5-43.5	32.4-43.0	31.8-42.2	31.6-42.0	30.0-38.9	29.0-36.7	25.6-31.4	22.0-26.3	18.5-22.1	16.3-20.1	16.0-20.1	15.2-19.3	14.5-18.1	13.7-16.9	12.4-15.1	11.0-13.3
	Taishun County	330329	43	42.6	40.5	40.7	37.2	34.6	29.4	24.6	21.8	17.5	14.4	12.1	10.7	9.9	9.4	8.7	8.2
			36.5-49.4	36.6-48.8	34.8-46.3	35.1-46.7	32.2-42.6	30.3-39.3	26.1-33.0	22.1-27.2	19.8-23.7	16.0-19.2	13.1-16.0	10.8-13.6	9.5-12.1	8.8-11.1	8.4-10.4	7.9-9.6	7.4-8.9
	Tiantai County	331023	27.8	25.6	23.6	21.4	18.2	16	17.9	17.4	16.5	16.7	17.3	15.8	14.9	14.1	13.4	12.5	11.9
			23.5-31.9	21.8-29.2	20.2-27.0	18.4-24.4	15.7-20.7	14.0-18.1	15.7-20.2	15.6-19.3	15.0-18.0	15.3-18.2	15.7-18.9	14.2-17.4	13.4-16.4	12.7-15.7	12.1-14.8	11.3-13.8	10.8-13.2
	Tonglu County	330122	27.7	27.5	27.4	27.4	26.9	25.8	23.8	21.1	19	16.8	15.6	13.3	11.5	10.7	9.9	8.9	8.3
			23.5-32.0	23.4-31.5	23.6-31.1	23.7-31.3	23.3-30.7	22.6-29.2	21.1-26.5	19.1-23.2	17.3-20.6	15.4-18.3	14.1-17.2	11.9-14.9	10.2-12.9	9.5-11.9	8.9-11.0	8.1-9.8	7.5-9.1
	Tongxiang City	330483	27	26.2	24.4	23.3	21.2	19.7	18.4	18.3	16.3	15.3	13.4	11.9	10.2	10.2	9.4	8.5	8
			23.0-31.3	22.3-30.2	20.8-27.9	20.0-26.6	18.1-24.3	16.9-22.5	16.0-20.8	16.3-20.5	14.7-17.9	13.9-16.8	12.1-14.8	10.6-13.2	9.0-11.4	9.0-11.5	8.4-10.6	7.7-9.5	7.3-8.9

Province	County	County Code (2012)	Under-5 Mortality Rate (per 1000 births)																
			1996	1997	1998	1999	2000	2001	2002	2003	2004	2005	2006	2007	2008	2009	2010	2011	2012
	Wencheng County	330328	40.3	35.9	34.1	33.7	29.8	28	25.9	24	22.3	20.8	18.5	14.8	12.3	10.6	8.3	7.6	7
			34.2-46.5	30.6-41.1	29.1-39.0	29.0-38.3	25.7-33.9	24.4-31.7	22.7-29.1	21.6-26.8	20.3-24.4	19.0-22.7	16.9-20.3	13.3-16.4	10.9-13.7	9.4-11.8	7.4-9.3	6.8-8.4	6.4-7.8
	Wenling City	331081	28.3	27.1	25.2	22.7	20.7	19.9	18.1	16.8	15.5	14	13	11.4	10	9.4	9.2	8.7	8.2
			24.0-32.6	23.1-31.2	21.4-29.3	19.4-26.6	17.7-24.0	17.1-23.1	15.5-20.9	14.6-19.2	13.6-17.5	12.5-15.5	11.6-14.6	10.1-13.0	8.9-11.5	8.3-10.8	8.1-10.5	7.7-9.8	7.4-9.3
	Wucheng District	330702	28.2	25.9	25.3	24.8	23	24.4	20.8	19.2	17.7	14.9	13.3	14	12.4	11.5	10.9	10	9.2
			23.8-32.8	21.9-29.9	21.5-29.0	21.3-28.4	19.9-26.4	21.2-27.8	18.3-23.4	17.2-21.3	16.1-19.3	13.7-16.2	12.1-14.5	12.7-15.4	11.2-13.7	10.4-12.8	9.8-12.0	9.1-11.0	8.4-10.2
	Wuxing District	330502	27.1	25.2	23.1	21.2	19.7	18	16.2	14.7	14.5	12.7	11.7	10.7	10.5	9.4	9.3	8.8	8.1
			20.5-34.1	20.0-30.9	19.3-27.7	18.1-24.6	17.0-22.7	15.4-20.6	13.8-18.9	12.2-17.5	11.9-17.4	10.3-15.5	9.6-14.4	8.9-13.1	8.8-12.5	8.1-11.0	8.2-10.5	7.9-9.8	7.4-9.0
	Wuyi County	330723	26.9	24.8	23.8	22.3	22.2	21.7	20.4	18.1	17.2	14.9	14.3	13.7	13.4	12.2	11.1	10.2	9.3
			22.9-31.1	21.1-28.5	20.3-27.2	19.2-25.5	19.1-25.4	18.7-24.7	17.8-23.0	16.1-20.1	15.7-18.9	13.7-16.3	13.0-15.6	12.4-15.1	12.0-14.8	11.0-13.6	10.0-12.2	9.2-11.2	8.5-10.2
	Xiacheng District	330103	15	15	13.7	13.5	13.4	13.3	11.5	10.8	9.4	7.6	7.4	7.3	5.8	5.2	4.4	4	3.5
			12.3-17.8	12.4-18.1	11.3-16.7	11.1-16.3	11.1-16.2	11.0-15.8	9.7-13.6	9.2-12.5	8.1-10.6	6.7-8.6	6.4-8.3	6.3-8.3	5.0-6.7	4.5-5.9	3.9-5.0	3.6-4.5	3.2-4.0
	Xiangshan County	330225	25.5	25.2	23.1	22.2	19.8	15.6	13.6	13.4	11.3	10.5	11.7	11.3	10.7	10.7	10.5	9.7	9.1
			21.6-29.3	21.6-28.9	19.7-26.4	19.1-25.5	17.2-22.6	13.6-17.7	12.0-15.3	12.0-14.8	10.3-12.4	9.6-11.4	10.7-12.7	10.2-12.4	9.6-11.8	9.7-11.8	9.5-11.6	8.8-10.7	8.3-10.1
	Xianju County	331024	35.1	32.1	30.1	27.1	24.4	21.6	20.5	18.9	18.6	18.1	17.5	18	17.8	17.2	17.1	16.4	15.6
			29.7-40.4	27.4-37.1	25.7-34.6	23.2-31.1	21.0-27.9	18.7-24.8	17.9-23.3	16.8-21.2	16.7-20.6	16.3-20.0	15.6-19.4	15.9-20.2	15.6-20.1	15.2-19.5	15.1-19.3	14.6-18.4	13.9-17.6
	Xiaoshan District	330109	23.9	23.7	23.6	21.7	21.8	21.1	18.2	16.3	14.2	13.1	11.8	11.7	10.3	9.5	8.5	7.4	6.5
			20.3-27.5	20.4-27.2	20.3-27.0	18.7-24.9	18.9-25.1	18.4-24.0	16.2-20.5	14.7-18.2	12.9-15.5	12.0-14.4	10.6-13.1	10.5-13.1	9.2-11.7	8.5-10.7	7.6-9.4	6.8-8.2	5.9-7.2
	Xihu District	330106	15.8	15.4	14.7	14	13.2	13.5	11.9	11.2	9.4	8.2	7.3	6.5	5.8	5.4	4.8	4.7	4.3
			13.4-18.2	13.1-17.7	12.5-16.7	12.0-15.9	11.4-15.1	11.7-15.3	10.4-13.4	10.0-12.5	8.6-10.4	7.5-8.9	6.7-8.0	5.9-7.1	5.2-6.4	4.9-6.0	4.3-5.3	4.2-5.1	3.9-4.7
	Xinchang County	330624	23.7	23.4	22.2	20.8	19.7	18.7	18.8	17.4	16.2	16.9	15.6	14.1	13.8	11.8	11	10.2	9.5
			20.1-27.5	19.9-27.0	19.0-25.4	17.8-23.8	16.9-22.5	16.1-21.2	16.5-21.2	15.5-19.3	14.7-17.7	15.4-18.4	14.2-17.1	12.7-15.5	12.4-15.3	10.6-13.1	9.9-12.1	9.3-11.3	8.6-10.4
	Xiuzhou District	330411	27.4	26.1	24.7	24.5	23.8	22.1	22.5	23.9	23.7	20.6	19.6	15.7	12.4	9.6	8.8	8.2	7.7
			23.2-31.5	22.4-29.9	21.2-28.3	21.1-28.2	20.6-27.4	19.3-25.2	19.9-25.4	21.5-26.6	21.5-26.0	18.8-22.6	17.7-21.8	14.0-17.6	11.1-14.1	8.6-10.8	7.9-9.8	7.4-9.0	7.0-8.4
	Yinzhou District	330212	28.2	26.1	23.8	20.8	20.8	18.6	16.6	16.1	16	13.3	11.4	10.8	9.3	8.3	7.7	7.4	7.1
			23.9-32.5	22.4-30.0	20.5-27.2	18.0-23.9	18.0-23.9	16.3-21.1	14.7-18.7	14.5-17.8	14.6-17.5	12.2-14.6	10.3-12.6	9.6-12.1	8.3-10.5	7.4-9.3	6.9-8.6	6.7-8.1	6.4-7.8
	Yiwu City	330782	26.2	24.9	22.8	21.3	19.2	18.1	17.4	16.5	15.2	15.2	13.7	12.7	11.5	10.5	10	9.7	9.1
			22.3-30.1	21.4-28.5	19.6-26.1	18.4-24.4	16.6-22.0	15.8-20.5	15.3-19.5	14.8-18.3	13.9-16.6	13.8-16.5	12.4-15.2	11.4-14.3	10.2-13.1	9.4-11.9	8.9-11.2	8.8-10.7	8.3-10.1
	Yongjia County	330324	34.6	33.4	31.6	28.9	26	24.6	21.9	18.9	17.2	16.3	13.9	13	12.2	11	9.8	9.3	8.8
			29.4-39.8	28.6-38.2	27.3-36.1	25.0-33.0	22.5-29.7	21.6-27.9	19.5-24.5	17.2-20.9	15.7-18.7	15.0-17.9	12.6-15.4	11.6-14.5	10.8-13.7	9.9-12.4	8.8-10.8	8.5-10.3	8.0-9.6
	Yongkang City	330784	27.9	27.1	25.8	25.1	23.1	20.7	18.2	15.4	14	13.2	12.6	12.3	12.4	11.5	11.1	10.4	9.8
			23.7-32.0	23.2-31.1	22.2-29.4	21.7-28.8	20.0-26.4	18.1-23.4	16.1-20.3	13.9-17.0	12.8-15.3	12.0-14.4	11.4-14.1	10.9-13.7	11.1-14.1	10.3-13.0	9.9-12.3	9.4-11.4	8.9-10.7
	Yuecheng District	330602	18.7	18.2	18.3	17.5	16.9	15.1	13.1	11.6	9.2	9.5	9.4	9.8	9.1	8.4	7.8	7.3	6.6
			15.8-21.6	15.5-20.9	15.6-20.9	15.0-19.9	14.7-19.3	13.1-17.2	11.5-14.8	10.4-12.9	8.4-10.1	8.8-10.4	8.6-10.3	8.9-10.8	8.2-10.0	7.6-9.4	7.0-8.6	6.7-8.1	6.0-7.2
	Yueqing City	330382	30.3	28.1	25.7	22.8	19.7	19.9	19.3	17.5	17.1	16.5	13.6	11	10.7	9.9	8.8	8.5	8.3
			25.7-35.0	23.8-32.4	21.9-29.5	19.5-26.1	16.8-22.7	17.0-22.8	16.7-22.0	15.4-19.5	15.3-18.9	14.9-18.2	12.1-15.1	9.7-12.3	9.4-12.0	8.7-11.2	7.8-9.9	7.6-9.6	7.4-9.2
	Yuhang District	330110	39.4	39.2	39.2	41.4	42.1	40.6	38.9	32.2	27.4	21.3	15.7	11.4	9.6	8.5	7.2	7.1	6.5
			33.4-45.4	33.6-45.2	33.5-45.4	35.7-47.7	36.4-48.7	35.0-46.9	33.6-44.5	28.2-36.4	24.5-30.5	19.3-23.3	14.3-17.3	10.3-12.7	8.6-10.7	7.7-9.5	6.5-8.0	6.4-7.8	5.9-7.1
	Yuhuan County	331021	23.8	22.4	21.2	19.2	17.4	16.8	14.9	14.5	13.9	12.5	11.3	10.6	10	9	8.4	7.8	7.5
			20.2-27.5	19.0-25.7	18.2-24.2	16.6-21.9	15.1-19.9	14.6-19.1	13.1-16.8	13.0-16.1	12.7-15.2	11.5-13.6	10.3-12.3	9.6-11.6	9.0-11.1	8.1-10.0	7.6-9.3	7.1-8.7	6.8-8.2
	Yunhe County	331125	36.8	34.7	34.5	33.4	34.3	33.6	31.6	26.8	21.8	18.2	15.8	14.1	14	12.6	11.3	10.2	9.3
			31.3-42.5	29.6-39.8	29.7-39.5	28.8-38.2	29.6-39.2	29.3-38.0	28.1-35.5	24.1-29.6	19.8-23.8	16.6-20.0	14.2-17.6	12.5-15.9	12.4-15.9	11.2-14.2	10.1-12.6	9.2-11.3	8.4-10.3
	Yuyao City	330281	28.3	26.7	26	23.2	23	21.8	19.8	17.3	15.3	14.3	13.1	11.5	10.8	9.2	8.7	8.1	7.7
			24.0-32.6	22.9-30.6	22.4-29.8	20.0-26.7	19.8-26.4	19.0-24.9	17.6-22.4	15.5-19.2	13.9-16.8	13.1-15.6	11.9-14.6	10.2-12.8	9.6-12.2	8.3-10.4	7.8-9.7	7.4-8.9	7.0-8.4
	Zhenhai District	330211	24.2	19.6	19.7	17.8	17.7	18.2	16.8	15.2	13.8	12.6	10.9	9.7	8.9	8.7	7.9	7.6	7.3
			20.6-28.0	16.7-22.4	16.8-22.5	15.3-20.2	15.3-20.2	15.8-20.7	14.8-18.9	13.6-16.8	12.6-15.0	11.6-13.7	10.0-11.9	8.8-10.7	8.0-9.9	7.8-9.7	7.2-8.8	6.9-8.4	6.6-8.0
	Zhuji City	330681	22.7	21.6	20.9	20	18.4	17.7	15.6	14.2	12.2	11.3	10.4	9.8	9.7	10.3	9.8	9.6	9.4
			19.3-26.1	18.5-24.8	18.0-23.8	17.3-22.9	16.0-21.1	15.5-20.0	13.9-17.5	12.9-15.7	11.2-13.3	10.3-12.3	9.4-11.5	8.8-11.0	8.6-10.9	9.2-11.5	8.8-10.9	8.7-10.5	8.5-10.3

Web Figure 1: Under−5 Mortality Rate from Maternal and Child Health Surveillance System and current study, 2012

Web Figure 1. Under−5 Mortality Rate from Maternal and Child Health Surveillance System and current study, 2012

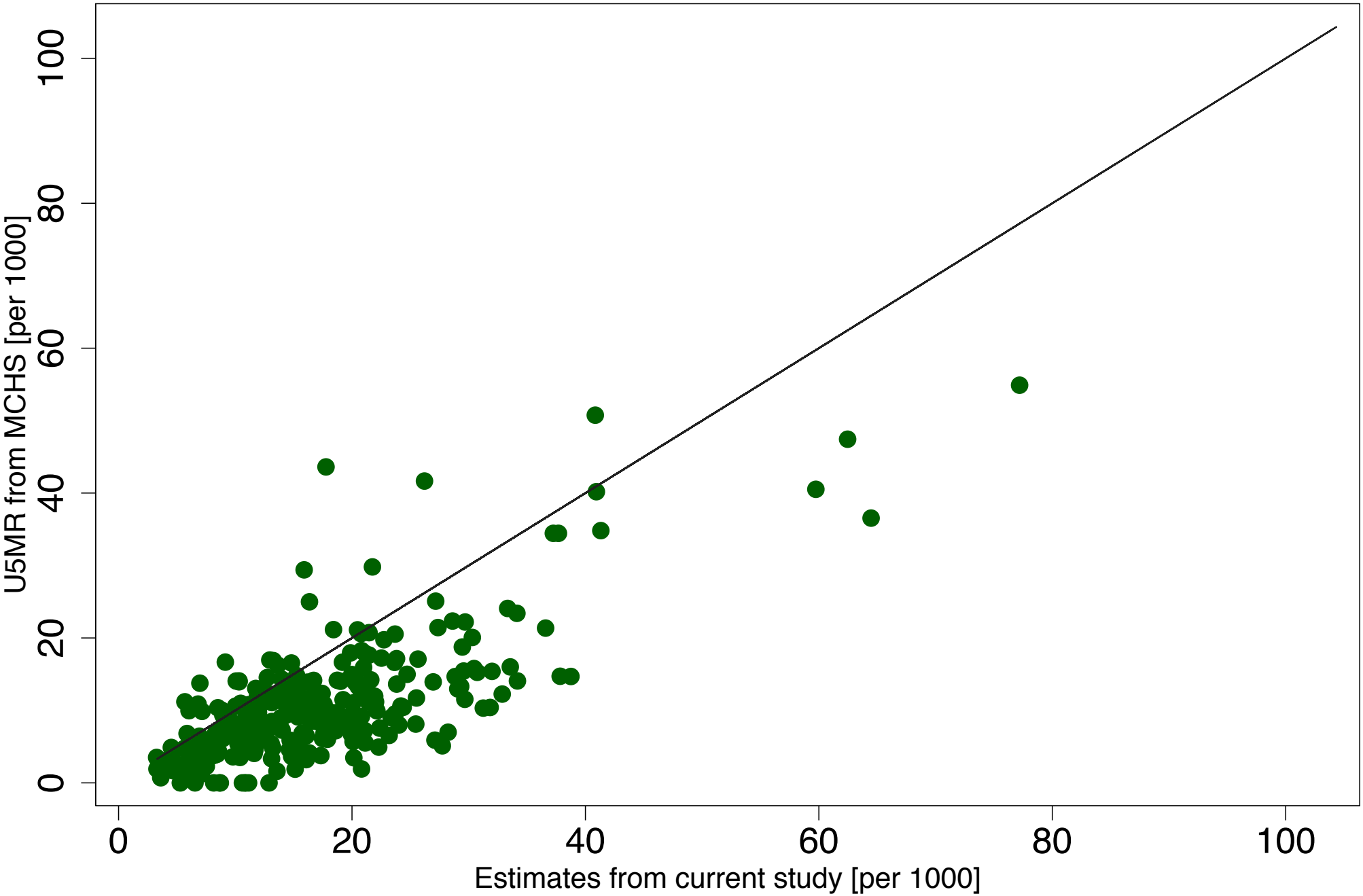

Web Figure 2: ARMCH county−level under−5 mortality completeness, 2012

Web Figure 2. ARMCH county–level under–5 mortality completeness, 2012

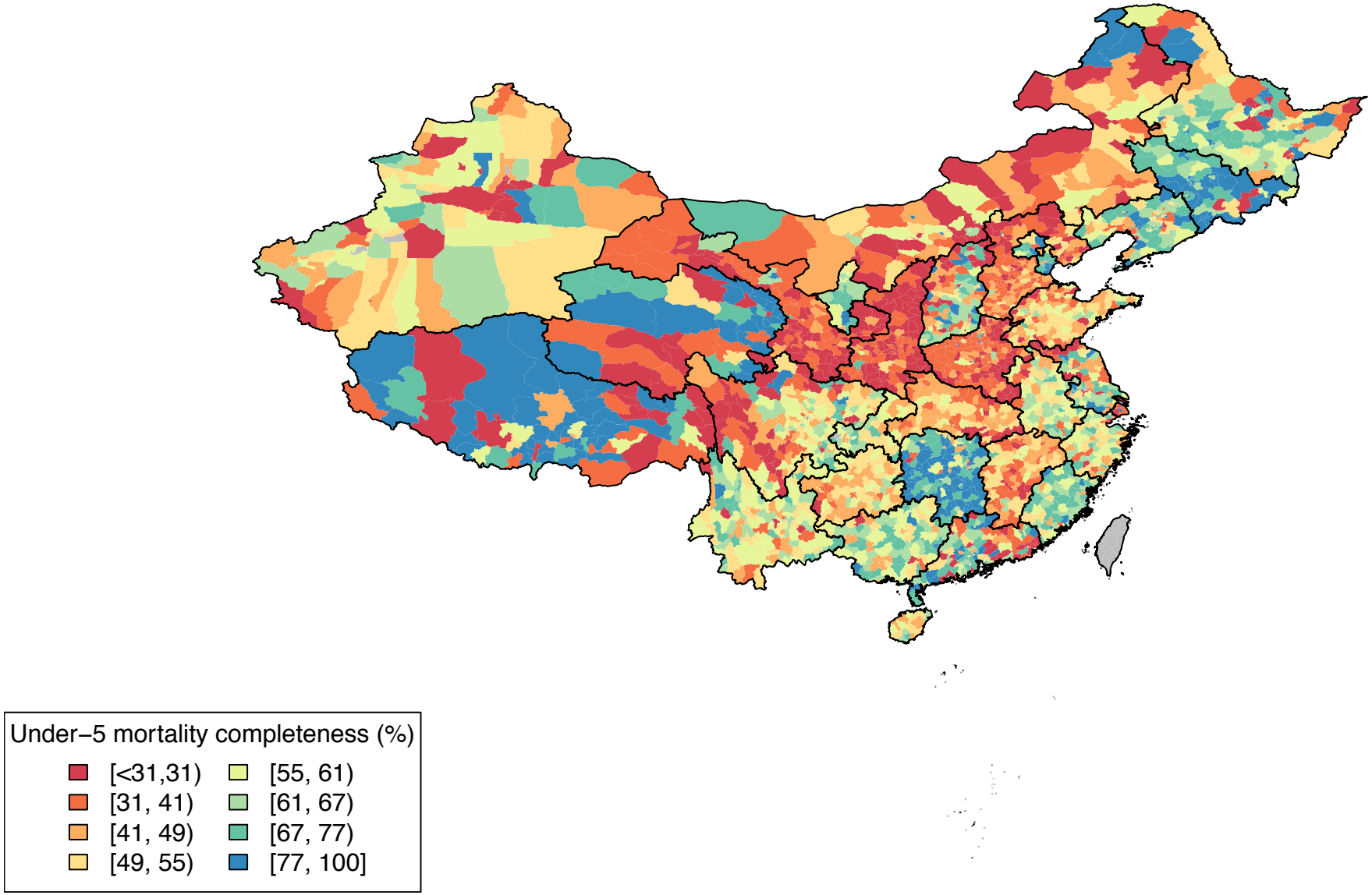

Web Figure 3. Counties with statistically significant differences between the observed and expected rates of decline in under−5 mortality, 1996−2012

Web Figure 3. Under–5 mortality rate by county, 1996

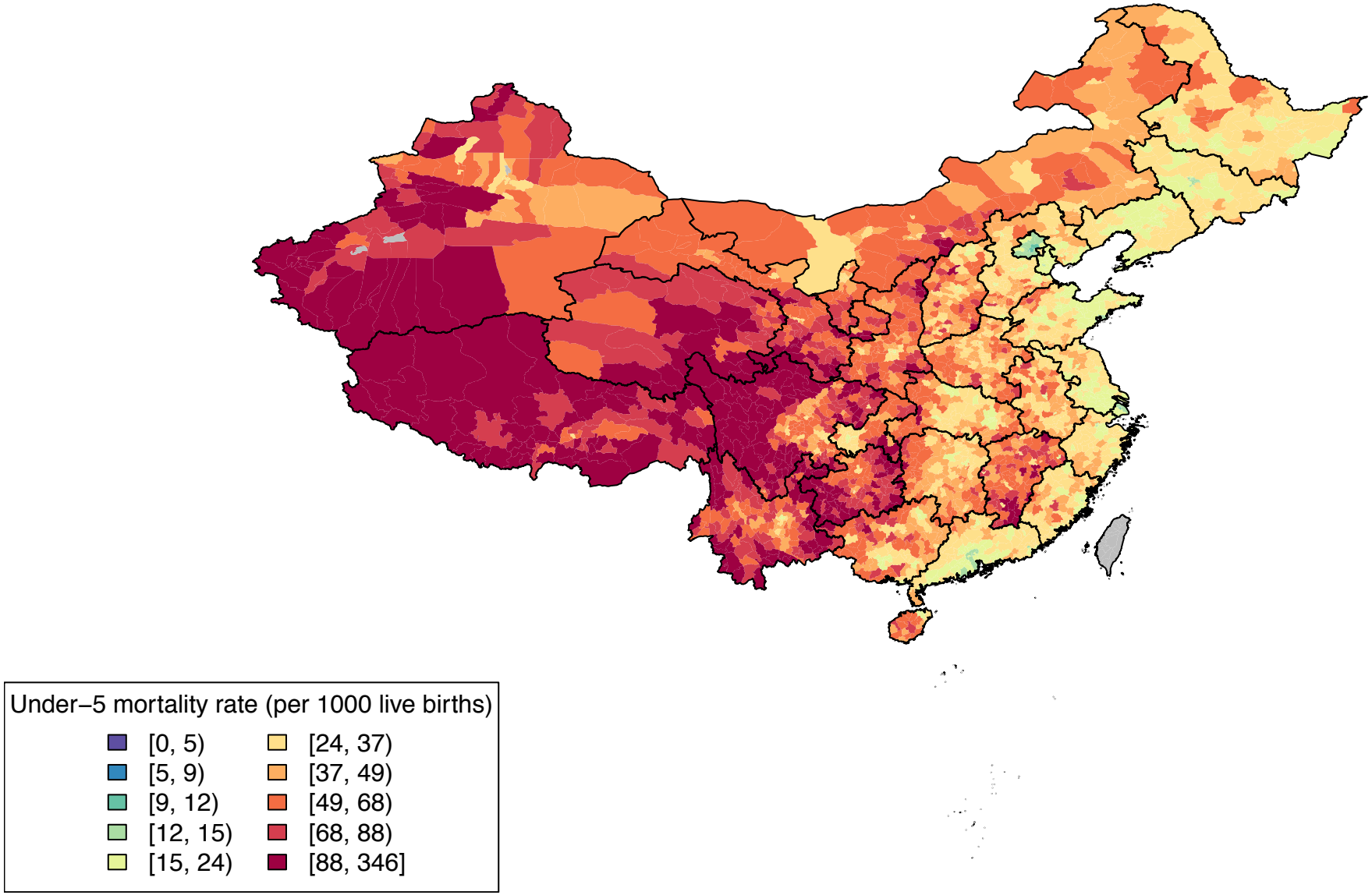

Web Figure 4a. 95% Uncertainty in county−level under−5 mortality rate, 1996

Web Figure 4a. 95% Uncertainty in county−level under−5 mortality rate, 1996

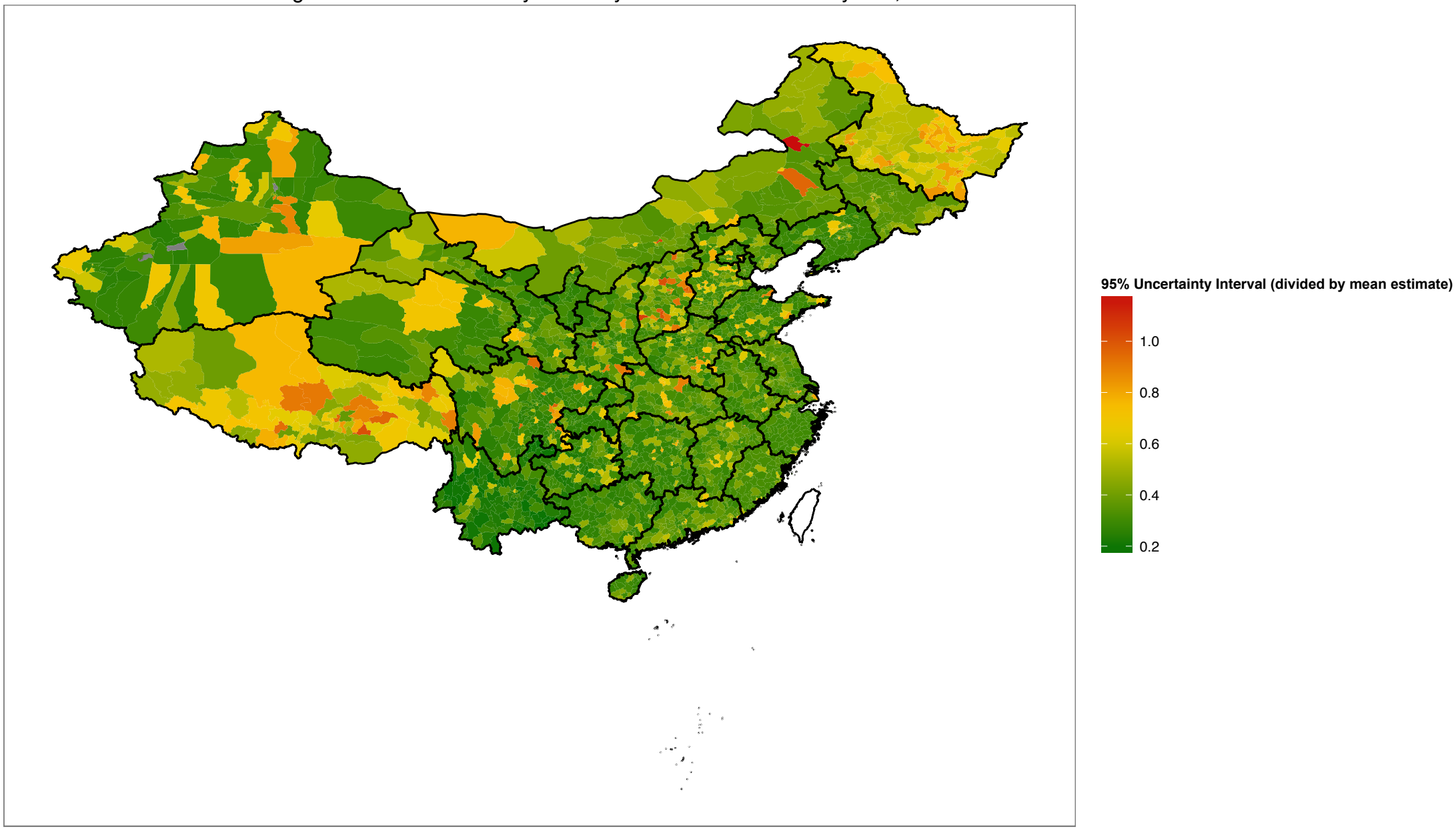

Web Figure 4b. 95% Uncertainty in county−level under−5 mortality rate, 2012

Web Figure 4b. 95% Uncertainty in county−level under−5 mortality rate, 2012

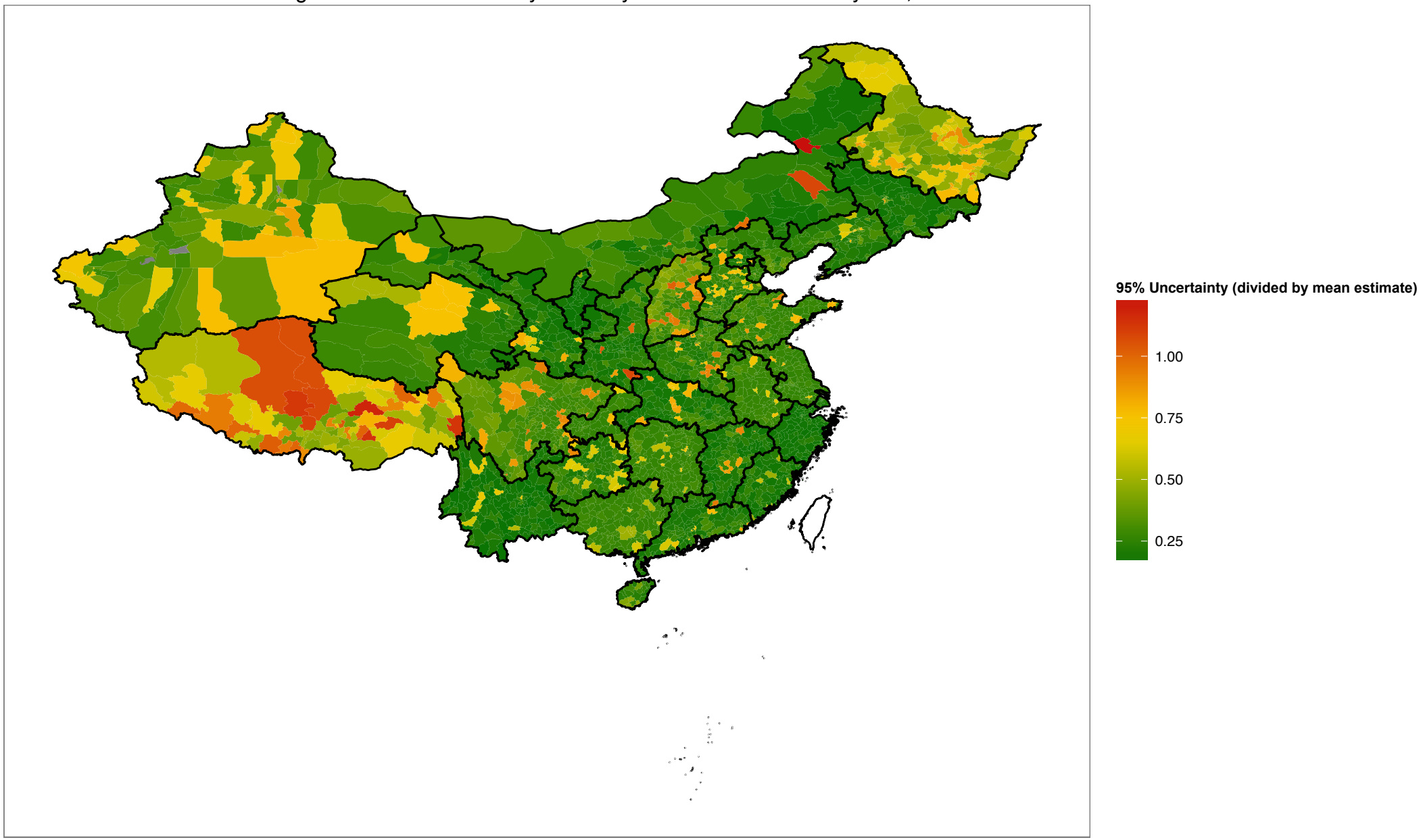

Web Figure 5a. Population−weighted Gini coefficient and absolute difference in under−five mortality rate from 1996 to 2012 in China

Web Figure 5a. Population−weighted Gini coefficient and absolute difference in under−five mortality rate from 1996 to 2012 in China

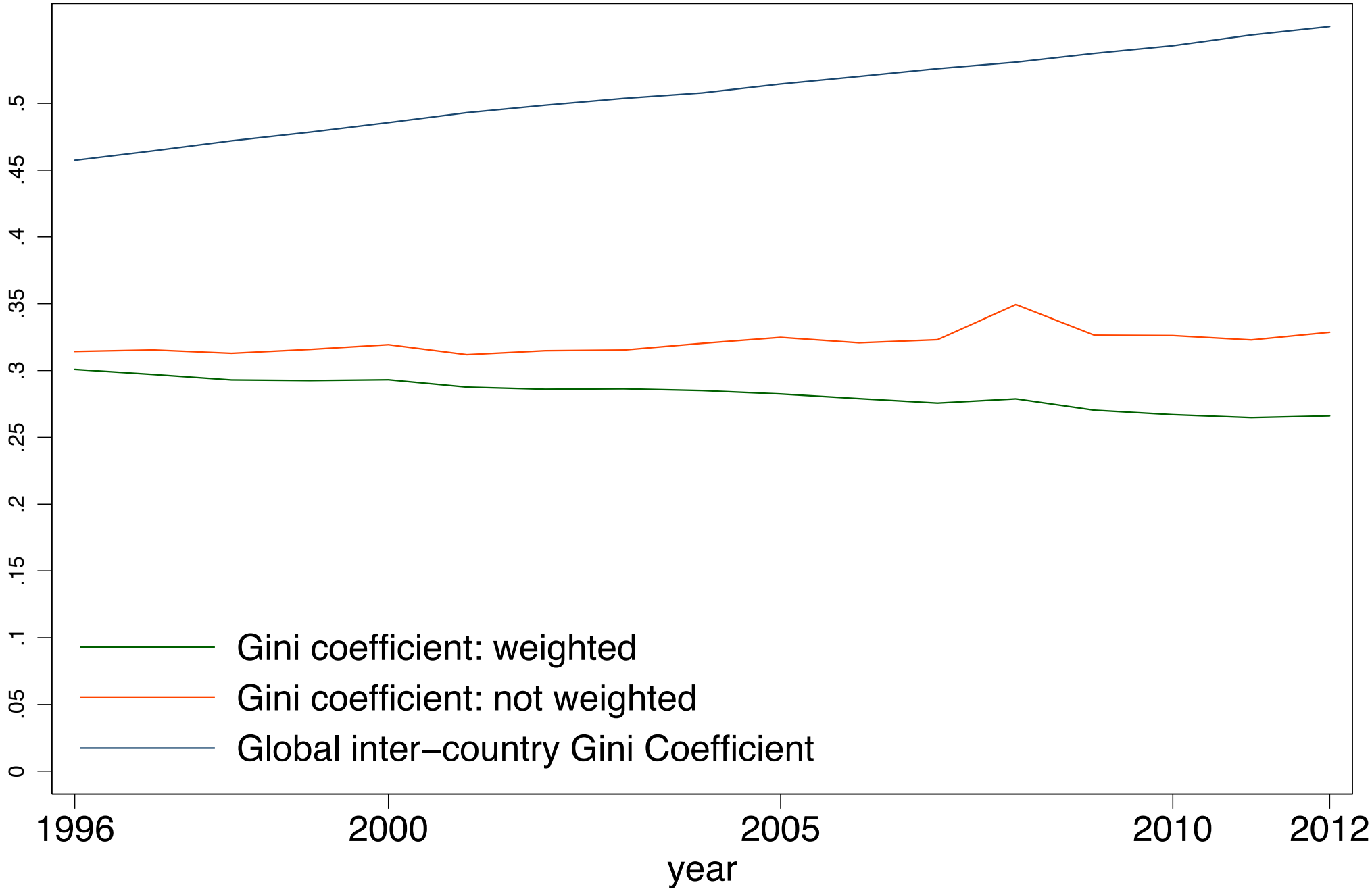

Web Figure 5b. Number of counties with high and low U5MR, 1996−2012

Web Figure 5b.Number of counties with high and low U5MR, 1996–2012

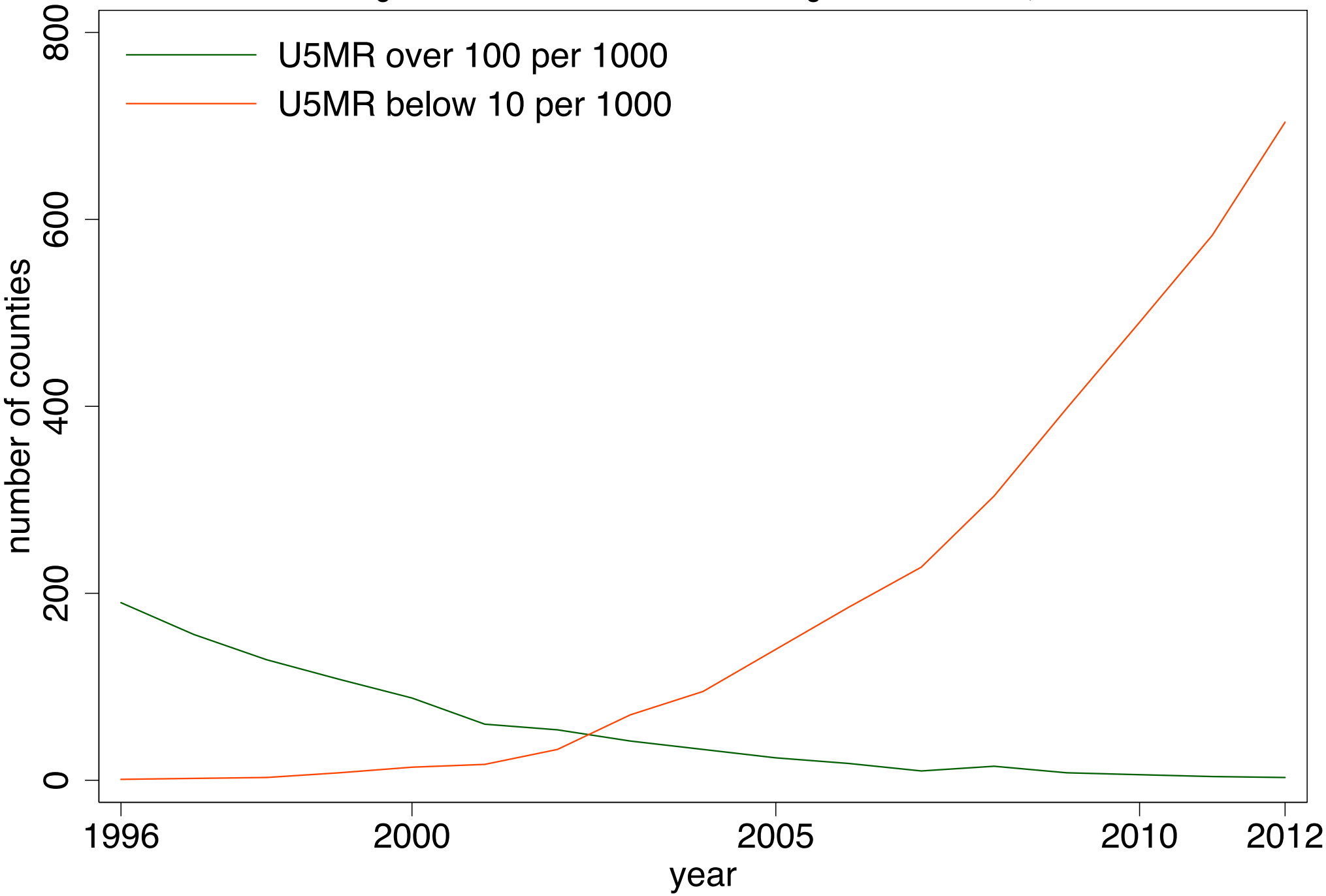

Web Figure 6. Ratio of estimated under−5 mortality rate by county to rate expected on the basis of GDP per capita, maternal education attained, and secular trend, 2012

Web Figure 6. Ratio of estimated under–5 mortality rate by county to rate expected on the basis of GDP per capita, maternal education attained, and secular trend, 2012

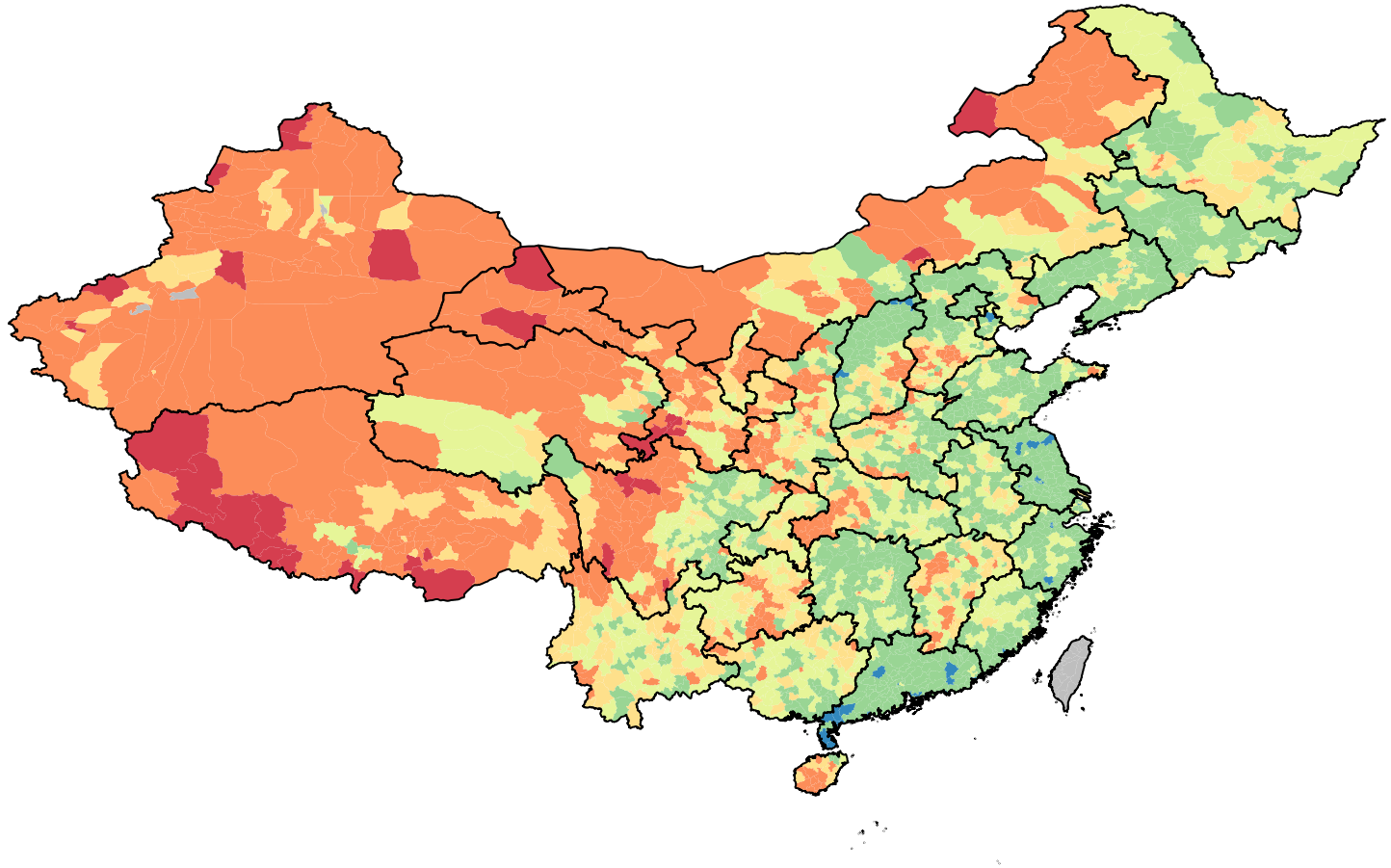

Ratio of estimated to expected child mortality rate

- [0, 0.3)
- [0.3, 0.6)
- [0.6, 0.8)
- [0.8, 1)
- [1, 2)
- [2, 4]